DHAARAA MEHER															
BUILDING	FLOORS	FSI AREA						BALCONY	TERRACE	LIFT	LIFTWELL	DUCT	VENT SHAFT	OTHER DEDUCTION	TOTAL FSI AREA
		COMM.	RESI.	INS.	EDU.	INS.	MCZZ.	PROP.							
DHAARAA MEHER	17TH FLOOR	0.000	575.786	0.000	0.000	0.000	0.000	0.000	0.000	0.000	17.575	23.720	0.000	0.000	626.481
DHAARAA MEHER	6TH 11TH 16TH FLOOR	0.000	2411.649	0.000	0.000	0.000	0.000	293.437	0.000	0.000	52.725	76.328	0.000	117.231	2165.367
DHAARAA MEHER	3RD TO 5TH 7TH TO 10TH 12TH TO 15TH 17TH FLOOR	0.000	6379.645	0.000	0.000	0.000	0.000	904.233	0.000	0.000	160.325	260.920	0.000	0.000	7624.400
DHAARAA MEHER	2ND FLOOR	0.000	761.695	0.000	0.000	0.000	0.000	82.203	0.000	0.000	17.575	23.720	0.000	0.000	720.400
DHAARAA MEHER	1ST FLOOR	574.761	132.447	0.000	0.000	0.000	0.000	0.000	0.000	5.200	22.775	0.000	0.000	0.000	684.433
DHAARAA MEHER	GROUND FLOOR	867.861	53.936	0.000	0.000	0.000	0.000	0.000	0.000	18.735	5.200	0.000	0.000	0.000	916.207
DHAARAA MEHER	TOTAL	1442.562	12308.628	0.000	0.000	0.000	0.000	1279.873	0.000	23.935	309.175	384.688	0.000	117.231	12940.298

FSI DETAILS											
Sl Index	Basic FSI (on serial no 7)	Premium FSI (on serial no 8)	TDR/DR (on serial no 9)	Incentive FSI for green building Applicable (on basic FSI)	Additional FSI (7b,10,11 Note-3)	Ancillary Area 60% of (11+12+13)	Ancillary Area 60% of (11+12+13)	Total	Inclusive Housing Scheme Applicable	Drawing Value
9.1 Permissible Index	1.000	0.000	0.000	0.000	0.000	0.000	0.000	1.000	0.000	0.000
9.2 Existing Consumed Index	0.000	0.000	0.000	0.000	0.000	0.000	0.000	0.000	0.000	0.000
9.3 Balance Index (9.1-9.2) Consumed	1.000	0.000	0.000	0.000	0.000	0.000	0.000	0.000	0.000	0.000
9.4 Total Permissible PLinx Area	7998.000	0.000	0.000	0.000	0.000	4313.520	639.040	12940.560	0.000	0.000
9.5 Proposed F Line Area (9.3*9.4) not exceed 9.4)	7998.000	0.000	0.000	0.000	0.000	4313.258	639.040	12940.298	0.000	12940.298
9.6 Index Consumed	1.000	0.000	0.000	0.000	0.000	0.000	0.000	1.000	0.000	0.000

Parking Check (Table 8B)								
		RATIO			Required			
Building Name	USE	TENAMENT AREA	car	scooter	NO.OF Tenat/Apartments	car	scooter	Transport Vehicle/Heavy vehicle/ Ambul Bus
DHAARAA MEHER	Commercial	For every 200 sq.m. carpet area or fraction thereof	3	11	408.750	6.131	22.481	-
DHAARAA MEHER	Commercial	For every 100 sq.m. carpet area or fraction thereof	2	6	743.910	14.878	44.635	-
DHAARAA MEHER	Residential	For every two tenements with carpet area not having carpet area less than 30 Sq.m.	0	2	9	0.000	9.000	-
DHAARAA MEHER	Residential	For every two tenements with carpet area each tenement having carpet area more than 30 Sq.m. but not more than 50 sq.m.	1	2	61	30.500	61.000	-
DHAARAA MEHER	Residential	For every two tenements with carpet area each having carpet area equal to or more than 50 sq.m. but less than 80 sq.m.	1	2	106	53.000	106.000	-
Total	-	-	-	-	-	104.509	243.116	-
Visitors parking(5%)	-	-	-	-	-	4.175	8.800	-
Total	-	-	-	-	-	108.684	251.916	0.000

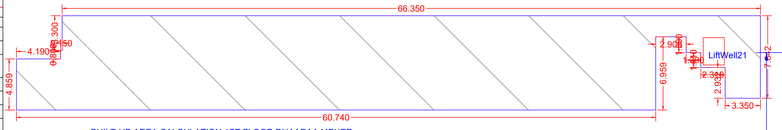

BUILT-UP AREA CALCULATION 1ST FLOOR DHAARAA MEHER

BUILT UP AREA CALCULATION FOR 1ST FLOOR DHAARAA MEHER			
AREA NAME	LENGTH	WIDTH	Area(Sq.M)
BLOCK	70.691	8.850	574.761
BLOCK AREA TOTAL =574.761Sq.M			
LiftWell21	-	-	5.200
TOTAL Deduction =5.200Sq.M			
Net BuiltUp Area =569.561 Sq.M			

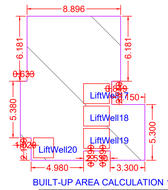

BUILT-UP AREA CALCULATION 1ST FLOOR DHAARAA MEHER

BUILT UP AREA CALCULATION FOR 1ST FLOOR DHAARAA MEHER			
AREA NAME	LENGTH	WIDTH	Area(Sq.M)
BLOCK	12.691	11.800	152.447
BLOCK AREA TOTAL =152.447Sq.M			
LiftWell20	-	-	3.010
LiftWell18	-	-	4.655
LiftWell19	-	-	4.655
LiftWell20	-	-	4.650
LiftWell17	-	-	4.650
TOTAL Deduction =17.570Sq.M			
Net BuiltUp Area =134.872 Sq.M			

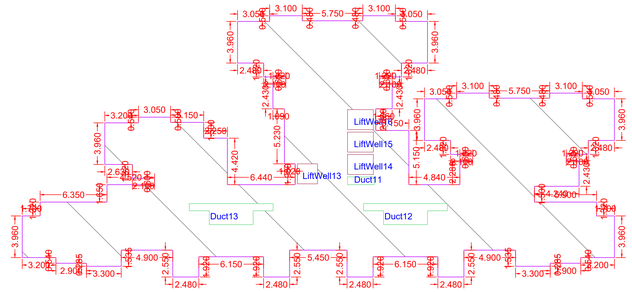

BUILT-UP AREA CALCULATION 2ND FLOOR DHAARAA MEHER

BUILT UP AREA CALCULATION FOR 2ND FLOOR DHAARAA MEHER			
AREA NAME	LENGTH	WIDTH	Area(Sq.M)
BLOCK	56.270	24.000	761.680
BLOCK AREA TOTAL =761.680Sq.M			
LiftWell16	-	-	4.655
LiftWell15	-	-	4.650
LiftWell14	-	-	4.650
LiftWell13	-	-	3.010
Duct12	-	-	10.924
Duct11	-	-	10.924
Duct11	-	-	1.872
TOTAL Deduction =40.685Sq.M			
Net BuiltUp Area =720.995 Sq.M			

BUILT-UP AREA CALCULATION GROUND FLOOR DHAARAA MEHER

BUILT UP AREA CALCULATION FOR GROUND FLOOR DHAARAA MEHER			
AREA NAME	LENGTH	WIDTH	Area(Sq.M)
BLOCK	2.360	2.250	5.301
BLOCK AREA TOTAL =5.301Sq.M			
TOTAL Deduction =5.300Sq.M			
Net BuiltUp Area =0.001 Sq.M			

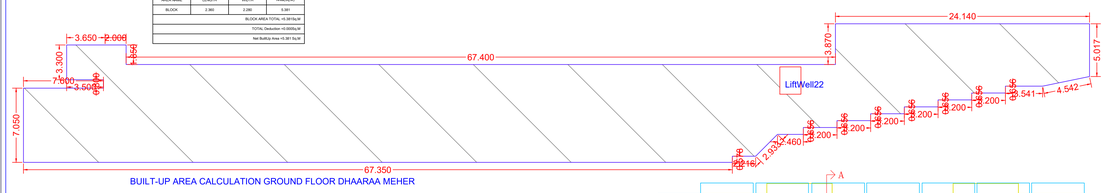

BUILT-UP AREA CALCULATION GROUND FLOOR DHAARAA MEHER

BUILT UP AREA CALCULATION FOR GROUND FLOOR DHAARAA MEHER			
AREA NAME	LENGTH	WIDTH	Area(Sq.M)
BLOCK	101.290	13.170	867.801
BLOCK AREA TOTAL =867.801Sq.M			
LiftWell22	-	-	5.200
TOTAL Deduction =5.200Sq.M			
Net BuiltUp Area =862.601 Sq.M			

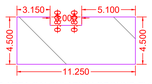

BUILT-UP AREA CALCULATION GROUND FLOOR DHAARAA MEHER

BUILT UP AREA CALCULATION FOR GROUND FLOOR DHAARAA MEHER			
AREA NAME	LENGTH	WIDTH	Area(Sq.M)
BLOCK	11.250	4.500	48.225
BLOCK AREA TOTAL =48.225Sq.M			
TOTAL Deduction =0.000Sq.M			
Net BuiltUp Area =48.225 Sq.M			

Parking Check As Per Multiplying Factor 2.500						
	Required			Proposed		
Building Name	Car	Scooter	Transport Vehicle/Heavy vehicle/Amb	Car	Scooter	Transport Vehicle/Heavy vehicle/Amb
Total	87	218	0	88	244	0

SCHEDULE OF OPENING				
BLD NAME	NAME	LENGTH	HEIGHT	Nos.
DHAARAA MEHER	V	0.450	1.200	2
DHAARAA MEHER	V	0.550	1.200	1
DHAARAA MEHER	V	0.679	1.200	1
DHAARAA MEHER	V	0.880	1.200	2
DHAARAA MEHER	V	0.550	1.200	2
DHAARAA MEHER	V	0.880	1.200	1
DHAARAA MEHER	V	0.550	1.200	3
DHAARAA MEHER	V	0.550	1.200	9
DHAARAA MEHER	V	0.600	1.200	53
DHAARAA MEHER	-	0.600	1.200	6
DHAARAA MEHER	V	0.600	1.200	1
DHAARAA MEHER	V	0.600	1.200	57

SCHEDULE OF OPENING				
BLD NAME	NAME	LENGTH	HEIGHT	Nos.
DHAARAA MEHER	F.R.D.	1.200	2.100	5

Telecom Room			
Building	Req. Size	Prop. Size	Status
DHAARAA MEHER	TelecomRoom	3.000X3.400	OK

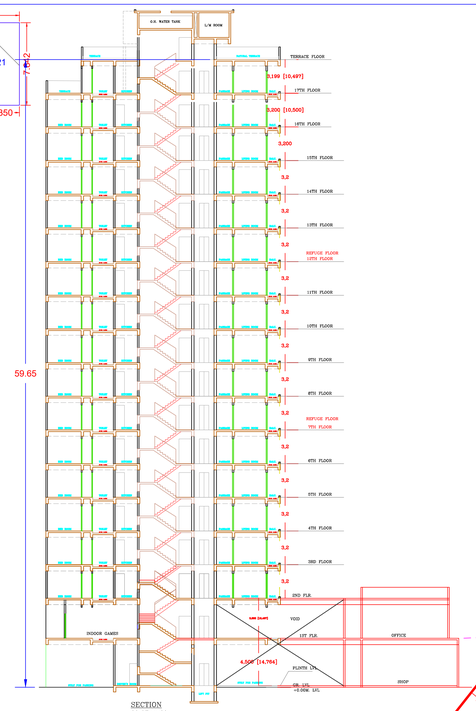

SECTION
SCALE 1:100

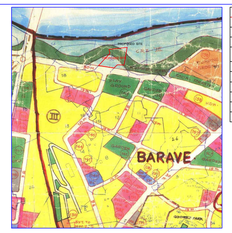

Project Details	
Proposal code : KDMCC-25-130421	
Zone Type : Agricultural Zone	
Location : Non-Congested	
Name of service : Development Of Housing For EWS And LIG	
Sub service :	
CTS No./Survey No.: 20	
Tahsil : Sector-3	
Mouze : Barave	
Provide Value : 0.000	
Separation:CRZ Zone Area -	

LEGENDS:
PLOT BOUNDARY
BUILT BUILDING FOOTPRINTS
PROPOSED WORK BARAHA RED
EXISTING WATER LINE BLUE DOTTED
WATER LINE BROWN BLUE DOTTED
EXISTING SEWER LINE GREEN
TERRACE SEWERLINE YELLOW
EXISTING SEWER LINE
EXISTING SEWERLINE HATCHED

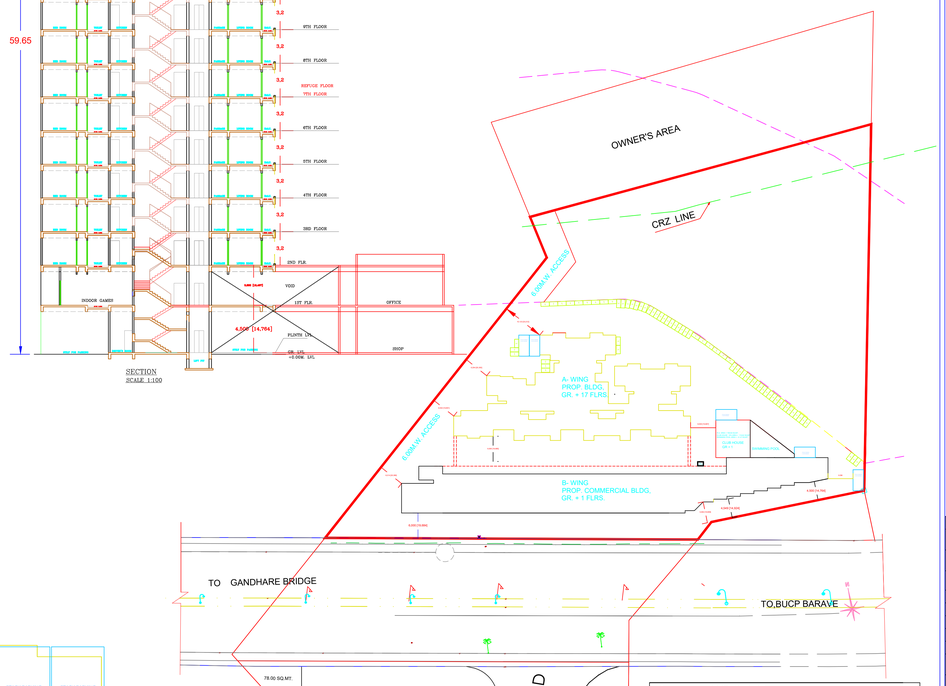

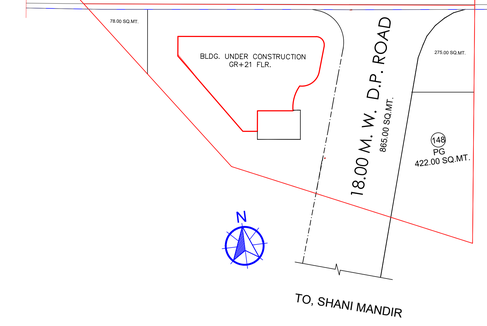

A.		AREA STATEMENT	
1			
	(1)	AREA OF PLOT	17580.00
	(2)	AS PER OWNERSHIP DOCUMENT (7/12,CTS EXTRACT)	
	(3)	AREA UNDER MAATR NIFRA AS PER 7+12	5294.00
	(4)	OWNER'S AREA	3040.00
	(5)	AREA UNDER DHAARAA REALTY AS PER 7/12	8341.00
	(6)	AS PER SITE	8341.00
2		DEDUCTIONS FOR	
	R1	P.O.RESERVATION AREA	275.00
	R2	W ZONE AREA	78.00
	C	TOTAL (A-B)	353.00
3		BALANCE AREA OF PLOT (1 Minus 2)	7988.00
	3a)	AREA FOR DEVELOPMENT IN GREEN ZONE	7988.00
4		AMENITY SPACE IF APPLICABLE	
	(a)	REQUIRED	
	(b)	ADJUSTMENT OF IF ANY	
	(c)	BALANCE PROPOSED	
5		NET PLOT AREA (3-4(c))	7988.00
6		RECREATIONAL OPEN SPACE (IF APPLICABLE)	
	(a)	REQUIRED	
	(b)	PROPOSED	
7		INTERNAL ROAD AREA	
8		PLOTABLE AREA	
9		BUILT UP AREA WITH REFERENCE TO BASIC FSI AS PER FRONT ROAD WIDTH (SR NO. 5 X BASIC FSI) (7988.00 X 1.00) = 7988.00	7988.00
10		ADDITION OF FSI ON PAYMENT PREMIUM	
	(a)	MAXIMUM PERMISSIBLE PREMIUM FSI BASED ON ROAD WIDTH (TOD ZONE	
	(b)	PROPOSED FSI ON PAYMENT OF PREMIUM	
11		IN-SITU FSI/TDR LOADING	
	(a)	IN-SITU AREA AGAINST D.P. ROAD SR.NO.2 (a)	-
		D.P. RESERVATION SR.NO.2 (b)	-
	(b)	IN-SITU AREA AGAINST AMENITY SPACE IF HANDED OVER (2.00 OR 1.00 X SR. NO.4 (b) AND / or (C)	-
	(c)	TOR AREA	-
		TOTAL IN-SITU / TDR LOADING PROPOSED (11 (a)+(b)+(c))	-
12		ADDITIONAL FSI AREA UNDER CHAPTER NO.7 FOR SOC. REDEVELOPMENT AS PER 7.6.1)	
13		TOTAL ENTITLEMENT OF FSI IN THE PROPOSAL	7988.00
	(a)	BH=35m+7=42m 12 WINDHEIER IS APPLICABLE	
		ANCILLARY AREA FSI (UPTO 60% OR 80% WITH PAYMENT OF CHARGES	7988.00
		COMMERCIAL AREA - 796.80 X 60% = 478.08 SQ.MT.	
		RESIDENTIAL AREA = 7188.200 X 60% = 4313.258 SQ.MT	
		TOTAL AREA = 4952.298 SQ.MT	4952.298
	(b)	TOTAL ENTITLEMENT (a+b)	12940.298
14		MAXIMUM UTILISATION LIMIT OF FSI (BUILDING POTENTIAL) PERMISSIBLE AS PER ROAD WIDTH	
		PLoi/ Regulation no.6.1 i.e.6.2 or 6.3 or 6.4 as applicable i.e.1.6 or 1.8	
15		TOTAL BUILT UP AREA IN PROPOSAL (EXCLUDING AREA AT SR. NO.17(b))	
	(a)	EXISTING BUILT UP AREA	
	(b)	PROPOSED BUILT UP AREA (AS PER F.LINE)	12940.298
	(c)	TOTAL (a+b)	12940.298
16		FSI CONSUMED (15/13)	
17		AREA FOR INCLUSIVE HOUSING IF ANY	
	(a)	REQUIRED (20% OF SR. NO. 5)	
	(b)	PROPOSED (20% OF SR. NO. 5)	

Proforma 1 : Area Statement	
1.:Area of plot (Minimum area of a, b, c to be considered)	7988.000
(a) As per ownership document (7/12, CTS extract)	8341.000
(b) as per TILR or City Survey measurement sheet	17580.000
(c) as per Demarcated drawing area	7988.000
LESS	-
2.Area not in possession	0.000
3. Area Proposed for development (out of 1-2)	7988.000
4.Deductions for	-
(a) Proposed D.P / D.P. Road widening Area / Service Road / Highway widening	0.000
(b) Any D.P. Reservation area	0.000
(c) Green Belt	0.000
Total (a+b+c)	0.000
5.Balance area of plot (3-4)	7988.000
6. Amenity Space	0.000
(Applicable if (1) > 20000 sqmt	-
(Required -(a) Upto 20000 sqmt - Nil	-
(b) Above 20000 sqmt - (a) + 5% of Total area	0.000
7. Net Plot Area (5-6)	7988.000
8. Recreational Open Space	-
(a) If area (5) is more than 4000 sqmt - 10 % of (5) is required.	798.800
Proposed ____	799.141
(b) If area is less than 4000 sqmt -Check -	-
i) If it is full number like 1,2,125,419,etc. As per 7.12 abstract or City Survey Number - No Recreational open space is required	-
ii) If it is subdivision like 1/2 ,2/5 , 125/1 419/1 etc.then recreational open space is required.	-
(A) 10 % Subject to minimum 200 sqmt	0.000
Proposed _____	799.141
(B) Exemption to leave open space subject to availing basic F.S.I. of 75 %	-
(C) Exemption to leave open space subject to payment of 10 % land value of land at (7) as per annual statement of rate.	-
Architect/ Licensed Engineer/ Supervisor name and signature	
Registration No. of Architect/ License no. of Licensed Engineer/ Supervisor: CA/2019/106930	
Certificate of Area: Certified that the plot under reference was surveyed by me on_____ and the dimensions of sides etc. of plot stated on plan are as measured on site and the area so worked out tallies with the area stated in document of Ownership/ T.P. Scheme Records/Land Records Department/City Survey records. Signature (Name of Architect/ Licensed Engineer/ Supervisor.)	

Owner's Declaration :
I/We undersigned hereby confirm that I/We would abide by plans approved by Authority / Collector. I/We would execute the structure as per approved plans. Also I/We would execute the work under supervision of proper technical person so as to ensure the quality and safety at the work site.

Owner (s) name and signature

Name Of : Owner DHAARAA REALITY

Postal Address : Regency Antilia, Flat No. 2001,Camalia Building, C-1-B, Kalyan Murbad Road,Ulhasnagar,Thane,Maharashtra-421001
Phone No. 9922973000

DESCRIPTION OF PROJECT :
Type of Proposal : Mixed
BUILDING ON CTS. NO./SURVEY NO.-20

SITE ADDRESS :
S.NO.20(P) AT VILLAGE BARAVER

Name Of Architect : Tejas Anil Nirgude

LOGO	ADDRESS OF OFFICE OFFICE : 5TH FLOOR, MIDTOWN EMBASSY, BEHIND VASANT VALLEY BUS DEPOT, OPP. NARAYANA SCHOOL, GANDHARE, KALYAN - 421301
OWNERS SIGN -	TECHNICAL PERSON SIGN
SCALE -	DATE: Date: 15/12/25
JOB NO - KDMCC-25-130421	CHECK BY - zoom

SUBMISSION DRAWING

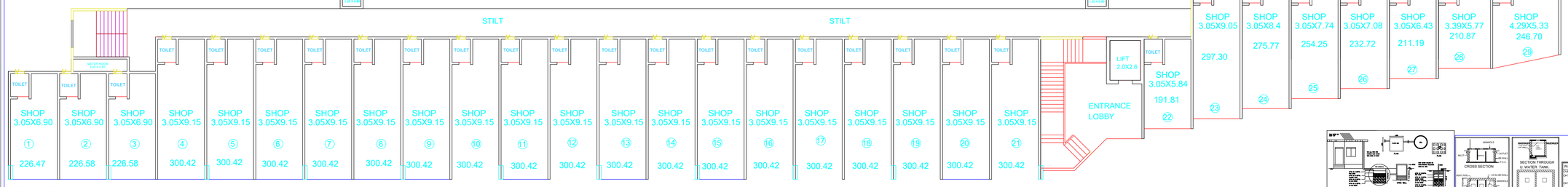

GROUND FLOOR PLAN
B-WING

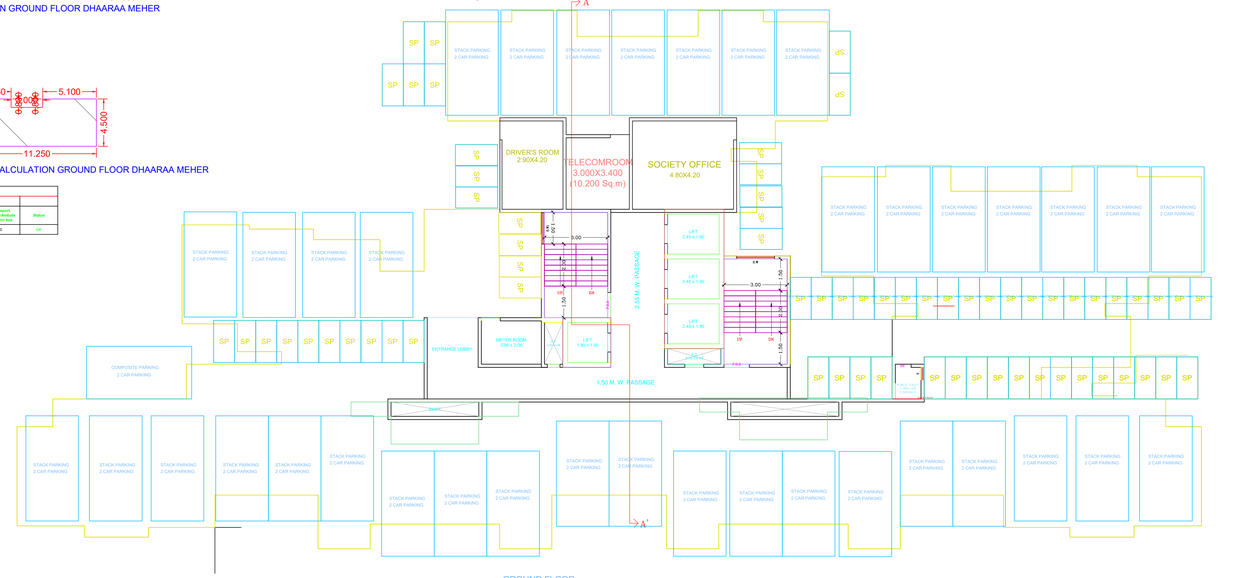
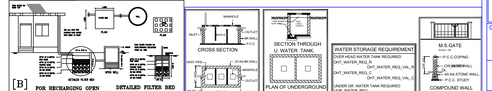
GROUND FLOOR
A-WING