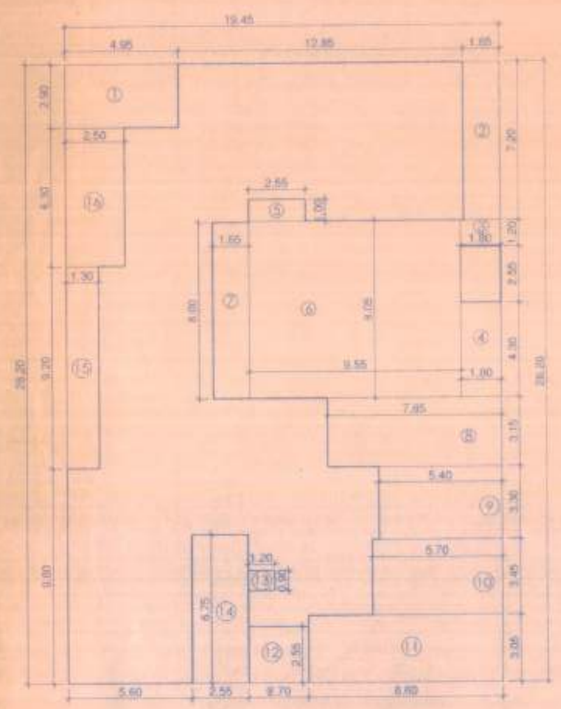

BUILTUP -AREA DIAGRAM ( WING - A )
GROUND FLOOR
SCALE 1:200

| BUILT-UP AREA STATEMENT GROUND FLOOR (WING-A) | | |
|---|---|---|
| AREA OF RECTANGLE | | SQ.M |
| REC | 19.45 x 28.20 | 548.49 SQ.M |
| STANDARD DEDUCTIONS :- | | |
| 1) | 4.95 x 2.90 | 14.36 |
| 2) | 1.65 x 7.20 | 11.88 |
| 3) | 1.80 x 1.20 | 2.16 |
| 4) | 1.80 x 4.30 | 7.74 |
| 5) | 2.55 x 1.00 | 2.55 |
| 6) | 9.55 x 8.05 | 76.87 |
| 7) | 1.65 x 8.00 | 13.20 |
| 8) | 7.85 x 3.15 | 24.72 |
| 9) | 5.40 x 3.30 | 17.82 |
| 10) | 5.70 x 3.45 | 19.66 |
| 11) | 8.60 x 3.05 | 26.23 |
| 12) | 2.70 x 2.55 | 6.88 |
| 13) | 1.20 x 0.90 | 1.08 |
| 14) | 2.55 x 6.75 | 17.21 |
| 15) | 1.30 x 8.20 | 11.96 |
| 16) | 2.50 x 6.30 | 15.75 |
| TOTAL DEDUCTIONS = | | 270.07 SQ.M |
| NET BUILT UP AREA | = 548.49 - 270.07 = | 278.42 SQ.M |

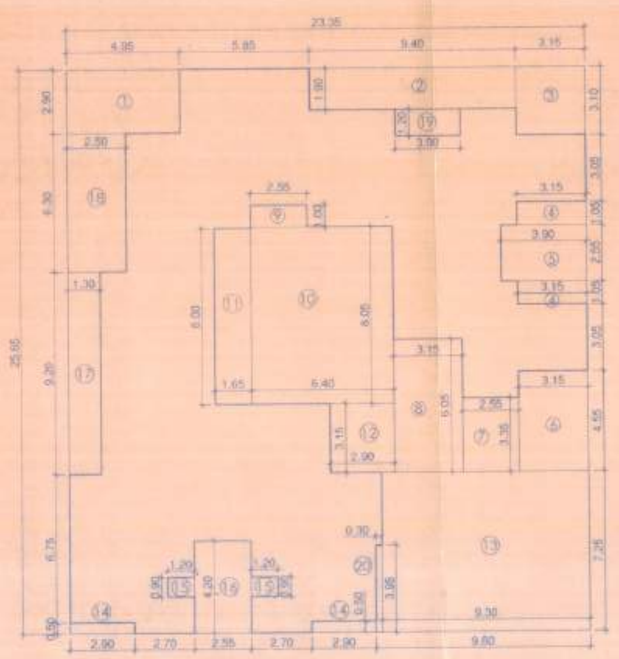

BUILTUP AREA DIAGRAM ( WING - A )
FIRST TO SIXTH FLOOR.
SCALE 1:200

| BUILT-UP AREA STATEMENT FIRST TO SIXTH FLOOR (WING-A) | | |
|---|---|---|
| AREA OF RECTANGLE | | SQ.M |
| REC | 23.35 x 25.65 | 598.93 SQ.M |
| STANDARD DEDUCTIONS :- | | |
| 1) | 4.95 x 2.90 | 14.36 |
| 2) | 9.40 x 1.90 | 17.86 |
| 3) | 3.15 x 3.10 | 9.76 |
| 4) | 3.15 x 1.05 x 2 | 6.62 |
| 5) | 3.90 x 2.55 | 9.94 |
| 6) | 3.15 x 4.55 | 14.33 |
| 7) | 2.55 x 3.35 | 8.54 |
| 8) | 3.15 x 6.05 | 19.06 |
| 9) | 2.55 x 1.00 | 2.55 |
| 10) | 6.40 x 8.05 | 51.52 |
| 11) | 1.65 x 8.00 | 13.20 |
| 12) | 2.90 x 3.15 | 9.14 |
| 13) | 9.30 x 7.25 | 67.42 |
| 14) | 2.90 x 0.50 x 2 | 2.90 |
| 15) | 1.20 x 0.90 x 2 | 2.16 |
| 16) | 2.55 x 4.20 | 10.71 |
| 17) | 1.30 x 9.20 | 11.96 |
| 18) | 2.50 x 6.30 | 15.75 |
| 19) | 3.00 x 1.20 | 3.60 |
| 20) | 0.30 x 3.95 | 1.19 |
| TOTAL DEDUCTIONS = | | 292.57 SQ.M |
| NET BUILT UP AREA | = 598.93 -292.57 = | 306.36 SQ.M |

DOORS AND WINDOWS SCHEDULE

| | SIZE | REMARKS |
|---|---|---|
| RS | 1.80 X 3.10 | ROLLING SHUTTER. |
| D | 1.00 X 2.10 | T.W. FRAMED PANELLED DOOR. |
| D1 | 0.90 X 2.10 | T.W. FRAMED PANELLED DOOR. |
| D2 | 0.75 X 2.00 | T.W. FRAMED PARTLY GLAZED SWING DOOR. |
| W | 2.00 X 1.50 | T.W. FRAMED GLAZED PANELLED WINDOW. |
| W1 | 1.50 X 1.50 | T.W. FRAMED GLAZED PANELLED WINDOW. |
| W2 | 1.30 X 1.05 | T.W. FRAMED GLAZED PANELLED WINDOW. |
| W3 | 0.60 X 0.90 | T.W. FRAMED GLAZED LOUVERED WINDOW. |

STAIRCASE AREA DIAGRAM
( WING - B ) SCALE 1:100
STAIRCASE AREA
= 2.40 M X 5.70 M = 13.668 SQ.MT.

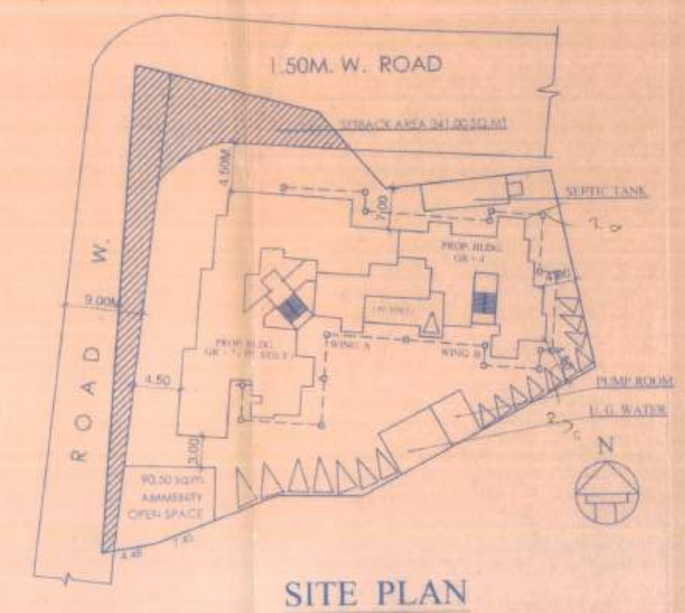


SITE PLAN
SCALE : 1:500

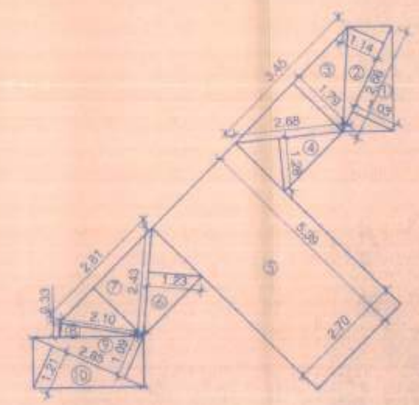

STAIRCASE AREA DIAGRAM ( WING - A)
STAIRCASE AREA ( WING - A)
1) 0.50M. x 2.66M. X 1.03M. = 1.36 SQ.MT.
2) 0.50M. x 2.66M. X 1.14M. = 1.51 SQ.MT.
3) 0.50M. x 2.49M. X 1.79M. = 3.08 SQ.MT.
4) 0.50M. x 2.56M. X 1.28M. = 1.63 SQ.MT.
5) 5.39M. x 2.70M. = 14.55 SQ.MT.
6) 0.50M. x 2.42M. X 1.23M. = 1.48 SQ.MT.
7) 0.50M. x 2.81M. X 1.79M. = 2.51 SQ.MT.
8) 0.50M. x 2.10M. X 0.33M. = 0.34 SQ.MT.
9) 0.50M. x 2.85M. X 1.09M. = 1.55 SQ.MT.
10) 0.50M. x 2.85M. X 1.21M. = 1.72 SQ.MT.
STAIRCASE AREA = 29.73 SQ.MT.

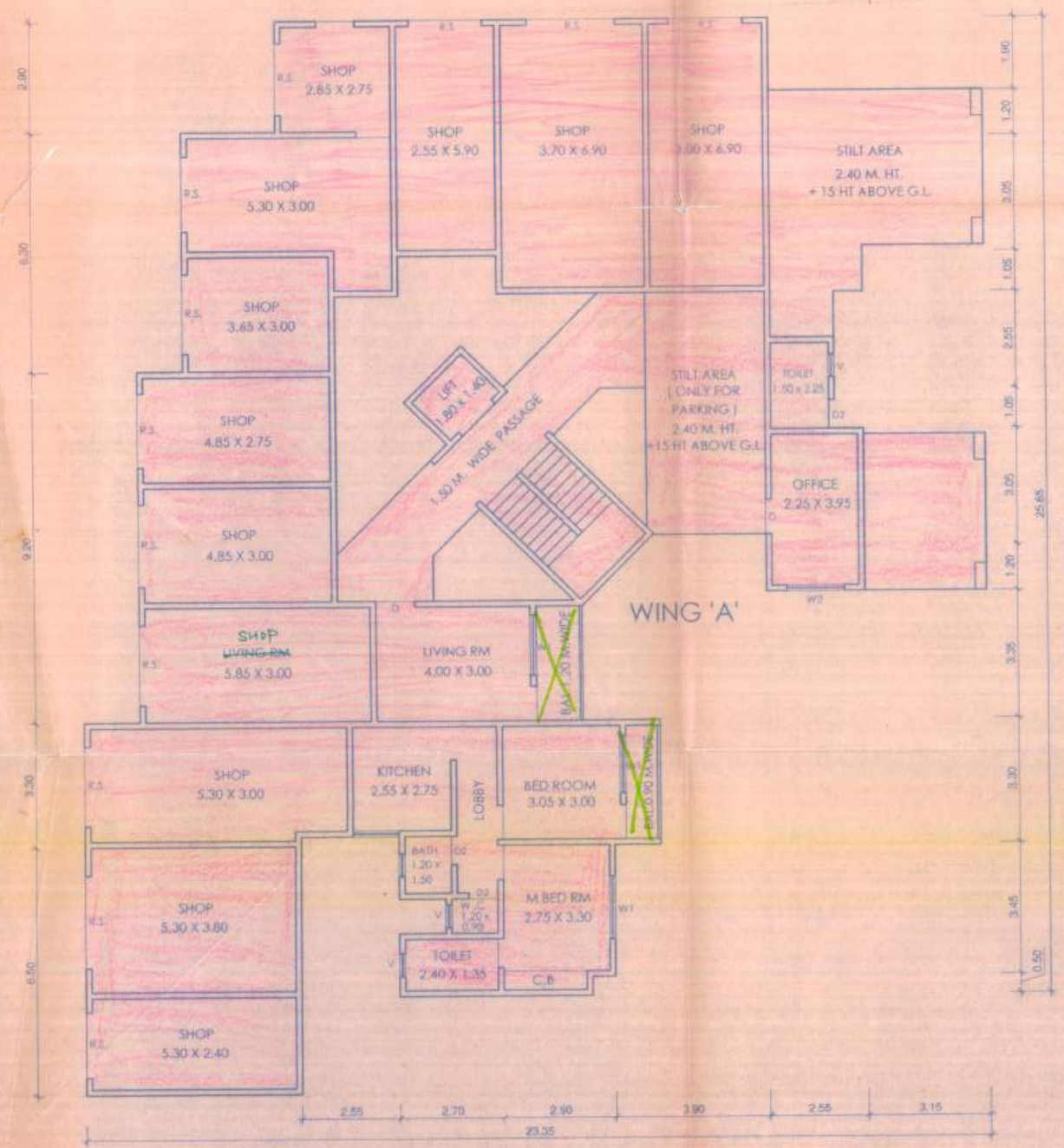


GROUND FLOOR PLAN ( WING - A )
SCALE 1:100

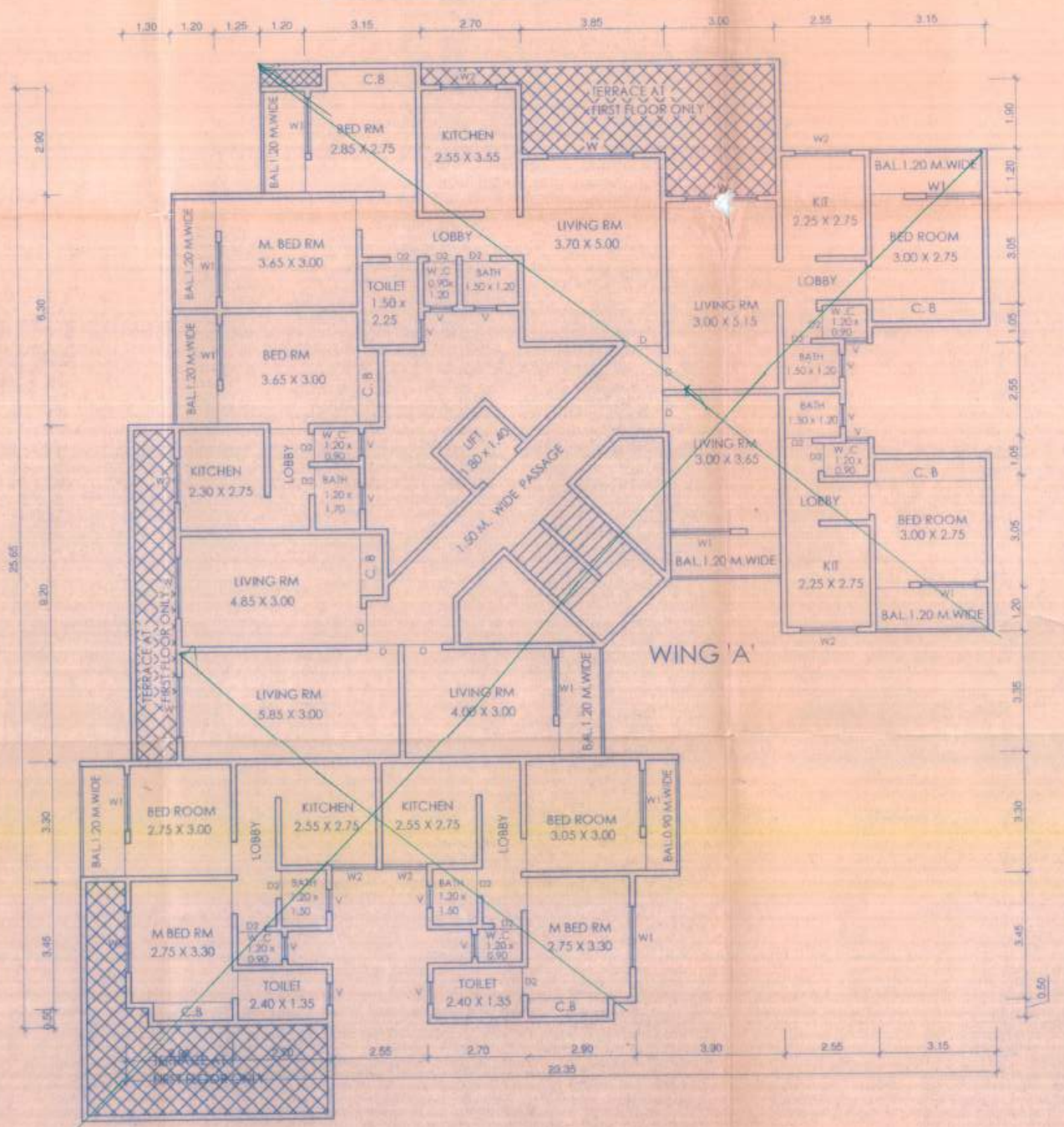


FIRST FLOOR PLAN ( WING - A )
SCALE 1:100

PARKING AREA STATMENT

| | NOS. OF FLATS | NOS. OF CARS |
|---|---|---|
| ONE PARKING AREA FOR EVERY TENEMENTS | 22 NOS. | 11 NOS. |
| TENEMENTS HAVING CARPET AREA AREA BETWEEN 45.00 SQ.MT. TO 100.00 SQ.MT. | | 3 NOS. |
| COMMERCIAL PARKING CAR AREA = 238.26 SQ.MT. / 100 | | 14 NOS. |
| TOTAL REQUIRED PARKING CAR | | 14 NOS. |
| TITAL PROPOSED PARKING CAR | | 14 NOS. |

BUILT-UP AREA STATMENT ( WING A+B )

| FLOOR | WING - A | WING - B | TOTAL |
|---|---|---|---|
| GROUND FLOOR | 278.42 SQ. MT. | 126.99 SQ. MT. | 405.41 SQ. MT. |
| FIRST FLOOR | 306.36 SQ. MT. | 162.29 SQ. MT. | 468.65 SQ. MT. |
| SECOND FLOOR | 306.36 SQ. MT. | 162.29 SQ. MT. | 468.65 SQ. MT. |
| THIRD FLOOR | 306.36 SQ. MT. | 162.29 SQ. MT. | 468.65 SQ. MT. |
| FOURTH FLOOR | 306.36 SQ. MT. | 162.29 SQ. MT. | 468.65 SQ. MT. |
| FIFTH FLOOR | 306.36 SQ. MT. | — | 306.36 SQ. MT. |
| SIXTH FLOOR | 306.36 SQ. MT. | — | 306.36 SQ. MT. |
| SEVENTH FLOOR | 259.76 SQ. MT. | — | 259.76 SQ. MT. |
| TOTAL AREA | 2376.34 SQ. MT. | 776.15 SQ. MT. | 3152.49 SQ. MT. |

STAIRCASE AREA STATMENT ( WING A+B )

| FLOOR | AREA IN SQ. MT. |
|---|---|
| GROUND FLOOR | 43.41 SQ. MT. |
| FIRST FLOOR | 43.41 SQ. MT. |
| SECOND FLOOR | 43.41 SQ. MT. |
| THIRD FLOOR | 43.41 SQ. MT. |
| FOURTH FLOOR | 43.41 SQ. MT. |
| FIFTH FLOOR | 29.73 SQ. MT. |
| SIXTH FLOOR | 29.73 SQ. MT. |
| SEVENTH FLOOR | 29.73 SQ. MT. |
| TOTAL AREA | 306.24 SQ. MT. |

BALCONY AREA STATMENT ( WING A+B )

| FLOOR | PERMISSIBLE BALCONY AREA ( WING A+B ) | PROPOSED BALCONY AREA ( WING A+B ) | EXCESS BALCONY AREA ( WING A+B ) |
|---|---|---|---|
| GROUND FLOOR | 40.05 | — | NIL |
| FIRST FLOOR | 46.86 | 37.35 x 1.20 = 44.82<br>3.30 x 0.90 = 2.97<br>TOTAL = 47.79 | 0.93 |
| SECOND FLOOR | 46.86 | 37.35 x 1.20 = 44.82<br>3.30 x 0.90 = 2.97<br>TOTAL = 47.79 | 0.93 |
| THIRD FLOOR | 46.86 | 37.35 x 1.20 = 44.82<br>3.30 x 0.90 = 2.97<br>TOTAL = 47.79 | 0.93 |
| FOURTH FLOOR | 46.86 | 37.35 x 1.20 = 44.82<br>3.30 x 0.90 = 2.97<br>TOTAL = 47.79 | 0.93 |
| FIFTH FLOOR | 30.63 | 25.10 x 1.20 = 30.12<br>3.30 x 0.90 = 2.97<br>TOTAL = 33.09 | 2.46 |
| SIXTH FLOOR | 30.63 | 25.10 x 1.20 = 30.12<br>3.30 x 0.90 = 2.97<br>TOTAL = 33.09 | 2.46 |
| SEVENTH FLOOR | 26.53 | 22.20 x 1.20 = 26.64<br>3.30 x 0.90 = 2.97<br>TOTAL = 47.79 | 3.08 |
| TOTAL EXCESS BALCONY AREA FLOOR | | | 11.72 |

STAMP OF APPROVAL PLAN

बांधकाम नकाशे मंजूरी — सशर्त
पत्राचे जावक क्रमांक/नगररचना/बां.प/ — /2022-98/CR
प्रकरण क्र. — /नि/ — /नग/ — /2022
दिनांक 21/12/2022
टिपणीचा संदर्भ क्रमांक

MUNICIPAL CORPORATION

नगर रचनाकार
कल्याण डोंबिवली महानगरपालिका

| A | AREA STATEMENT | SQ.M. |
|---|---|---|
| 1) | AREA OF PLOT ( AS PER 7/12 EXTRACT ) | 2280.00 |
| | AREA AS PER POSSESION | 2130.00 |
| 2) | DEDUCTIONS FOR | |
| a | ROAD SET-BACK AREA | 341.00 |
| b | PROPOSED ROAD | |
| c | ANY RESERVATION | |
| d | EXISTING LAYOUT ROAD | |
| | TOTAL ( A+B+C+D ) | 341.00 |
| 3) | BALANCE AREA OF PLOT [1-2] | 1809.00 |
| 4) | DEDUCTION FOR | |
| a | RECREATION GROUND | |
| b | 5% AMINITES SPACE AS PER D.C.R.M.& 10] | 90.50 |
| | TOTAL ( A+B ) | 90.50 |
| 5) | BALANCE AREA OF PLOT[ 3-4 ] | 1718.50 |
| 6) | ADDITION FOR FLOOR SPACE INDEX | |
| | 2(a) 2(b) 100% 40% OF 5 | 341.00 |
| | 2(c) 100% 40% OF 5 | 2097.50 |
| 7) | TOTAL AREA ( 5+6 ) | |
| 8) | F.S.I. PERMISSIBLE | ONE |
| 9) | F.S.I. CREDIT AVAILABLE BY DEVELOPMENT RIGHTS | |
| | RESTRICTED TO 40% OF THE | |
| | NET PLOT AREA | |
| a | FROM D.P. ROAD | |
| b | FROM D.P. RESERVATION [ K.D.M.C./H.V.H./2354/DATED-11.09.2001/ T.D.R. | 1015.00 |
| 10) | PERMISSIBLE FLOOR AREA | 3074.50 |
| 11) | ADDITION OF AMINITY OPEN SPACE ( 5% ) | 90.50 |
| 12) | TOTAL PERMISSIBLE AREA ( 10+11 ) | 3165.00 |
| 13) | TOTAL PROPOSED AREA | 3152.49 |
| 14) | EXCESS BALCONY AREA TAKEN IN TO F.S.I | 11.72 |
| 15) | TOTAL BULTUP AREA ( 12+13 ) | 3164.21 |
| 16) | F.S.I. CONSUMED | |

| B | TENEMENTS STATEMENT | |
|---|---|---|
| 1. | NET AREA OF THE PLOT | 3074.50 |
| 2. | LESS FOR NON RESIDENTIAL | 234.19 |
| 3. | AREA OF TENEMENTS | 2801.00 |
| 4. | TENEMENTS PERMISSIBLE | 84 NOS. |
| 5. | TENEMENTS PROPOSED | 62 NOS. |

CERTIFICATE OF AREA

CERTIFIED THAT I HAVE SURVEYED THE PLOT UNDER REFERANCE ON 18/10/2001 AND THAT THE DIMENSIONS OF SIDES ETC. OF THE PLOT STATED ON THE PLAN ARE AS MEASURED ON THE SITE AND THE AREA MEWORKED OUT IS 2130.00 SQ. MES. AND TALLIES WITH THE AREA STATED IN THE DOCUMENT OF OWNERSHIP /T.P. SCHEME RECORDS.

Y.G. SATHE
REGD. ARCHITECTS

DESCRIPTION OF PROPOSAL & PROPERTY

PROPOSED BUILDING ON PLOT BEARING S.NO. 48, H.NO. 1/2 AT VILLAGE MOHANE, TAL. - KALYAN, DIST. - THANE.

NAME AND SIGNATURE OF OWNERS

MR. C.B. MUTHHA
( POWAR OF ATTORNEY HOLDER )
MR. BHARAT S. PATIL.

| DRG NO. | JOB NO. | SCALE | DATE | DRAWN BY |
|---|---|---|---|---|
| 1. | 101 | AS SHOWN | | SHASHI |

ARCHITECTS & CONSULTANTS


Y. G. SATHE
ARCHITECTS
215, Siddhivinayak sankul
Shivaji path Kalyan ( West)
Tal kalyan Dist Thane.

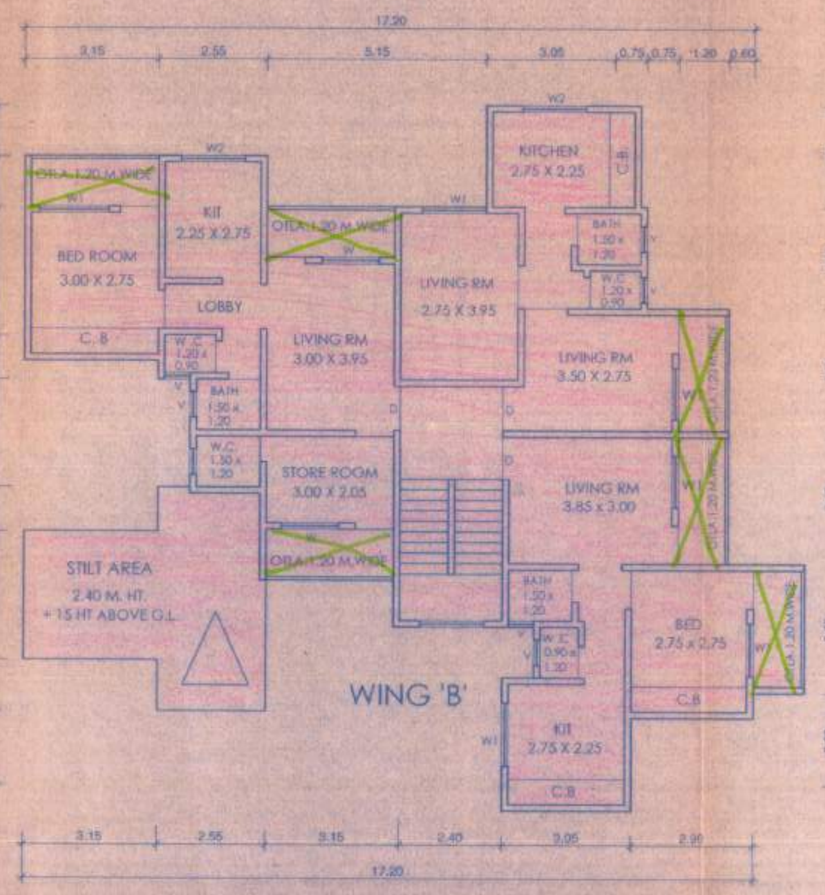


GROUND FLOOR PLAN ( WING - B )
SCALE 1:100

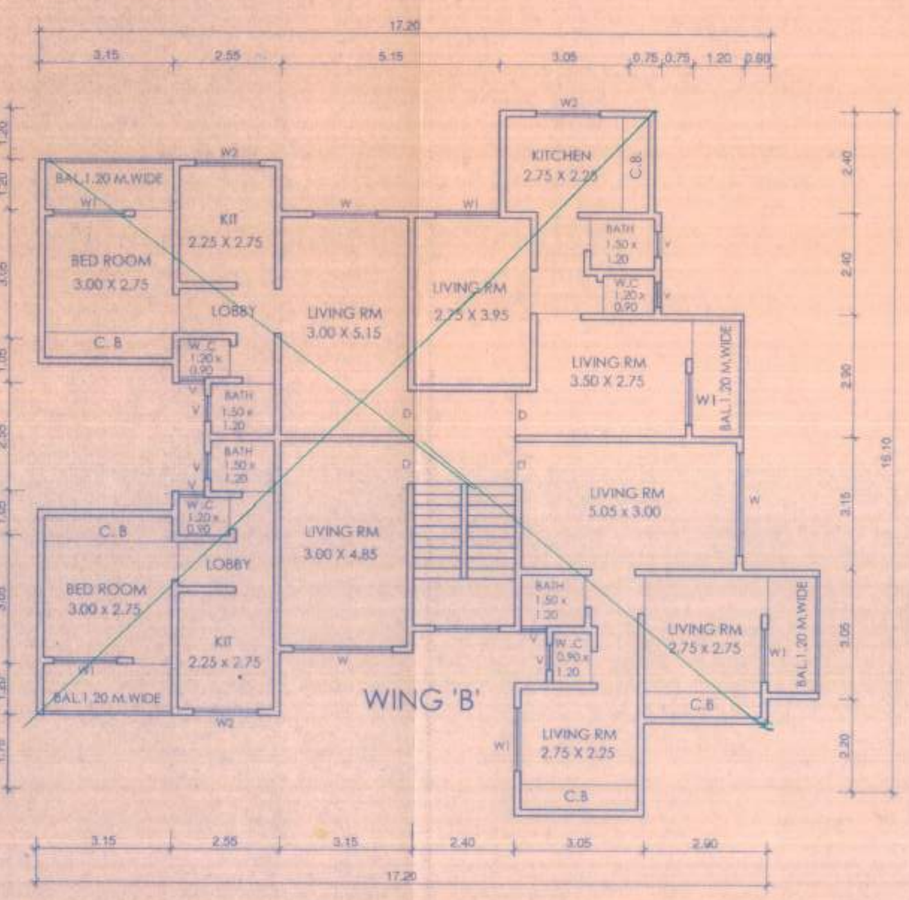


1ST TO 4TH FLOOR PLAN ( WING - B )
SCALE 1:100

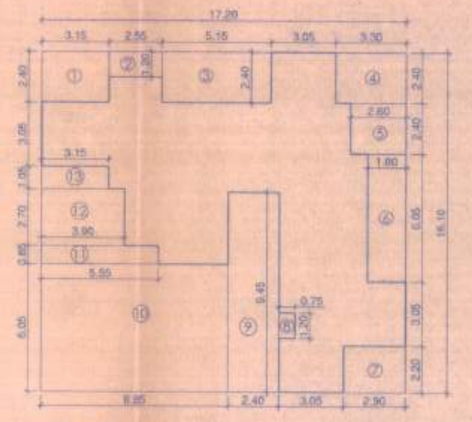

BUILTUP AREA DIAGRAM ( WING - B )
GROUND FLOOR
SCALE 1:200

BUILT-UP AREA STATEMENT
GROUND FLOOR (WING -B)

| AREA OF RECTANGLE | | SQ.M. |
|---|---|---|
| REC | 17.20 x 16.10 | 276.92 SQ.M |
| STANDARD DEDUCTIONS :- | | |
| 1) | 3.15 x 2.40 | 7.56 |
| 2) | 2.55 x 1.20 | 3.06 |
| 3) | 5.15 x 2.40 | 12.36 |
| 4) | 3.30 x 2.40 | 7.92 |
| 5) | 2.55 x 2.40 | 6.12 |
| 6) | 1.80 x 6.05 | 10.89 |
| 7) | 2.90 x 2.20 | 6.38 |
| 8) | 0.75 x 1.20 | 0.90 |
| 9) | 2.40 x 9.45 | 22.66 |
| 10) | 8.85 x 6.05 | 53.54 |
| 11) | 5.55 x 0.85 | 4.71 |
| 12) | 3.90 x 2.70 | 10.53 |
| 13) | 3.15 x 1.05 | 3.30 |
| | TOTAL = | 149.93 SQ.M |
| NET BUILT UP AREA = 276.92 - 149.93 = 126.99 SQ.M | | |

BUILT-UP AREA STATEMENT
1'ST TO 4'TH FLOOR (WING -B)

| AREA OF RECTANGLE | | SQ.M. |
|---|---|---|
| REC | 17.20 x 16.10 | 276.92 SQ.M |
| STANDARD DEDUCTIONS :- | | |
| 1) | 3.15 x 2.40 | 7.56 |
| 2) | 2.55 x 1.20 | 3.06 |
| 3) | 5.15 x 2.40 | 12.36 |
| 4) | 3.30 x 2.40 | 7.92 |
| 5) | 2.55 x 2.40 | 6.12 |
| 6) | 1.80 x 2.90 | 5.22 |
| 7) | 0.60 x 3.15 | 1.89 |
| 8) | 2.90 x 2.20 | 6.38 |
| 9) | 0.75 x 1.20 | 0.90 |
| 10) | 2.40 x 9.45 | 22.66 |
| 11) | 3.15 x 3.25 | 10.24 |
| 12) | 2.55 x 1.75 | 4.46 |
| 13) | 3.15 x 2.95 | 9.29 |
| 14) | 3.15 x 1.05 x 2 | 6.62 |
| 15) | 3.90 x 2.55 | 9.94 |
| | TOTAL = | 114.64 SQ.M |
| NET BUILT UP AREA = 276.92 - 114.64 = 162.29 SQ.M | | |

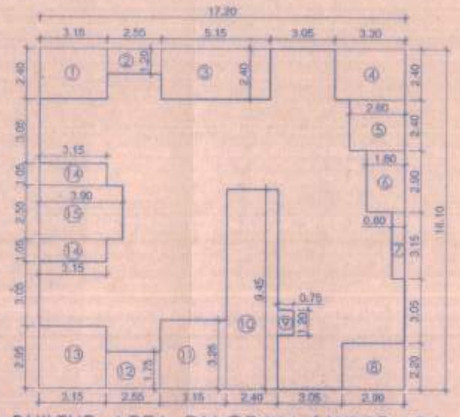

BUILTUP AREA DIAGRAM ( WING - B )
1ST TO 4TH FLOOR
SCALE 1:200

LOCATION PLAN
NOT TO SCALE

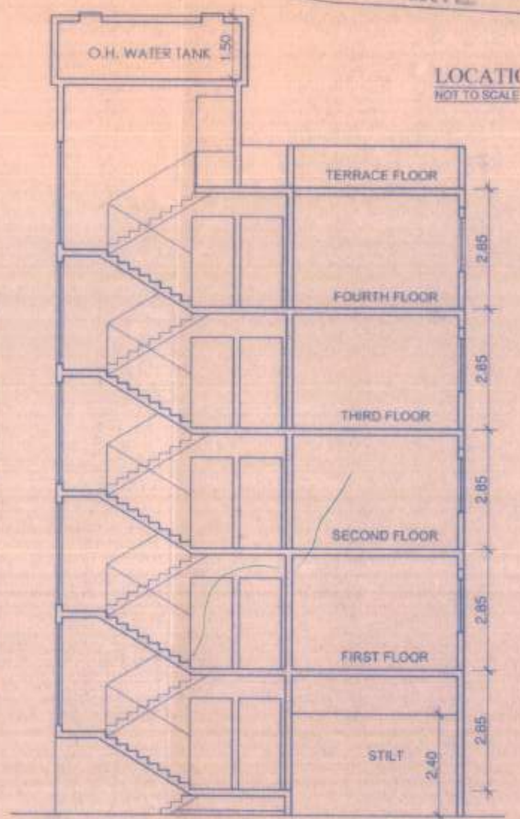


SECTION AT X-Y (WING - B )
SCALE - 1:500

STAMP OF APPROVAL PLAN

बांधकाम नकाशे मंजूरी — उपरांत
रचना सुलभता प्रमाणपत्रानुसार व बांधकाम प्रारंभ
प्रमाणपत्र क्र. कोनम / नरवि / ठाणे / ठाणे / 1.2022-23/C2
दिनांक 21/12/2022.
विकासन अधिकारी.

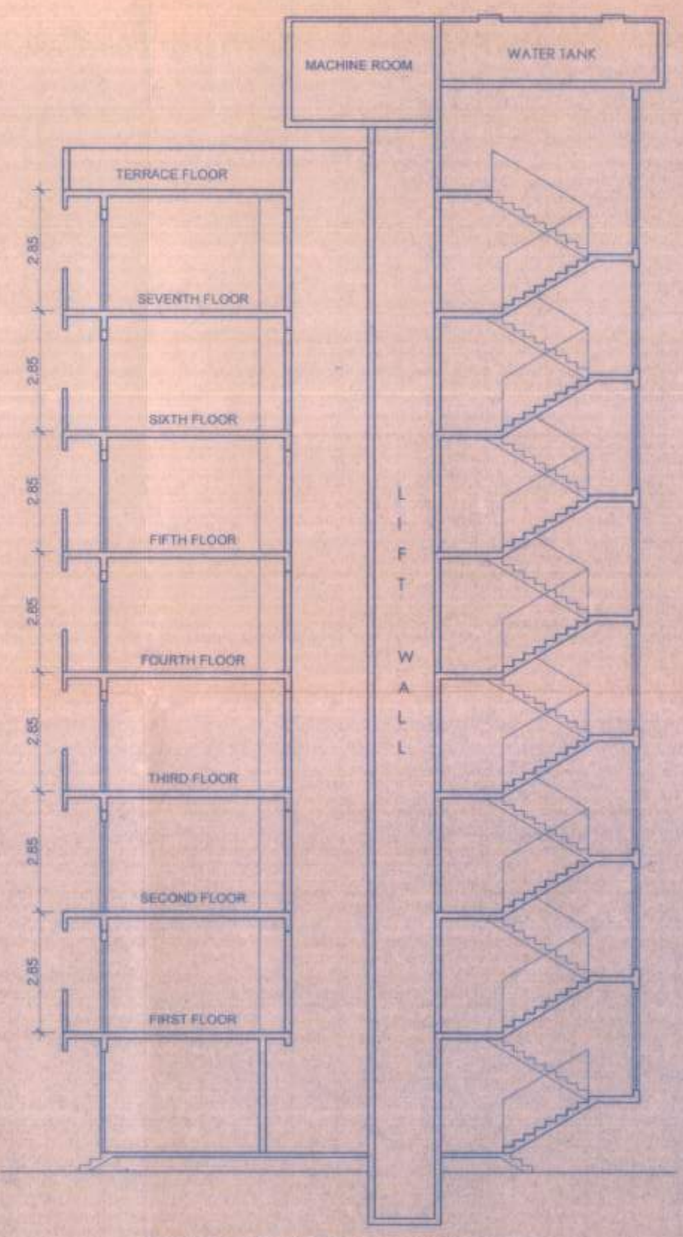


SECTION AT P-Q (WING - A )
SCALE - 1:500

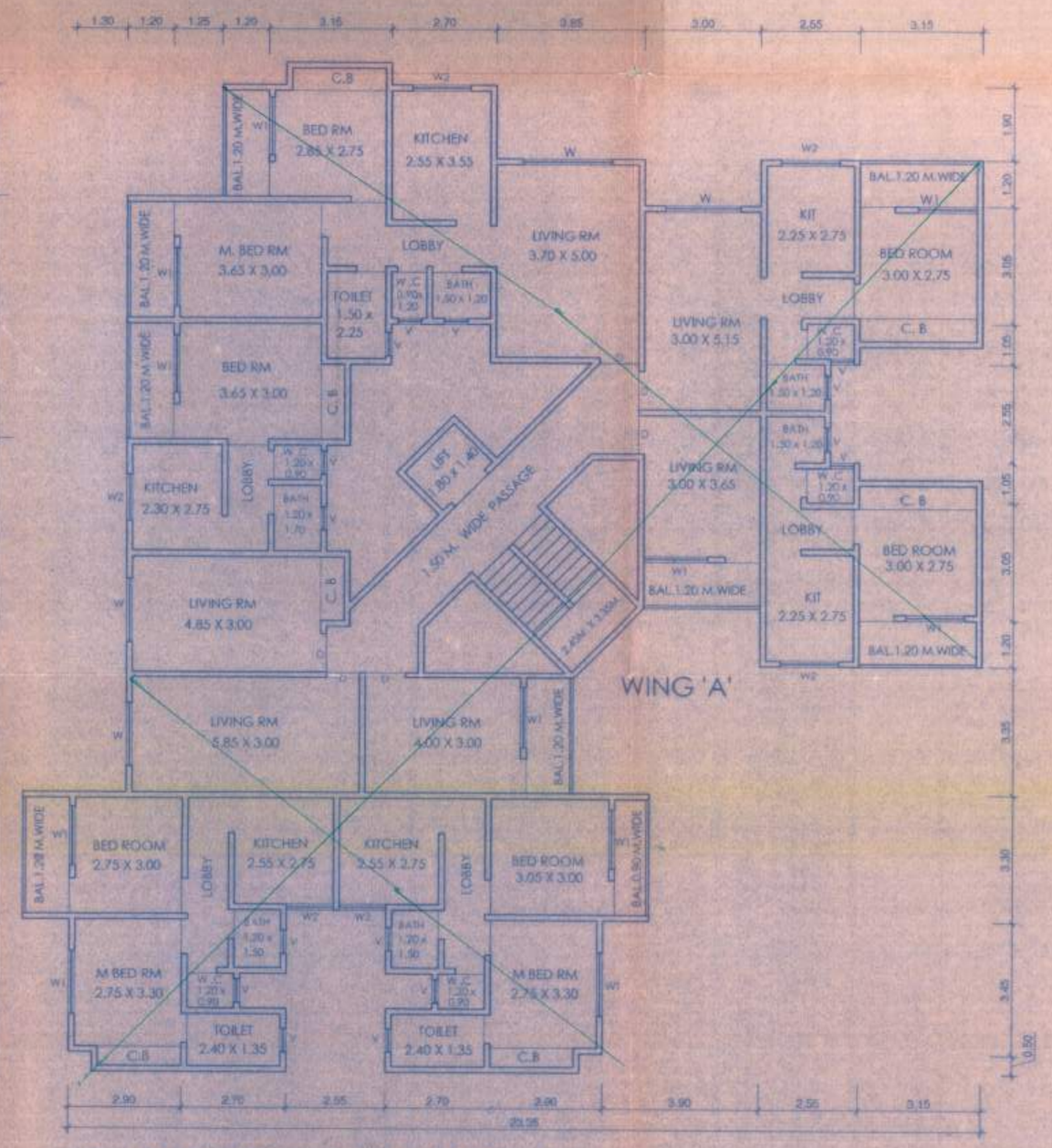


SECOND TO SIXTH LOOR PLAN ( WING - A )
SCALE 1:100

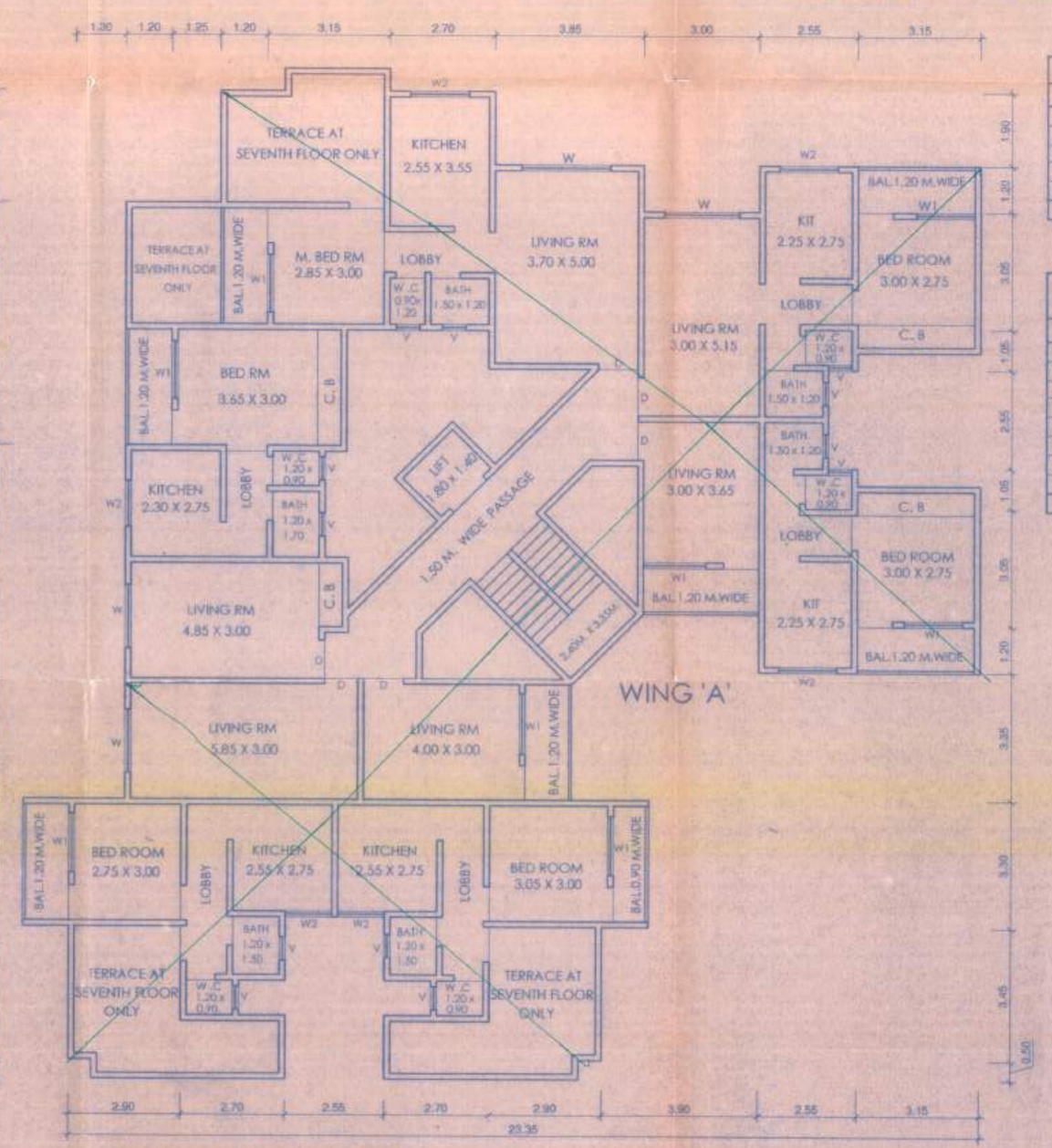


SEVENTH FLOOR PLAN ( WING - A )
SCALE 1:100

SET- BACK AREA

| ADDITION | | |
|---|---|---|
| 1) | 0.50 x 27.00 x 3.50 | 040.50 SQ.MT |
| 2) | 0.50 x 27.00 x 5.00 | 067.50 SQ.MT |
| 3) | 0.50 x 31.50 x 8.00 | 126.00 SQ.MT |
| 4) | 0.50 x 56.00 x 2.50 | 070.00 SQ.MT |
| 5) | 0.50 x 25.00 x 2.96 | 037.00 SQ.MT |
| | TOTAL = | 341.00 SQ.MT |

PLOT AREA CALCULATION
NET PLOT AREA

| ADDITION | | |
|---|---|---|
| A) | 0.50 x 32.50 x 13.50 | 219.37 SQ.MT |
| B) | 0.50 x 32.50 x 28.50 | 463.12 SQ.MT |
| C) | 0.50 x 45.00 x 17.00 | 382.50 SQ.MT |
| D) | 0.50 x 45.00 x 8.50 | 191.25 Q.MT |
| E) | 0.50 x 21.50 x 3.50 | 037.62 SQ.MT |
| F) | 0.50 x 41.50 x 14.50 | 300.87 SQMT |
| G) | 0.50 x 24.50 x 13.00 | 159.25 SQMT |
| H) | 0.50 x 28.00 x 4.34 | 056.02 SQMT |
| | TOTAL = | 1809.00 SQ.MT |



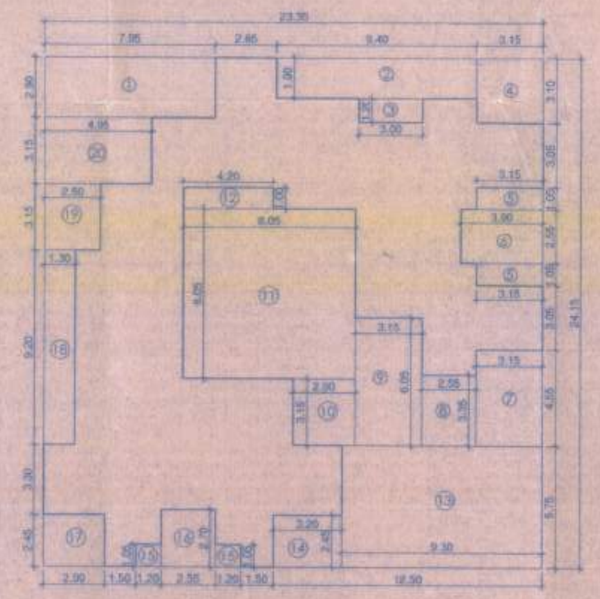

BUILTUP AREA DIAGRAM ( WING - A )
SEVENTH FLOOR.
SCALE 1:200

BUILT-UP AREA STATEMENT
SEVENTH FLOOR (WING-A)

| AREA OF RECTANGLE | | SQ.M. |
|---|---|---|
| REC | 23.35 x 24.15 | 563.90 SQ.M |
| STANDARD DEDUCTIONS :- | | |
| 1) | 7.95 x 2.90 | 23.05 |
| 2) | 9.40 x 1.90 | 17.86 |
| 3) | 3.00 x 1.20 | 3.60 |
| 4) | 3.15 x 3.10 | 9.76 |
| 5) | 3.15 x 1.05 x 2 | 6.62 |
| 6) | 3.90 x 2.55 | 9.94 |
| 7) | 3.15 x 4.55 | 14.33 |
| 8) | 2.55 x 3.35 | 8.54 |
| 9) | 3.15 x 6.05 | 19.06 |
| 10) | 2.90 x 3.15 | 9.14 |
| 11) | 8.05 x 8.05 | 64.80 |
| 12) | 4.20 x 1.00 | 4.20 |
| 13) | 9.30 x 5.75 | 53.47 |
| 14) | 3.20 x 2.45 | 7.84 |
| 15) | 1.20 x 1.05 x 2 | 2.52 |
| 16) | 2.55 x 2.70 | 6.88 |
| 17) | 2.90 x 2.45 | 7.10 |
| 18) | 1.30 x 9.20 | 11.96 |
| 19) | 2.50 x 3.15 | 7.88 |
| 20) | 4.95 x 3.15 | 15.59 |
| TOTAL DEDUCTIONS = | | 304.14 SQ.M |
| NET BUILT UP AREA = 563.90 - 304.14 = 259.76 SQ.M | | |

DESCRIPTION OF PROPOSAL & PROPERTY

PROPOSED BUILDING ON PLOT BEARING S.NO. 48, H.NO. 1/2 AT VILLAGE MOHANE, TAL. - KALYAN, DIST. - THANE.

NAME AND SIGNATURE OF OWNERS

MR. C.B. MUTHHA
( POWAR OF ATTORNEY HOLDER )
MR. BHARAT S. PATIL.

| DRG NO. | JOB NO. | SCALE | DATE | DRAWN BY |
|---|---|---|---|---|
| 1. | 101 | AS SHOWN | | MIASH |

ARCHITECTS & CONSULTANTS

Y. G. SATHE
ARCHITECTS
215, Siddhivinayak sankul
Shivaji path Kalyan ( West )
Tal. kalyan Dist. Thane.