SHIV VATIKA															
BUILDING	FLOORS	FSI AREA						BALCONY	TERRACE	LIFT	LIFTWELL	DUCT	VENT	OTHER	TOTAL
		COMM.	RESI.	IND.	EDU.	INS.	MEZZ.	PROP.					SHAFT	DEDUCTION	FSI AREA
SHIV VATIKA	7TH 12TH 17TH FLOOR	0.000	2079.393	0.000	0.000	0.000	0.000	90.198	0.000	0.000	26.136	30.600	0.000	167.289	1855.368
SHIV VATIKA	1ST TO 6TH 8TH TO 11TH 13TH TO 16TH AND 18TH FLOOR	0.000	10396.965	0.000	0.000	0.000	0.000	486.060	0.000	0.000	130.680	153.000	0.000	189.630	9923.655
SHIV VATIKA	STILT FLOOR	0.000	225.244	0.000	0.000	0.000	0.000	0.000	0.000	8.712	0.000	0.000	0.000	19.185	206.059
SHIV VATIKA	TOTAL	0.000	12701.602	0.000	0.000	0.000	0.000	576.258	0.000	8.712	156.816	183.600	0.000	376.104	11985.082

FSI DETAILS										
9 Index	Basic FSI (on sarial no 7)	Premium FSI (on sarial no 3)	TDR/OR (on sarial no 3)	Incentive FSI for green building if Applicable (on basic FSI)	Additional FSI (10.16.1 Note:3)	Ancillary Area 60% of (2+3+4+5)	Ancillary Area 80% of (2+3+4+5)	Total	Inclusive Housing (25%) if Applicable	Drawing Value
9.1 Permissible Index	1.100	0.500	0.900	0.000	0.000	0.000	0.000	2.500	0.000	0.000
9.2 Existing Consumed Index	0.000	0.000	0.000	0.000	0.000	0.000	0.000	0.000	0.000	0.000
9.3 Balance Index to be Consumed	1.100	0.500	0.900	0.000	0.000	0.000	0.000	0.000	0.000	0.000
9.4 Total Permissible PLine Area	4048.000	1840.000	3312.000	0.000	0.000	4494.600	0.000	13694.600	0.000	0.000
9.5 Proposed P Line Area (Should not exceed 9.4)	3839.000	340.000	3312.000	0.000	0.000	4494.082	0.000	11985.082	0.000	11985.082
9.6 Index Consumed	1.043	0.092	0.900	0.000	0.000	0.000	0.000	2.036	0.000	0.000

Carpet Area Table								
Building Name	Floor Name	Carpet name	Tenement No	Carpet Area	Enclosed Balcony Area	Normal Balcony Area	Mezzanine Area	Total Carpet Area
SHIV VATIKA	1ST TO 6TH 8TH TO 11TH 13TH TO 16TH AND 18TH FLOOR	9	15	38.258	0.000	2.338	0.000	38.258
SHIV VATIKA	7TH 12TH 17TH FLOOR	3	15	38.258	0.000	2.338	0.000	38.258
SHIV VATIKA	7TH 12TH 17TH FLOOR	4	15	35.095	3.163	2.338	0.000	38.258
SHIV VATIKA	7TH 12TH 17TH FLOOR	5	15	38.258	0.000	2.338	0.000	38.258
SHIV VATIKA	7TH 12TH 17TH FLOOR	6	15	51.945	0.000	2.550	0.000	51.945
SHIV VATIKA	7TH 12TH 17TH FLOOR	7	15	38.258	0.000	2.338	0.000	38.258
SHIV VATIKA	7TH 12TH 17TH FLOOR	8	15	38.258	0.000	2.338	0.000	38.258
SHIV VATIKA	7TH 12TH 17TH FLOOR	10	15	52.417	2.887	2.550	0.000	55.304
SHIV VATIKA	7TH 12TH 17TH FLOOR	11	15	55.305	0.000	2.550	0.000	55.305
SHIV VATIKA	7TH 12TH 17TH FLOOR	1	15	38.258	0.000	2.338	0.000	38.258
SHIV VATIKA	7TH 12TH 17TH FLOOR	2	15	38.258	0.000	2.338	0.000	38.258

Accomodation Reservation Detail

Reservation Details				Reservation Area Details			
Type	Name	Number	Total Area	Area Already acquired/under AR	Balance area to be acquired	Area of reservation under this proposal	Remarks

Parking Check (Table 8B)								
			RATIO			Required		
Building Name	USE	TENAMENT AREA	car	scooter	NO.OF Tenai/Area/Units	car	scooter	Transport Vehicle/Ambulance /Mini Bus
SHIV VATIKA	Residential	For every two tenements with each tenement having carpet area less than 40 Sq.m. but more than 30 sq.m.	1	2	141	70.500	141.000	-
SHIV VATIKA	Residential	For every two tenements with each tenement having carpet area equal to or above 40 sq.m. but less than 80 sq.m.	1	2	54	27.000	54.000	-
Total	-	-	-	-	-	97.500	195.000	-
Visitors parking(5%)	-	-	-	-	-	4.875	9.750	-
Total	-	-	-	-	-	102.375	204.750	0.000

Parking Check As Per Multiplying Factor 0.800 (note: 1) 6 scooter equals to 1 car, proposed composite parking for carr 26)							
	Required			Proposed			
Building Name	Car	Scooter	Transport Vehicle/Ambulance /Mini bus	Car	Scooter	Transport Vehicle/Ambulance /Mini bus	Status
Total	108	49	0	108	49	0	OK

Telecom Room			
Building	Req. Size	Prop. Size	Status
SHIV VATIKA	3.000X3.400	3.000X3.400	OK
SHIV VATIKA	3.000X3.400	3.000X3.400	OK

SCHEDULE OF OPENING				
BLD NAME	NAME	LENGTH	HEIGHT	Nos.
SHIV VATIKA	V	0.600	0.750	43

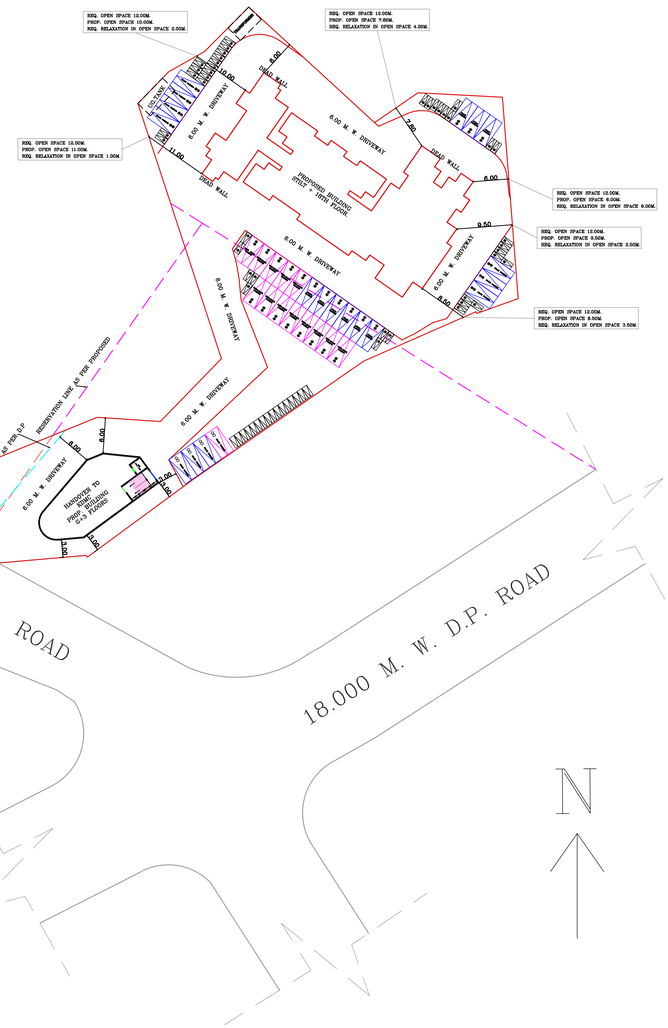

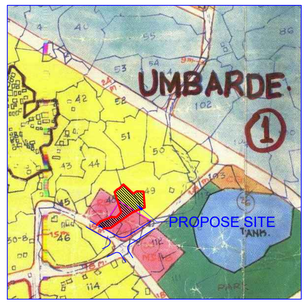

Project Details
Proposal code: KDMCC-25-139633
Zone Type: Residential Zone
Location: Non-Congested
Name of service: Accommodation reservations
Sub service:
City No /Survey No.: 47
Tahsil: Sector-3
Mouza: Umbarde
Prorata Value: 0.000
Separation/CRZ Zone Area: 0.000

LEGENDS:
PLOT BOUNDRY SHOWN WHITE
ROAD WIDENING SHOWN PINK
DRAINAGE LINE SHOWN YELLOW LIGHT
WATER LINE SHOWN BLUE DOTTED
ENCLOSED BAL SHOWN BROWN
TERRACE SHOWN DARK YELLOW
OPEN BAL SHOWN BRARK
EXISTING SHOWN BLUE HATCHED

LOCATION PLAN

N

FORM OF STATEMENT
[SR.NO. 9(a)]
PROPOSED BUILDING HANDOVER TO KDMC

FLOOR NO.		TOTAL BUILT-UP AREA
G.R	=	174.131 SQ.MT.
1ST	=	170.131 SQ.MT.
2ND	=	170.131 SQ.MT.
3RD	=	170.131 SQ.MT.
TOTAL	=	684.524 SQ.MT.

AREA STATEMENT		IN SQ.MT
1	(A) AREA OF PLOT	
	(a) AS PER OWNERSHIP DOCUMENT (7/12, CTS EXTRACT)	3680.000
	(b) AS PER MEASUREMENT SHEET	3680.000
	(c) AS PER POSSESSION	3680.000
2	DEDUCTIONS FOR	
	(a) 15.00 M. W. D.P. ROAD AREA	--
	(b) P.S. RESERVATION AREA SR.NO. 48/5	190.000
	(c) CWC RESERVATION AREA SR. NO. 49/8	1355.000
	(d) TOTAL AREA (a+b+c)	1545.000
3	BALANCE PLOT AREA (1 Minus 2)	2135.000
	(a) CWC RESERVATION WITH 'R' ZONE UNDER ACCOMODATION POLICY 2135 R ZONE AREA +1355 CWC RESERVATION = 3490.00 SQ.MT. 2135 + 1355 = 3490	3490.000
	(b) CWC RESERVATION UNDER ACCOMODATION POLICY 60/40% 1355.00 X 40% = 542.00 SQ.MT PLOT FOR KDMC = 50% CONSTRUCTION AREA TO KDMC (1355 X 50% = 677.50	
4	AMENITY SPACE IF APPLICABLE	--
	(a) REQUIRED	
	(b) ADJUSTMENT OF IF ANY	
	(c) BALANCE PROPOSED	
5	NET PLOT AREA (3-4(c))	3490.00
6	RECREATIONAL OPEN SPACE (IF APPLICABLE)	--
	(a) REQUIRED	
	(b) PROPOSED	
7	INTERNAL ROAD AREA	--
8	PLOTABLE AREA ('R' ZONE + CWC RESERVATION AREA) (2135.000 + 1355.000 = 3490.000)	3490.000
9	BUILT UP AREA WITH REFERENCE TO BASIC FSI AS PER FRONT ROAD WIDTH (SR.NO: 5 X BASIC FSI) (3490.000 X 1.10) = 3839.000	3839.000
10	ADDITION OF FSI ON PAYMENT PREMIUM	
	(a) MAXIMUM PERMISSIBLE PREMIUM FSI BASED ON ROAD WIDTH /TOD ZONE	--
	(b) PROPOSED FSI ON PAYMENT OF PREMIUM (3680.000 X 0.50 = 1840.000) (OUT OF THIS = 340.00 SQ.MT)	340.000
11	IN-SITU FSI/TDR LOADING	--
	(a) IN-SITU AREA AGAINST D.P. ROAD SR.NO:2 (a) D.P. RESERVATION SR.NO.2 (b)	
	(b) IN-SITU AREA AGAINST AMENITY SPACE IF HANDED OVER (2.00 OR 1.85 X SR. NO:4 (b) AND/or (C)	
	(c) TDR AREA (3680.000 X 0.90 = 3312.000)	3312.000
	(d) TOTAL IN-SITU / TDR LOADING PROPOSED (11 (a)+(b)+(c)	3312.000
12	ADDITIONAL FSI AREA UNDER CHAPTER NO.7 (FOR SOC. REDEVELOPMENT AS PER 7.6.1)	--
13	TOTAL ENTITLEMENT OF FSI IN THE PROPOSAL	
	(a) [9+10(b)+11(d) or 12 WHICHEVER IS APPLICABLE	7491.000
	(b) ANCILLARY AREA FSI UPTO 60% OR 80% WITH PAYMENT OF CHARGES RESIDENTIAL AREA = 7491.000 X 60% = 4494.600 SQ.MT	4494.600
	(c) TOTAL ENTITLEMENT (a+b)	11985.600
14	MAXIMUM UTILIZATION LIMIT OF FSI (BUILDING POTENTIAL) PERMISSIBLE AS PER ROAD WIDTH As per Regulation no. 6.1 or 6.2 or 6.3 or 6.4 as applicable) x 1.6 or 1.8	--
15	TOTAL BUILT UP AREA IN PROPOSAL (EXCLUDING AREA AT SR. NO.17(b)	
	(a) EXISTING SANCTION BUILT UP AREA	00.00
	(b) PROPOSED BUILT UP AREA (AS PER P LINE)	11985.082
	(c) TOTAL (a+b)	11985.082
16	FSI CONSUMED (15/13)	
17	AREA FOR INCLUSIVE HOUSING IF ANY	
	(a) REQUIRED (20% OF SR. NO:5)	
	(b) PROPOSED (20% OF SR. NO:5)	

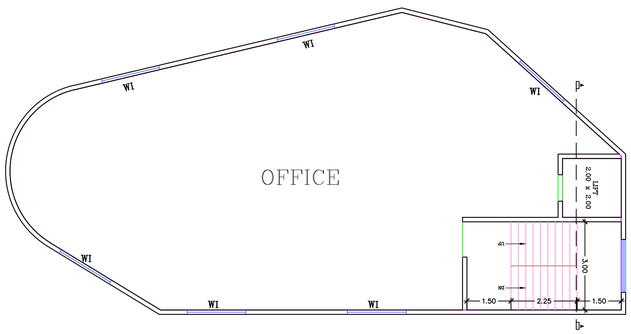

BUILDING HANDOVER TO KDMC
GR + 1ST 2ND & 3RD FLOOR PLAN
SCALE 1:100

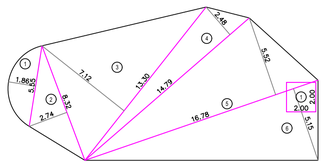

BUILT-UP AREA CALCULATION
HANDOVER TO KDMC
GR + 1ST 2ND & 3RD FLOOR
SCALE 1:200

BUILT UP AREA CALCULATION

GROUND TO 3RD FLOOR (HANDOVER TO KDMC)								
1	2/3	X	5.551	X	1.862	X 1 NO	=	7.475 SQ.MT.
2	1/2	X	8.316	X	2.738	X 1 NO	=	11.385 SQ.MT.
3	1/2	X	13.296	X	7.121	X 1 NO	=	47.340 SQ.MT.
4	1/2	X	14.793	X	2.480	X 1 NO	=	18.343 SQ.MT.
5	1/2	X	16.780	X	5.523	X 1 NO	=	46.338 SQ.MT.
6	1/2	X	16.780	X	5.155	X 1 NO	=	43.250 SQ.MT.
						TOTAL ADDITION	=	174.131 SQ.MT. X

DEDUCTIONS

1	2.000	X	2.000	X	1 NO	=	4.000 SQ.MT.	
					TOTAL DEDUCTION	=	4.000 SQ.MT.	Y1
TOTAL BUILT UP AREA [X - Y1]						=	170.131 SQ.MT.	X1

LAYOUT PLAN
SCALE 1:500

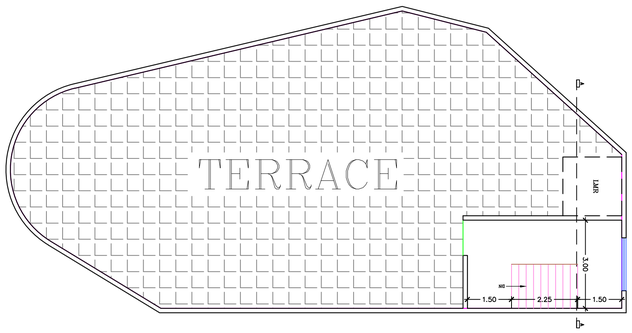

TERRACE FLOOR PLAN
BUILDING-2
SCALE 1:100

PARKING STATEMENT HANDOVER TO KDMC			
FLAT CARPET AREA IN SQ.MT AREA IN SQ.MT	NO.OF FLATS	REQUIRED CAR	REQUIRED SCOOTER
BELOW 30 SQ.MT. EVERY 2 TENEMENT- 2 SCOOTER	--	--	--
30 TO 80 SQ.MT. EVERY 2 TENEMENT/1CAR & 2 SCOOTER			
80 TO 150 SQ.MT. EVERY ONE TENEMENT/ 1CAR & 3 SCOOTER	--	--	--
150 SQ.MT.& ABOVE EVERY ONE TENEMENT/ 2CAR &3 SCOOTER	--	--	--
TOTAL NO OF RESIDENTIAL PARKING	--	--	--
VISITOR PARKING 5%	--	--	--
COMMERCIAL AREA EVERY 100 SQ.MT.2 CAR & 6 SCOOTER	166.157	3.322	10.00
COMMERCIAL AREA EVERY 200 SQ.MT.3 CAR & 11 SCOOTER	466.471	7.296	27.00
TOTAL NO OF PARKING	--	11.00	37.00
PARKING REQUIRED AS PER TABLE NO. 8C 80% OF PARKING	--	9.00	37.00
STILT STACK PARKING	--	--	--
OPEN STACK PARKING (1+1 = 2 CARS)	--	9.00	--
OPEN SINGLE PARKING	--	--	20.00
COMPOSITE PIT + STACK PARKING (3 CARS X 6 = 18 SCOOTERS)	--	3.00	--
TOTAL PROPOSED NO OF PARKING	--	12.00	20.00 (+18COMPOSITE)

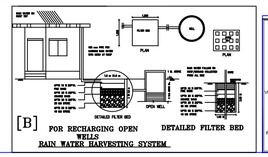

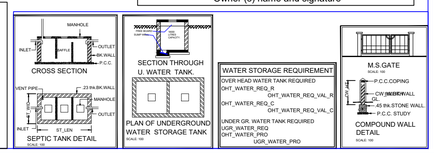

Certificate of Area:
Certified that the plot under reference was surveyed by me on_____ and the dimensions of sides etc. of plot stated on plan are as measured on site and the area so worked out tallies with the area stated in document of Ownership/ T.P. Scheme Records/Land Records Department/City Survey records.

Signature TEJAS ANIL NIRGUDE Digitally signed by TEJAS ANIL NIRGUDE Date: 2026.02.19 16:01:34 +05'30'
(Name of Architect/ Licensed Engineer/ Supervisor.)

Owner's Declaration -
I/We undersigned hereby confirm that I/We would abide by plans approved by Authority / Collector. I/We would execute the structure as per approved plans. Also I/We would execute the work under supervision of proper technical person so as to ensure the quality and safety at the work site.

Owner (s) name and signature

Reserved for Stamps of Approval plan

LAYOUT PLAN | SHEET NO. 1/3

Proforma I : Area Statement	
1. Area of plot (Minimum area of a, b, c to be considered)	3680.000
(a) As per ownership document (7/12, CTS extract)	3680.000
(b) as per TILR or City Survey measurement sheet	3680.000
(c) as per Demarcated drawing area	3688.818
LESS	
2.Area not in possession	0.000
3. Area Proposed for development (out of 1-2)	3680.000
4.Deductions for(out of 3)	
(a) Proposed D.P./ D.P. Road widening Area/Proposed DP road, Road under MMC act	0.000
(b) Any D.P. Reservation area	0.000
(c) Green Belt	0.000
(Total a+b+c)	0.000
5. Plot Under accommodation Reservation	3680.000
6.Recreational Open Space (Not applicable if plots are from sanctioned layout)	-
(a). If area is more than (5) 4000 sqmt - 10 % of (5) is required.	0.000
Proposed	0.000
(b). If area is less than 4000 sqmt	-
(A)10 % Subject to minimum 200 sqmt(Not applicable if plots are from sanctioned layout or each plot admesuring less than 4000sq.m regularised under gunthewari act)	0.000
Proposed _____	0.000
(B)Exemption to leave open space subject to availing basic F.S.I of 75 %	-
(C)Exemption to leave open space subject to payment of 10 % land value of land at (7) as per annual statement of rate.	-
Architect/ Licensed Engineer/ Supervisor name and signature	
Registration No. of Architect/ License no. of Licensed Engineer/ Supervisor: CA/2019/106930	

NAME OF OWNER :M/S SKY HEIGHTS INFRASTRUCTURE PVT.LTD. THROUGH ITS PARTNER MR. SHAKTI B. KUSHWAH

Postal Address : 405/Palm Court, K-Wing,Malad Link Road,Malad (w) Dely,Mumbai,Maharashtra-400064

Phone No.:9821143332

DESCRIPTION OF PROJECT :
Type of Proposal : Residential
PROPOSED BUILDING ON PLOT BEARING S.NO :
S.NO.: 47/2/A, 47/3, 48/5, 49/8, AT VILLAGE: UMBARDE,KALYAN.THANE
SITE ADDRESS :
S.NO.: 47/2/A, 47/3, 48/5, 49/8, AT VILLAGE: UMBARDE,
TALUKA: KALYAN, DISTRICT: THANE.

Name Of Architect : Tejas Anil Nirgude

LOGO	ADDRESS OF OFFICE
	OFFICE - 5TH FLOOR, MIDTOWN EMBASSY, BEHIND VASANT VALLEY BUS DEPOT ,OPP. NARAYANA SCHOOL, GANDHARE, KALYAN - 421301
OWNERS SIGN -	TECHNICAL PERSON SIGN TEJAS ANIL NIRGUDE Digitally signed by TEJAS ANIL NIRGUDE Date: 2026.02.19 16:01:34 +05'30'

SCALE -	DATE:	Date: 18/02/26
JOB NO - KDMCC-25-139933	CHECK BY - ANIL	

SUBMISSION DRAWING

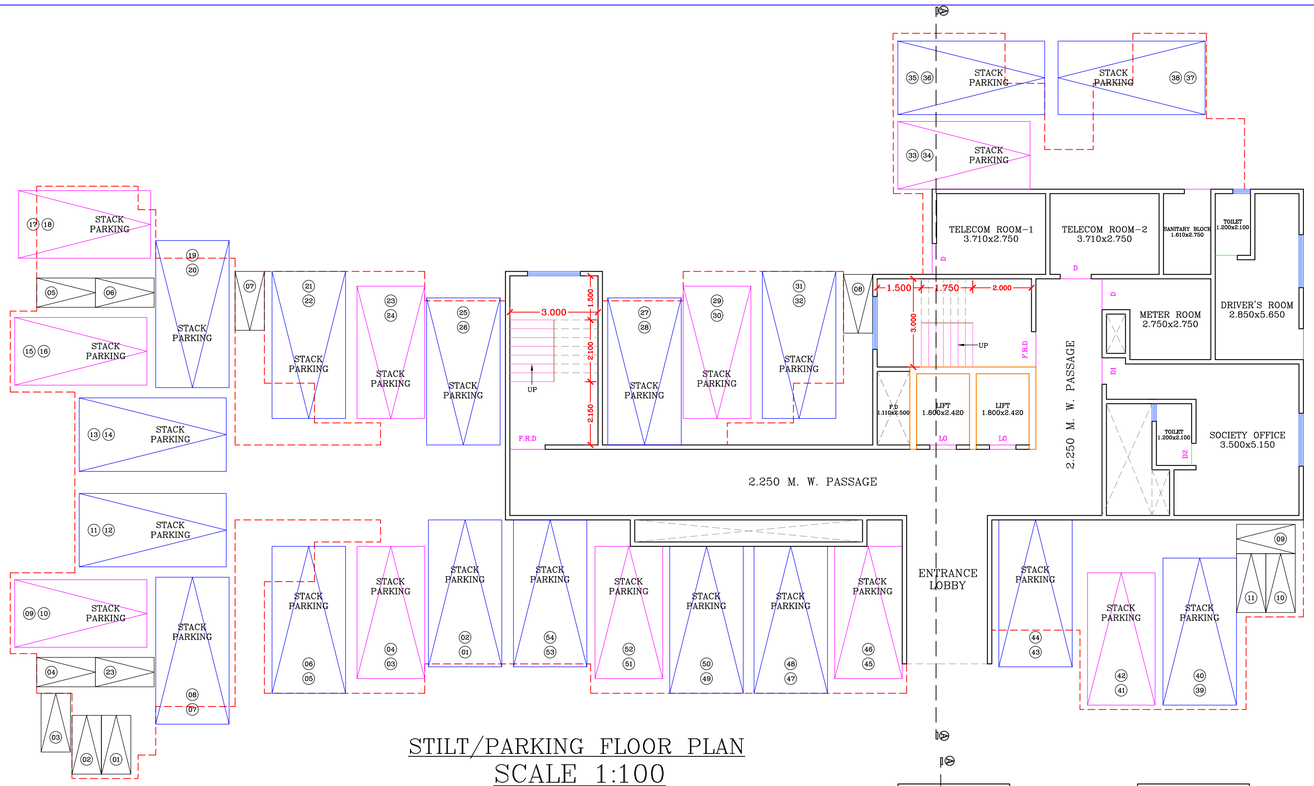

STILT/PARKING FLOOR PLAN
SCALE 1:100

BUILT UP AREA CALCULATION FOR STILT FLOOR SHIV VATIKA			
AREA NAME	LENGTH	WIDTH	Area(Sq.M)
BLOCK	27.150	16.150	225.244
BLOCK AREA TOTAL =225.244Sq.M			
Void9	-	-	6.820
Void8	-	-	2.775
Void7	-	-	9.560
TOTAL Deduction =19.1855Sq.M			
Net BuiltUp Area =206.059 Sq.M			

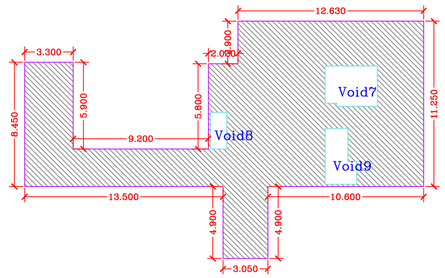

BUILT-UP AREA CALCULATION
STILT/PARKING FLOOR PLAN
SCALE 1:200

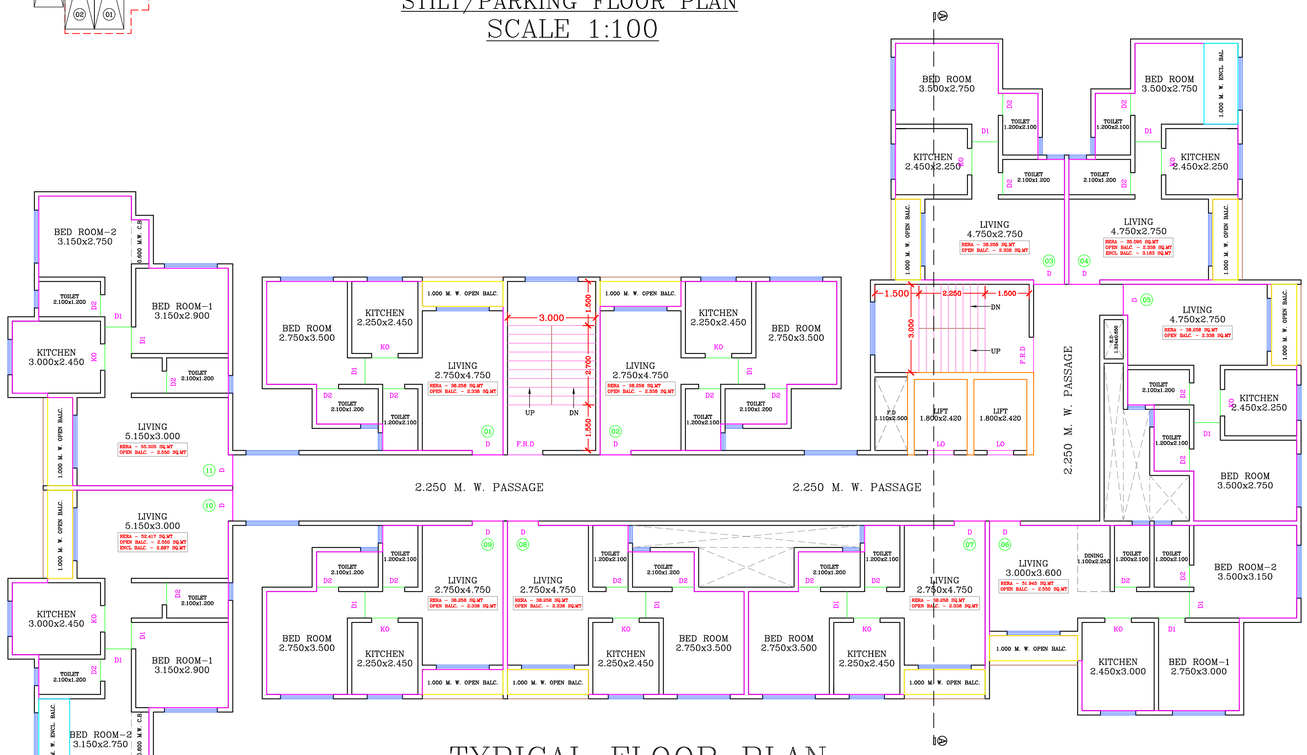

TYPICAL FLOOR PLAN
(1ST TO 6TH, 8TH TO 11TH, 13TH TO 16TH & 18TH FLOOR)
SCALE 1:100

BUILT UP AREA CALCULATION FOR 1ST TO 6TH 8TH TO 11TH 13TH TO 16TH AND 18TH FLOOR SHIV VATIKA			
AREA NAME	LENGTH	WIDTH	Area(Sq.M)
BLOCK	44.000	25.350	693.131
BLOCK AREA TOTAL =693.131Sq.M			
Void6	-	-	0.867
Void5	-	-	3.000
Void4	-	-	2.775
LiftWell4	-	-	4.356
LiftWell3	-	-	4.356
Duct2	-	-	10.200
TOTAL Deduction =31.554Sq.M			
Net BuiltUp Area =661.577 Sq.M			

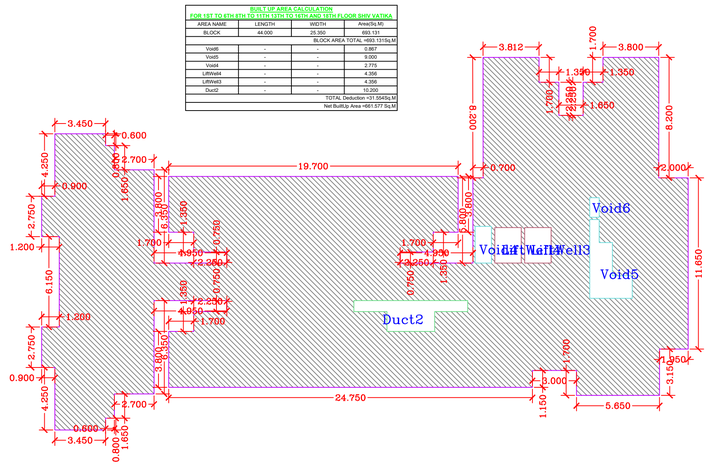

BUILT AREA CALCULATION
TYPICAL FLOOR PLAN
(1ST TO 6TH, 8TH TO 11TH, 13TH TO 16TH & 18TH FLOOR)
SCALE 1:200

Reserved for Stamps of Approval plan

FLOOR PLAN	SHEET NO. 2/3

Proforma I : Area Statement

1. Area of plot (Minimum area of a, b, c to be considered)	3680.000
(a) As per ownership document (7/12, CTS extract)	3680.000
(b) as per TILR or City Survey measurement sheet	3680.000
(c) as per Demarcated drawing area	3688.818
LESS	
2.Area not in possession	0.000
3. Area Proposed for development (out of 1-2)	3680.000
4.Deductions for(out of 3)	
(a) Proposed D.P./ D.P. Road widening Area/Proposed DP road, Road under MMC act	0.000
(b) Any D.P. Reservation area	0.000
(c) Green Belt	0.000
(Total a+b+c)	0.000
5. Plot Under accommodation Reservation	3680.000
6.Recreational Open Space (Not applicable if plots are from sanctioned layout)	-
(a). If area is more than (5) 4000 sqmt - 10 % of (5) is required.	0.000
Proposed___	0.000
(b). If area is less than 4000 sqmt	-
(A)10 % Subject to minimum 200 sqmt(Not applicable if plots are from sanctioned layout or each plot admesuring less than 4000sq.m regularised under gunthewari act)	0.000
Proposed	0.000
(B)Exemption to leave open space subject to availing basic F.S.I of 75 %	-
(C)Exemption to leave open space subject to payment of 10 % land value of land at (7) as per annual statement of rate.	-
Architect/ Licensed Engineer/ Supervisor name and signature	
Registration No. of Architect/ License no. of Licensed Engineer/ Supervisor: CA/2019/106930	

NAME OF OWNER :M/S SKY HEIGHTS INFRASTRUCTURE PVT.LTD. THROUGH ITS PARTNER MR. SHAKTI B. KUSHWAH

Postal Address : 405/Palm Court, K-Wing,Malad Link Road,Malad (w) Dely,Mumbai,Maharashtra-400064

Phone No.:9821143332

DESCRIPTION OF PROJECT :

Type of Proposal : Residential
PROPOSED BUILDING ON PLOT BEARING S.NO :
S.NO.: 47/2/A, 47/3, 48/5, 49/8, AT VILLAGE: UMBARDE,KALYAN.THANE

SITE ADDRESS :
S.NO.: 47/2/A, 47/3, 48/5, 49/8, AT VILLAGE: UMBARDE,
TALUKA: KALYAN, DISTRICT: THANE.

Name Of Architect : Tejas Anil Nirgude

LOGO	ADDRESS OF OFFICE
	OFFICE - 5TH FLOOR, MIDTOWN EMBASSY, BEHIND VASANT VALLEY BUS DEPOT, OPP. NARAYANA SCHOOL, GANDHARE, KALYAN - 421301

OWNERS SIGN -	TECHNICAL PERSON SIGN
	TEJAS ANIL NIRGUDE — Digitally signed by TEJAS ANIL NIRGUDE Date: 2026.02.19 14:02:55 +05'30'

	SCALE -	DATE: Date: 18/02/26
	JOB NO - KDMCC-25-139933	CHECK BY - ANIL

SUBMISSION DRAWING

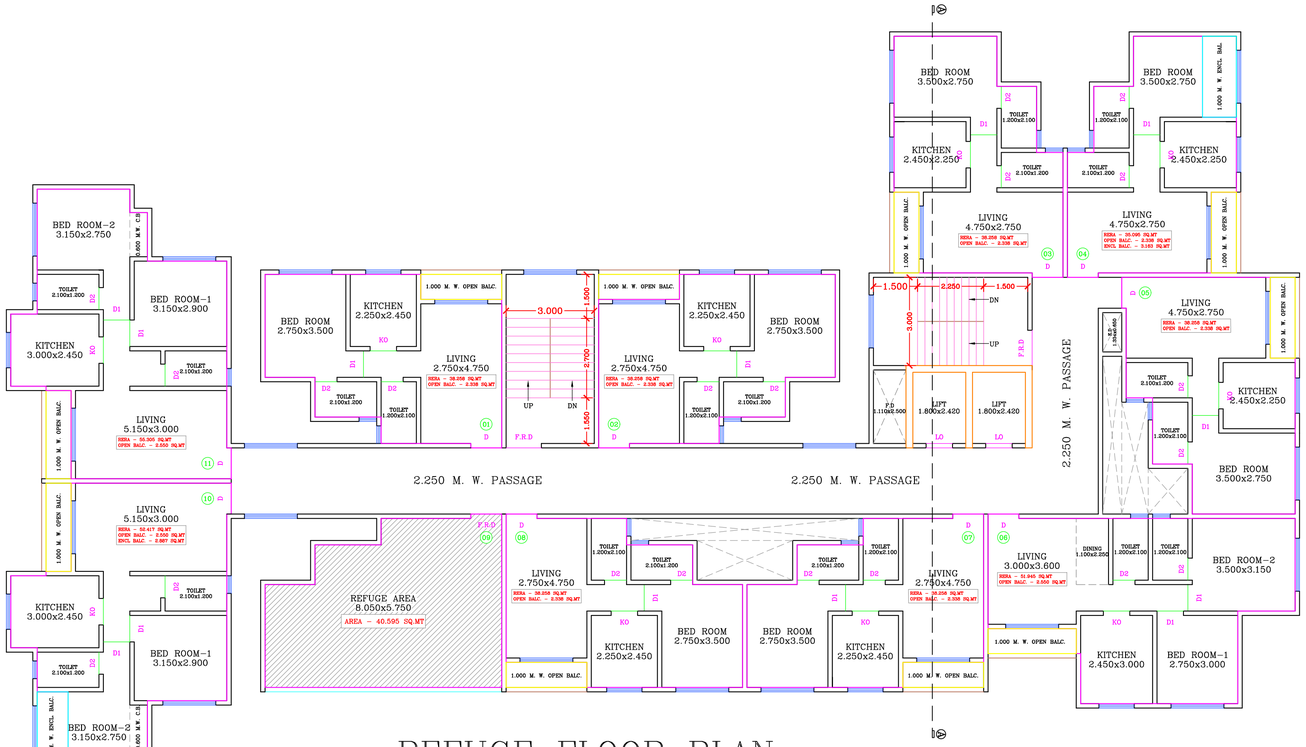

REFUGE FLOOR PLAN
(7TH, 12TH & 17TH FLOOR)
SCALE 1:100

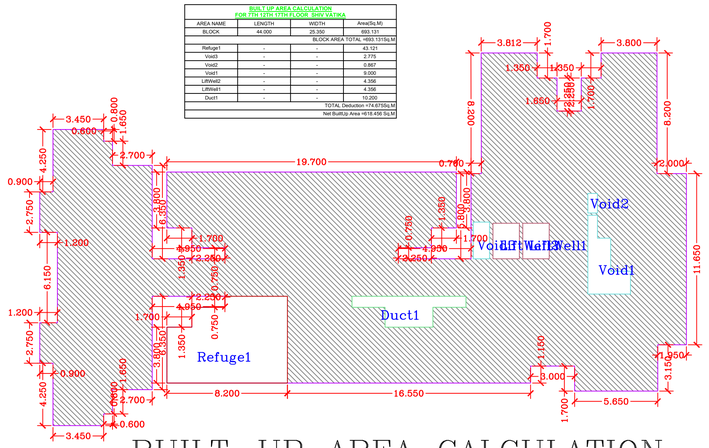

BUILT UP AREA CALCULATION
FOR 7TH,12TH,17TH FLOOR SHIV VATIKA

AREA NAME	LENGTH	WIDTH	Area(Sq.M)
BLOCK	44.000	25.350	893.131
		BLOCK AREA TOTAL	=893.131Sq.M
Refuge1	-	-	43.121
Void3	-	-	2.775
Void2	-	-	0.867
Void1	-	-	9.000
LiftWell2	-	-	4.356
LiftWell1	-	-	4.356
Duct1	-	-	10.200
		TOTAL Deduction	=74.675Sq.M
		Net Built.Up Area	=818.456 Sq.M

BUILT–UP AREA CALCULATION
REFUGE FLOOR PLAN
(7TH, 12TH & 17TH FLOOR)
SCALE 1:200

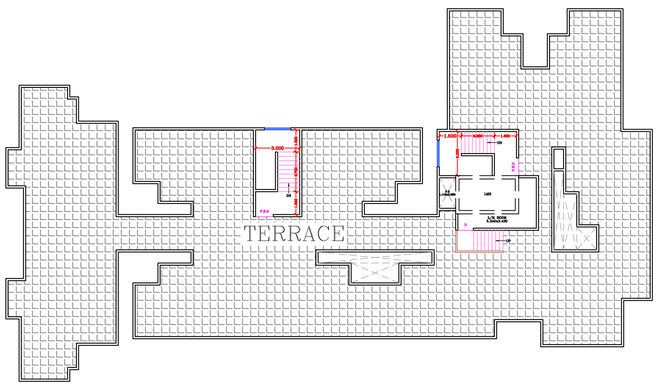

TERRACE FLOOR PLAN
SCALE 1:200

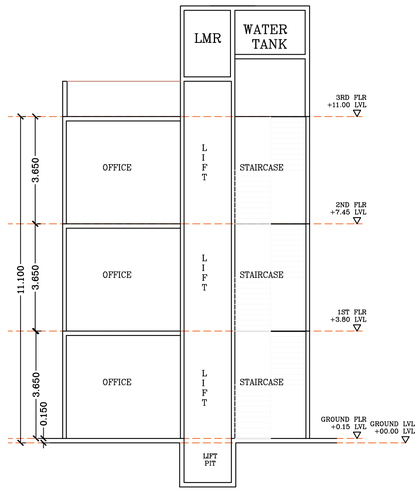

HANDOVER TO KDMC
BUILDING SECTION A–A
SCALE 1:100

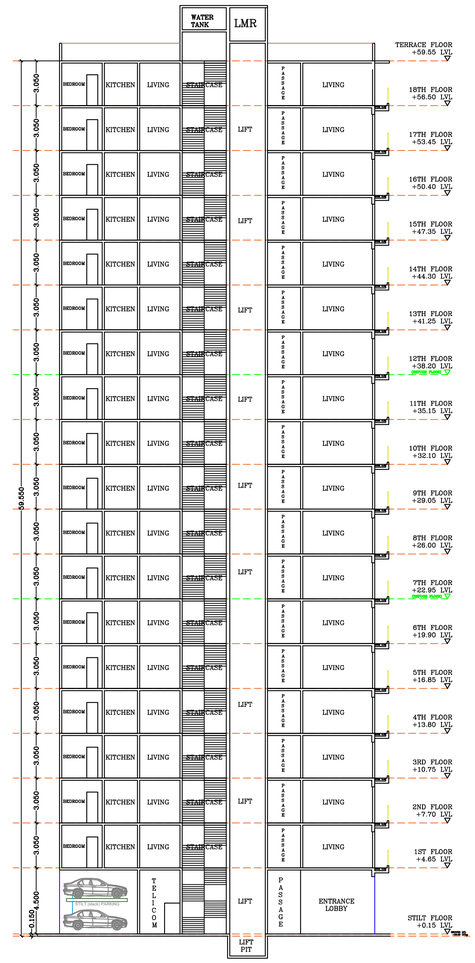

SECTION A–A
SCALE 1:200

Reserved for Stamps of Approval plan

FLOOR PLAN	SHEET NO. 3/3

Proforma I : Area Statement

1. Area of plot (Minimum area of a, b, c to be considered)	3680.000
(a) As per ownership document (7/12, CTS extract)	3680.000
(b) as per TILR or City Survey measurement sheet	3680.000
(c) as per Demarcated drawing area	3688.818
LESS	
2.Area not in possession	0.000
3. Area Proposed for development (out of 1-2)	3680.000
4.Deductions for(out of 3)	
(a) Proposed D.P./ D.P. Road widening Area/Proposed DP road, Road under MMC act	0.000
(b) Any D.P. Reservation area	0.000
(c) Green Belt	0.000
(Total a+b+c)	0.000
5. Plot Under accommodation Reservation	3680.000
6.Recreational Open Space (Not applicable if plots are from sanctioned layout)	-
(a). If area is more than (5) 4000 sqmt - 10 % of (5) is required.	0.000
Proposed___	0.000
(b). If area is less than 4000 sqmt	-
(A)10 % Subject to minimum 200 sqmt(Not applicable if plots are from sanctioned layout or each plot admesuring less than 4000sq.m regularised under gunthewari act)	0.000
Proposed _____	0.000
(B)Exemption to leave open space subject to availing basic F.S.I of 75 %	-
(C)Exemption to leave open space subject to payment of 10 % land value of land at (7) as per annual statement of rate.	-
Architect/ Licensed Engineer/ Supervisor name and signature	
Registration No. of Architect/ License no. of Licensed Engineer/ Supervisor: CA/2019/106930	

NAME OF OWNER :M/S SKY HEIGHTS INFRASTRUCTURE PVT.LTD. THROUGH ITS PARTNER MR. SHAKTI B. KUSHWAH

Postal Address : 405/Palm Court, K-Wing,Malad Link Road,Malad (w) Dely.Mumbai,Maharashtra-400064

Phone No.:9821143332

DESCRIPTION OF PROJECT :

Type of Proposal : Residential
PROPOSED BUILDING ON PLOT BEARING S.NO :
S.NO.: 47/2/A, 47/3, 48/5, 49/8, AT VILLAGE: UMBARDE,KALYAN.THANE
SITE ADDRESS :
S.NO.: 47/2/A, 47/3, 48/5, 49/8, AT VILLAGE: UMBARDE,
TALUKA: KALYAN, DISTRICT: THANE.

Name Of Architect : Tejas Anil Nirgude

LOGO	ADDRESS OF OFFICE
	OFFICE - 5TH FLOOR, MIDTOWN EMBASSY, BEHIND VASANT VALLEY BUS DEPOT, OPP. NARAYANA SCHOOL, GANDHARE, KALYAN - 421301

OWNERS SIGN -	TECHNICAL PERSON SIGN
	TEJAS ANIL NIRGUDE Digitally signed by TEJAS ANIL NIRGUDE Date: 2026.02.19 16:03:26 +05'30'

SCALE -	DATE: Date: 18/02/26
JOB NO - KDMCC-25-139933	CHECK BY - ANIL

SUBMISSION DRAWING