Sujay heights														
BUILDING	FLOORS	FSI AREA						BALCONY	TERRACE	LIFT	LIFTWELL	DUCT	VENT	OTHER	TOTAL
		COMM.	RESI.	IND.	EDU.	INS.	MEZZ.	PROP.					SHAFT	DEDUCTION	FSI AREA
Sujay heights	STILT FLOOR	0.000	10.004	0.000	0.000	0.000	0.000	0.000	0.000	0.000	0.000	0.000	0.000	0.000	10.004
Sujay heights	1ST TO 4TH FLOOR	0.000	856.368	0.000	0.000	0.000	0.000	0.000	0.000	0.000	9.000	0.000	0.000	0.000	847.368
Sujay heights	5TH TO 7TH FLOOR	0.000	622.494	0.000	0.000	0.000	0.000	0.000	0.000	6.750	6.750	0.000	0.000	0.000	615.744
Sujay heights	TOTAL	0.000	1488.866	0.000	0.000	0.000	0.000	0.000	0.000	6.750	15.750	0.000	0.000	0.000	1473.116

FSI DETAILS									
10 Index	Basic FSI (on serial no 7)	Premium FSI (on serial no 3)	TDR/DR (on serial no 3)	Rehab Incentive FSI as per 7.6.2	Incentive fsi for green building if Applicable (on basic FSI)	Ancillary Area(60% of 2 + 3+4+5)	Ancillary Area(80% of 2 + 3+4+5)	Total	Drawing Value
10.1 Permissible Index	1.100	0.500	0.400	50%	0.000	0.000	0.000	2.000	0.000
10.2 Total Entitlement of FSI as per Reg 7.6.1 & 7.6.2	1.100	0.500	0.400	0.500	0.000	0.000	0.000	2.000	0.000
10.3 FSI Permissible for Redevelopment(Max of 10.1 and 10.2)	1.100	0.500	0.400	0.500	0.000	0.000	0.000	2.000	0.000
10.4 Existing Consumed Index	0.000	0.000	0.000	0.000	0.000	0.000	0.000	0.000	-
10.5 Balance Index to be Consumed (10.3 - 10.4)	1.100	0.500	0.400	0.500	0.000	0.000	0.000	2.000	-
10.6 Total Permissible (P Line Area)	494.141	237.610	190.088	150.000	0.000	553.098	0.000	1624.937	0.000
10.7 Proposed P Line Area (should not exceed 10.4)	494.140	225.690	52.000	150.000	0.000	551.286	0.000	1473.116	1473.116
10.8 Index Consumed	1.100	0.475	0.109	0.500	0.000	0.000	0.000	1.684	0.000

Area utilisation of Roads and Reservations							
Description of area utilisation			surrendered Area in(SqM)	Quatam of DR/TDR generation	Total Quatam of DR/TDR generation	Area considered for DR utilisation	Remaining area for DRC generation
BUILDING	Reservation type	reservation no	Name				
-	-	9.000 m DP Road Widening	26.000	52.000	52.000	0.000	0.000
-	-	Total	26.000	52.000	52.000	52.000	0.000

Carpet Area Table									
Building Name	Floor Name	Carpet name	Tenement No	Carpet Area	Enclosed Balcony	Terrace/Balcony Area(Deduct)	Mezzanine Area	Total Carpet Area
Sujay heights	STILT TO 4TH FLOOR	501.801.701	3	86.204	0.000	0.000	0.000	86.204
Sujay heights	STILT TO 4TH FLOOR	503.802.702	3	25.920	0.000	0.000	0.000	25.920
Sujay heights	STILT TO 4TH FLOOR	503.803.703	3	62.465	0.000	0.000	0.000	62.465
Sujay heights	1ST TO 4TH FLOOR	104.204.304.404	4	47.440	0.000	0.000	0.000	47.440
Sujay heights	1ST TO 4TH FLOOR	102.202.302.402	4	38.145	0.000	0.000	0.000	38.145
Sujay heights	1ST TO 4TH FLOOR	103.203.303.403	4	36.915	0.000	0.000	0.000	36.915
Sujay heights	1ST TO 4TH FLOOR	104.204.304.404	4	58.070	0.000	0.000	0.000	58.070

Parking Check As Per Multiplying Factor 2.500 (note: 0.5 decimal equals to 1 car, proposed composite parking for carn d)								
Required				Proposed				
Building Name	Car	Scooter	Transport Vehicle/Ambulance Bay Nos	Car	Scooter	Transport Vehicle/Ambulance Bay Nos	Status	
Total	15	2	0	15	3	0	OK	

Parking Check (Table 7B)									
			Area			Required			
Building Name	USE	TENAMENT AREA	car	scooter	NO OF Tenants/Area/Units	car	scooter	Transport Vehicle/Ambulance Bay Nos	
Sujay heights	Residential	For every two tenement having each tenement having carpet area equal to or more than 30 sq.m. but less than 60 sq.m.	1	2	11	5.500	11.000	-	
Sujay heights	Residential	For every two tenements with each tenement having carpet area equal to or than 45 Sq.m. but more than 32 sq.m.	1	2	8	4.000	8.000	-	
Sujay heights	Residential	For every two tenement having each tenement having carpet area equal to or than 60 Sq.m.	0	2	3	0.000	3.000	-	
Sujay heights	Residential	For every tenement having carpet area equal to or more than 150 sq.m. but less than 150 sq.m.	1	1	3	3.000	3.000	-	
Total	-	-	-	-	-	12.500	25.000	-	
Visitors parking(5%)	-	-	-	-	-	0.625	1.250	-	
Total	-	-	-	-	-	13.125	26.250	0.000	

SCHEDULE OF OPENING				
SLD NAME	NAME	LENGTH	HEIGHT	Nos.
Sujay heights	V	0.900	1.200	4

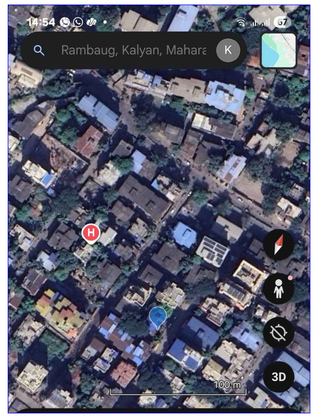

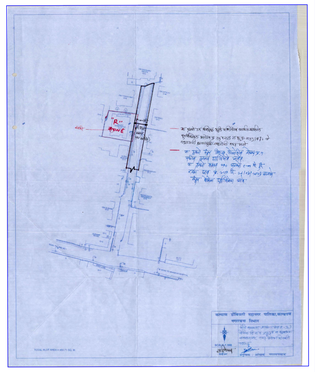

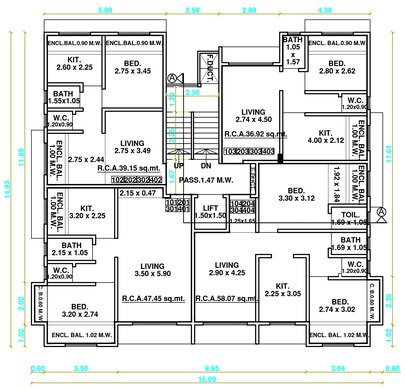

1st TO 4th FLOOR PLAN
SCALE 1 : 100

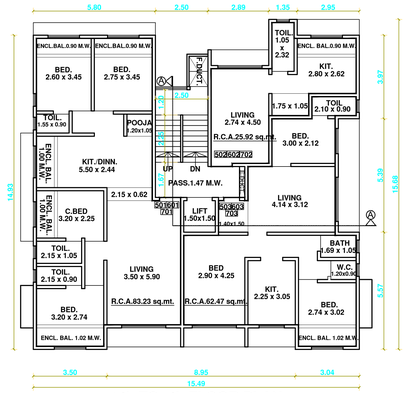

5th TO 7th FLOOR PLAN
SCALE 1 : 100

PARKING STATEMENT (FOR PROP. AREA AS PER NEW UDCPR)			
FLAT CARPET AREA IN SQ.MT.	No. OF FLATS	REQUIRED CAR	REQUIRED SCOOTER
BELOW 30 SQ.MT. EVERY 2 TENEMENT- 2 SCOOTER	03	-------	03
30 TO 40 SQ.MT. EVERY 2 TENEMENT/1 CAR & 2 SCOOTER	08	04	08
40 TO 80 SQ.MT. EVERY 2 TENEMENT/1CAR & 2 SCOOTER	11	05.50	11
80 TO 150 SQ.MT. EVERY ONE TENEMENT/ 1CAR & 1 SCOOTER	03	03	03
150 SQ.MT.& ABOVE EVERY ONE TENEMENT/ 2CAR & 1 SCOOTER	—	—	
TOTAL NO OF RESIDENTIAL PARKING	25	12.50	25
ADD VISITOR PARKING FOR RESIDENTIAL 5%		0.625	01.25
TOTAL NO OF PARKING		13.125	26.25
PARKING REQUIRED AS PER TABLE NO. 8C 80% OF PARKING		10.50	--------
PARKING REQUIRED		11.00	27.00
COMPOSITE PARKING 6 SCOOTER PARKING TO 1 CAR PARKING		04	24.00
PARKING REQUIRED		15.00	03.00
PARKING PROPOSED		15.00	03.00

P-LINE BUILT UP AREA STATEMENT IN SQ.MT.	
GR. FLR.	10.00
1ST FLR.	211.87
2ND FLR.	211.87
3RD FLR.	211.87
4TH FLR.	211.87
5TH FLR.	205.27
6TH FLR.	205.27
7TH FLR.	205.27
TOTAL	1473.29

STAMP OF APPROVAL	SHEET NO. 1/2
DESCRIPTION OF PROPERTY & PROPOSAL	
PROP. REDEVELOP BUILDING (SUJAY HEIGHTS) ON C.T.S. NO.2955/B/2, AT VILLAGE KALYAN, TAL. KALYAN, DIST. THANE.	

FORM OF STATEMENT 3 (SR.NO. 9(g)) AREA DETAILS OF APARTMENT			
FLOOR NO.	APARTMENT	CARPET AREA OF APARTMENT (IN SQ.M)	AREA OF BALCONY ATTACHED TO APARTMENT (IN SQ.M)
1st to 4th	FLAT 1	47.45	----------
	FLAT 2	39.15	----------
	FLAT 3	36.92	----------
	FLAT 4	58.07	----------
5th to 7th	FLAT 1	83.23	----------
	FLAT 2	25.92	----------
	FLAT 3	62.47	----------

DOORS AND WINDOWS SCHEDULE		
TYPE	SIZE	DESCRIPTION
D	1.00 X 2.13	T.W. FRAME FULLY PANELLED SINGLE LEAF
D1	0.90 X 2.13	T.W. FRAME FULLY PANELLED SINGLE LEAF
D2	0.75 X 2.00	T.W. FRAME 0.25 M.H. GLASS AT TOP SING LEAF
W	2.00 X 1.20	T.W. FRAME FULLY GLAZED FOUR SHUTTERS
W1	1.65 X 1.20	T.W. FRAME FULLY GLAZED THREE SHUTTERS
W2	1.35 X 1.00	T.W. FRAME FULLY GLAZED TWO SHUTTERS
W3	0.60 X 0.90	T.W. FRAME GLASS LOUVERS AT 45

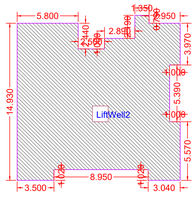

BUILT-UP AREA CALCULATION 5TH TO 7TH FLOOR Sujay heights

BUILT UP AREA CALCULATION FOR 5TH TO 7TH FLOOR Sujay heights			
AREA NAME	LENGTH	WIDTH	Area(Sq.M)
BLOCK	15.000	13.490	207.448
		BLOCK AREA TOTAL =207.448Sq.M	
LIFTWell2		6.750	6.750
		TOTAL Deduction =6.750Sq.M	
		Net BuiltUp Area =200.248 Sq.M	

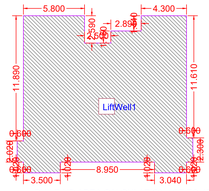

BUILT-UP AREA CALCULATION 1ST TO 4TH FLOOR Sujay heights

BUILT UP AREA CALCULATION FOR 1ST TO 4TH FLOOR Sujay heights			
AREA NAME	LENGTH	WIDTH	Area(Sq.M)
BLOCK	15.000	15.690	235.350
		BLOCK AREA TOTAL =235.350Sq.M	
LIFTWell1		2.250	2.250
		TOTAL Deduction =2.250Sq.M	
		Net BuiltUp Area =233.100 Sq.M	

BUILT-UP AREA CALCULATION STILT FLOOR Sujay heights

BUILT UP AREA CALCULATION FOR STILT FLOOR Sujay heights			
AREA NAME	LENGTH	WIDTH	Area(Sq.M)
BLOCK	3.200	3.280	10.496
		BLOCK AREA TOTAL =10.004Sq.M	
		TOTAL Deduction =0.000Sq.M	
		Net BuiltUp Area =10.004 Sq.M	

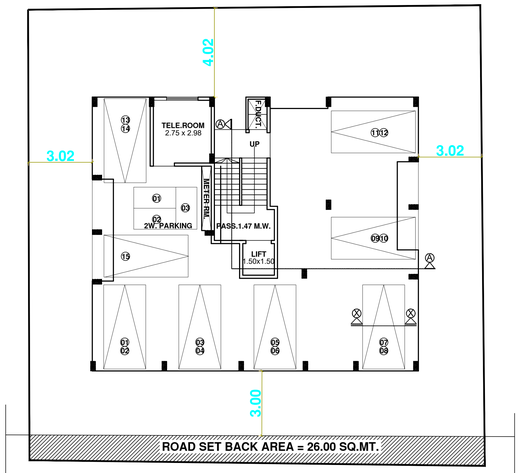

9.00 M.W. D.P. ROAD

GROUND FLOOR PLAN
SCALE 1 : 100

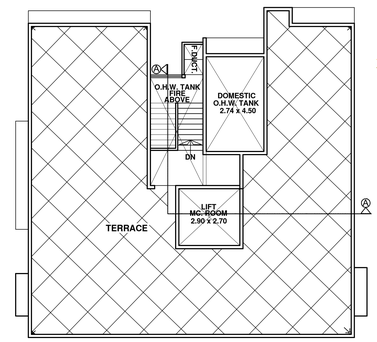

TERRACE FLOOR PLAN
SCALE 1 : 100

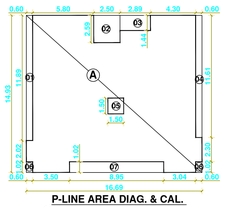

P-LINE AREA DIAG. & CAL.
1st to 4th FLR. SCALE 1 : 200

P-LINE AREA CALCULATION FOR 1ST TO 4TH FLR.	
BLOCK AREA A = 15.69 x 14.93 = 249.18 SQ.MT.	
DEDUCTIONS	
01.,00.60 x 11.89 x 01 = 07.13 SQ.MT.	
02.,02.50 x 02.59 x 01 = 06.47 SQ.MT.	
03.,02.89 x 01.44 x 01 = 04.16 SQ.MT.	
04.,00.60 x 11.61 x 01 = 06.96 SQ.MT.	
05.,01.50 x 01.50 x 01 = 02.25 SQ.MT.	
06.,00.60 x 01.02 x 02 = 01.22 SQ.MT.	
07.,08.95 x 01.02 x 01 = 09.12 SQ.MT.	
TOTAL DEDUCTIONS = 37.31 SQ.MT.	
P-LINE AREA OF 1ST. FLR. = BLOCK AREA A - TOTAL DEDUCTIONS 249.18 - 37.31 = 211.87 SQ.MT.	

P-LINE AREA OF 1ST. FLR. = 211.87 SQ.MT.
P-LINE AREA OF 2ND. FLR. = 211.87 SQ.MT.
P-LINE AREA OF 3RD. FLR. = 211.87 SQ.MT.
P-LINE AREA OF 4TH. FLR. = 211.87 SQ.MT.

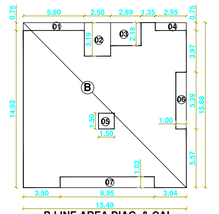

P-LINE AREA DIAG. & CAL.
5th to 7th FLR. SCALE 1 : 200

P-LINE AREA CALCULATION FOR 5TH TO 7TH FLR.	
BLOCK AREA B = 15.49 x 15.68 = 242.88 SQ.MT.	
DEDUCTIONS	
01.,05.80 x 00.75 x 01 = 04.35 SQ.MT.	
02.,02.50 x 03.19 x 01 = 07.97 SQ.MT.	
03.,02.89 x 02.19 x 01 = 06.32 SQ.MT.	
04.,02.95 x 00.75 x 01 = 02.21 SQ.MT.	
05.,01.50 x 01.50 x 01 = 02.25 SQ.MT.	
06.,01.00 x 05.39 x 01 = 05.39 SQ.MT.	
07.,08.95 x 01.02 x 01 = 09.12 SQ.MT.	
TOTAL DEDUCTIONS = 37.61 SQ.MT.	
P-LINE AREA OF 5TH FLR. = BLOCK AREA B - TOTAL DEDUCTIONS 242.88 - 37.61 = 205.27 SQ.MT.	

P-LINE AREA OF 5TH. FLR. = 205.27 SQ.MT.
P-LINE AREA OF 6TH. FLR. = 205.27 SQ.MT.
P-LINE AREA OF 7TH. FLR. = 205.27 SQ.MT.

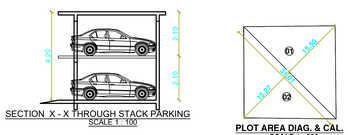

SECTION X - X THROUGH STACK PARKING
SCALE 1 : 100

PLOT AREA DIAG. & CAL.
SCALE 1 : 500

PLOT AREA CALCULATION	
01., 31.01 x 15.50 x 0.5 = 240.32 SQ.MT.	
02., 31.01 x 15.27 x 0.5 = 236.76 SQ.MT.	
TOTAL ADDITIONS = 477.08 SQ.MT.	

P-LINE AREA DIAG. & CAL.
TELECOM ROOM SCALE 1 : 200
03.05 x 03.28 x 01 = 10.00 SQ.MT.

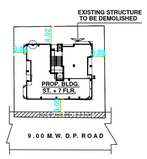

BLOCK PLAN
SCALE 1 : 500

TENEMENTS STATEMENT		
1	PROPOSED AREA	1473.29 Sq.Mt.
2	LESS DEDUCTION FOR NON-RESI. AREA	---------- ------
3	AREA AVAILABLE FOR TENEMENTS	1472.29 Sq.Mt.
4	TENEMENTS PERMISSIBLE	44 Nos.
5	TENEMENTS PROPOSED	25 Nos.
6	TENEMENTS EXISTING	---------
7	TOTAL TENEMENTS PROPOSED	25 Nos.

LOCATION PLAN
SCALE 1 : 2500

AREA STATEMENT		SQ.MT.
1	AREA OF THE PLOT (MINIMUM AREA OF a,b,c TO BE CONSIDERED)	
	a)AS PER OWNERSHIP DOCUMENTS	475.22
	b) AS PER MEASUREMENT SHEET	475.22
	c) AS PER SITE	
2	DEDUCTIONS	
	a) PROPOSED D.P./D.P. ROAD WIDENING AREA/ SERVICE ROAD/HIGHWAY WIDENING	26.00
	b) ANY D.P. RESERVATION AREA	
	(TOTAL a + b)	26.00
3	BALANCE AREA OF THE PLOT (1 - 2)	449.22
4	AMENITY SPACE (IF APPLICABLE)	
	a)REQUIRED	------
	b) ADJUSTMENT OF 2(b), IF ANY	------
	c) BALANCE PROPOSED	
5	NET PLOT AREA (3 - 4(c))	449.22
6	RECREATIONAL OPEN SPACE (IF APPLICABLE)	
	a)REQUIRED	------
	b) PROPOSED	------
7	INTERNAL ROAD AREA	------
8	PLOTABLE AREA (IF APPLICABLE)	------
9	BUILT UP AREA WITH REFERENCE TO BASIC F.S.I. AS PER FRONT ROAD WIDTH (SR.NO.5 x BASIC F.S.I.) 449.22 x 1.1 = 494.14	494.14
10	ADDITION OF F.S.I. ON PAYEMENT OF PREMIUM	
	a)MAXIMUM PERMISSIBLE PREMIUM F.S.I. - BASED OF ROAD WIDTH/TOD ZONE.	
	b)PROPOSED F.S.I. ON PAYEMENT OF PREMIUM 475.22 x 50% = 237.61	225.69
11	IN - SITU F.S.I. / T.D.R. LOADING	
	a)IN-SITU AREA AGAINST D.P ROAD (2.0x SR.NO. 2(a))(IF ANY (26.00 X 2 = 52.00)	52.00
	b)IN-SITU AREA AGAINST AMENITY SPACE IF MANDED OVER (2.0 OR 1.85x SR.NO. 8(b)&.OR4(c)	------
	c)T.D.R. AREA (475.22 X 40% = 190.08)	------
	d) TOTAL IN-SITU/ T.D.R .LOADING PROPOSED (11 (a) +(b)+(c))	52.00
12	ADDITIONAL F.S.I. AREA UNDER CHAPTER NO. 7 TENENT F.S.I. (15.00 X 10 = 150 SQ.MT.)	150.00
13	TOTAL ENTITLEMENT OF F.S.I. IN THE PROPOSAL	
	(a) (9 + 10 (b)+ 11 (d) OR 12 WHICHEVER IS APPLICABLE	921.83
	(b) ANCILLARY AREA F.S.I. UPTO 60% OR 80% WITH PAYMENT OF CHARGES(6.78 X 60% = 549.46	553.09
	(c) TOTAL ENTITLEMENT (a + b)	1474.92
14	MAXIMUM UTILIZATION LIMIT OF F.S.I.(BUILDING POTENTIAL)	
	PERMISSIBLE AS PER ROAD WIDTH (AS PER REGULATION NO. 6.1 OR 6.2 OR 6.3 OR 6.4 AS APPLICABLE x 1.6 OR 1.8)	
15	TOTAL BUILT UP AREA IN PROPOSAL (EXCLUDING AREA AT SR.NO. 17 b)	
	(a) EXISTING BUILT UP AREA	--------
	(b) PROPOSED BUILT UP AREA (AS PER 'P- LINE')	1473.29
	(c) TOTAL (a + b)	1473.29
16	F.S.I. CONSUMED (15/13) (SHOULD NOT BE MORE THAN SERIAL NO. 14 ABOVE)	0.99
17	AREA FOR INCLUSIVE HOUSING, IF ANY	
	(a) REQUIRED (20% OF SR.NO. 5)	
	(b) PROPOSED	

CERTIFICATE OF AREA

CERTIFIED THAT THE PLOT UNDER REFERENCE WAS SURVEYED BY ME ON ---------- AND THE DIMENSIONS OF THE SIDES ETC. OF THE PLOT STATED ON THE PLAN AREA AS MEASURED ON SITE AND THE AREA SO WORKED OUT TALLIES WITH THE AREA STATED IN THE DOCUMENT OF OWNERSHIP / T.P. SCHEME RECORDS LAND RECORDS DEPT./ CITY SURVEY RECORDS.

SIGN. OF ARCHITECT

CERTIFICATE OF STRUCT. ENGINEER

THIS IS CERTIFY THAT THE PLAN PREPARED BY ME ARE IN ACCORDANCE WITH THE NORMS AS SPECIFIED IN INDIAN STANDARD INSTITUTE AND I WILL BE HELD FOR ANY HARMS - CAUSED IN EARTH QUAKE DUE TO NEGLEGIANCE OF THE STANDARDS.

SIGN. OF STRUCT. ENGINEER

OWNERS DECLARATION

I WE UNDERSIGNED HEREBY CONFIRM THAT I /WE WOULD ABIDE BY PLANS APPROVED BY AUTHORITY/COLLECTOR. I /WE WOULD EXECUTE THE WORK UNDER SUPERVISION OF PROPER TECHNICAL PERSON SO AS TO ENSURE THE QUALITY AND SAFETY AT THE WORK SITE.

BHOSALE & ASSOCIATES (THROUGH PARTNER MR. SAURABH DHARAMRAJ YADAV & ORS.) (P.A.N.)

JOB. NO.	DRG. NO.	SCALE	DRN. BY.	CHKD.BY	DATE
001	01	AS SHOWN	KBG	ABH	04/03/2026

ARCHITECT

REG. NO. - CA/87/10471

PradeepmKamble and associates.
architects, valuers, interior designers
B/101, 1st FLOOR, JAKH BAUTERA COMPLEX, PT.MALVIYA PATH, RAMNAGAR, DOMBIVLI(E)

Proforma 1 : Area Statement

1. Area of plot(Minimum area of a, b, c to be considered) or area of subplot with sanctioned layout No. and subplot No.	475.220
(a) As per ownership document (7/12, CTS extract)	475.220
(b) as per TILR or City Survey measurement sheet	475.220
(c) as per Demarcated drawing area	475.220
LESS	
2.Area not in possession	0.000
3. Area Proposed for development (out of 1-2)	475.220
4.Deductions for(out of 3)	
(a) Proposed D.P./ D.P. Road widening Area/Proposed DP road, Road under MMC act	26.000
(b) Any D.P. Reservation area	0.000
(c) Green Belt	0.000
(Total a+b+c)	26.000
5. Balance area of plot (3-4)	449.220
6. Amenity Space Proposed	0.000
(Required -(a) Upto 20,000 sqmt - Nil	-
(b) Above 20,000 and more - (a) + 5% of Total area	0.000
7. Net Plot Area (5-6)	449.220
8.Recreational Open Space (Not applicable if plots are from sanctioned layout)	-
(a). If area is more than (5) 4000 sqmt - 10 % of (5) is required.	0.000
Proposed	0.000
(A)10 % Subject to minimum 200 sqmt(Not applicable if plots are from sanctioned layout or each plot admesuring less than 4000sq.m regularised under gunthewari act)	0.000
Proposed	0.000
(B)Exemption to leave open space subject to availing basic F.S.I of 75 %	-
(C)Exemption to leave open space subject to payment of 10 % land value of land at (7) as per annual statement of rate.	-
If (5) > 4000sq.m then Land admesuring 20% of (5) is to be utilised for inclusive housing	0.000
Proposed Area	0.000
Architect/ Licensed Engineer/ Supervisor name and signature	
Registration No. of Architect/ License no. of Licensed Engineer/ Supervisor: CA/87/10471	
Certificate of Area: Certified that the plot under reference was surveyed by me on,_____ and the dimensions of sides etc. of plot stated on plan are as measured on site and the area so worked out tallies with the area stated in document of Ownership/ T.P. Scheme Records/Land Records Department/City Survey records.	
Signature (Name of Architect/ Licensed Engineer/ Supervisor.)	
Owner's Declaration.- I/We undersigned hereby confirm that I/We would abide by plans approved by Authority / Collector. I/We would execute the structure as per approved plans. Also I/We would execute the work under supervision of proper technical person so as to ensure the quality and safety at the work site.	
Owner (s) name and signature	

Name Of : Owner Saurabh Dharamraj Yadav Bhosale Associates Through Partner Mr Saurabh Dharamraj Yadav

Postal Address : 2,Saurabh Sadan,Poona Link Road,Kalyan,Thane,Maharashtra-421306

Phone No. 9326411014

DESCRIPTION OF PROJECT :

Type of Proposal : Residential
BUILDING ON CTS. NO./SURVEY NO.--

SITE ADDRESS :
PROP. REDEVELOP BUILDING (SUJAY HEIGHTS) ON C.T.S. NO.2955/B/2, AT VILLAGE KALYAN, TAL. KALYAN, DIST. THANE.

Name Of Architect : Pradeep Mahipat Kamble

LOGO	ADDRESS OF OFFICE OFFICE : 101,1st floor, Jakh bautera Complex, Pandit Malviya Path, Ram Nagar, Dombivali East
OWNERS SIGN - BHOSALE & ASSOCIATES THROUGH PARTNER MR. SAURABH DHARAMRAJ YADAV & ORS.	TECHNICAL PERSON SIGN Pradeepm Kamble REG. NO. - CA/87/10471
	SCALE - / DATE: 15/03/26
	JOB NO - KDMCC-26-28828 / CHECK BY -

SUBMISSION DRAWING

STAMP OF APPROVAL	SHEET NO. 2/2

DESCRIPTION OF PROPERTY & PROPOSAL

PROP. REDEVELOP BUILDING (SUJAY HEIGHTS) ON C.T.S. NO.2955/B/2, AT VILLAGE KALYAN, TAL. KALYAN, DIST. THANE.



FRONT ELEVATION

SCALE 1 : 100

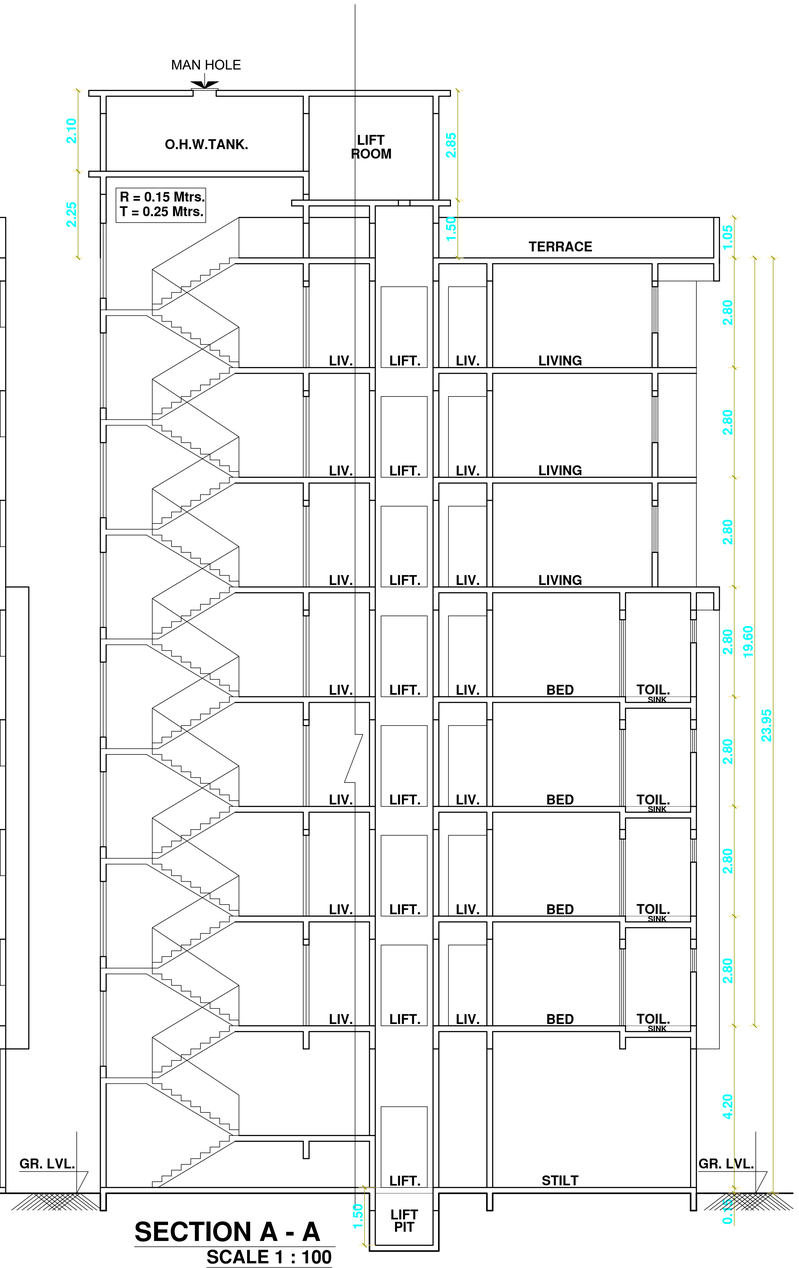

SECTION A - A

SCALE 1 : 100

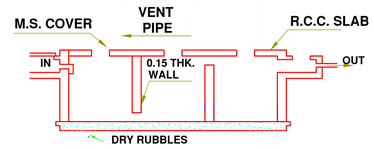

SECTION THROUGH SEPTIC TANK

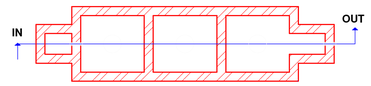

SECTIONAL PLAN OF SEPTIC TANK

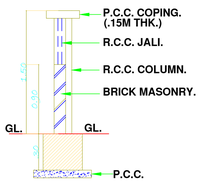

SECTION OF COMP. WALL

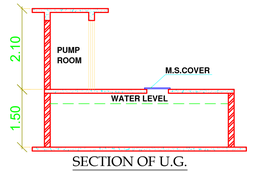

SECTION OF U.G. WATER TANK

PLAN OF WATER TANK

JOB. NO.	DRG. NO.	SCALE	DRN. BY.	CHKD.BY	DATE
001	01	AS SHOWN	KBG	ABH	04/03/2026

ARCHITECT

REG. NO. - CA/87/10471

PradeepmKamble and associates.

architects, valuers, interior designers

B/101, 1st FLOOR, JAKH BAUTERA COMPLEX, PT.MALVIYA PATH, RAMNAGAR, DOMBIVLI(E)

Proforma I : Area Statement

1. Area of plot(Minimum area of a, b, c to be considered) or area of subplot with sanctioned layout No. and subplot No.	475.220
(a) As per ownership document (7/12, CTS extract)	475.220
(b) as per TILR or City Survey measurement sheet	475.220
(c) as per Demarcated drawing area	475.220
LESS	-
2.Area not in possession	0.000
3. Area Proposed for development (out of 1-2)	475.220
4.Deductions for(out of 3)	-
(a) Proposed D.P./ D.P. Road widening Area/Proposed DP road, Road under MMC act	26.000
(b) Any D.P. Reservation area	0.000
(c) Green Belt	0.000
(Total a+b+c)	26.000
5. Balance area of plot (3-4)	449.220
6. Amenity Space Proposed	0.000
(Required -(a) Upto 20,000 sqmt - Nil	-
(b) Above 20,000 and more - (a) + 5% of Total area	0.000
7. Net Plot Area (5-6)	449.220
8.Recreational Open Space (Not applicable if plots are from sanctioned layout)	-
(a). If area is more than (5) 4000 sqmt - 10 % of (5) is required.	0.000
Proposed	0.000
(A)10 % Subject to minimum 200 sqmt(Not applicable if plots are from sanctioned layout or each plot admesuring less than 4000sq.m regularised under gunthewari act)	0.000
Proposed	0.000
(B)Exemption to leave open space subject to availing basic F.S.I of 75 %	-
(C)Exemption to leave open space subject to payment of 10 % land value of land at (7) as per annual statement of rate.	-
If (5) > 4000sq.m then Land admesuring 20% of (5) is to be utilised for inclusive housing	0.000
Proposed Area	0.000

Architect/ Licensed Engineer/ Supervisor name and signature

Registration No. of Architect/ License no. of Licensed Engineer/ Supervisor: CA/87/10471

Certificate of Area:
Certified that the plot under reference was surveyed by me on_____ and the dimensions of sides etc. of plot stated on plan are as measured on site and the area so worked out tallies with the area stated in document of Ownership/ T.P. Scheme Records/Land Records Department/City Survey records.

Signature
(Name of Architect/ Licensed Engineer/ Supervisor.)

Owner's Declaration -
I/We undersigned hereby confirm that I/We would abide by plans approved by Authority / Collector. I/We would execute the structure as per approved plans. Also I/We would execute the work under supervision of proper technical person so as to ensure the quality and safety at the work site.

Owner (s) name and signature

Name Of : Owner Saurabh Dharamraj Yadav,Bhosale Associates Through Partner Mr Saurabh Dharamraj Yadav

Postal Address : 2,Saurabh Sadan,Poona Link Road,Kalyan,Thane,Maharashtra-421306

Phone No. 9329411014

DESCRIPTION OF PROJECT :

Type of Proposal : Residential
BUILDING ON CTS. NO./SURVEY NO.--

SITE ADDRESS :
PROP. REDEVELOP BUILDING (SUJAY HEIGHTS) ON C.T.S. NO.2955/B/2, AT VILLAGE KALYAN, TAL. KALYAN, DIST. THANE.

Name Of Architect : Pradeep Mahipat Kamble

LOGO	ADDRESS OF OFFICE
	OFFICE 101,1st floor, Jakh bautera Complex, Pandit Malviya Path, Ram Nagar, Dombivali East

OWNERS SIGN -	TECHNICAL PERSON SIGN
BHOSALE & ASSOCIATES THROUGH PARTNER MR. SAURABH DHARAMRAJ YADAV & ORS.	Pradeepm Kamble REG. NO. - CA/87/10471
SCALE -	DATE: 15/03/26
JOB NO - KDMCC-26-28828	CHECK BY -

SUBMISSION DRAWING