BUILDING NO 2

BUILDING	FLOORS	FSI AREA COMM.	FSI AREA RESI.	FSI AREA INO.	FSI AREA EDU.	FSI AREA INS.	FSI AREA MEZZ.	BALCONY PROP.	TERRACE	LIFT	LIFTWELL	DUCT	VENT SHAFT	OTHER DEDUCTION	TOTAL FSI AREA
BUILDING NO 2	12TH 13TH 22ND FLOOR	0.000	1868.142	0.000	0.000	0.000	0.000	0.000	0.000	0.000	61.275	150.198	0.000	107.979	1548.690
BUILDING NO 2	6TH TO 11TH 14TH TO 18TH 20TH TO 21ST AND 23RD TO 26TH FLOOR	0.000	8283.982	0.000	0.000	0.000	0.000	0.000	0.000	0.000	285.950	700.924	0.000	69.566	7227.542
BUILDING NO 2	4TH FLOOR	0.000	540.959	0.000	0.000	0.000	0.000	0.000	0.000	0.000	20.425	50.066	0.000	3.301	467.167
BUILDING NO 2	5TILT FLOOR	0.000	65.592	0.000	0.000	0.000	0.000	0.000	0.000	0.000	0.000	0.000	0.000	0.000	65.592
BUILDING NO 2	TOTAL	0.000	10758.675	0.000	0.000	0.000	0.000	0.000	0.000	0.000	367.650	901.188	0.000	180.846	9308.991

COMMERCIAL BUILDING NO 2

BUILDING	FLOORS	FSI AREA COMM.	FSI AREA RESI.	FSI AREA INO.	FSI AREA EDU.	FSI AREA INS.	FSI AREA MEZZ.	BALCONY PROP.	TERRACE	LIFT	LIFTWELL	DUCT	VENT SHAFT	OTHER DEDUCTION	TOTAL FSI AREA
COMMERCIAL BUILDING NO 2	1ST FLOOR	192.591	0.000	0.000	0.000	0.000	0.000	0.000	0.000	0.000	3.145	0.000	0.000	0.000	189.446
COMMERCIAL BUILDING NO 2	GROUND FLOOR	164.894	0.000	0.000	0.000	0.000	0.000	0.000	0.000	0.000	3.145	0.000	0.000	0.000	164.894
COMMERCIAL BUILDING NO 2	TOTAL	357.485	0.000	0.000	0.000	0.000	0.000	0.000	0.000	0.000	3.145	3.145	0.000	0.000	354.340

BUILDING NO 4

BUILDING	FLOORS	FSI AREA COMM.	FSI AREA RESI.	FSI AREA INO.	FSI AREA EDU.	FSI AREA INS.	FSI AREA MEZZ.	BALCONY PROP.	TERRACE	LIFT	LIFTWELL	DUCT	VENT SHAFT	OTHER DEDUCTION	TOTAL FSI AREA
BUILDING NO 4	7TH 12TH 17TH FLOOR	0.000	1864.908	0.000	0.000	0.000	0.000	0.000	0.000	0.000	48.420	149.811	0.000	143.894	1522.374
BUILDING NO 4	1ST TO 6TH 8TH TO 11TH 13TH TO 16TH 18TH TO 20TH AND 21ST FLOOR	0.000	10417.716	0.000	0.000	0.000	0.000	0.000	0.000	0.000	290.412	898.866	0.000	90.036	9138.402
BUILDING NO 4	5TILT FLOOR	0.000	59.307	0.000	0.000	0.000	0.000	0.000	0.000	0.000	0.000	0.000	0.000	0.000	59.307
BUILDING NO 4	TOTAL	0.000	12341.931	0.000	0.000	0.000	0.000	0.000	0.000	0.000	338.841	1048.677	0.000	233.730	10720.083

BUILDING NO 6

BUILDING	FLOORS	FSI AREA COMM.	FSI AREA RESI.	FSI AREA INO.	FSI AREA EDU.	FSI AREA INS.	FSI AREA MEZZ.	BALCONY PROP.	TERRACE	LIFT	LIFTWELL	DUCT	VENT SHAFT	OTHER DEDUCTION	TOTAL FSI AREA
BUILDING NO 6	5TILT FLOOR	0.000	65.592	0.000	0.000	0.000	0.000	0.000	0.000	0.000	0.000	0.000	0.000	0.000	65.592
BUILDING NO 6	7TH 12TH 17TH 22ND FLOOR	0.000	3113.570	0.000	0.000	0.000	0.000	0.000	0.000	0.000	102.125	250.330	0.000	179.965	2581.150
BUILDING NO 6	1ST TO 6TH 8TH TO 11TH 13TH TO 16TH 18TH TO 20TH 23RD TO 26TH AND 28TH FLOOR	0.000	13609.399	0.000	0.000	0.000	0.000	0.000	0.000	0.000	469.775	1151.518	0.000	114.287	11873.819
BUILDING NO 6	TOTAL	0.000	16788.561	0.000	0.000	0.000	0.000	0.000	0.000	0.000	571.900	1401.848	0.000	294.252	14520.561

BUILDING NO 1

BUILDING	FLOORS	FSI AREA COMM.	FSI AREA RESI.	FSI AREA INO.	FSI AREA EDU.	FSI AREA INS.	FSI AREA MEZZ.	BALCONY PROP.	TERRACE	LIFT	LIFTWELL	DUCT	VENT SHAFT	OTHER DEDUCTION	TOTAL FSI AREA
BUILDING NO 1	7TH 12TH 17TH 22ND FLOOR	0.000	2490.856	0.000	0.000	0.000	0.000	0.000	0.000	0.000	81.700	200.264	0.000	143.972	2064.920
BUILDING NO 1	1ST TO 6TH 8TH TO 11TH 13TH TO 16TH 18TH TO 20TH AND 23RD TO 26TH FLOOR	0.000	13017.686	0.000	0.000	0.000	0.000	0.000	0.000	0.000	449.350	1101.452	0.000	109.318	11357.566
BUILDING NO 1	5TILT FLOOR	0.000	65.592	0.000	0.000	0.000	0.000	0.000	0.000	0.000	0.000	0.000	0.000	0.000	65.592
BUILDING NO 1	TOTAL	0.000	15574.134	0.000	0.000	0.000	0.000	0.000	0.000	0.000	531.050	1301.716	0.000	253.290	13488.078

CLUBHOUSE

BUILDING	FLOORS	FSI AREA COMM.	FSI AREA RESI.	FSI AREA INO.	FSI AREA EDU.	FSI AREA INS.	FSI AREA MEZZ.	BALCONY PROP.	TERRACE	LIFT	LIFTWELL	DUCT	VENT SHAFT	OTHER DEDUCTION	TOTAL FSI AREA
CLUBHOUSE	1ST FLOOR	0.000	256.713	0.000	0.000	0.000	0.000	0.000	0.000	0.000	10.820	0.000	0.000	0.000	245.893
CLUBHOUSE	ECO DECK FLOOR	0.000	392.543	0.000	0.000	0.000	0.000	0.000	0.000	0.000	10.820	0.000	0.000	0.891	380.732
CLUBHOUSE	TOTAL	0.000	649.256	0.000	0.000	0.000	0.000	0.000	0.000	0.000	21.640	0.000	0.000	0.891	626.625

COMMERCIAL BUILDING NO 3

BUILDING	FLOORS	FSI AREA COMM.	FSI AREA RESI.	FSI AREA INO.	FSI AREA EDU.	FSI AREA INS.	FSI AREA MEZZ.	BALCONY PROP.	TERRACE	LIFT	LIFTWELL	DUCT	VENT SHAFT	OTHER DEDUCTION	TOTAL FSI AREA
COMMERCIAL BUILDING NO 3	3RD FLOOR	1167.384	0.000	0.000	0.000	0.000	0.000	0.000	0.000	0.000	35.399	0.000	0.000	11.237	1120.748
COMMERCIAL BUILDING NO 3	2ND FLOOR	1464.443	0.000	0.000	0.000	0.000	0.000	0.000	0.000	0.000	35.399	0.000	0.000	12.210	1416.834
COMMERCIAL BUILDING NO 3	1ST FLOOR	1464.426	0.000	0.000	0.000	0.000	0.000	0.000	0.000	0.000	35.399	0.000	0.000	12.210	1416.817
COMMERCIAL BUILDING NO 3	GROUND FLOOR	1369.190	0.000	0.000	0.000	0.000	0.000	0.000	35.399	0.000	0.000	0.000	0.000	10.819	1358.371
COMMERCIAL BUILDING NO 3	TOTAL	5465.443	0.000	0.000	0.000	0.000	0.000	0.000	35.399	106.197	0.000	0.000	0.000	46.476	5312.770

BUILDING NO 3

BUILDING	FLOORS	FSI AREA COMM.	FSI AREA RESI.	FSI AREA INO.	FSI AREA EDU.	FSI AREA INS.	FSI AREA MEZZ.	BALCONY PROP.	TERRACE	LIFT	LIFTWELL	DUCT	VENT SHAFT	OTHER DEDUCTION	TOTAL FSI AREA
BUILDING NO 3	1ST TO 6TH 8TH TO 11TH 13TH TO 16TH 18TH TO 20TH AND 22ND FLOOR	0.000	14770.332	0.000	0.000	0.000	0.000	0.000	0.000	0.000	294.840	338.364	0.000	1296.756	12840.372
BUILDING NO 3	7TH 12TH 17TH 21ST FLOOR	0.000	3503.482	0.000	0.000	0.000	0.000	0.000	0.000	0.000	65.520	75.192	0.000	509.364	2853.416
BUILDING NO 3	5TILT FLOOR	0.000	59.629	0.000	0.000	0.000	0.000	0.000	0.000	0.000	0.000	0.000	0.000	0.000	59.629
BUILDING NO 3	TOTAL	0.000	18333.453	0.000	0.000	0.000	0.000	0.000	0.000	0.000	360.360	413.556	0.000	1806.120	15753.417

BUILDING NO 3

BUILDING	FLOORS	FSI AREA COMM.	FSI AREA RESI.	FSI AREA INO.	FSI AREA EDU.	FSI AREA INS.	FSI AREA MEZZ.	BALCONY PROP.	TERRACE	LIFT	LIFTWELL	DUCT	VENT SHAFT	OTHER DEDUCTION	TOTAL FSI AREA
BUILDING NO 3	1ST TO 6TH 8TH TO 11TH 13TH TO 16TH 18TH TO 20TH AND 22ND FLOOR	0.000	14770.332	0.000	0.000	0.000	0.000	0.000	0.000	0.000	294.840	338.364	0.000	1296.756	12840.372
BUILDING NO 3	7TH 12TH 17TH 21ST FLOOR	0.000	3503.482	0.000	0.000	0.000	0.000	0.000	0.000	0.000	65.520	75.192	0.000	509.364	2853.416
BUILDING NO 3	5TILT FLOOR	0.000	59.629	0.000	0.000	0.000	0.000	0.000	0.000	0.000	0.000	0.000	0.000	0.000	59.629
BUILDING NO 3	TOTAL	0.000	18333.453	0.000	0.000	0.000	0.000	0.000	0.000	0.000	360.360	413.556	0.000	1806.120	15753.417

FSI DETAILS

Y-Index	Basic FSI (on serial no 7)	Premium FSI (on serial no 8)	TDR/DR (on serial no 3)	Name	Incentive FSI for green building if Applicable (on basic FSI)	Additional FSI (15.18.3 Note 2)	Ancillary Area MFs etc (21.21.1-21.6)	Ancillary Area MFs etc (21.21.1-21.6)	Total	Inclusive Housing (20%) if Applicable	Drawing Value
0.1 Permissible Index	1.100	0.500	1.150	0.000	0.000	0.000	0.000	0.000	2.750	0.000	0.000
0.2 Existing Consumed Index	0.000	0.000	0.000	0.000	0.000	0.000	0.000	0.000	0.000	0.000	0.000
0.3 Balance Index to be Consumed	1.100	0.500	1.150	0.000	0.000	0.000	0.000	0.000	2.750	0.000	0.000
0.4 Total Permissible Plute Area	20867.840	9814.500	22573.350	0.000	0.000	30064.377	2518.715	85838.782	0.000	0.000	0.000
0.5 Proposed F.S.I. (Should not exceed 0.4)	20867.840	9814.500	22573.350	0.000	0.000	30064.377	2518.715	85838.782	4179.097	85838.782	
0.6 Index Consumed	1.100	0.517	1.190	0.000	0.000	0.000	0.000	0.000	2.750	0.220	0.000

Area utilisation of Roads and Reservations

Description of area utilisation			surrendered Area in(Sqm)	Quotem of TDR/DR generation	Total Quotem of TDR/DR generation	Area planned for DR utilisation	Remaining area for TDR/DR generation
BUILDING	Reservation Type	reservation no	Name				
	-	24.00M m DP Road Widening	658.236	1316.472	1316.472	0.000	0.000
	-	Total	658.236	1316.472	1316.472	0.000	1316.472

Parking Check As Per Multiplying Factor 0.550

Required				Proposed			
Building Name	Car	Scooter	Transport Vehicle(Ambulance+Auto+Bus	Car	Scooter	Transport Vehicle(Ambulance+Auto+Bus	Status
Total	0	0	0	0	0	0	OK

Telecom Room

Building	Req. Size	Prop. Size	Status
BUILDING NO 2	3.000X3.400	3.000X3.448	OK
BUILDING NO 2	3.000X3.400	3.000X3.448	OK
BUILDING NO 2	3.000X3.400	3.000X3.448	OK
BUILDING NO 2	3.000X3.400	3.000X3.448	OK
COMMERCIAL BUILDING NO 2	0.600X1.300	1.199X1.708	OK
BUILDING NO 4	3.000X3.400	3.000X3.293	OK
BUILDING NO 4	3.000X3.400	3.000X3.293	OK
BUILDING NO 6	3.000X3.400	3.000X3.448	OK
BUILDING NO 6	3.000X3.400	3.000X3.448	OK
BUILDING NO 6	3.000X3.400	3.000X3.448	OK
BUILDING NO 1	3.000X3.400	3.000X3.448	OK
BUILDING NO 1	3.000X3.400	3.000X3.448	OK
BUILDING NO 1	3.000X3.400	3.000X3.448	OK
CLUBHOUSE	3.000X3.400	3.000X3.400	OK
COMMERCIAL BUILDING NO 1	3.000X3.400	3.000X3.400	OK
COMMERCIAL BUILDING NO 1	3.000X3.400	3.000X3.400	OK
BUILDING NO 3	3.000X3.400	3.000X3.880	OK
BUILDING NO 3	3.000X3.400	3.000X3.880	OK
BUILDING NO 3	3.000X3.400	3.000X3.880	OK
BUILDING NO 3	3.000X3.400	3.000X3.880	OK

SCHEDULE OF OPENING

BLD NAME	NAME	LENGTH	HEIGHT	Nos.
BUILDING NO 3		0.600	1.200	2
BUILDING NO 3		0.900	1.200	30
BUILDING NO 3		1.800	1.200	1
BUILDING NO 3		1.800	1.200	1
BUILDING NO 5		0.600	1.200	2
BUILDING NO 5		0.900	1.200	30
BUILDING NO 5		1.800	1.200	2
COMMERCIAL BUILDING NO 1	V	0.600	0.900	50
BUILDING NO 1		0.601	1.200	2
BUILDING NO 1		0.600	1.200	30
BUILDING NO 1		2.000	1.200	3
BUILDING NO 6		0.601	1.200	2
BUILDING NO 6		0.600	1.200	30
BUILDING NO 6		2.300	1.200	3
BUILDING NO 6		0.619	1.200	2
BUILDING NO 4		0.600	1.200	30
BUILDING NO 4		1.800	1.200	4
BUILDING NO 4		2.000	1.200	4
COMMERCIAL BUILDING NO 2	V	0.600	0.900	5
BUILDING NO 2		0.601	1.200	5
BUILDING NO 2		0.600	1.200	75
BUILDING NO 2		2.000	1.200	6

Owner Details

Owner Name	Postal Address	Contact Number
REGENCY NIRMAN LTD.	flat No.2201, Regency Antilia, A-Wing,Orchid, Shahad,Kalyan,Th-421103,Maharashtra	9323803569
ANIL JESSARAM RATHJA	ULHASNAGAR	9323803569

TOTAL AREA STATEMENT-INCLUSIVE HOUSING

BLDG. NO.	FLOOR	FLOOR AREA	TOTAL AREA	NO OF FLATS
2	1 TO 6 & 26 FLR.	TYPICAL FLR.- 516.253 X 7 = 3613.771	3613.771	65 FLATS
	7TH FLOOR	7TH FLOOR 516.230 X 1 = 516.230	516.230	
	8TH FLOOR	9TH FLOOR 49.096 X 1 = 49.096	49.096	
TOTAL			4179.097	

PARKING STATEMENT

FLAT CARPET AREA IN SQ.MT.	No. OF FLATS	REQUIRED CAR	REQUIRED SCOOTER
BELOW 30 SQ.MT. EVERY 2 TENEMENT- 2 SCOOTER	--	--	--
30 TO 40 SQ.MT. EVERY 2 TENEMENT/1CAR & 2 SCOOTER	808	404	808
40 TO 80 SQ.MT. EVERY 2 TENEMENT/1CAR & 2 SCOOTER	352	176	352
80 TO 150 SQ.MT. EVERY ONE TENEMENT/ 1CAR & 1 SCOOTER	--	--	--
150 SQ.MT.& ABOVE EVERY ONE TENEMENT/ 2CAR &3 SCOOTER	--	--	--
TOTAL NO OF RESIDENTIAL PARKING	1160	580	1160
ADD VISITOR PARKING FOR RESIDENTIAL 5%	--	29	58
COMMERCIAL AREA EVERY 100 SQ.MT.2 CAR & 6 SCOOTER	132.78 SQ.MT	2.65	7.97
COMMERCIAL AREA EVERY 200 SQ.MT. 3 CAR & 11 SCOOTER	132.78 SQ.MT	1.99	7.30
TOTAL NO OF PARKING		613.64	1233.27
PARKING REQUIRED AS PER TABLE NO. 8C 80% OF PARKING		491	1233
COMPOSITE PARKING FOR SCOOTER 804 / 6 = 134		134	--
STILT / COVERED / PODIUM PARKING		410	335
OPEN PARKING		81	96
TOWER PARKING		--	--
TOTAL PROPOSED NO OF PARKING 134 + 491 = 625 (134 CAR COMPOSITE)		625	431+ 804 (COMPOSITE)

TOTAL BUILT UP AREA(PLINE)

FLOOR		BLDG - 1 208 FLATS	BLDG - 2 143 FLATS	BLDG - 3 176 FLATS	BLDG - 4 168 FLATS	BLDG - 5 176 FLATS	BLDG - 6 224 FLATS	COM. BLDG - 1	COM. BLDG - 2 10 SHOP	CLUB HOUSE
GROUND FLOOR	=	65.592 SQ.MT.	65.592 SQ.MT.	59.629 SQ.MT.	59.307 SQ.MT.	59.629 SQ.MT.	65.592 SQ.MT.	1358.371 SQ.MT.	164.894 SQ.MT.	0.000 SQ.MT.
1ST FLOOR	=	516.253 SQ.MT.	0.000 SQ.MT.	713.354 SQ.MT.	507.689 SQ.MT.	713.354 SQ.MT.	516.253 SQ.MT.	1416.817 SQ.MT.	189.446 SQ.MT.	380.732 SQ.MT.
2ND FLOOR	=	516.253 SQ.MT.	0.000 SQ.MT.	713.354 SQ.MT.	507.689 SQ.MT.	713.354 SQ.MT.	516.253 SQ.MT.	1416.834 SQ.MT.	--	245.793 SQ.MT.
3RD FLOOR	=	516.253 SQ.MT.	0.000 SQ.MT.	713.354 SQ.MT.	507.689 SQ.MT.	713.354 SQ.MT.	516.253 SQ.MT.	1120.748 SQ.MT.	--	--
4TH FLOOR	=	516.253 SQ.MT.	0.000 SQ.MT.	713.354 SQ.MT.	507.689 SQ.MT.	713.354 SQ.MT.	516.253 SQ.MT.	--	--	--
5RD FLOOR	=	516.253 SQ.MT.	0.000 SQ.MT.	713.354 SQ.MT.	507.689 SQ.MT.	713.354 SQ.MT.	516.253 SQ.MT.	--	--	--
6TH FLOOR	=	516.253 SQ.MT.	0.000 SQ.MT.	713.354 SQ.MT.	507.689 SQ.MT.	713.354 SQ.MT.	516.253 SQ.MT.	--	--	--
7TH FLOOR	=	516.230 SQ.MT.	0.000 SQ.MT.	713.354 SQ.MT.	507.658 SQ.MT.	713.354 SQ.MT.	516.230 SQ.MT.	--	--	--
8TH FLOOR	=	516.253 SQ.MT.	467.167 SQ.MT.	713.354 SQ.MT.	507.689 SQ.MT.	713.354 SQ.MT.	516.253 SQ.MT.	--	--	--
9TH FLOOR	=	516.253 SQ.MT.	516.253 SQ.MT.	713.354 SQ.MT.	507.689 SQ.MT.	713.354 SQ.MT.	516.253 SQ.MT.	--	--	--
10TH FLOOR	=	516.253 SQ.MT.	516.253 SQ.MT.	713.354 SQ.MT.	507.689 SQ.MT.	713.354 SQ.MT.	516.253 SQ.MT.	--	--	--
11TH FLOOR	=	516.253 SQ.MT.	516.253 SQ.MT.	713.354 SQ.MT.	507.689 SQ.MT.	713.354 SQ.MT.	516.253 SQ.MT.	--	--	--
12TH FLOOR	=	516.230 SQ.MT.	516.230 SQ.MT.	713.354 SQ.MT.	507.658 SQ.MT.	713.354 SQ.MT.	516.230 SQ.MT.	--	--	--
13TH FLOOR	=	516.253 SQ.MT.	516.253 SQ.MT.	713.354 SQ.MT.	507.689 SQ.MT.	713.354 SQ.MT.	516.253 SQ.MT.	--	--	--
14TH FLOOR	=	516.253 SQ.MT.	516.253 SQ.MT.	713.354 SQ.MT.	507.689 SQ.MT.	713.354 SQ.MT.	516.253 SQ.MT.	--	--	--
15TH FLOOR	=	516.253 SQ.MT.	516.253 SQ.MT.	713.354 SQ.MT.	507.689 SQ.MT.	713.354 SQ.MT.	516.253 SQ.MT.	--	--	--
16TH FLOOR	=	516.253 SQ.MT.	516.253 SQ.MT.	713.354 SQ.MT.	507.689 SQ.MT.	713.354 SQ.MT.	516.253 SQ.MT.	--	--	--
17TH FLOOR	=	516.230 SQ.MT.	516.230 SQ.MT.	713.354 SQ.MT.	507.658 SQ.MT.	713.354 SQ.MT.	516.230 SQ.MT.	--	--	--
18TH FLOOR	=	516.253 SQ.MT.	516.253 SQ.MT.	713.354 SQ.MT.	507.689 SQ.MT.	713.354 SQ.MT.	516.253 SQ.MT.	--	--	--
19TH FLOOR	=	516.253 SQ.MT.	516.253 SQ.MT.	713.354 SQ.MT.	507.689 SQ.MT.	713.354 SQ.MT.	516.253 SQ.MT.	--	--	--
20TH FLOOR	=	516.253 SQ.MT.	516.253 SQ.MT.	713.354 SQ.MT.	507.689 SQ.MT.	713.354 SQ.MT.	516.253 SQ.MT.	--	--	--
21TH FLOOR	=	516.253 SQ.MT.	516.253 SQ.MT.	713.354 SQ.MT.	507.689 SQ.MT.	713.354 SQ.MT.	516.253 SQ.MT.	--	--	--
22TH FLOOR	=	516.230 SQ.MT.	516.230 SQ.MT.	713.354 SQ.MT.	--	713.354 SQ.MT.	516.230 SQ.MT.	--	--	--
23TH FLOOR	=	516.253 SQ.MT.	516.253 SQ.MT.	--	--	--	516.253 SQ.MT.	--	--	--
24TH FLOOR	=	516.253 SQ.MT.	516.253 SQ.MT.	--	--	--	516.253 SQ.MT.	--	--	--
25TH FLOOR	=	516.253 SQ.MT.	516.253 SQ.MT.	--	--	--	516.253 SQ.MT.	--	--	--
26TH FLOOR	=	516.253 SQ.MT.	0.000 SQ.MT.	--	--	--	516.253 SQ.MT.	--	--	--
27TH FLOOR	=	--	--	--	--	--	516.230 SQ.MT.	--	--	--
28TH FLOOR	=	--	--	--	--	--	516.253 SQ.MT.	--	--	--
TOTAL	=	13488.078 SQ.MT.	9308.991 SQ.MT.	15753.417 SQ.MT.	10720.683 SQ.MT.	15753.417 SQ.MT.	14520.561 SQ.MT.	5312.770 SQ.MT.	354.340 SQ.MT.	626.525 SQ.MT.

TOTAL	85838.782 SQ.MT. 10 SHOP 1095 FLATS

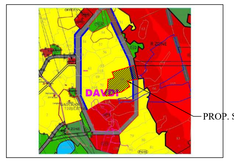

LOCATION PLAN

S.NO/H.NO.	AREA AS PER 7/12
67/1/2	4040.00
67/1/3	3170.00
68/6	4500.00
68/7	5200.00
68/8	2830.00
TOTAL	19740.00

Project Details
Project code KDMCC-25-136618
Zone Type: Residential Zone
Location: Non-Congested
Name of service: Building Development
Sub service:
City No./Survey No.: 67
Tahsil: 27 Village
Mouze: Davdi
Prorata Value: 0.000
Separation/CRZ Zone Area : -

LEGENDS:
EXISTING BUILDINGS ARE PROTTED WITH GREEN COLOUR AND DRAINAGE LINE SHOWN YELLOW LIGHT ROAD WIDENING AREA SHOWN PINK PAVED AREA SHOWN GREEN, COMPOUND WALL SHOWN BLACK OPEN SPA SHOWN BROWN EXISTING SECTION BLUE DETACHED

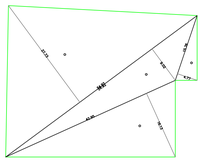

RG AREA CALCULATION

RG1						
1	1/2 X 54.92 X 27.73 X 1 NO	=	761.47	SQ.MT.		
2	1/2 X 54.92 X 9.02 X 1 NO	=	247.69	SQ.MT.		
3	1/2 X 15.76 X 4.77 X 1 NO	=	37.59	SQ.MT.		
4	1/2 X 42.95 X 16.13 X 1 NO	=	346.39	SQ.MT.		
TOTAL ADDITION		=	1393.14	SQ.MT.	X	

AREA DIAGRAM (RG 1&2)
SCALE 1:200

REQUIRED RG - 1332.53 SQ.MT
RG 1 - 1393.00 SQ.MT
RG 2 - 507.00 SQ.MT
TOTAL PROVIDED - 1900.00 SQ.MT

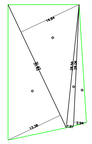

RG AREA CALCULATION

RG2					
1	1/2 X 31.42 X 13.38 X 1 NO	=	210.20	SQ.MT.	
2	1/2 X 31.42 X 14.84 X 1 NO	=	233.14	SQ.MT.	
3	1/2 X 28.56 X 1.61 X 1 NO	=	22.99	SQ.MT.	
4	1/2 X 28.06 X 2.94 X 1 NO	=	41.25	SQ.MT.	
TOTAL ADDITION		=	507.58	SQ.MT.	X

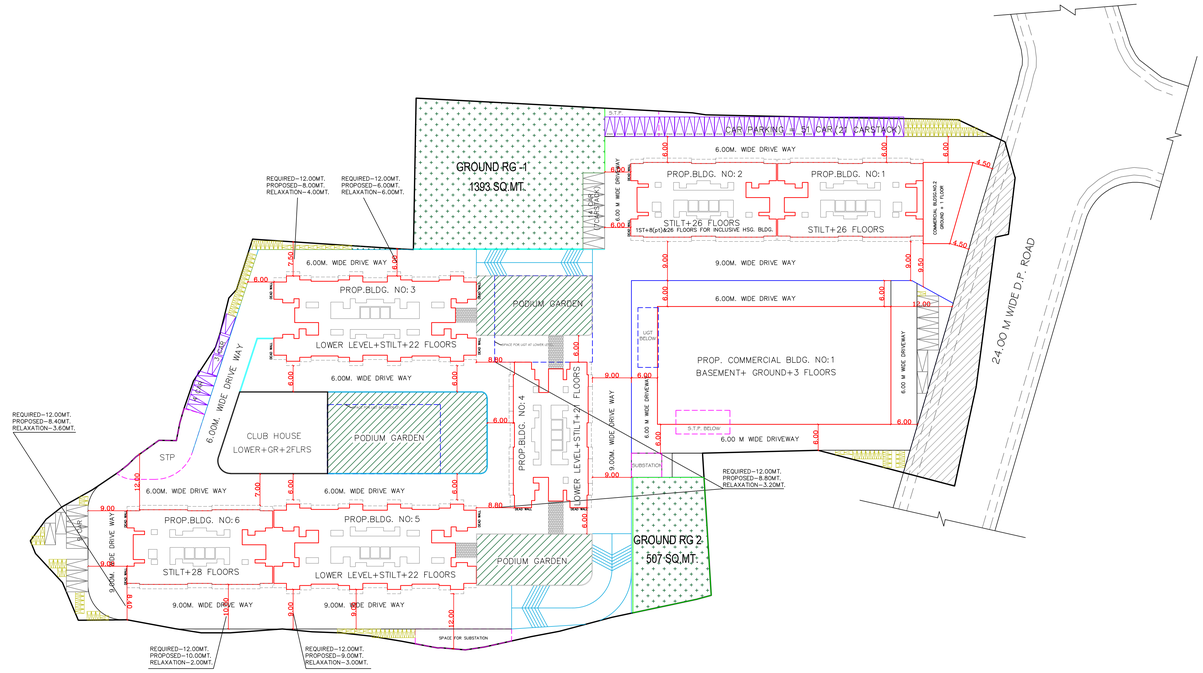

LAYOUT PLAN
SCALE- 1:500

PROFORMA - I			
A		AREA STATEMENT	IN SQ.MT.
1	A)	AREA OF PLOT	
	a)	AS PER OWNERSHIP DOCUMENT (7/12)	19740.00
	b)	AS PER MEASUREMENT SHEET	19629.00
	c)	AS PER SITE POSSESION	19629.00
2		DEDUCTIONS FOR	
	a)	24.00 M. W. D.P. ROAD AREA	658.236
	b)	ANY RESERVATION	0.00
	c)	TOTAL (a+b)	658.236
3		BALANCE AREA OF PLOT (1 Minus 2)	18970.764
4		AMMENITY SPACE IF APPLICABLE	--
	a)	REQUIRED	--
	b)	ADJUSTMENT OF IF ANY	--
	c)	BALANCE PROPOSED	--
5		NET PLOT AREA (3-4 (C))	18970.764
6		RECREATIONAL OPEN SPACE (IF APPLICABLE)	--
	a)	REQUIRED R.G.	1897.076
	b)	PROPOSED R.G.	1900.000
7		INTERNAL ROAD AREA	--
8		PLOTABLE AREA	--
9		BUILT UP AREA WITH REF. TO BASIC FSI AS PER FRONT ROAD WIDTH (SR.NO. 5 X BASIC FSI) 19970.764 X 1.10 = 20867.840	20867.840
10		ADDITION OF FSI ON PAYMENT PREMIUM	
		MAXIMUM PERMISSIBLE PREMIUM FSI BASED ON ROAD WIDTH/TOD ZONE	
		PROPOSED FSI ON PAYMENT OF PREMIUM 19629.000 X 0.5 = 9814.500	9814.500
11		IN-SITU FSI/TDR LOADING	--
	a)	D P. ROAD 24M 658.236 X 2.00= 1316.472	1316.472
	b)	TDR AREA 19629.00 X 1.15 = 22573.350 - 1316.472 = 21256.878	21256.878
	c)	TOTAL IN-SITU/TDR LOADING PROPOSED (11 (a)+(b)+(c)	22573.350
12		ADDITIONAL FSI AREA UNDER CHAPTER NO.7	--
13		TOTAL ENTITLEMENT OF FSI IN THE PROPOSAL	
	a)	[9+10+11(c) or 12 WHICHEVER IS APPLICABLE	53255

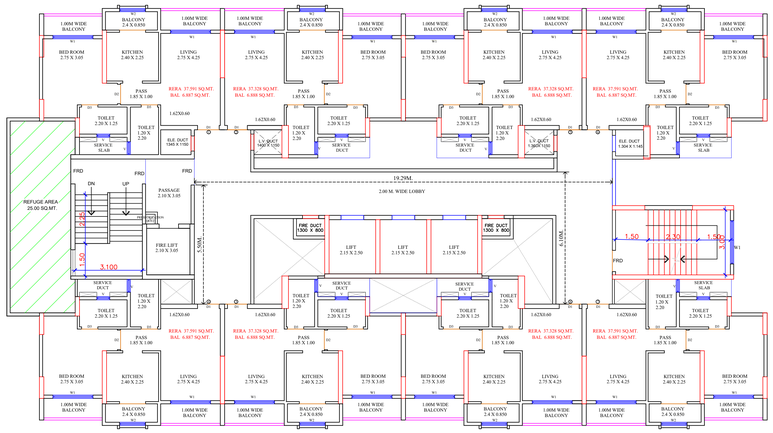

TYPICAL FLOOR
(7TH 12TH 17TH 22ND FLOOR)
(BLDG- 1)(SCALE 1:100)

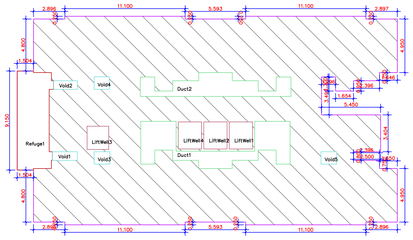

AREA DIAGRAM
7TH,12TH, 17TH & 22ND FLOOR
(BLDG. 1)
SCALE 1:200

BUILT UP AREA CALCULATION
FOR 7TH,12TH,17TH,22ND FLOOR BUILDING NO.1

AREA NAME	LENGTH	WIDTH	Area(Sq.M)
BLOCK	20.999	19.200	402.714
BLOCK AREA TOTAL =402.714Sq.M			
Refuge1	-	-	27.427
Void5	-	-	1.888
Void4	-	-	1.653
Void3	-	-	1.668
Void2	-	-	1.757
Void1	-	-	1.840
Lift6to8	-	-	5.375
Lift4to5	-	-	4.300
Lift9to12	-	-	5.375
Lift1to4	-	-	5.375
Duct2	-	-	20.307
Duct1	-	-	29.750
TOTAL Deduction =106.496Sq.M			
Net BuiltUp Area =516.230 Sq.M			

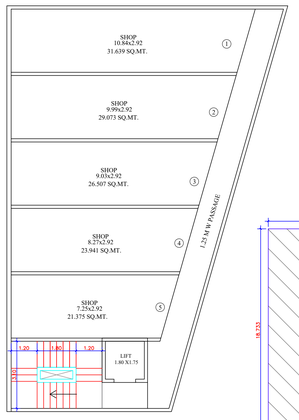

FIRST FLOOR PLAN
COMMERCIAL BLDG.NO.2
SCALE 1:100

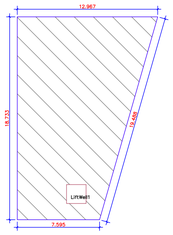

AREA DIAGRAM
1ST FLOOR
(COMMERCIAL BLDG.NO.2)
SCALE 1:200

BUILT UP AREA CALCULATION
FOR 1ST FLOOR COMMERCIAL BUILDING NO.2

AREA NAME	LENGTH	WIDTH	Area(Sq.M)
BLOCK	18.723	12.967	192.591
BLOCK AREA TOTAL =192.591Sq.M			
Lift9to11	-	-	3.745
TOTAL Deduction =3.745Sq.M			
Net BuiltUp Area =188.846 Sq.M			

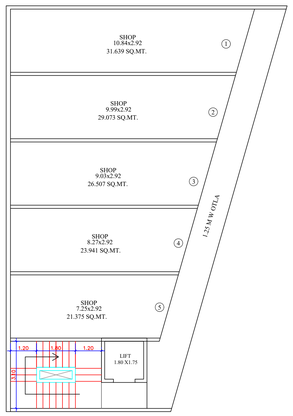

GROUND FLOOR PLAN
COMMERCIAL BLDG.NO.2
SCALE 1:100

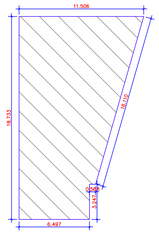

AREA DIAGRAM
GROUND FLOOR
(COMMERCIAL BLDG.NO.2)
SCALE 1:200

BUILT UP AREA CALCULATION
FOR GROUND FLOOR COMMERCIAL BUILDING NO.2

AREA NAME	LENGTH	WIDTH	Area(Sq.M)
BLOCK	18.723	11.506	154.894
BLOCK AREA TOTAL =154.894Sq.M			
TOTAL Deduction =0.000Sq.M			
Net BuiltUp Area =154.894 Sq.M			

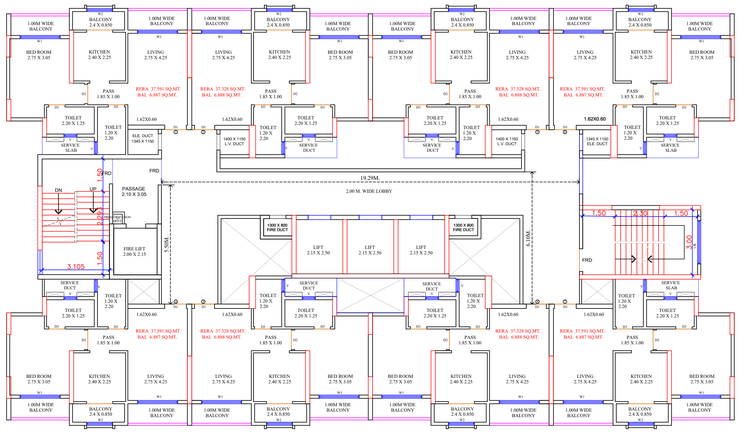

TYPICAL FLOOR
(1ST TO 6TH, 8TH TO 11TH,13TH TO 16TH,18TH TO 21ST 23RD TO 26TH FLOOR)
(BLDG- 1)(SCALE 1:100)

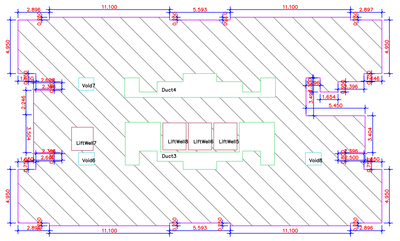

AREA DIAGRAM
1ST TO 6TH, 8TH TO 11TH,13TH TO
16TH,18TH TO 21ST 23RD TO 26TH FLOOR
(BLDG. 1)
SCALE 1:200

BUILT UP AREA CALCULATION
FOR 1ST TO 6TH,8TH TO 11TH,13TH TO 16TH,18TH TO 21ST AND 23RD TO 26TH FLOOR BUILDING NO.1

AREA NAME	LENGTH	WIDTH	Area(Sq.M)
BLOCK	20.999	19.200	581.713
BLOCK AREA TOTAL =581.713Sq.M			
Void8	-	-	1.888
Void7	-	-	1.653
Void6	-	-	1.668
Lift9to8	-	-	5.375
Lift4to7	-	-	4.300
Lift9to6	-	-	5.375
Lift1to5	-	-	5.375
Duct4	-	-	20.307
Duct3	-	-	29.750
TOTAL Deduction =75.493Sq.M			
Net BuiltUp Area =516.253 Sq.M			

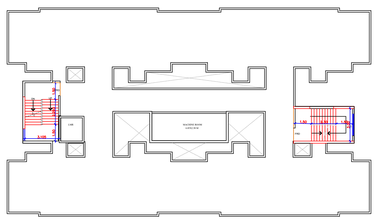

TERRACE FLOOR
(BLDG- 1 & 2)
(SCALE 1:200)

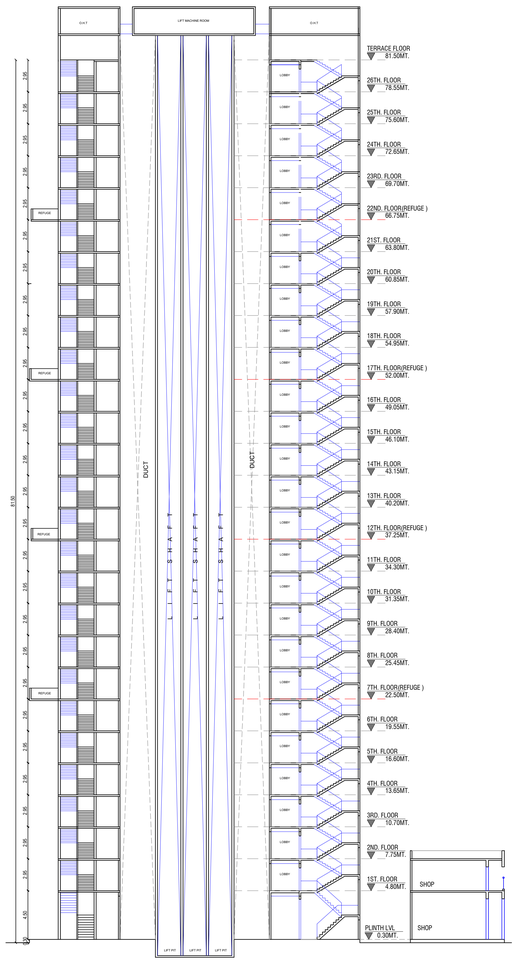

SECTION A-A'
BLDG. 1&2
SCALE-1:200

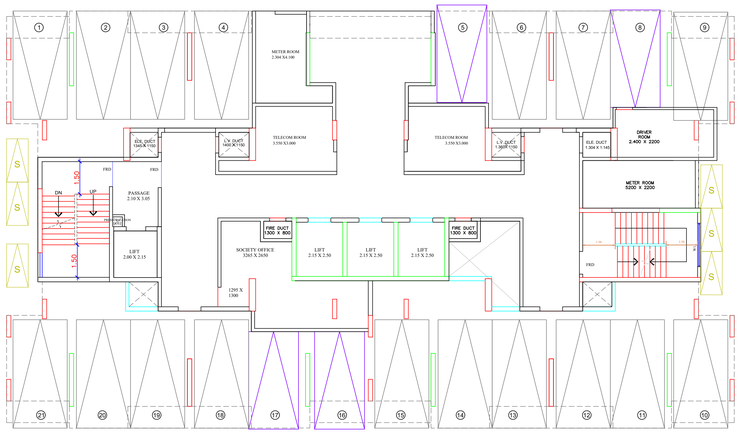

STILT FLOOR PLAN
(BLDG- 1)(SCALE 1:100)

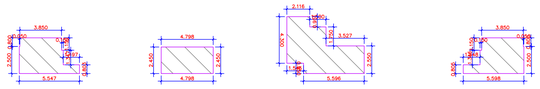

AREA DIAGRAM
STILT FLOOR
(BLDG. 1)
SCALE 1:200

BUILT UP AREA CALCULATION
FOR STILT FLOOR BUILDING NO.1

AREA NAME	LENGTH	WIDTH	Area(Sq.M)
BLOCK	5.547	3.300	18.304
BLOCK AREA TOTAL =18.304Sq.M			
TOTAL Deduction =0.000Sq.M			
Net BuiltUp Area =18.304 Sq.M			

BUILT UP AREA CALCULATION
FOR STILT FLOOR BUILDING NO.1

AREA NAME	LENGTH	WIDTH	Area(Sq.M)
BLOCK	4.798	2.450	11.756
BLOCK AREA TOTAL =11.756Sq.M			
TOTAL Deduction =0.000Sq.M			
Net BuiltUp Area =11.756 Sq.M			

BUILT UP AREA CALCULATION
FOR STILT FLOOR BUILDING NO.1

AREA NAME	LENGTH	WIDTH	Area(Sq.M)
BLOCK	7.143	3.250	23.082
BLOCK AREA TOTAL =23.082Sq.M			
TOTAL Deduction =0.000Sq.M			
Net BuiltUp Area =23.082 Sq.M			

BUILT UP AREA CALCULATION
FOR STILT FLOOR BUILDING NO.1

AREA NAME	LENGTH	WIDTH	Area(Sq.M)
BLOCK	5.598	3.300	14.400
BLOCK AREA TOTAL =14.400Sq.M			
TOTAL Deduction =0.000Sq.M			
Net BuiltUp Area =14.400 Sq.M			

BLDG. 1 & COM. BLG. 2	SHEET NO 2/11

Proforma 1 : Area Statement

1. Area of plot (Minimum area of a, b, c to be considered)	19629.000
(a) As per ownership document (7/12, CTS extract)	19740.000
(b) as per TILR or City Survey measurement sheet	19740.000
(c) as per Demarcated drawing area	25200.616
LESS	-
2.Area not in possession	0.000
3. Area Proposed for development (out of 1-2)	19629.000
4.Deductions for	-
(a) Proposed D.P./ D.P. Road widening Area / Service Road / Highway widening	658.236
(b) Any D.P. Reservation area	0.000
(c) Green Belt	0.000
Total (a+b+c)	658.236
5.Balance area of plot (3-4)	18970.764
6. Amenity Space	0.000
(Applicable if (1) > 20000 sqmt	-
(Required -(a) Upto 20000 sqmt - Nil	
(b) Above 20000 sqmt - (a) + 5% of Total area	0.000
7. Net Plot Area (5-6)	18970.764
8. Recreational Open Space	-
(a) If area (5) is more than 4000 sqmt - 10 % of (5) is required.	1897.076
Proposed___	1900.000
(b) If area is less than 4000 sqmt -Check -	-
i) If it is full number like 1,2,125,419,etc. As per 7.12 abstract or City Survey Number - No Recreational open space is required	-
ii) If it is subdivision like 1/2 ,2/5 , 125/1 419/1 etc.then recreational open space is required.	-
(A) 10 % Subject to minimum 200 sqmt	0.000
Proposed _____	1900.000
(B) Exemption to leave open space subject to availing basic F.S.I of 75 %	-
(C) Exemption to leave open space subject to payment of 10 % land value of land at (7) as per annual statement of rate.	-

Architect/ Licensed Engineer/ Supervisor name and signature

Registration No. of Architect/ License no. of Licensed Engineer/ Supervisor: CA/2019/106930

FOR. REGENCY NIRMAN LTD. ULHASNAGAR

Postal Address : flat No.201, Regency Antilia,

A-Wing,Orchid,,Shahad,Kalyan,Thane-421103,Maharashtra,ULHASNAGAR

DESCRIPTION OF PROJECT :

Type of Proposal : Mixed
BUILDING ON S.NO. 67/1/2,67/1/3,68/6,68/7,68/8
VILLAGE-DAVDI, TALUKA-KALYAN, DIST-THANE

SITE ADDRESS :
S.NO. 67/1/2,67/1/3,68/6,68/7,68/8 VILLAGE-DAVDI,
TALUKA-KALYAN, DIST-THANE

Name Of Architect : Tejas Anil Nirgude

LOGO

ADDRESS OF OFFICE
OFFICE -
5TH FLOOR, MIDTOWN EMBASSY, BEHIND VASANT VALLEY BUS DEPOT, OPP. NARAYANA SCHOOL, GANDHARE, KALYAN - 421301

OWNERS SIGN -

TECHNICAL PERSON SIGN
TEJAS ANIL NIRGUDE
Digitally signed by TEJAS ANIL NIRGUDE
Date: 2026.03.07 15:21:06 +05'30'

JOB NO. 961	SCALE -	DATE: 06/03/26
	JOB NO - KDMCC-25-136618	CHECK BY - ANIL

SUBMISSION DRAWING

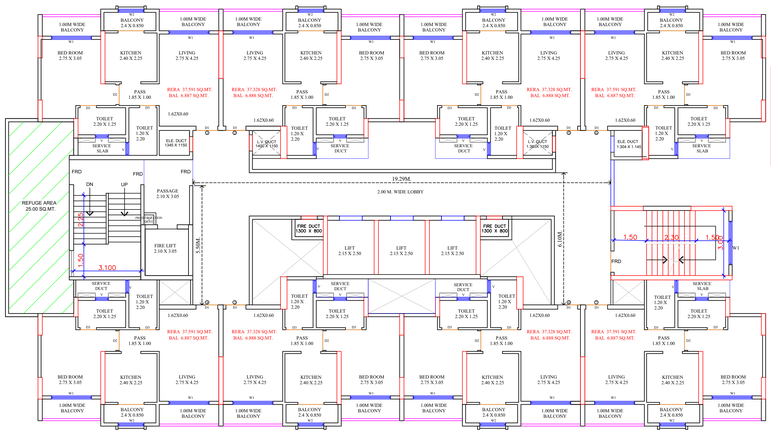

TYPICAL FLOOR
(7TH FLOOR)
INCLUSIVE HOUSING
(BLDG-2)(SCALE 1:100)

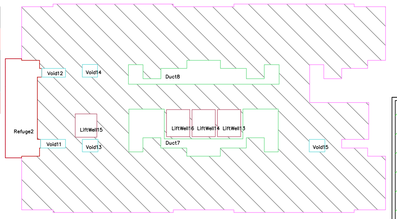

AREA DIAGRAM
(7TH FLOOR)
INCLUSIVE HOUSING
(BLDG. 2)
SCALE 1:200

BUILT UP AREA CALCULATION
FOR 7TH FLOOR BUILDING NO.2

AREA NAME	LENGTH	WIDTH	Area(Sq.M)
BLOCK	35.089	19.256	622.714
BLOCK AREA TOTAL =622.714Sq.M			
Refuge2	-	-	27.427
Void12	-	-	1.668
Void14	-	-	1.633
Void13	-	-	1.668
Void12	-	-	1.757
Void11	-	-	1.840
Lift8well6	-	-	5.375
Lift8well5	-	-	4.300
Lift8well4	-	-	5.375
Lift8well3	-	-	5.375
Duct8	-	-	20.307
Duct7	-	-	29.759
TOTAL Deduction =156.484Sq.M			
Net BuiltUp Area =616.230 Sq.M			

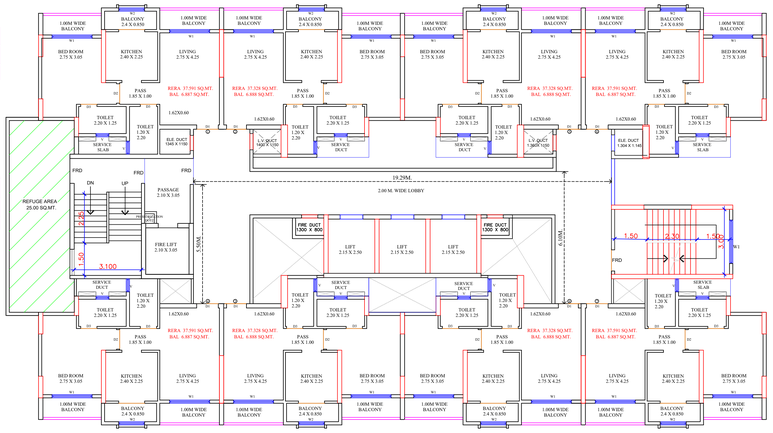

TYPICAL FLOOR
(12TH 17TH 22ND FLOOR)
(BLDG-2)(SCALE 1:100)

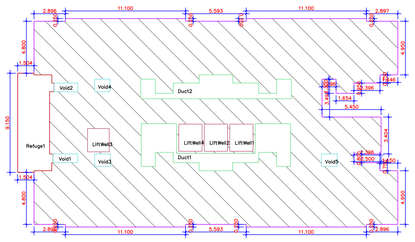

AREA DIAGRAM
12TH 17TH 22ND FLOOR
(BLDG. 2)
SCALE 1:200

BUILT UP AREA CALCULATION
FOR 12TH 17TH 22ND FLOOR BUILDING NO.2

AREA NAME	LENGTH	WIDTH	Area(Sq.M)
BLOCK	35.089	19.256	622.714
BLOCK AREA TOTAL =622.714Sq.M			
Refuge1	-	-	27.427
Void5	-	-	1.668
Void4	-	-	1.633
Void3	-	-	1.668
Void2	-	-	1.757
Void1	-	-	1.840
Lift8well	-	-	5.375
Lift8well3	-	-	4.300
Lift8well2	-	-	5.375
Lift8well1	-	-	5.375
Duct2	-	-	20.307
Duct1	-	-	29.759
TOTAL Deduction =156.484Sq.M			
Net BuiltUp Area =616.230 Sq.M			

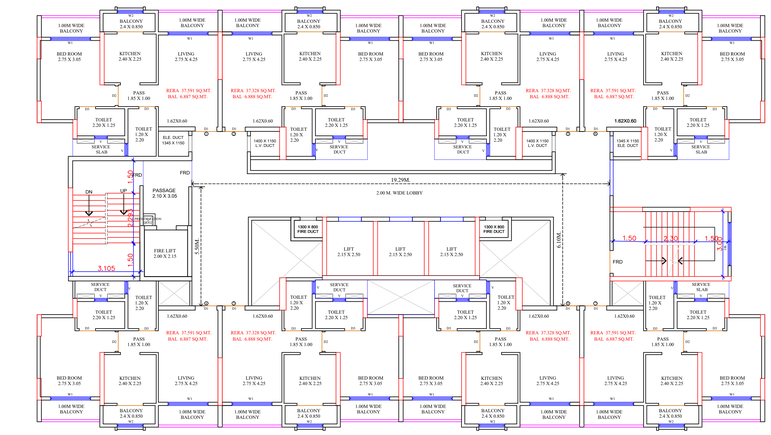

TYPICAL FLOOR
(1ST TO 6TH AND 26TH FLOOR)
INCLUSIVE HOUSING
(BLDG-2)(SCALE 1:100)

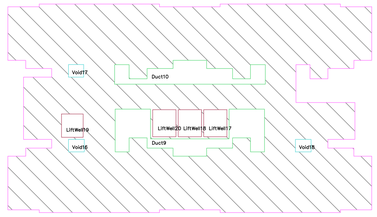

AREA DIAGRAM
(1ST TO 6TH AND 26TH FLOOR)
INCLUSIVE HOUSING
(BLDG. 2)
SCALE 1:200

BUILT UP AREA CALCULATION
FOR 1ST TO 6TH AND 26TH FLOOR BUILDING NO.2

AREA NAME	LENGTH	WIDTH	Area(Sq.M)
BLOCK	33.089	19.256	591.713
BLOCK AREA TOTAL =591.713Sq.M			
Void18	-	-	1.668
Void17	-	-	1.633
Void16	-	-	1.668
Lift8well20	-	-	5.375
Lift8well19	-	-	4.300
Lift8well18	-	-	5.375
Lift8well17	-	-	5.375
Duct10	-	-	20.307
Duct9	-	-	29.759
TOTAL Deduction =75.460Sq.M			
Net BuiltUp Area =516.253 Sq.M			

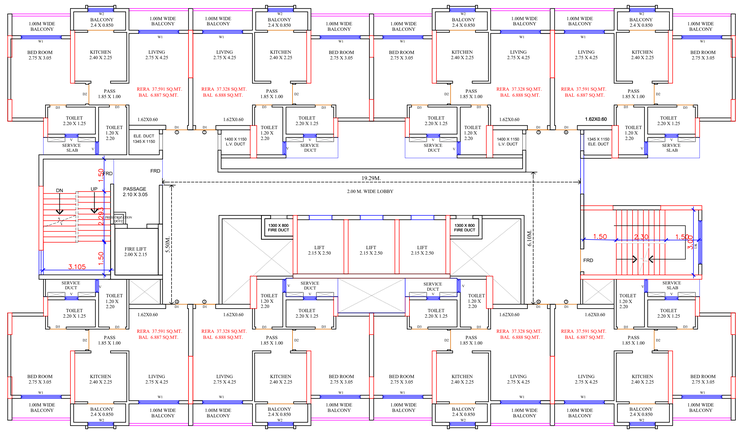

TYPICAL FLOOR
(9TH TO 11TH 13TH TO 16TH 18TH TO 21ST AND 23RD TO 25TH FLOOR)
(BLDG-2)(SCALE 1:100)

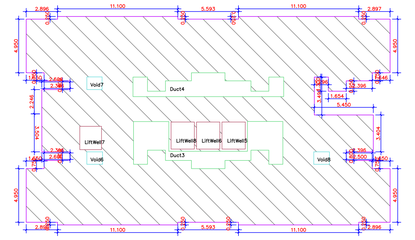

AREA DIAGRAM
9TH TO 11TH 13TH TO 16TH 18TH TO 21ST
AND 23RD TO 25TH FLOOR
(BLDG. 2)
SCALE 1:200

BUILT UP AREA CALCULATION
FOR 9TH TO 11TH 13TH TO 16TH 18TH TO 21ST AND 23RD TO 25TH FLOOR BUILDING NO.2

AREA NAME	LENGTH	WIDTH	Area(Sq.M)
BLOCK	33.089	19.256	591.713
BLOCK AREA TOTAL =591.713Sq.M			
Void8	-	-	1.668
Void7	-	-	1.633
Void6	-	-	1.668
Lift8well8	-	-	5.375
Lift8well7	-	-	4.300
Lift8well6	-	-	5.375
Lift8well5	-	-	5.375
Duct4	-	-	20.307
Duct3	-	-	29.759
TOTAL Deduction =75.460Sq.M			
Net BuiltUp Area =516.253 Sq.M			

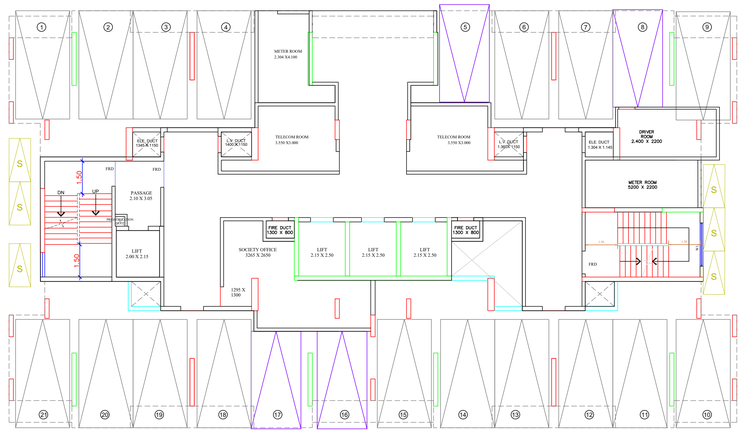

STILT FLOOR PLAN
(BLDG- 2)(SCALE 1:100)

AREA DIAGRAM
STILT FLOOR
(BLDG. 2)
SCALE 1:200

BUILT UP AREA CALCULATION
FOR STILT FLOOR BUILDING NO.2

AREA NAME	LENGTH	WIDTH	Area(Sq.M)
BLOCK	5.547	3.300	14.354
BLOCK AREA TOTAL =14.354Sq.M			
TOTAL Deduction =0.000Sq.M			
Net BuiltUp Area =14.354 Sq.M			

BUILT UP AREA CALCULATION
FOR STILT FLOOR BUILDING NO.2

AREA NAME	LENGTH	WIDTH	Area(Sq.M)
BLOCK	4.798	2.450	11.756
BLOCK AREA TOTAL =11.756Sq.M			
TOTAL Deduction =0.000Sq.M			
Net BuiltUp Area =11.756 Sq.M			

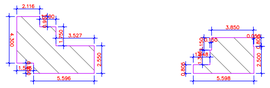

AREA DIAGRAM
STILT FLOOR
(BLDG. 2)
SCALE 1:200

BUILT UP AREA CALCULATION
FOR STILT FLOOR BUILDING NO.2

AREA NAME	LENGTH	WIDTH	Area(Sq.M)
BLOCK	7.143	3.250	23.082
BLOCK AREA TOTAL =23.082Sq.M			
TOTAL Deduction =0.000Sq.M			
Net BuiltUp Area =23.082 Sq.M			

BUILT UP AREA CALCULATION
FOR STILT FLOOR BUILDING NO.2

AREA NAME	LENGTH	WIDTH	Area(Sq.M)
BLOCK	5.598	3.300	14.400
BLOCK AREA TOTAL =14.400Sq.M			
TOTAL Deduction =0.000Sq.M			
Net BuiltUp Area =14.400 Sq.M			

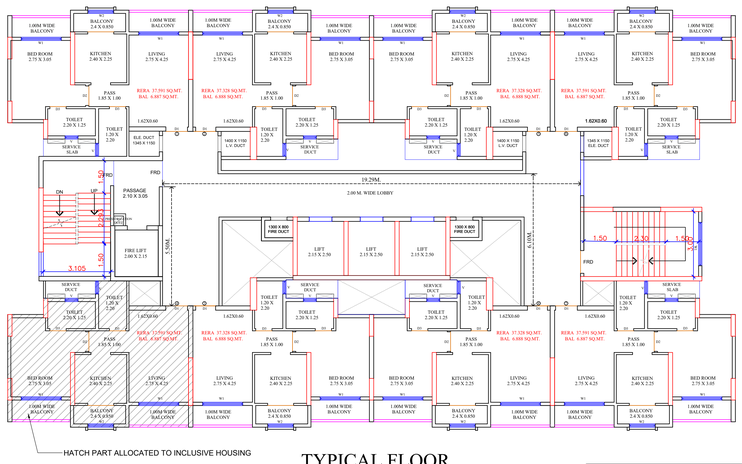

HATCH PART ALLOCATED TO INCLUSIVE HOUSING

TYPICAL FLOOR
(8TH FLOOR)
(BLDG-2)(SCALE 1:100)

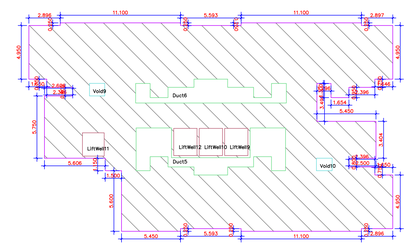

AREA DIAGRAM
8TH FLOOR
(BLDG. 2)
SCALE 1:200

BUILT UP AREA CALCULATION
FOR 8TH FLOOR BUILDING NO.2

AREA NAME	LENGTH	WIDTH	Area(Sq.M)
BLOCK	35.089	19.256	945.690
BLOCK AREA TOTAL =945.690Sq.M			
Void10	-	-	1.668
Void9	-	-	1.633
Lift8well12	-	-	5.375
Lift8well11	-	-	4.300
Lift8well10	-	-	5.375
Lift8well9	-	-	5.375
Duct6	-	-	20.307
Duct5	-	-	29.759
TOTAL Deduction =73.793Sq.M			
Net BuiltUp Area =871.897 Sq.M			

BUILT UP AREA CALCULATION
FOR 8TH FLOOR BUILDING NO.2

AREA NAME	LENGTH	WIDTH	Area(Sq.M)
BLOCK	8.548	8.750	48.086
BLOCK AREA TOTAL =48.086Sq.M			
TOTAL Deduction =0.000Sq.M			
Net BuiltUp Area =48.086 Sq.M			

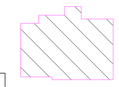

AREA DIAGRAM
8TH FLOOR
INCLUSIVE HOUSING
(BLDG. 2)
SCALE 1:200

Approved for Revised as per Letter No. ..... Dt. .....

FLOOR PLAN BLDG. 2	SHEET NO 3/11

Proforma I : Area Statement

1. Area of plot (Minimum area of a, b, c to be considered)	19629.000
(a) As per ownership document (7/12, CTS extract)	19740.000
(b) as per TILR or City Survey measurement sheet	19740.000
(c) as per Demarcated drawing area	25200.616
LESS	
2.Area not in possession	0.000
3. Area Proposed for development (out of 1-2)	19629.000
4.Deductions for	-
(a) Proposed D.P./ D.P. Road widening Area / Service Road / Highway widening	658.236
(b) Any D.P. Reservation area	0.000
(c) Green Belt	0.000
Total (a+b+c)	658.236
5.Balance area of plot (3-4)	18970.764
6. Amenity Space	0.000
(Applicable if (1) > 20000 sqmt	-
(Required -(a) Upto 20000 sqmt - Nil	-
(b) Above 20000 sqmt - (a) + 5% of Total area	0.000
7. Net Plot Area (5-6)	18970.764
8. Recreational Open Space	-
(a) If area (5) is more than 4000 sqmt - 10 % of (5) is required.	1897.076
Proposed___	1900.000
(b) If area is less than 4000 sqmt -Check -	-
i) If it is full number like 1,2,125,419,etc. As per 7,12 abstract or City Survey Number - No Recreational open space is required	-
ii) If it is subdivision like 1/2 ,2/5 , 125/1 419/1 etc.then recreational open space is required.	-
(A) 10 % Subject to minimum 200 sqmt	0.000
Proposed _____	1900.000
(B) Exemption to leave open space subject to availing basic F.S.I of 75 %	-
(C) Exemption to leave open space subject to payment of 10 % land value of land at (7) as per annual statement of rate.	-
Architect/ Licensed Engineer/ Supervisor name and signature	
Registration No. of Architect/ License no. of Licensed Engineer/ Supervisor: CA/2019/106930	

FOR. REGENCY NIRMAN LTD. ULHASNAGAR

Postal Address : flat No.2201, Regency Antilia,

A-Wing,Orchid,,Shahad,Kalyan,Thane-421103,Maharashtra,ULHASNAGAR

DESCRIPTION OF PROJECT :

Type of Proposal : Mixed
BUILDING ON S.NO. 67/1/2,67/1/3,68/6,68/7,68/8
VILLAGE-DAVDI, TALUKA-KALYAN, DIST-THANE

SITE ADDRESS :
S.NO. 67/1/2,67/1/3,68/6,68/7,68/8 VILLAGE-DAVDI,
TALUKA-KALYAN, DIST-THANE

Name Of Architect : Tejas Anil Nirgude

LOGO

ADRESS OF OFFICE
OFFICE -
5TH FLOOR, MIDTOWN EMBASSY, BEHIND VASANT VALLEY BUS DEPOT, OPP. NARAYANA SCHOOL, GANDHARE, KALYAN - 421301

OWNERS SIGN -

TECHNICAL PERSON SIGN
TEJAS ANIL NIRGUDE
Digitally signed by TEJAS ANIL NIRGUDE
Date: 2026.03.07 15:27:06 +05'30'

JOB NO. 961	SCALE -	DATE: 06/03/26
	JOB NO - KDMCC-25-136618	CHECK BY - ANIL

SUBMISSION DRAWING

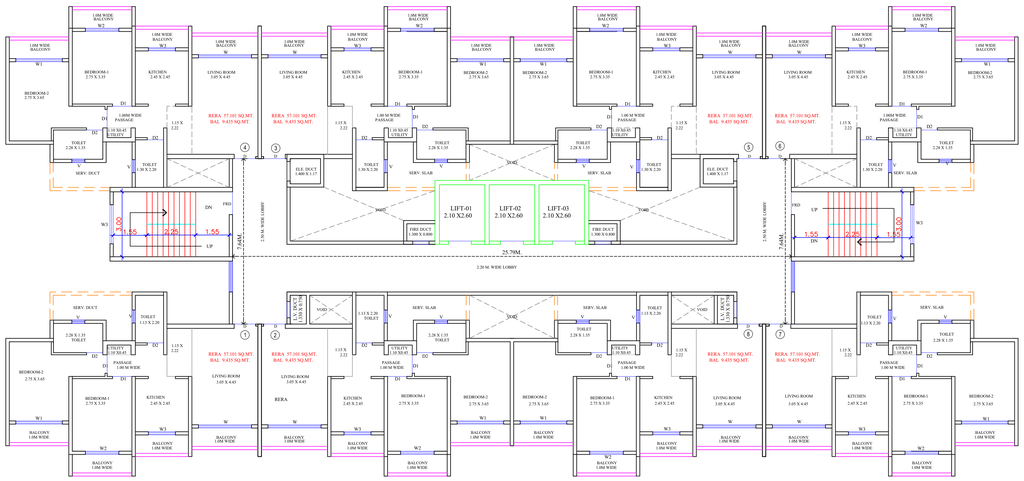

TYPICAL FLOOR PLAN (1ST TO 6TH, 8TH TO 11TH,13TH TO 16TH,18TH TO 20TH & 22ND FLOOR)
(BLDG 3,5) SCALE-1:100

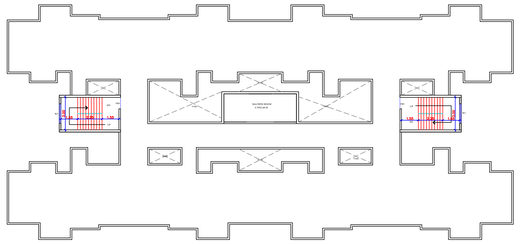

TERRACE FLOOR
(BLDG- 3,5)
(SCALE 1:200)

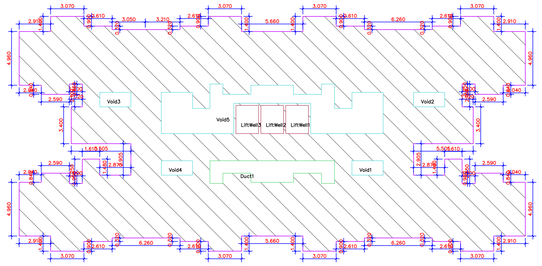

AREA DIAGRAM
1ST TO 6TH, 8TH TO 11TH,13TH TO
16TH,18TH TO 20TH & 22ND FLOOR
(BLDG. 3&5)
SCALE 1:200

BUILT UP AREA CALCULATION
FOR 1ST TO 6TH,8TH TO 11TH,13TH TO 16TH,18TH TO 20TH AND 22ND FLOOR BUILDING NO.3

AREA NAME	LENGTH	WIDTH	Area(Sq.M)
BLOCK	46.720	21.675	820.574
BLOCK AREA TOTAL =820.574Sq.M			
Void6	-	-	38.746
Void4	-	-	3.824
Void2	-	-	3.824
Void1	-	-	3.824
LiftWall3	-	-	5.460
LiftWall2	-	-	5.460
LiftWall1	-	-	5.460
Duct1	-	-	18.798
TOTAL Deduction =107.225Sq.M			
Net BuiltUp Area =713.349 Sq.M			

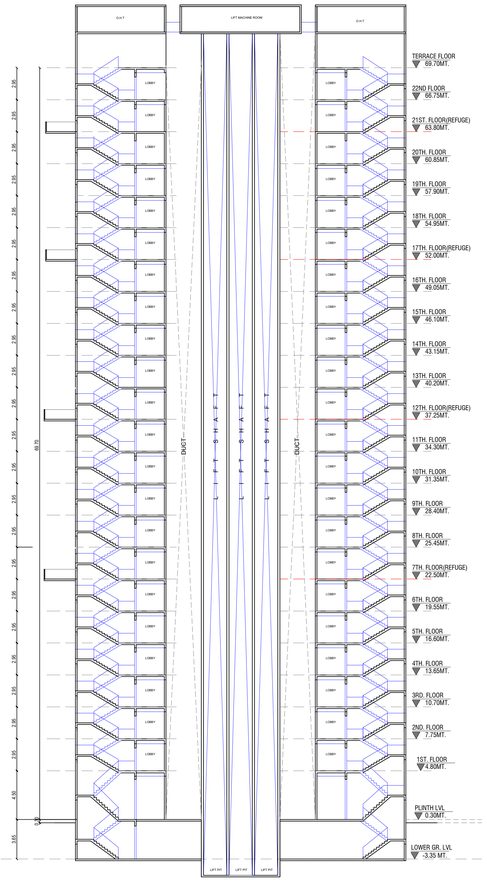

SECTION A-A
SCALE 1:200
(BLDG. 3&5)

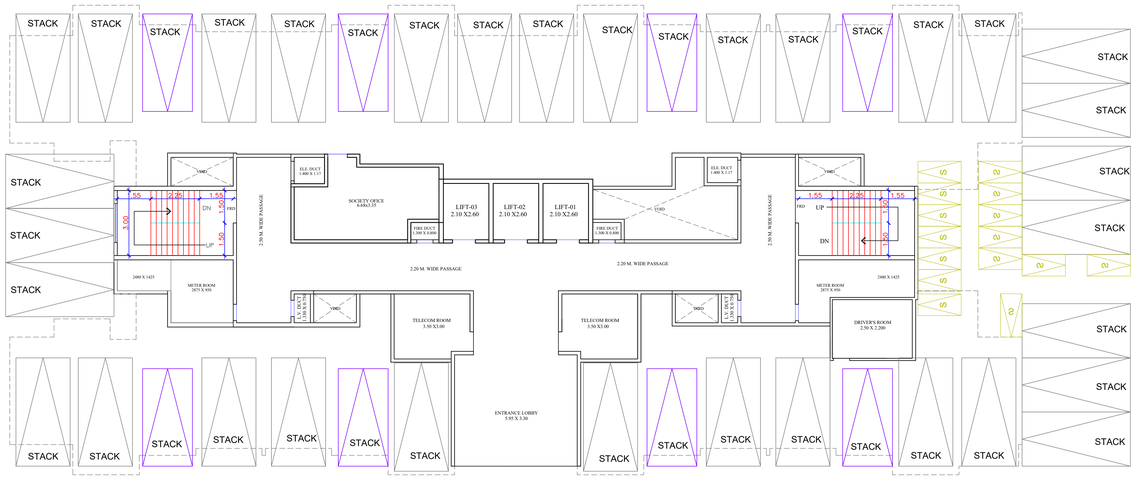

STILT FLOOR PLAN BLDG. NO.3,5

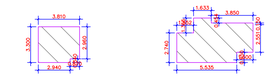

AREA DIAGRAM
STILT FLOOR
(BLDG. 3&5)
SCALE 1:200

BUILT UP AREA CALCULATION
FOR 3TH STILTFLOOR BUILDING NO.3

AREA NAME	LENGTH	WIDTH	Area(Sq.M)
BLOCK	3.810	3.300	12.277
BLOCK AREA TOTAL =12.277Sq.M			
TOTAL Deduction =0.000Sq.M			
Net BuiltUp Area =12.277 Sq.M			

BUILT UP AREA CALCULATION
FOR 2ND STILTFLOOR BUILDING NO.3

AREA NAME	LENGTH	WIDTH	Area(Sq.M)
BLOCK	7.035	4.100	23.587
BLOCK AREA TOTAL =23.587Sq.M			
TOTAL Deduction =0.000Sq.M			
Net BuiltUp Area =23.587 Sq.M			

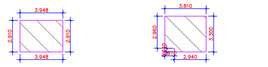

AREA DIAGRAM
STILT FLOOR
(BLDG. 3&5)
SCALE 1:200

BUILT UP AREA CALCULATION
FOR 1ST STILTFLOOR BUILDING NO.3

AREA NAME	LENGTH	WIDTH	Area(Sq.M)
BLOCK	3.948	2.910	11.488
BLOCK AREA TOTAL =11.488Sq.M			
TOTAL Deduction =0.000Sq.M			
Net BuiltUp Area =11.488 Sq.M			

BUILT UP AREA CALCULATION
FOR GROUND FLOOR BUILDING NO.3

AREA NAME	LENGTH	WIDTH	Area(Sq.M)
BLOCK	46.720	21.675	875.875
BLOCK AREA TOTAL =875.875Sq.M			
Refuge1	-	-	40.829
Void13	-	-	38.746
Void12	-	-	3.824
Void11	-	-	3.824
Void10	-	-	3.824
Void8	-	-	3.824
Void9	-	-	5.520
Void7	-	-	5.520
Void6	-	-	3.824
LiftWall6	-	-	5.460
LiftWall5	-	-	5.460
LiftWall4	-	-	5.460
Duct2	-	-	18.798
TOTAL Deductions =162.319Sq.M			
Net BuiltUp Area =713.334 Sq.M			

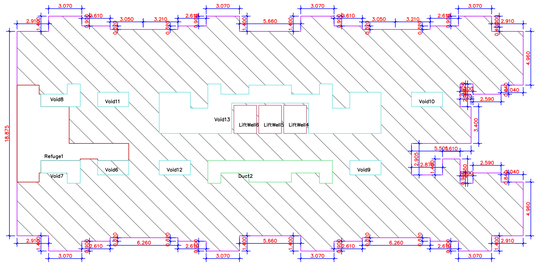

AREA DIAGRAM
7TH,12TH, 17TH & 21ST FLOOR
(BLDG. 3&5)
SCALE 1:200

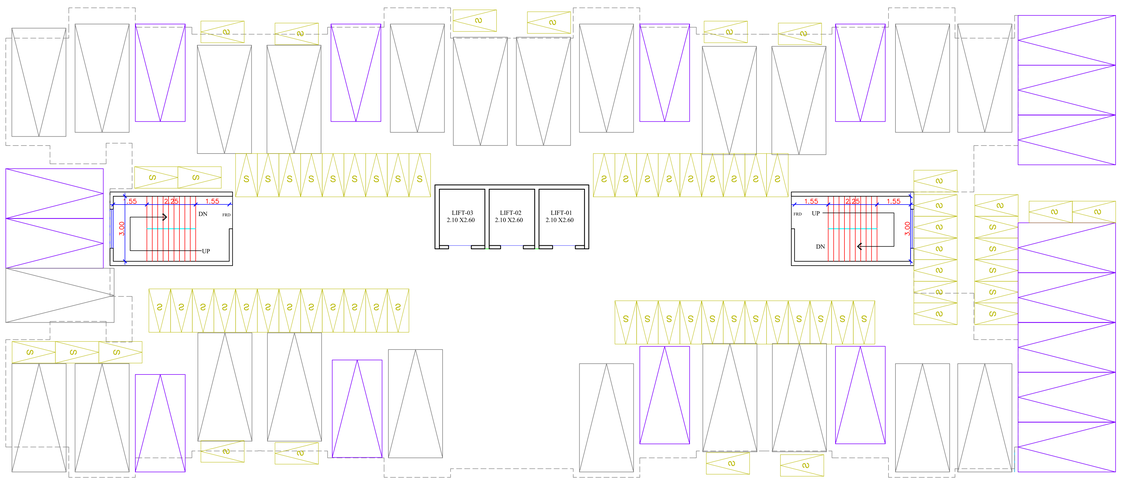

LOWER GROUND FLOOR PLAN (BLDG. NO. 3,5)
SCALE-1:100

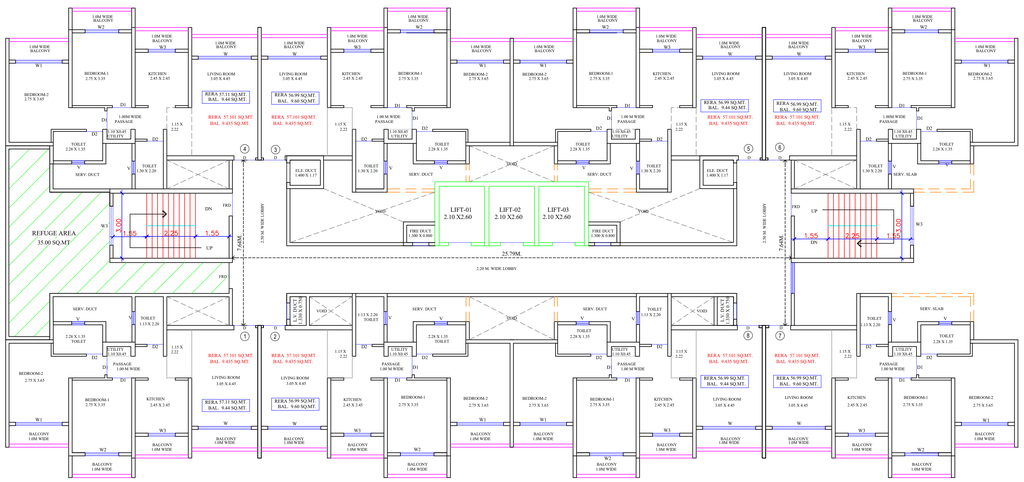

REFUGE FLOOR PLAN (7TH,12TH, 17TH & 21ST)
(BLDG 3,5) SCALE-1:100

FLOOR PLAN BLDG. 3&5	SHEET NO 4/11

Proforma 1 : Area Statement	
1. Area of plot (Minimum area of a, b, c to be considered)	19629.000
(a) As per ownership document (7/12, CTS extract)	19740.000
(b) as per TILR or City Survey measurement sheet	19740.000
(c) as per Demarcated drawing area	25200.616
LESS	-
2.Area not in possession	0.000
3. Area Proposed for development (out of 1-2)	19629.000
4.Deductions for	-
(a) Proposed D.P./ D.P. Road widening Area / Service Road / Highway widening	658.236
(b) Any D.P. Reservation area	0.000
(c) Green Belt	0.000
Total (a+b+c)	658.236
5.Balance area of plot (3-4)	18970.764
6. Amenity Space	0.000
(Applicable if (1) > 20000 sqmt	-
(Required -(a) Upto 20000 sqmt - Nil	-
(b) Above 20000 sqmt - (a) + 5% of Total area	0.000
7. Net Plot Area (5-6)	18970.764
8. Recreational Open Space	-
(a) If area (5) is more than 4000 sqmt - 10 % of (5) is required.	1897.076
Proposed____	1900.000
(b) If area is less than 4000 sqmt -Check -	-
i) If it is full number like 1,2,125,419,etc. As per 7.12 abstract or City Survey Number - No Recreational open space is required	-
ii) If it is subdivision like 1/2 ,2/5 , 125/1 419/1 etc.then recreational open space is required.	-
(A) 10 % Subject to minimum 200 sqmt	0.000
Proposed _____	1900.000
(B) Exemption to leave open space subject to availing basic F.S.I of 75 %	-
(C) Exemption to leave open space subject to payment of 10 % land value of land at (7) as per annual statement of rate.	-
Architect/ Licensed Engineer/ Supervisor name and signature	
Registration No. of Architect/ License no. of Licensed Engineer/ Supervisor: CA/2019/106930	

FOR. REGENCY NIRMAN LTD. ULHASNAGAR

Postal Address : flat No.2201, Regency Antilia,

A-Wing,Orchid,,Shahad,Kalyan,Thane-421103,Maharashtra,ULHASNAGAR

DESCRIPTION OF PROJECT :

Type of Proposal : Mixed
BUILDING ON S.NO: 67/1/2,67/1/3,68/6,68/7,68/8
VILLAGE-DAVDI, TALUKA-KALYAN, DIST-THANE

SITE ADDRESS :
S.NO: 67/1/2,67/1/3,68/6,68/7,68/8 VILLAGE-DAVDI,
TALUKA-KALYAN, DIST-THANE

Name Of Architect : Tejas Anil Nirgude

LOGO	ADDRESS OF OFFICE
	OFFICE - 5TH FLOOR, MIDTOWN EMBASSY, BEHIND VASANT VALLEY BUS DEPOT, OPP. NARAYANA SCHOOL, GANDHARE, KALYAN - 421301
OWNERS SIGN -	TECHNICAL PERSON SIGN TEJAS ANIL NIRGUDE Digitally signed by TEJAS ANIL NIRGUDE Date: 2026.03.05 15:21:04 +05'30'

JOB NO. 961	SCALE -	DATE: 06/03/26	
	JOB NO - KDMCC-25-136618	CHECK BY - ANIL	

SUBMISSION DRAWING

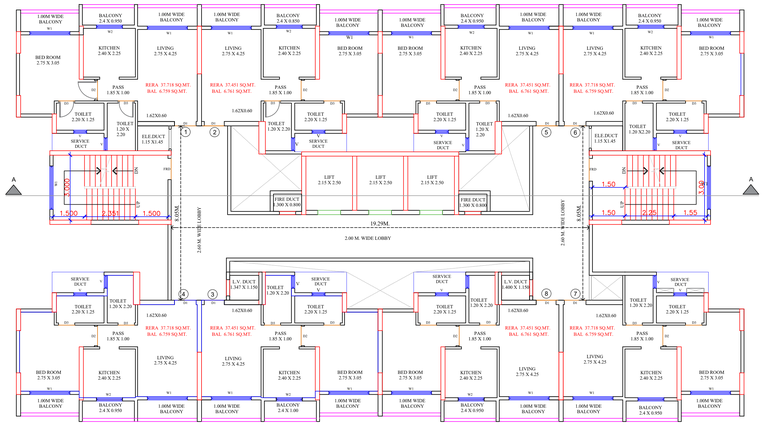

(1ST TO 6TH, 8TH TO 11TH,13TH TO 16TH,18TH TO 20TH & 21ST FLOOR)
(BLDG- 4)
TYPICAL FLOOR PLAN SCALE 1:100

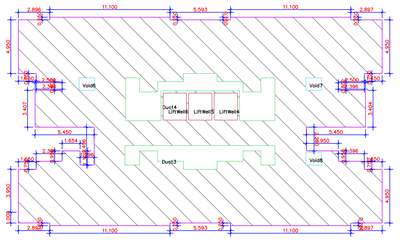

AREA DIAGRAM
1ST TO 6TH, 8TH TO 11TH,13TH TO 16TH,18TH TO
20TH & 22ND FLOOR
(BLDG. 4)
SCALE 1:200

BUILT UP AREA CALCULATION
FOR 1ST TO 2 4TH 8TH TO 11TH 13TH TO 16TH 18TH TO 20TH AND 21ST
FLOOR BUILDING NO 4

AREA NAME	LENGTH	WIDTH	Area(Sq.M)
BLOCK	33.586	19.250	679.761
BLOCK AREA TOTAL =679.761Sq.M			
Void6	-	-	1.667
Void7	-	-	1.667
Void8	-	-	1.666
Lift9Well6	-	-	5.375
Lift9Well5	-	-	5.394
Lift9Well4	-	-	5.375
Duct4	-	-	20.764
Duct3	-	-	20.173
TOTAL Deduction =71.272Sq.M			
Net BuiltUp Area =607.489 Sq.M			

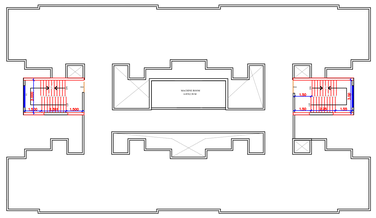

TERRACE FLOOR
(BLDG- 4)
(SCALE 1:200)

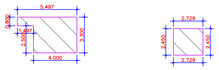

AREA DIAGRAM
STILT FLOOR
(BLDG. 4)
SCALE 1:200

BUILT UP AREA CALCULATION
FOR STILT FLOOR BUILDING NO 4

AREA NAME	LENGTH	WIDTH	Area(Sq.M)
BLOCK	5.497	5.300	14.398
BLOCK AREA TOTAL =14.398Sq.M			
TOTAL Deduction =0.000Sq.M			
Net BuiltUp Area =14.398 Sq.M			

BUILT UP AREA CALCULATION
FOR STILT FLOOR BUILDING NO 4

AREA NAME	LENGTH	WIDTH	Area(Sq.M)
BLOCK	2.729	2.450	6.685
BLOCK AREA TOTAL =6.685Sq.M			
TOTAL Deduction =0.000Sq.M			
Net BuiltUp Area =6.685 Sq.M			

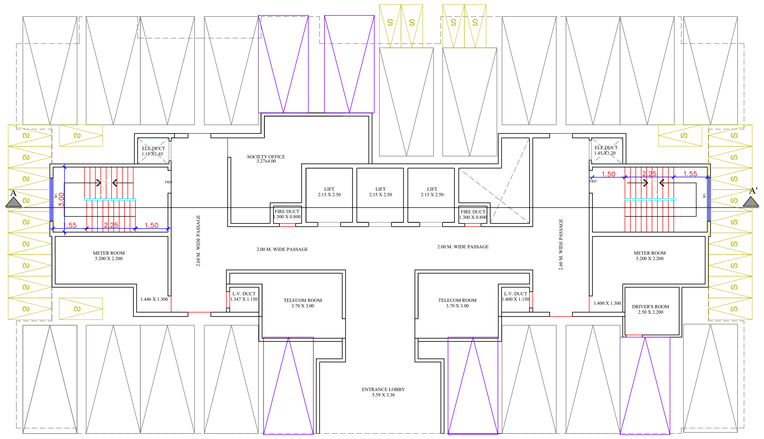

STILT FLOOR PLAN (BLDG 4)

SCALE 1:100

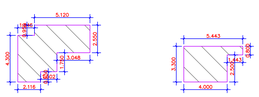

AREA DIAGRAM
STILT FLOOR
(BLDG. 4)
SCALE 1:200

BUILT UP AREA CALCULATION
FOR STILT FLOOR BUILDING NO 4

AREA NAME	LENGTH	WIDTH	Area(Sq.M)
BLOCK	5.120	5.250	25.872
BLOCK AREA TOTAL =25.872Sq.M			
TOTAL Deduction =0.000Sq.M			
Net BuiltUp Area =25.872 Sq.M			

BUILT UP AREA CALCULATION
FOR STILT FLOOR BUILDING NO 4

AREA NAME	LENGTH	WIDTH	Area(Sq.M)
BLOCK	5.443	3.900	14.304
BLOCK AREA TOTAL =14.304Sq.M			
TOTAL Deduction =0.000Sq.M			
Net BuiltUp Area =14.304 Sq.M			

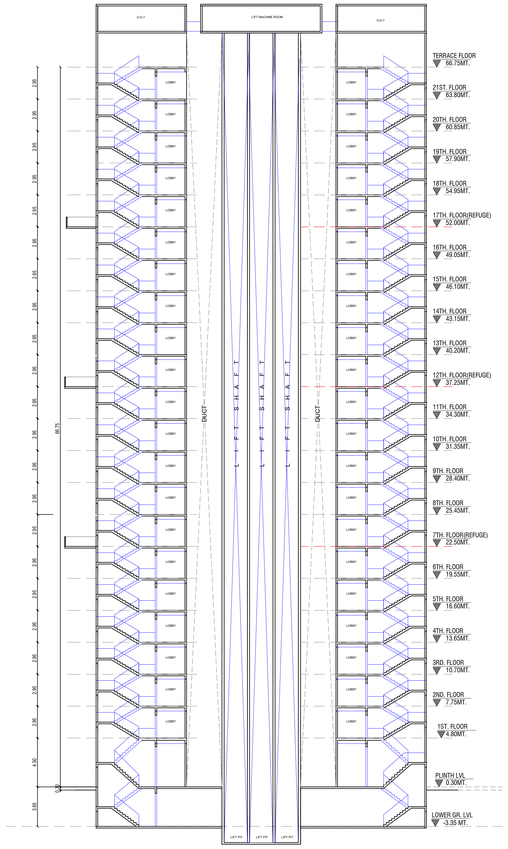

SECTION A-A
SCALE 1:200
(BLDG. 4)

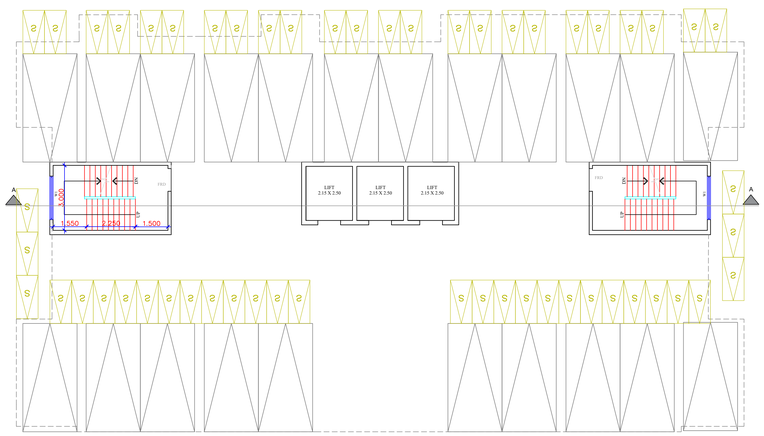

LOWER GROUND FLOOR (BLDG4)

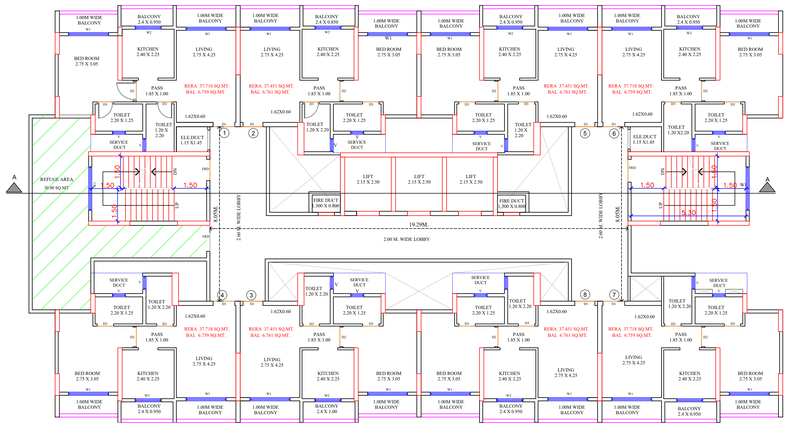

REFUGE FLOOR PLAN (7TH,12TH, 17TH)
BLDG- 4
SCALE 1:100

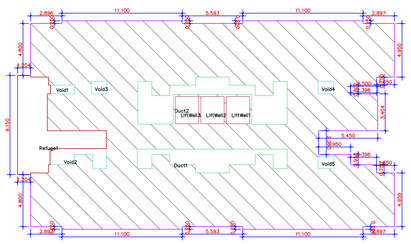

AREA DIAGRAM
7TH,12TH, 17TH FLOOR
(BLDG. 4)
SCALE 1:200

BUILT UP AREA CALCULATION
FOR 7TH,12TH, 17TH FLOOR BUILDING NO 4

AREA NAME	LENGTH	WIDTH	Area(Sq.M)
BLOCK	34.789	19.250	621.638
BLOCK AREA TOTAL =621.638Sq.M			
Refuge1	-	-	34.468
Void5	-	-	1.667
Void4	-	-	1.667
Void3	-	-	1.666
Void2	-	-	8.672
Void1	-	-	1.758
Lift9Well3	-	-	5.375
Lift9Well2	-	-	5.394
Lift9Well1	-	-	5.394
Duct2	-	-	28.764
Duct1	-	-	20.173
TOTAL Deduction =113.378Sq.M			
Net BuiltUp Area =507.638 Sq.M			

FLOOR PLAN BLDG. 4 | SHEET NO 5/11

Proforma I : Area Statement

1. Area of plot (Minimum area of a, b, c to be considered)	19629.000
(a) As per ownership document (7/12, CTS extract)	19740.000
(b) as per TILR or City Survey measurement sheet	19740.000
(c) as per Demarcated drawing area	25200.616
LESS	-
2.Area not in possession	0.000
3. Area Proposed for development (out of 1-2)	19629.000
4.Deductions for	-
(a) Proposed D.P./ D.P. Road widening Area / Service Road / Highway widening	658.236
(b) Any D.P. Reservation area	0.000
(c) Green Belt	0.000
Total (a+b+c)	658.236
5.Balance area of plot (3-4)	18970.764
6. Amenity Space	0.000
(Applicable if (1) > 20000 sqmt	-
(Required -(a) Upto 20000 sqmt - Nil	-
(b) Above 20000 sqmt - (a) + 5% of Total area	0.000
7. Net Plot Area (5-6)	18970.764
8. Recreational Open Space	-
(a) If area (5) is more than 4000 sqmt - 10 % of (5) is required.	1897.076
Proposed____	1900.000
(b) If area is less than 4000 sqmt -Check -	-
i) If it is full number like 1,2,125,419,etc. As per 7, 12 abstract or City Survey Number - No Recreational open space is required	-
ii) If it is subdivision like 1/2 ,2/5 , 125/1 419/1 etc.then recreational open space is required.	-
(A) 10 % Subject to minimum 200 sqmt	0.000
Proposed _____	1900.000
(B) Exemption to leave open space subject to availing basic F.S.I of 75 %	-
(C) Exemption to leave open space subject to payment of 10 % land value of land at (7) as per annual statement of rate.	-
Architect/ Licensed Engineer/ Supervisor name and signature	
Registration No. of Architect/ License no. of Licensed Engineer/ Supervisor: CA/2019/106930	

FOR. REGENCY NIRMAN LTD. ULHASNAGAR

Postal Address : flat No.2201, Regency Antilia,

A-Wing,Orchid,,Shahad,Kalyan,Thane-421103,Maharashtra,ULHASNAGAR

DESCRIPTION OF PROJECT :

Type of Proposal : Mixed
BUILDING ON S.NO. 67/1/2,67/13,68/6,68/7,68/8
VILLAGE-DAVDI, TALUKA-KALYAN, DIST-THANE

SITE ADDRESS :
S.NO. 67/1/2,67/13,68/6,68/7,68/8 VILLAGE-DAVDI,
TALUKA-KALYAN, DIST-THANE

Name Of Architect : Tejas Anil Nirgude

LOGO | ADDRESS OF OFFICE
OFFICE -
5TH FLOOR, MIDTOWN EMBASSY, BEHIND VASANT VALLEY BUS DEPOT, OPP. NARAYANA SCHOOL, GANDHARE, KALYAN - 421301

OWNERS SIGN - | TECHNICAL PERSON SIGN
TEJAS ANIL NIRGUDE Digitally signed by TEJAS ANIL NIRGUDE Date: 2024.03.07 15:21:56 +05'30'

JOB NO. 961 | SCALE - | DATE: 06/03/26
JOB NO - KDMCC-25-136618 | CHECK BY - ANIL

SUBMISSION DRAWING

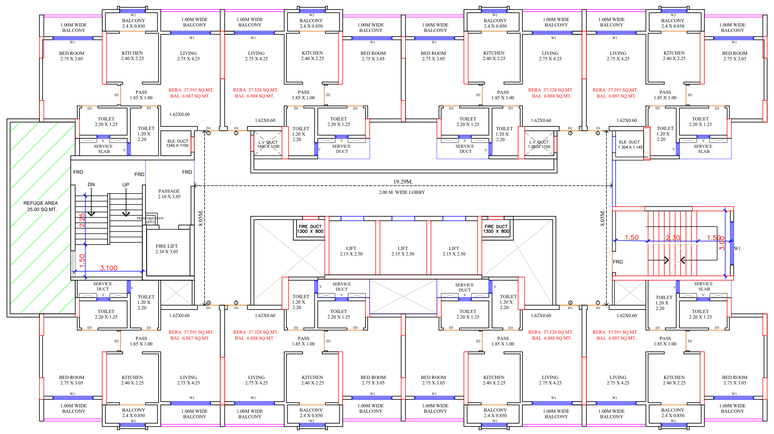

TYPICAL FLOOR
(7TH 12TH 17TH 22ND 27TH FLOOR)
(BLDG- 6)(SCALE 1:100)

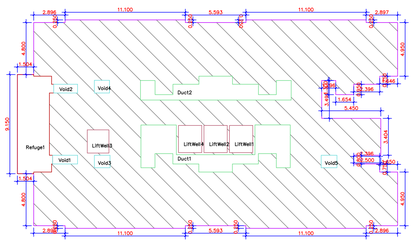

AREA DIAGRAM
7TH 12TH 17TH 22ND 27TH FLOOR
(BLDG. 6)
SC.ALE 1:200

BUILT UP AREA CALCULATION
FOR 7TH 12TH 17TH 22ND AND 27TH FLOOR BUILDING NO.6

AREA NAME	LENGTH	WIDTH	Area(Sq.M)
BLOCK	35.089	19.250	922.714
		BLOCK AREA TOTAL	=922.714Sq.M
Refuge1	-	-	27.427
Void5	-	-	1.868
Void4	-	-	1.633
Void3	-	-	1.868
Void2	-	-	1.757
Void1	-	-	1.840
LIftWell4	-	-	5.375
LIftWell3	-	-	4.300
LIftWell2	-	-	5.375
LIftWell1	-	-	5.375
Duct1	-	-	20.307
Duct2	-	-	29.759
		TOTAL Deduction	=106.684Sq.M
		Net BuiltUp Area	=816.030 Sq.M

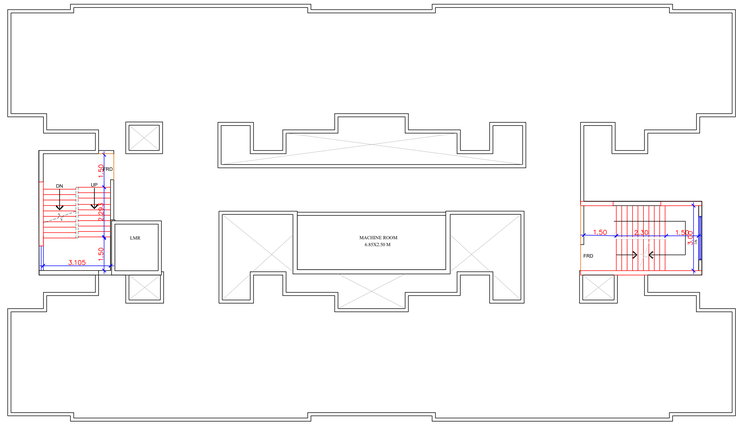

TERRACE FLOOR
(BLDG- 6)
(SCALE 1:100)

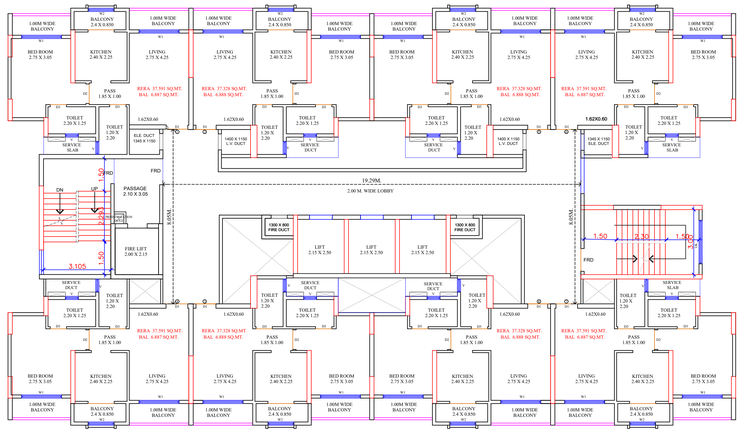

TYPICAL FLOOR
(1ST TO 6TH 8TH TO 11TH 13TH TO 16TH 18TH TO 21ST 23RD TO 26TH
AND 28TH FLOOR)
(BLDG- 6)(SCALE 1:100)

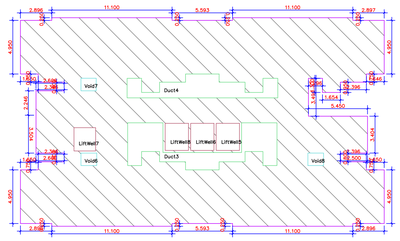

AREA DIAGRAM
1ST TO 6TH 8TH TO 11TH 13TH TO 16TH 18TH TO
21ST 23RD TO 26TH AND 28TH FLOOR
(BLDG. 6)
SCALE 1:200

BUILT UP AREA CALCULATION
FOR 1ST TO 6TH 8TH TO 11TH 13TH TO 16TH 18TH TO 21ST 23RD TO 26TH AND 28TH FLOOR BUILDING NO.6

AREA NAME	LENGTH	WIDTH	Area(Sq.M)
BLOCK	32.985	19.250	591.713
		BLOCK AREA TOTAL	=591.713Sq.M
Void8	-	-	1.868
Void7	-	-	1.633
Void6	-	-	1.868
LIftWell6	-	-	5.375
LIftWell7	-	-	4.300
LIftWell6	-	-	5.375
LIftWell5	-	-	5.375
Duct4	-	-	20.307
Duct3	-	-	29.759
		TOTAL Deduction	=75.460Sq.M
		Net BuiltUp Area	=516.253 Sq.M

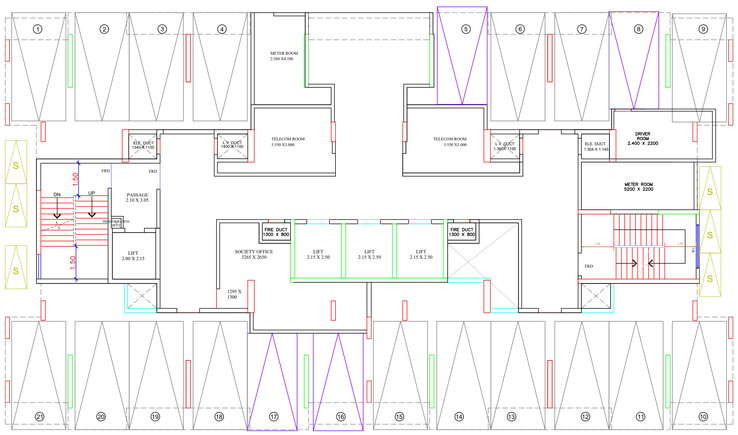

STILT FLOOR PLAN
(BLDG- 6)(SCALE 1:100)

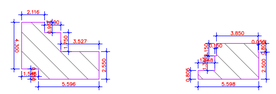

AREA DIAGRAM
STILT FLOOR
(BLDG. 6)
SCALE 1:200

BUILT UP AREA CALCULATION
FOR STILT FLOOR BUILDING NO.6

AREA NAME	LENGTH	WIDTH	Area(Sq.M)
BLOCK	7.143	3.250	23.082
		BLOCK AREA TOTAL	=25.082Sq.M
		TOTAL Deduction	=0.000Sq.M
		Net BuiltUp Area	=25.082 Sq.M

BUILT UP AREA CALCULATION
FOR STILT FLOOR BUILDING NO.6

AREA NAME	LENGTH	WIDTH	Area(Sq.M)
BLOCK	5.598	3.300	14.490
		BLOCK AREA TOTAL	=14.490Sq.M
		TOTAL Deduction	=0.000Sq.M
		Net BuiltUp Area	=14.490 Sq.M

AREA DIAGRAM
STILT FLOOR
(BLDG. 6)
SC.ALE 1:200

BUILT UP AREA CALCULATION
FOR STILT FLOOR BUILDING NO.6

AREA NAME	LENGTH	WIDTH	Area(Sq.M)
BLOCK	5.547	3.350	14.354
		BLOCK AREA TOTAL	=14.354Sq.M
		TOTAL Deduction	=0.000Sq.M
		Net BuiltUp Area	=14.354 Sq.M

BUILT UP AREA CALCULATION
FOR STILT FLOOR BUILDING NO.6

AREA NAME	LENGTH	WIDTH	Area(Sq.M)
BLOCK	4.798	2.450	=11.756
		BLOCK AREA TOTAL	=11.756Sq.M
		TOTAL Deduction	=0.000Sq.M
		Net BuiltUp Area	=11.756 Sq.M

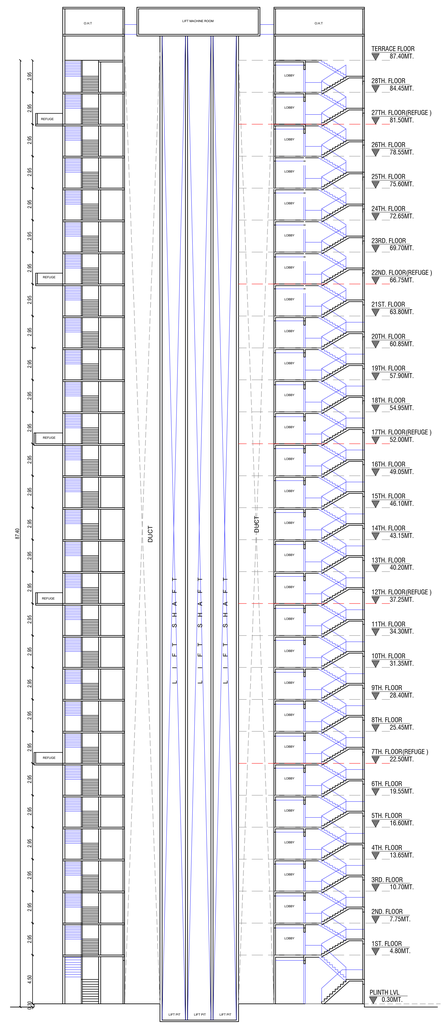

SECTION A-A'
BLDG. 6
SCALE-1:200

Approved for Revision on ____ ____ ____
Approved for Commencement on ____ ____ ____

FLOOR PLAN BLDG. 6	SHEET NO 6/11

Proforma 1 : Area Statement	
1. Area of plot (Minimum area of a, b, c to be considered)	19629.000
(a) As per ownership document (7/12, CTS extract)	19740.000
(b) as per TILR or City Survey measurement sheet	19740.000
(c) as per Demarcated drawing area	25200.616
LESS	-
2.Area not in possession	0.000
3. Area Proposed for development (out of 1-2)	19629.000
4.Deductions for	-
(a) Proposed D.P / D.P. Road widening Area / Service Road / Highway widening	658.236
(b) Any D.P. Reservation area	0.000
(c) Green Belt	0.000
Total (a+b+c)	658.236
5.Balance area of plot (3-4)	18970.764
6. Amenity Space	0.000
(Applicable if (1) > 20000 sqmt	-
(Required -(a) Upto 20000 sqmt - Nil	-
(b) Above 20000 sqmt - (a) + 5% of Total area	0.000
7. Net Plot Area (5-6)	18970.764
8. Recreational Open Space	-
(a) If area (5) is more than 4000 sqmt - 10 % of (5) is required.	1897.076
Proposed____	1900.000
(b) If area is less than 4000 sqmt -Check -	-
i) If it is full number like 1,2,125,419,etc. As per 7.12 abstract or City Survey Number - No Recreational open space is required	-
ii) If it is subdivision like 1/2 ,2/5 , 125/1 419/1 etc.then recreational open space is required.	-
(A) 10 % Subject to minimum 200 sqmt	0.000
Proposed _____	1900.000
(B) Exemption to leave open space subject to availing basic F.S.I of 75 %	-
(C) Exemption to leave open space subject to payment of 10 % land value of land at (7) as per annual statement of rate.	-
Architect/ Licensed Engineer/ Supervisor name and signature	
Registration No. of Architect/ License no. of Licensed Engineer/ Supervisor: CA/2019/106930	

FOR. REGENCY NIRMAN LTD. ULHASNAGAR

Postal Address : flat No.2201, Regency Antilia,

A-Wing,Orchid,,Shahad,Kalyan,Thane-421103,Maharashtra,ULHASNAGAR

DESCRIPTION OF PROJECT :

Type of Proposal : Mixed
BUILDING ON S.NO: 67/1/2,67/1/3,68/6,68/7,68/8
VILLAGE-DAVDI, TALUKA-KALYAN, DIST-THANE

SITE ADDRESS :
S.NO: 67/1/2,67/1/3,68/6,68/7,68/8 VILLAGE-DAVDI,
TALUKA-KALYAN, DIST-THANE

Name Of Architect : Tejas Anil Nirgude

LOGO	ADDRESS OF OFFICE
	OFFICE - 5TH FLOOR, MIDTOWN EMBASSY, BEHIND VASANT VALLEY BUS DEPOT, OPP. NARAYANA SCHOOL, GANDHARE, KALYAN - 421301

OWNERS SIGN -	TECHNICAL PERSON SIGN
	TEJAS ANIL NIRGUDE Digitally signed by TEJAS ANIL NIRGUDE Date: 2026.03.06 15:21:00 +05'30'

JOB NO. 961	SCALE -	DATE: 06/03/26
	JOB NO - KDMCC-25-136618	CHECK BY - ANIL

SUBMISSION DRAWING

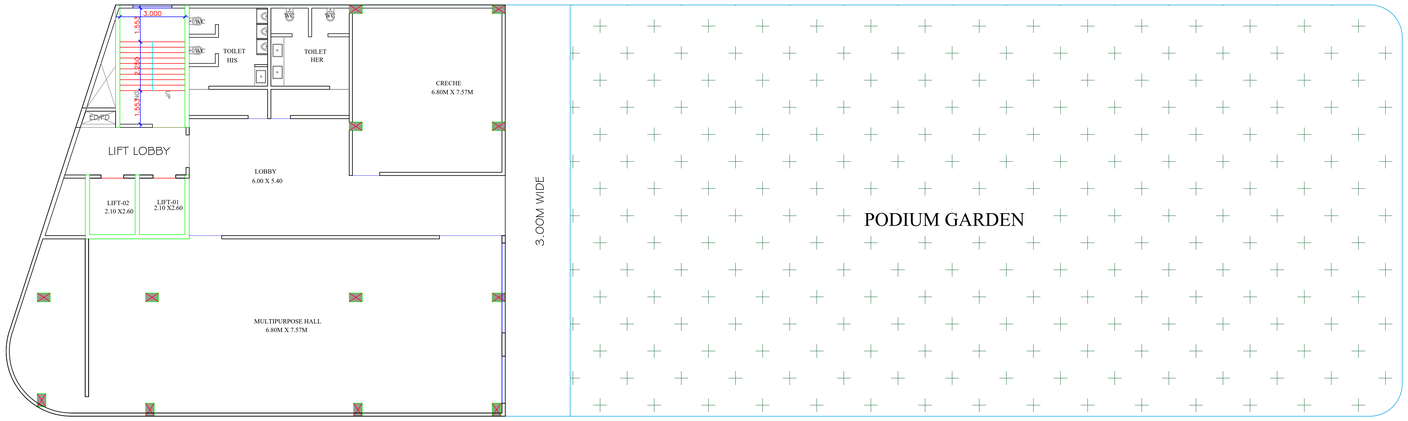

ECO DECK FLOOR PLAN(CLUB HOUSE)

SCALE 1:100

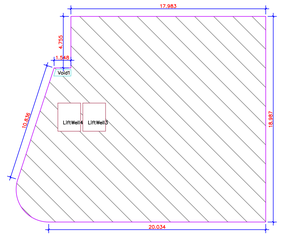

AREA DIAGRAM
ECO DECK FLOOR
(CLUBHOUSE)

SCALE 1:200

BUILT UP AREA CALCULATION
FOR ECO DECK FLOOR (CLUBHOUSE)

AREA NAME	LENGTH	WIDTH	Area(Sq.M)
BLOCK	20.034	18.987	392.543
BLOCK AREA TOTAL 1092.543Sq.M			
VIHIT	-	-	3.840
LIFRIM4	-	-	5.460
LIFRIM3	-	-	5.460
TOTAL Deduction =11.81 Sq.M			
Net BuiltUp Area =380.732 Sq.M			

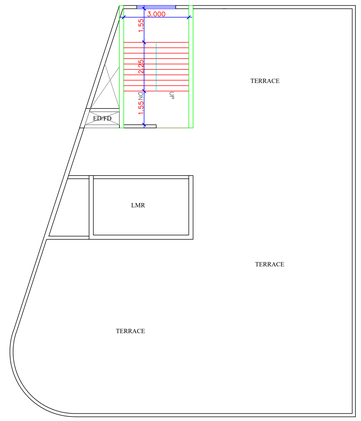

TERRACE FLOOR PLAN (CLUB HOUSE)

SCALE 1:100

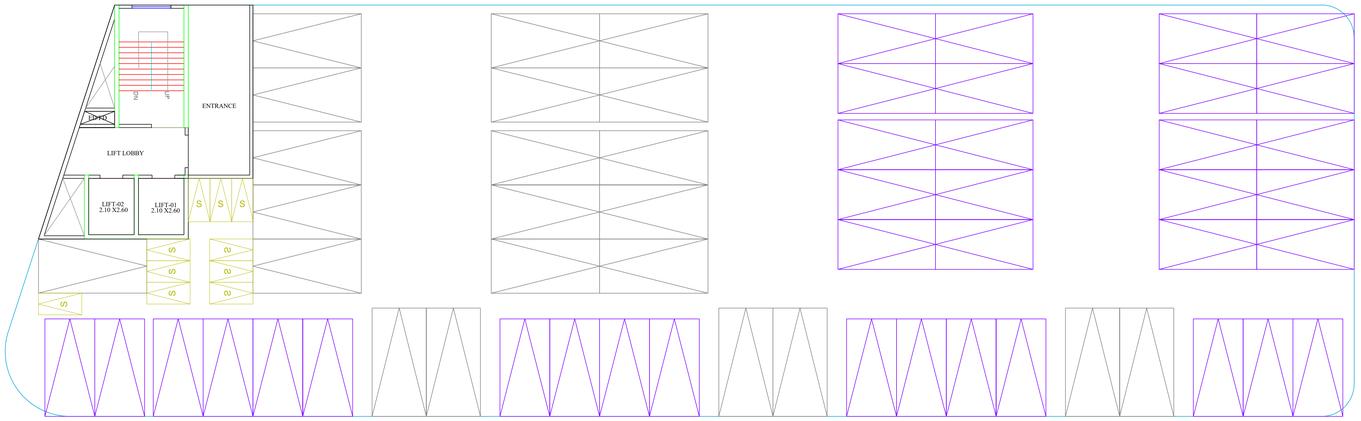

GROUND FLOOR PLAN

CLUB HOUSE

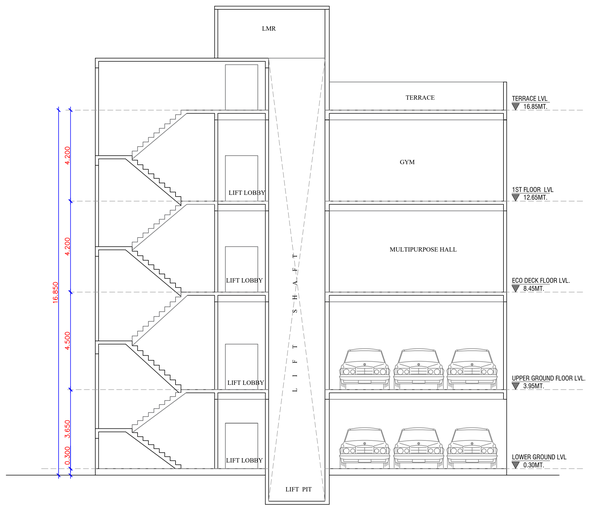

SECTION A-A'
CLUBHOUSE

SCALE 1:100

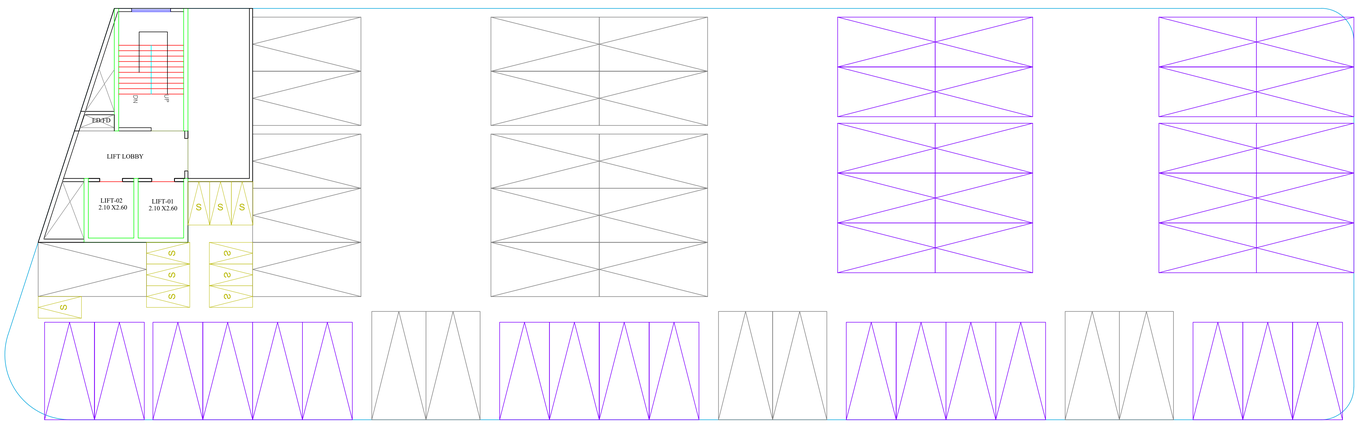

LOWER GROUND FLOOR PLAN
CLUB HOUSE

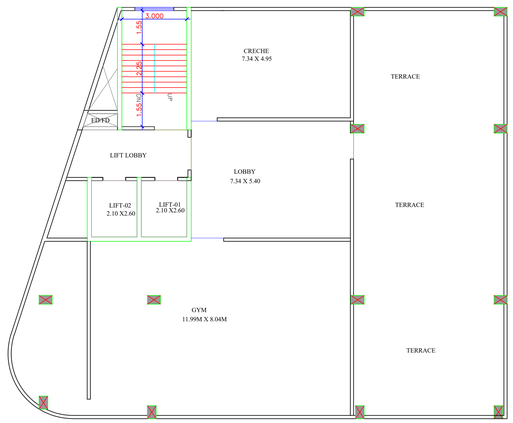

1ST FLOOR PLAN (CLUB HOUSE)

SCALE 1:100

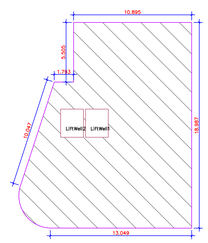

AREA DIAGRAM
1ST FLOOR
(CLUBHOUSE)

SCALE 1:200

BUILT UP AREA CALCULATION
FOR 1ST FLOOR (CLUBHOUSE)

AREA NAME	LENGTH	WIDTH	Area(Sq.M)
BLOCK	18.987	13.049	256.113
BLOCK AREA TOTAL 1256.113Sq.M			
LIFRIM2	-	-	5.460
LIFRIM1	-	-	5.460
TOTAL Deduction =10.920Sq.M			
Net BuiltUp Area =1245.193 Sq.M			

FLOOR PLAN CLUBHOUSE	SHEET NO 7/11

Proforma I : Area Statement

1. Area of plot (Minimum area of a, b, c to be considered)	19629.000
(a) As per ownership document (7/12, CTS extract)	19740.000
(b) as per TILR or City Survey measurement sheet	19740.000
(c) as per Demarcated drawing area	25200.616
LESS	-
2.Area not in possession	0.000
3. Area Proposed for development (out of 1-2)	19629.000
4.Deductions for	-
(a) Proposed D.P./ D.P. Road widening Area / Service Road / Highway widening	658.236
(b) Any D.P. Reservation area	0.000
(c) Green Belt	0.000
Total (a+b+c)	658.236
5.Balance area of plot (3-4)	18970.764
6. Amenity Space	0.000
(Applicable if (1) > 20000 sqmt	-
(Required -(a) Upto 20000 sqmt - Nil	-
(b) Above 20000 sqmt - (a) + 5% of Total area	0.000
7. Net Plot Area (5-6)	18970.764
8. Recreational Open Space	-
(a) If area (5) is more than 4000 sqmt - 10 % of (5) is required.	1897.076
Proposed____	1900.000
(b) If area is less than 4000 sqmt -Check -	-
i) If it is full number like 1,2,125,419,etc. As per 7.12 abstract or City Survey Number - No Recreational open space is required	-
ii) If it is subdivision like 1/2 ,2/5 , 125/1 419/1 etc.then recreational open space is required.	-
(A) 10 % Subject to minimum 200 sqmt	0.000
Proposed _____	1900.000
(B) Exemption to leave open space subject to availing basic F.S.I of 75 %	-
(C) Exemption to leave open space subject to payment of 10 % land value of land at (7) as per annual statement of rate.	-
Architect/ Licensed Engineer/ Supervisor name and signature	
Registration No. of Architect/ License no. of Licensed Engineer/ Supervisor: CA/2019/106930	

FOR, REGENCY NIRMAN LTD. ULHASNAGAR

Postal Address : flat No.2201, Regency Antilia,

A-Wing,Orchid,,Shahad,Kalyan,Thane-421103,Maharashtra,ULHASNAGAR

DESCRIPTION OF PROJECT :

Type of Proposal : Mixed
BUILDING ON S.NO. 67/1/2,67/1/3,68/6,68/7,68/8
VILLAGE-DAVDI, TALUKA-KALYAN, DIST-THANE

SITE ADDRESS :
S.NO. 67/1/2,67/1/3,68/6,68/7,68/8 VILLAGE-DAVDI,
TALUKA-KALYAN, DIST-THANE

Name Of Architect : Tejas Anil Nirgude

LOGO	ADDRESS OF OFFICE
	OFFICE - 5TH FLOOR, MIDTOWN EMBASSY, BEHIND VASANT VALLEY BUS DEPOT, OPP. NARAYANI SCHOOL, GANDHARE, KALYAN - 421301
OWNERS SIGN -	TECHNICAL PERSON SIGN TEJAS ANIL NIRGUDE Digitally signed by TEJAS ANIL NIRGUDE Date: 2026.03.05 15:21:16 +05'30'

JOB NO. 961	SCALE -	DATE: 06/03/26	
	JOB NO - KDMCC-25-136618	CHECK BY - ANIL	

SUBMISSION DRAWING

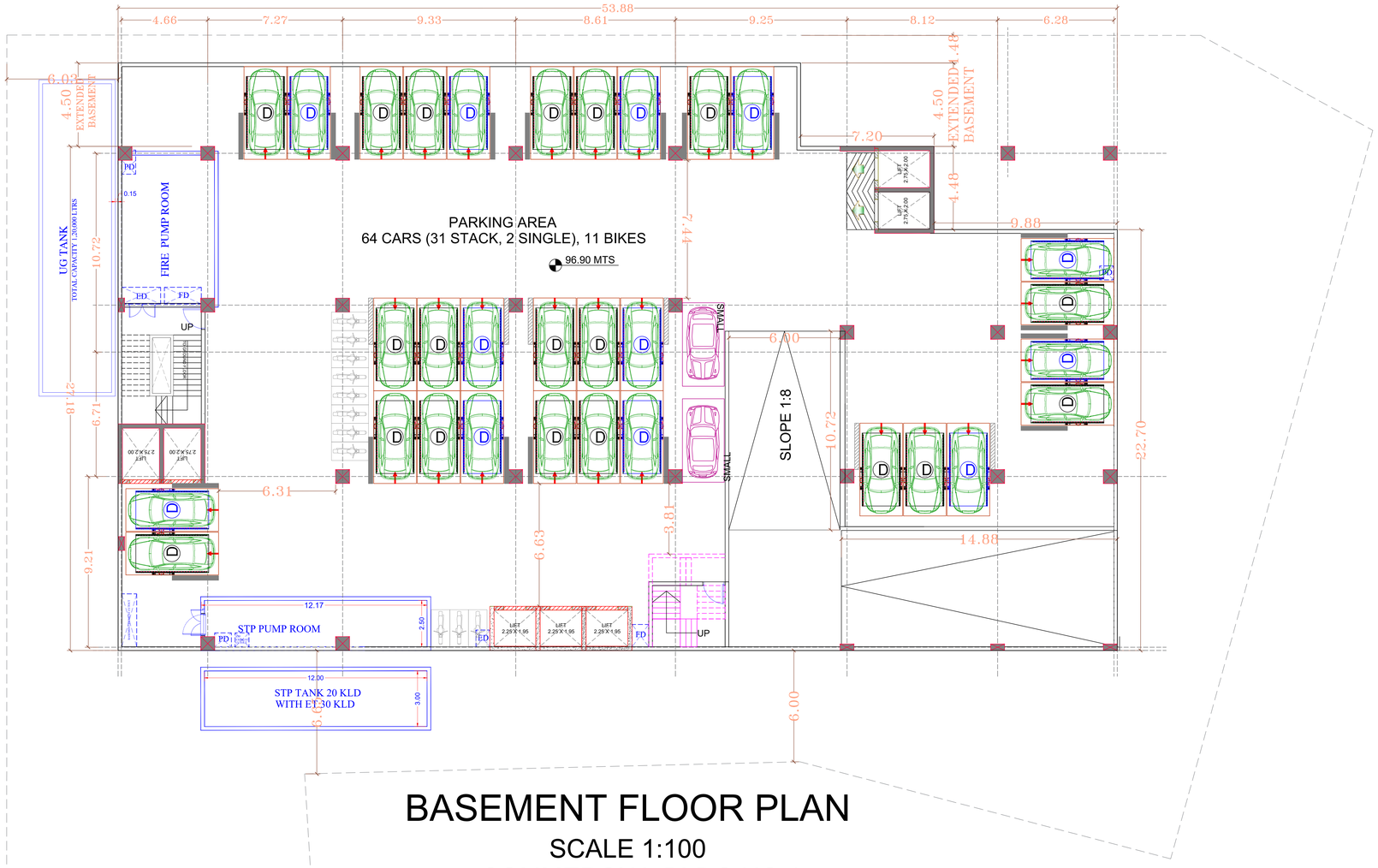

BASEMENT FLOOR PLAN

SCALE 1:100

COMMERCIAL BLDG.NO.1

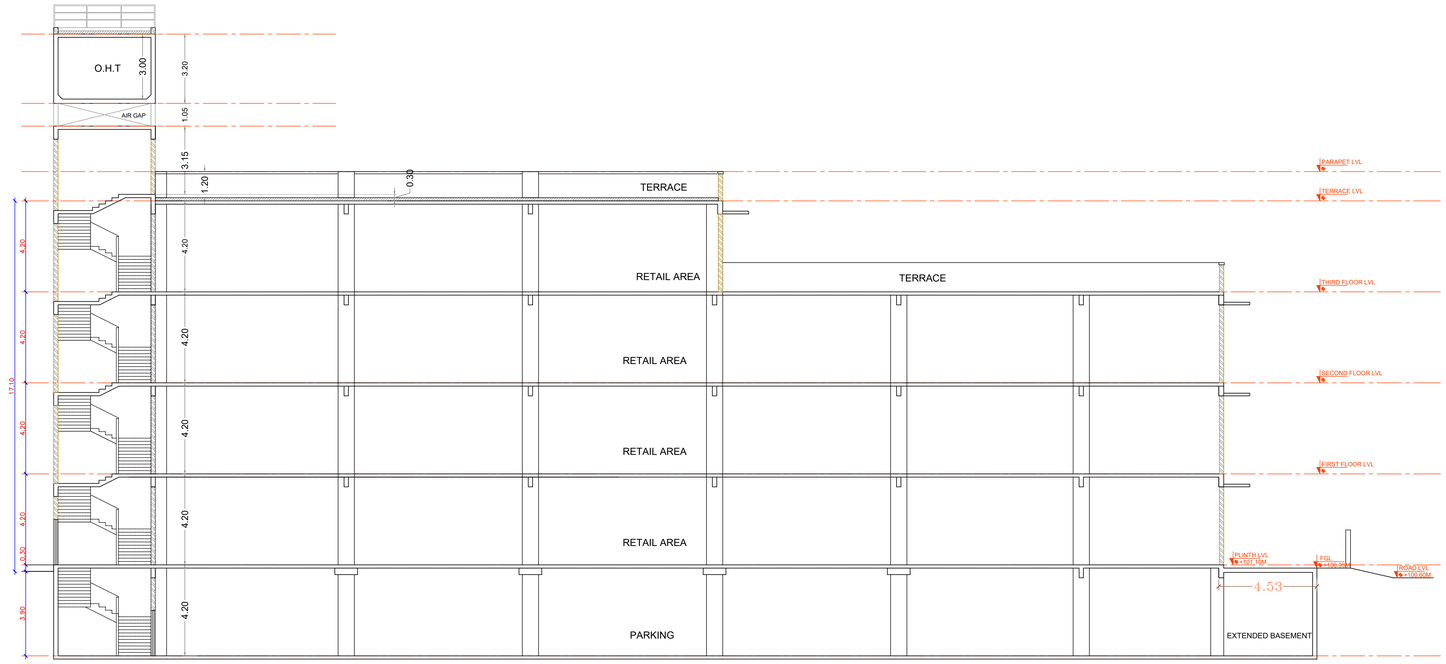

SECTION A-A

SCALE 1:200

FLOOR PLAN COM. BLDG. 1 | SHEET NO 8/11

Proforma I : Area Statement

1. Area of plot (Minimum area of a, b, c to be considered)	19629.000
(a) As per ownership document (7/12, CTS extract)	19740.000
(b) as per TILR or City Survey measurement sheet	19740.000
(c) as per Demarcated drawing area	25200.616
LESS	
2.Area not in possession	0.000
3. Area Proposed for development (out of 1-2)	19629.000
4.Deductions for	-
(a) Proposed D.P./ D.P. Road widening Area / Service Road / Highway widening	658.236
(b) Any D.P. Reservation area	0.000
(c) Green Belt	0.000
Total (a+b+c)	658.236
5.Balance area of plot (3-4)	18970.764
6. Amenity Space	0.000
(Applicable if (1) > 20000 sqmt	-
(Required -(a) Upto 20000 sqmt - Nil	-
(b) Above 20000 sqmt - (a) + 5% of Total area	0.000
7. Net Plot Area (5-6)	18970.764
8. Recreational Open Space	-
(a) If area (5) is more than 4000 sqmt - 10 % of (5) is required.	1897.076
Proposed___	1900.000
(b) If area is less than 4000 sqmt -Check -	-
i) If it is full number like 1,2,125,419,etc. As per 7.12 abstract or City Survey Number - No Recreational open space is required	-
ii) If it is subdivision like 1/2 2/5 , 125/1 419/1 etc.then recreational open space is required.	-
(A) 10 % Subject to minimum 200 sqmt	0.000
Proposed _____	1900.000
(B) Exemption to leave open space subject to availing basic F.S.I of 75 %	-
(C) Exemption to leave open space subject to payment of 10 % land value of land at (7) as per annual statement of rate.	-
Architect/ Licensed Engineer/ Supervisor name and signature	
Registration No. of Architect/ License no. of Licensed Engineer/ Supervisor: CA/2019/106930	

FOR. REGENCY NIRMAN LTD. ULHASNAGAR

Postal Address : flat No.2201, Regency Antilia,

A-Wing,Orchid,,Shahad,Kalyan,Thane-421103,Maharashtra,ULHASNAGAR

DESCRIPTION OF PROJECT :

Type of Proposal : Mixed
BUILDING ON S.NO. 67/1/2,67/1/3,68/6,68/7,68/8
VILLAGE-DAVDI, TALUKA-KALYAN, DIST-THANE

SITE ADDRESS :
S.NO. 67/1/2,67/1/3,68/6,68/7,68/8 VILLAGE-DAVDI,
TALUKA-KALYAN, DIST-THANE

Name Of Architect : Tejas Anil Nirgude

LOGO	ADDRESS OF OFFICE
	OFFICE - 5TH FLOOR, MIDTOWN EMBASSY, BEHIND VASANT VALLEY BUS DEPOT, OPP. NARAYANA SCHOOL, GANDHARE, KALYAN - 421301

OWNERS SIGN -	TECHNICAL PERSON SIGN
	TEJAS ANIL NIRGUDE Digitally signed by TEJAS ANIL NIRGUDE Date: 2026.03.07 15:21:06 +05'30'

JOB NO. 961	SCALE -	DATE: 06/03/26
	JOB NO - KDMCC-25-136618	CHECK BY - ANIL

SUBMISSION DRAWING

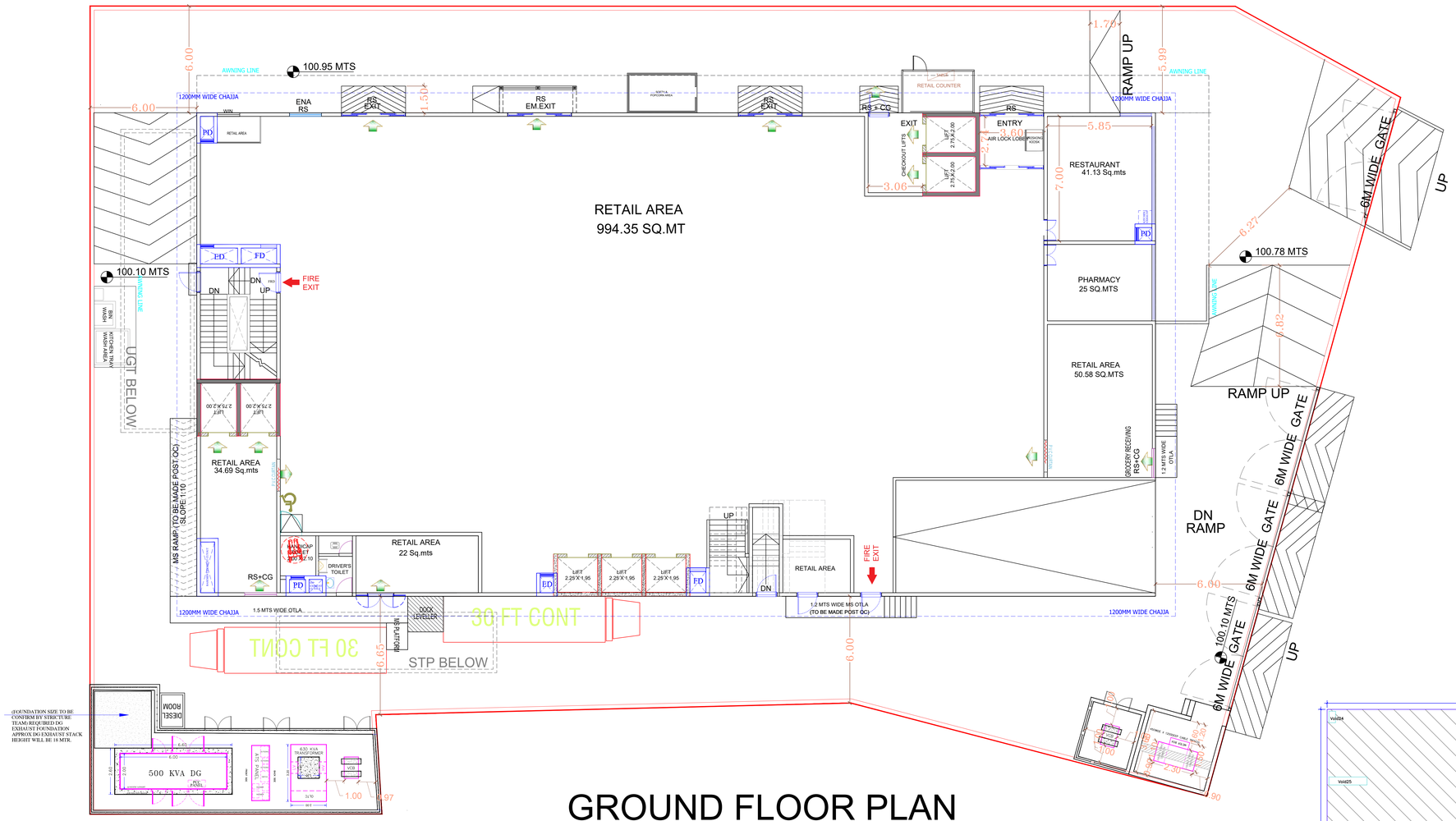

GROUND FLOOR PLAN

SCALE 1:100

COMMERCIAL BLDG.NO.1

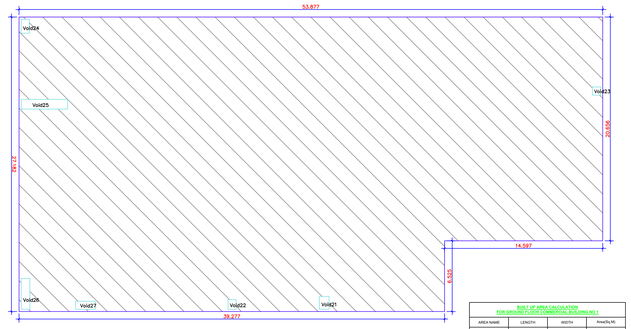

AREA DIAGRAM
GROUND FLOOR
(COMMERCIAL BUILDING NO 1)
SCALE 1:200

BUILT UP AREA CALCULATION
FOR GROUND FLOOR COMMERCIAL BUILDING NO 1

AREA NAME	LENGTH	WIDTH	Area(Sq.M)
BLOCK	53.877	27.182	1465.190
		BLOCK AREA TOTAL =1465.190Sq.M	
Void27	-	-	1.349
Void26	-	-	2.282
Void25	-	-	3.858
Void24	-	-	0.973
Void23	-	-	0.063
Void22	-	-	0.675
Void21	-	-	1.680
		TOTAL Deduction =10.910Sq.M	
		Net BuiltUp Area =1454.271 Sq.M	

FLOOR PLAN COM. BLDG. 1 | SHEET NO 9/11

Proforma 1 : Area Statement	
1. Area of plot (Minimum area of a, b, c to be considered)	19629.000
(a) As per ownership document (7/12, CTS extract)	19740.000
(b) as per TILR or City Survey measurement sheet	19740.000
(c) as per Demarcated drawing area	25200.616
LESS	-
2.Area not in possession	0.000
3. Area Proposed for development (out of 1-2)	19629.000
4.Deductions for	-
(a) Proposed D.P./ D.P. Road widening Area / Service Road / Highway widening	658.236
(b) Any D.P. Reservation area	0.000
(c) Green Belt	0.000
Total (a+b+c)	658.236
5.Balance area of plot (3-4)	18970.764
6. Amenity Space	0.000
(Applicable if (1) > 20000 sqmt	-
(Required -(a) Upto 20000 sqmt - Nil	-
(b) Above 20000 sqmt - (a) + 5% of Total area	0.000
7. Net Plot Area (5-6)	18970.764
8. Recreational Open Space	-
(a) If area (5) is more than 4000 sqmt - 10 % of (5) is required.	1897.076
Proposed____	1900.000
(b) If area is less than 4000 sqmt -Check -	-
i) If it is full number like 1,2,125,419,etc. As per 7.12 abstract or City Survey Number - No Recreational open space is required	-
ii) If it is subdivision like 1/2 ,2/5 , 125/1 419/1 etc.then recreational open space is required.	-
(A) 10 % Subject to minimum 200 sqmt	0.000
Proposed _____	1900.000
(B) Exemption to leave open space subject to availing basic F.S.I of 75 %	-
(C) Exemption to leave open space subject to payment of 10 % land value of land at (7) as per annual statement of rate.	-
Architect/ Licensed Engineer/ Supervisor name and signature	
Registration No. of Architect/ License no. of Licensed Engineer/ Supervisor: CA/2019/106930	

FOR. REGENCY NIRMAN LTD. ULHASNAGAR

Postal Address : flat No.2201, Regency Antilia,

A-Wing,Orchid_Shahad,Kalyan,Thane-421103,Maharashtra,ULHASNAGAR

DESCRIPTION OF PROJECT :

Type of Proposal : Mixed
BUILDING ON S.NO: 67/1\2,67/1\3,68/6,68/7,68/8
VILLAGE-DAVDI, TALUKA-KALYAN, DIST-THANE

SITE ADDRESS :
S.NO: 67/1\2,67/1\3,68/6,68/7,68/8 VILLAGE-DAVDI,
TALUKA-KALYAN, DIST-THANE

Name Of Architect : Tejas Anil Nirgude

LOGO

ADDRESS OF OFFICE
OFFICE :
5TH FLOOR, MIDTOWN EMBASSY, BEHIND VASANT VALLEY BUS DEPOT, OPP. NARAYANA SCHOOL, GANDHARE, KALYAN - 421301

OWNERS SIGN -

TECHNICAL PERSON SIGN
TEJAS ANIL NIRGUDE
Digitally signed by TEJAS ANIL NIRGUDE
Date: 2026.03.06 15:21:00 +05'30'

JOB NO. 961	SCALE -	DATE: 06/03/26
	JOB NO - KDMCC-25-136618	CHECK BY - ANIL

SUBMISSION DRAWING

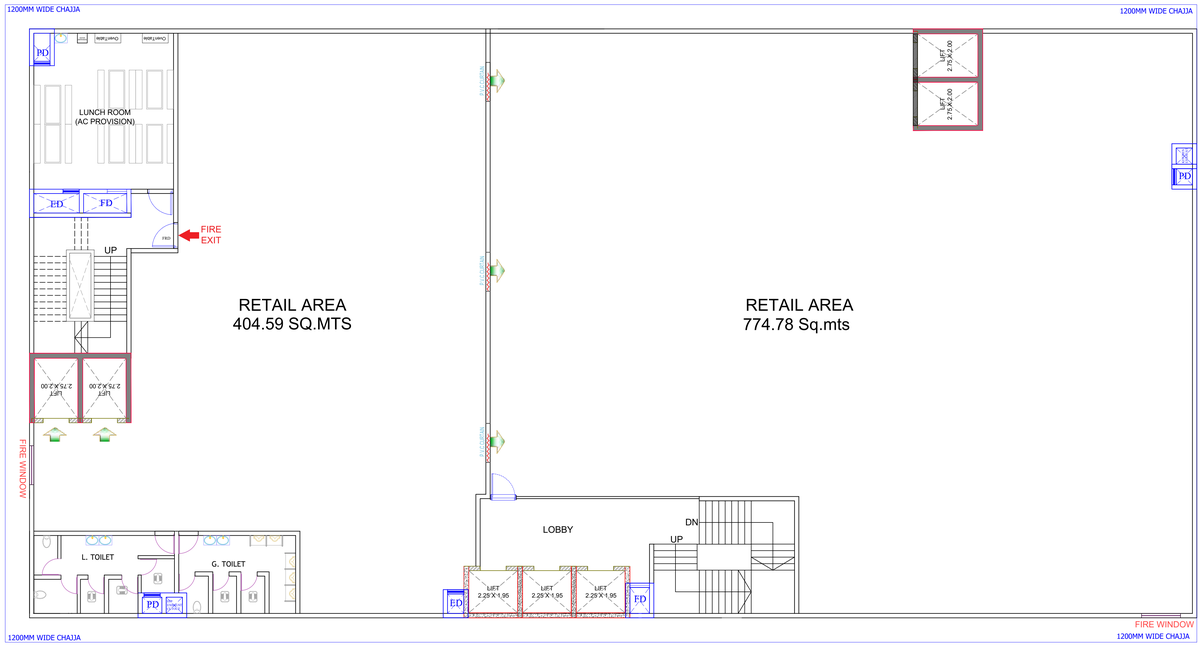

SECOND FLOOR PLAN

SCALE 1:100
COMMERCIAL BLDG.NO.1

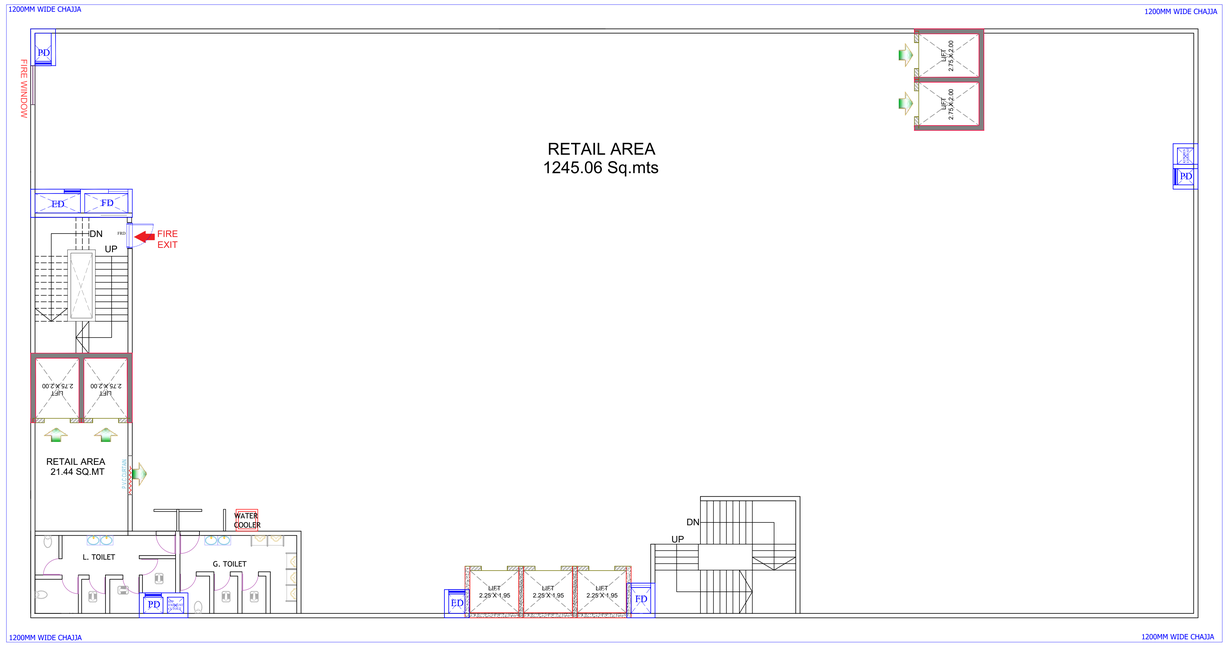

FIRST FLOOR PLAN

SCALE 1:100
COMMERCIAL BLDG.NO.1

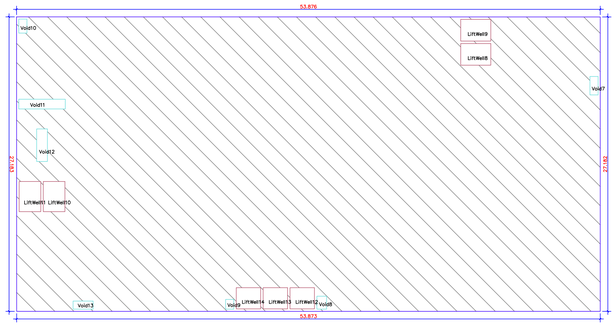

AREA DIAGRAM
2ND FLOOR
(COMMERCIAL BUILDING NO 1)
SCALE 1:200

BUILT UP AREA CALCULATION
FOR 2ND FLOOR COMMERCIAL BUILDING NO.1

AREA NAME	LENGTH	WIDTH	Area(Sq.M)
BLOCK	53.876	27.183	1464.443
		BLOCK AREA TOTAL =1464.443Sq.M	
Void13	-	-	1.388
Void12	-	-	2.961
Void11	-	-	3.658
Void10	-	-	0.973
Void9	-	-	0.675
Void8	-	-	1.080
Void7	-	-	1.275
LIftWell14	-	-	4.384
LIftWell13	-	-	4.384
LIftWell12	-	-	4.391
LIftWell11	-	-	5.560
LIftWell10	-	-	5.560
LIftWell9	-	-	5.560
LIftWell8	-	-	5.560
		TOTAL Deduction =47.609Sq.M	
		Net BuiltUp Area =1416.834 Sq.M	

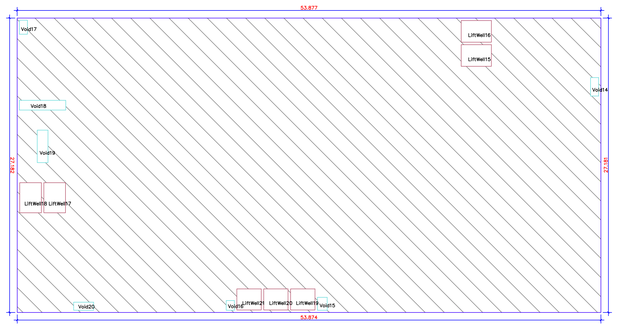

AREA DIAGRAM
1ST FLOOR
(COMMERCIAL BUILDING NO 1)
SCALE 1:200

BUILT UP AREA CALCULATION
FOR 1ST FLOOR COMMERCIAL BUILDING NO.1

AREA NAME	LENGTH	WIDTH	Area(Sq.M)
BLOCK	53.877	27.182	1464.439
		BLOCK AREA TOTAL =1464.439Sq.M	
Void20	-	-	1.388
Void19	-	-	2.961
Void18	-	-	3.658
Void17	-	-	0.973
Void16	-	-	0.675
Void15	-	-	1.080
Void14	-	-	1.275
LIftWell21	-	-	4.384
LIftWell20	-	-	4.384
LIftWell19	-	-	4.391
LIftWell18	-	-	5.560
LIftWell17	-	-	5.560
LIftWell16	-	-	5.560
LIftWell15	-	-	5.560
		TOTAL Deduction =47.609Sq.M	
		Net BuiltUp Area =1416.831 Sq.M	

Proposed for Revised / Approved on ____ ____

FLOOR PLAN COM. BLDG. 1	SHEET NO 10/11

Proforma I : Area Statement

1. Area of plot (Minimum area of a, b, c to be considered)	19629.000
(a) As per ownership document (7/12, CTS extract)	19740.000
(b) as per TILR or City Survey measurement sheet	19740.000
(c) as per Demarcated drawing area	25200.616
LESS	-
2.Area not in possession	0.000
3. Area Proposed for development (out of 1-2)	19629.000
4.Deductions for	-
(a) Proposed D.P./ D.P. Road widening Area / Service Road / Highway widening	658.236
(b) Any D.P. Reservation area	0.000
(c) Green Belt	0.000
Total (a+b+c)	658.236
5.Balance area of plot (3-4)	18970.764
6. Amenity Space	0.000
(Applicable if (1) > 20000 sqmt	-
(Required -(a) Upto 20000 sqmt - Nil	-
(b) Above 20000 sqmt - (a) + 5% of Total area	0.000
7. Net Plot Area (5-6)	18970.764
8. Recreational Open Space	-
(a) If area (5) is more than 4000 sqmt - 10 % of (5) is required.	1897.076
Proposed____	1900.000
(b) If area is less than 4000 sqmt -Check -	-
i) If it is full number like 1,2,125,419,etc. As per 7.12 abstract or City Survey Number - No Recreational open space is required	-
ii) If it is subdivision like 1/2 ,2/5 , 125/1 419/1 etc.then recreational open space is required.	-
(A) 10 % Subject to minimum 200 sqmt	0.000
Proposed _____	1900.000
(B) Exemption to leave open space subject to availing basic F.S.I of 75 %	-
(C) Exemption to leave open space subject to payment of 10 % land value of land at (7) as per annual statement of rate.	-
Architect/ Licensed Engineer/ Supervisor name and signature	
Registration No. of Architect/ License no. of Licensed Engineer/ Supervisor: CA/2019/106930	

FOR. REGENCY NIRMAN LTD. ULHASNAGAR

Postal Address : flat No.2201, Regency Antilia,

A-Wing,Orchid,,Shahad,Kalyan,Thane-421103,Maharashtra,ULHASNAGAR

DESCRIPTION OF PROJECT :

Type of Proposal : Mixed
BUILDING ON S.NO: 67/1/2,67/1/3,68/6,68/7,68/8
VILLAGE-DAVDI, TALUKA-KALYAN, DIST-THANE

SITE ADDRESS :
S.NO: 67/1/2,67/1/3,68/6,68/7,68/8 VILLAGE-DAVDI,
TALUKA-KALYAN, DIST-THANE

Name Of Architect : Tejas Anil Nirgude

LOGO	ADDRESS OF OFFICE
	OFFICE : 5TH FLOOR, MIDTOWN EMBASSY, BEHIND VASANT VALLEY BUS DEPOT, OPP. NARAYANA SCHOOL, GANDHARE, KALYAN - 421301

OWNERS SIGN -	TECHNICAL PERSON SIGN TEJAS ANIL NIRGUDE Digitally signed by TEJAS ANIL NIRGUDE Date: 2026.03.07 19:21:34 +05'30'

JOB NO. 961	SCALE -	DATE: 06/03/26
	JOB NO - KDMCC-25-136618	CHECK BY - ANIL

SUBMISSION DRAWING

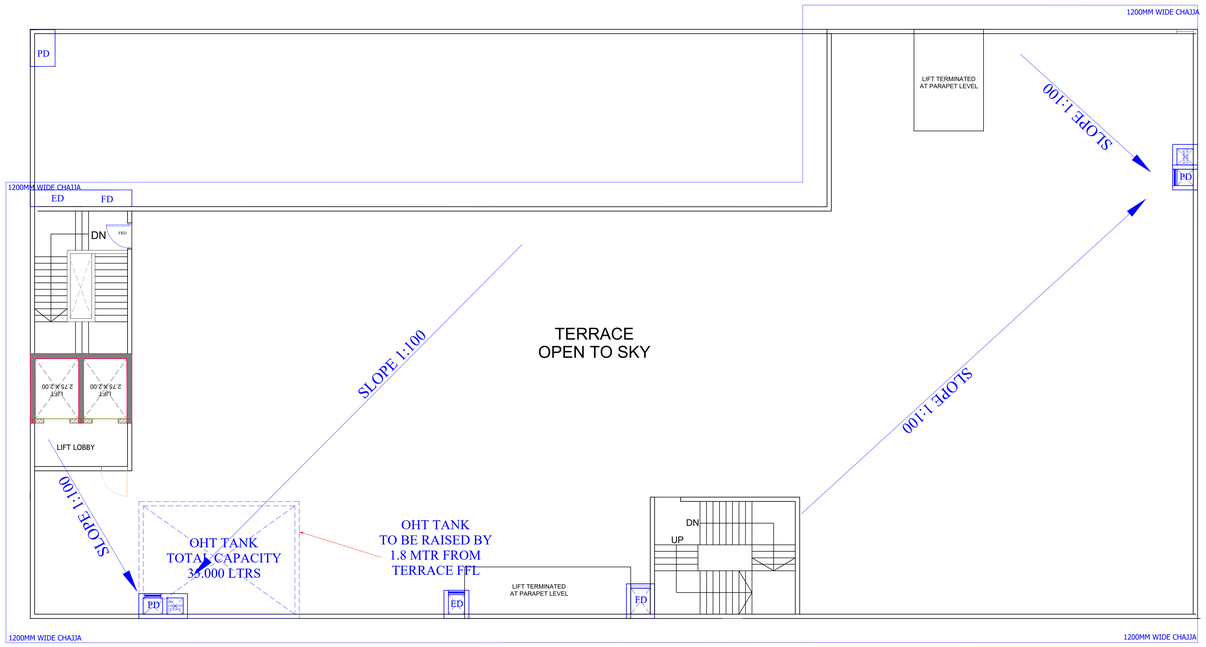

TERRACE PLAN

SCALE 1:100
COMMERCIAL BLDG.NO.1

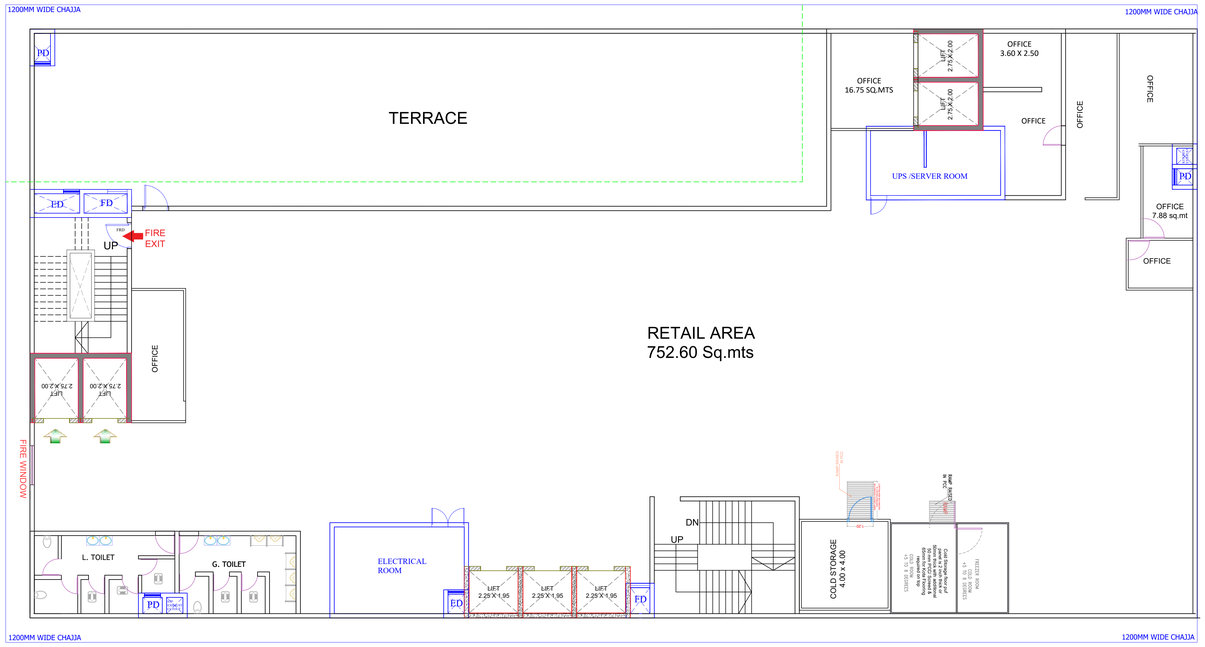

THIRD FLOOR PLAN

SCALE 1:100
COMMERCIAL BLDG.NO.1

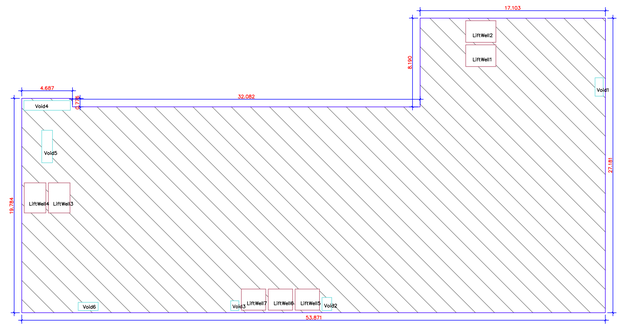

AREA DIAGRAM
3RD FLOOR
(COMMERCIAL BUILDING NO 1)
SCALE 1:200

FOR 3RD FLOOR COMMERCIAL BUILDING NO 1			
AREA NAME	LENGTH	WIDTH	Area(Sq.M)
BLOCK	53.872	27.190	1467.384
BLOCK AREA TOTAL =1467.384Sq.M			
Void8	-	-	1.588
Void9	-	-	2.961
Void4	-	-	3.608
Void3	-	-	0.675
Void2	-	-	1.080
Void1	-	-	1.275
LiftWell7	-	-	4.284
LiftWell6	-	-	4.284
LiftWell5	-	-	4.391
LiftWell4	-	-	5.560
LiftWell3	-	-	5.560
LiftWell2	-	-	5.560
LiftWell1	-	-	5.560
TOTAL Deduction =40.0265Sq.M			
Net Built Up Area =1426.746 Sq.M			

FLOOR PLAN COM. BLDG. 1	SHEET NO 11/11

Proforma I : Area Statement

1. Area of plot (Minimum area of a, b, c to be considered)	19629.000
(a) As per ownership document (7/12, CTS extract)	19740.000
(b) as per TILR or City Survey measurement sheet	19740.000
(c) as per Demarcated drawing area	25200.616
LESS	-
2.Area not in possession	0.000
3. Area Proposed for development (out of 1-2)	19629.000
4.Deductions for	-
(a) Proposed D.P./ D.P. Road widening Area / Service Road / Highway widening	658.236
(b) Any D.P. Reservation area	0.000
(c) Green Belt	0.000
Total (a+b+c)	658.236
5.Balance area of plot (3-4)	18970.764
6. Amenity Space	0.000
(Applicable if (1) > 20000 sqmt	-
(Required -(a) Upto 20000 sqmt - Nil	-
(b) Above 20000 sqmt - (a) + 5% of Total area	0.000
7. Net Plot Area (5-6)	18970.764
8. Recreational Open Space	-
(a). If area (5) is more than 4000 sqmt - 10 % of (5) is required.	1897.076
Proposed___	1900.000
(b) If area is less than 4000 sqmt -Check -	-
i) If it is full number like 1,2,125,419,etc. As per 7.12 abstract or City Survey Number - No Recreational open space is required	-
ii) If it is subdivision like 1/2 ,2/5 , 125/1 419/1 etc.then recreational open space is required.	-
(A) 10 % Subject to minimum 200 sqmt	0.000
Proposed ___	1900.000
(B) Exemption to leave open space subject to availing basic F.S.I of 75 %	-
(C) Exemption to leave open space subject to payment of 10 % land value of land at (7) as per annual statement of rate.	-
Architect/ Licensed Engineer/ Supervisor name and signature	
Registration No. of Architect/ License no. of Licensed Engineer/ Supervisor: CA/2019/100930	

FOR. REGENCY NIRMAN LTD. ULHASNAGAR

Postal Address : flat No.2201, Regency Antilia,

A-Wing,Orchid.,Shahad,Kalyan,Thane-421103,Maharashtra,ULHASNAGAR

DESCRIPTION OF PROJECT :

Type of Proposal : Mixed
BUILDING ON S.NO. 67/1/2,67/1/3,68/6,68/7,68/8
VILLAGE-DAVDI, TALUKA-KALYAN, DIST-THANE

SITE ADDRESS :
S.NO. 67/1/2,67/1/3,68/6,68/7,68/8 VILLAGE-DAVDI,
TALUKA-KALYAN, DIST-THANE

Name Of Architect : Tejas Anil Nirgude

LOGO	ADDRESS OF OFFICE
	OFFICE - 5TH FLOOR, MIDTOWN EMBASSY, BEHIND VASANT VALLEY BUS DEPOT, OPP. NARAYANA SCHOOL, GANDHARE, KALYAN - 421301

OWNERS SIGN -	TECHNICAL PERSON SIGN
	TEJAS ANIL NIRGUDE Digitally signed by TEJAS ANIL NIRGUDE Date: 2026.03.05 15:21:56 +05'30'

JOB NO. 061	SCALE -	DATE: 06/03/26
	JOB NO - KDMCC-25-136618	CHECK BY - ANIL

SUBMISSION DRAWING