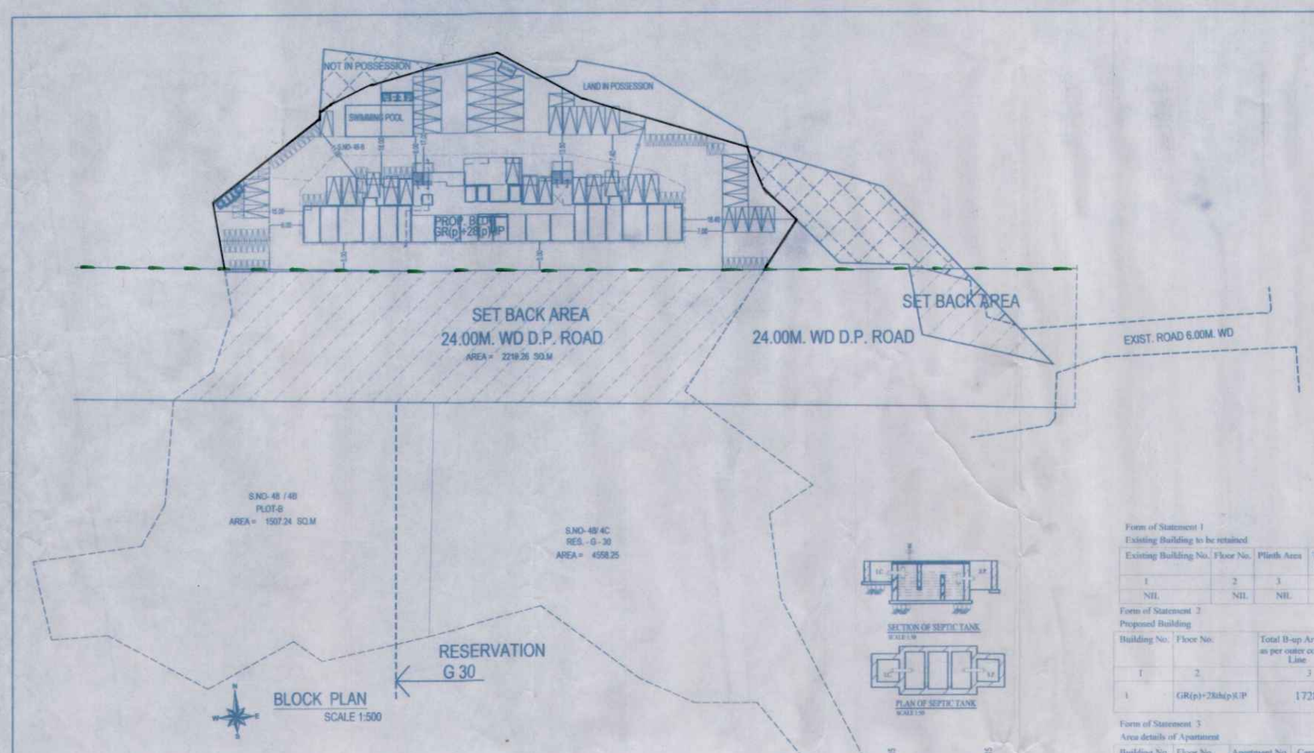

BLOCK PLAN
SCALE 1:500

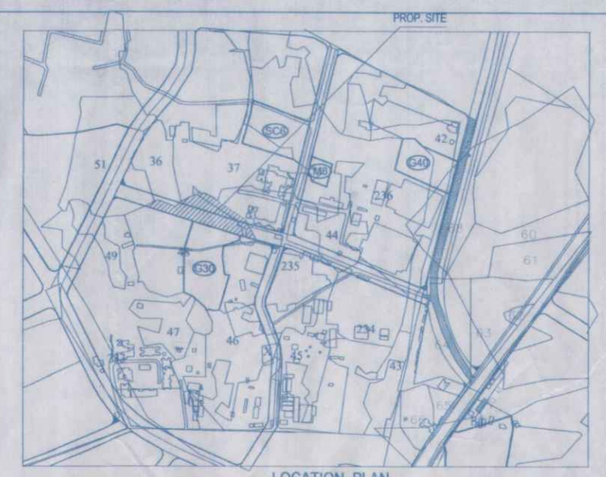

LOCATION PLAN

SECTION OF SEPTIC TANK
SCALE 1:50

PLAN OF SEPTIC TANK
SCALE 1:50

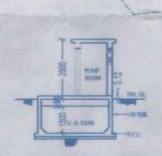

SECTION THROUGH
UNDER GROUND TANK
SCALE 1:50

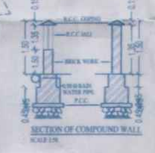

SECTION OF COMPOUND WALL
SCALE 1:50

Form of Statement 1
Existing Building to be retained

Existing Building No.	Floor No.	Plinth Area	Total Floor Area of Existing Existing Building Use	Occupancy of Floors
1	2	3	4	5
NIL	NIL	NIL	NIL	NIL

Form of Statement 2
Proposed Building

Building No.	Floor No.	Total B-up Area of floor as per outer construction Line
1	2	3
1	GR(p)+28th(p)UP	17288.09

Form of Statement 3
Area details of Apartment

Building No.	Floor No.	Apartment No.	Carpet area of apartment	Area of Bal. attached to Apart.	Area of Double height terraces area had as flat
1	2	3	4	5	6
1	GR(p) 28th(p)UP	20 SHOPS 270 FLATS	COMM 356.90 RESI 8023.50 TOTAL 8380.40	2267.19	25.04

SUMMARY

FLOOR	BUILT-UP AREA IN SQ.MT
GR. FLR	552.68
1st FLR	607.59
TERRACE TAKEN TO FSI	25.04
2nd FLR	607.59
3rd FLR	607.59
4thFLR	607.59
5th FLR	607.59
6th FLR	607.59
7th FLR	607.59
8th FLR	607.59
9th FLR	607.59
10th FLR	607.59
11th FLR	607.59
12th FLR	607.59
13th FLR	607.59
14th FLR	607.59
15th FLR	607.59
16th FLR	607.59
17th FLR	607.59
18th FLR	607.59
19th FLR	607.59
20th FLR	607.59
21st FLR	607.59
22nd FLR	607.59
23rd FLR	607.59
24th FLR	607.59
25th FLR	607.59
26th FLR	607.59
27th FLR	607.59
TERRACE FLR	305.44
TOTAL AREA	17288.09

PARKING AREA STATEMENT

RESI.AREA	REQUIRED NOS OF PARKING CAR. PARKING	TWO WHEELERS	PROP. FLAT	PROPOSED NOS OF PARKING CAR. PARKING	TWO WHEELERS
For every two basements with each tenement having carpet area less than 30 Sq.m	0 NOS	4 NOS	192.00 NOS	NIL	324 NOS
For every two basements with each tenement having carpet area less than 60 Sq.m. but more than 30 sq.m.	1 NOS	2 NOS	106.00 NOS	54.00 NOS	106.00 NOS
For every two basements with each tenement having carpet area equal to or above 40 sq.m. but less than 60 sq.m.	1 NOS	5 NOS	NIL	NIL	NIL
For every tenement having carpet area equal to or above 60 sq.m. but less than 150 sq.m.	1 NOS	2 NOS	—	—	—
For every 100 sq.m. carpet area or fraction thereof	2 NOS	6 NOS	358.90	7.14 NOS	21.41 NOS
visitor parking (5%)				3.06 NOS	22.67 NOS
TOTAL			270 NOS		
TOTAL PARKING REQUIRED				64.20 NOS	476.08 NOS
			60% OF	51.36 NOS.	380.86 NOS
TOTAL PARKING PROVIDED 301.86 CAR CONVERTED TO SCOOTER 301.86 /6 CARS =50.31				51.36 NOS. 50.31 NOS. TOTAL 101.67 NOS	103 NOS. 78.00 NOS

FIRE / HQ / KDMC / OW / 2021 / 405 DATE : 07 / 06/ 2021

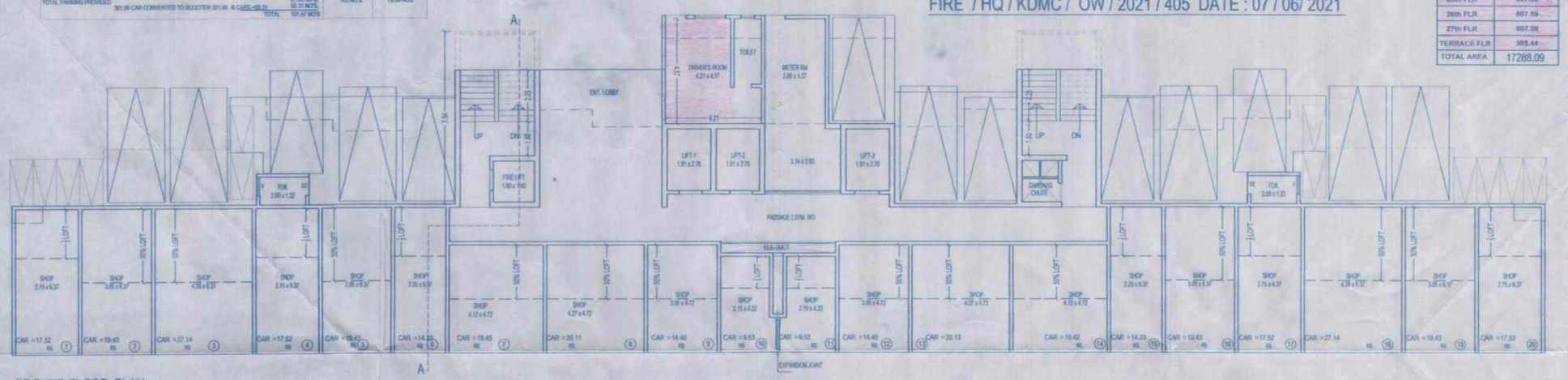

GROUND FLOOR PLAN
SCALE 1:100

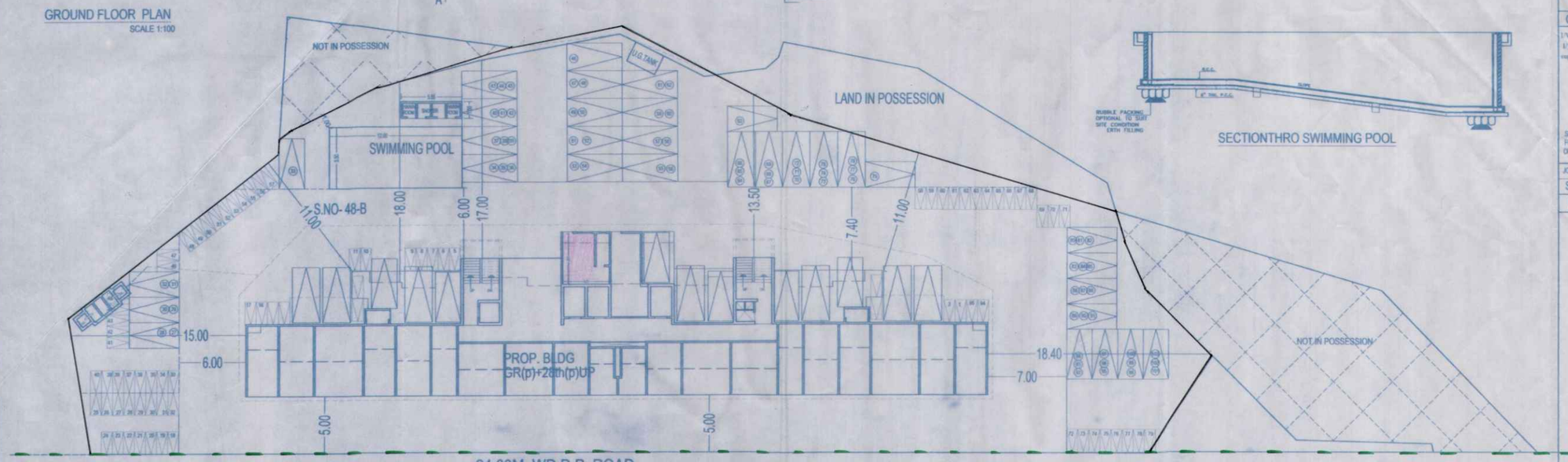

LAYOUT PLAN
SCALE 1:200

SECTIONTHRO SWIMMING POOL

DESCRIPTION OF PROPOSAL & PROPERTY 3/1

PROPOSED COMM. CUM RESI. BUILDING ON PLOT BEARING S.NO. 48, H.No. 4(B) & 4 (C) S.NO. 235 H.NO-1 MOUJE -BHOPAR, TAL-KALYAN DIST.-THANE.

FOR : M/S.VENUS NIRVANA L.L.P
SHRI. SANJAY R. SINGH & OTHERS

STAMP OF APPROVAL OF PLAN

OFFICE OF THE KALYAN DOMBIVLI MUNICIPAL CORPORATION, KALYAN.
Building Permit No. :- KDMC/TPD/BP/27 Village/2021-22/15/154
Date :- 28/06/2022
SANCTIONED

ASSISTANT DIRECTOR OF TOWN PLANNING
Kalyan-Dombivli Municipal Corporation

AREA STATEMENT

		SQ.MT
1 AREA OF PLOT		
(MINIMUM AREA OF A, B, C TO BE CONSIDERED)		
(A) AS PER OWNERSHIP DOCUMENT (7/12, CTS EXTRACT)	S.NO- 235-1 1400.00; S.NO- 48 / 4B 5070.00; S.NO- 48 / 4C 3850.00	11320.00
(B) AS PER MEASUREMENT SHEET (11320.00 - 431.25 (NOT IN POSSESSION))		10888.75
(C) AS PER SITE		10888.75
2. DEDUCTIONS FOR		
(A) PROPOSED D.P./ D.P. ROAD WIDENING AREA/SERVICE ROAD / HIGHWAY WIDENING	S.NO- 48/ 4B & S.NO- 48 / 4C	2219.26
(B) ANY D.P. RESERVATION AREA RES.- G-30; (B) ANY D.P. RESERVATION AREA	S.NO- 48 / 4B & S.NO- 48 / 4C	4558.25
(TOTAL A+B)		6777.51
3. BALANCE AREA OF PLOT (1-2)		4111.24
4. AMENITY SPACE (IF APPLICABLE)		
(A) REQUIRED -		
(B) ADJUSTMENT OF 3(B), IF ANY -		
(C) BALANCE PROPOSED -		
	PLOT A / PLOT B	
5. NET PLOT AREA (3-4 (C))	2604.00 / 1507.24	
6. RECREATIONAL OPEN SPACE (IF APPLICABLE)	NIL	
A) (A) REQUIRED -		
B) (B) PROPOSED -		
7. INTERNAL ROAD AREA	NIL	
8. PLOTABLE AREA (IF APPLICABLE)	NIL	
9. BUILT UP AREA WITH REFERENCE TO BASIC F.S.I. AS PER FRONT ROAD WIDTH (SR. NO. 5/BASIC FSI)	2604.00 x 1.10 = 2864.40	
10. ADDITION OF FSI ON PAYMENT OF PREMIUM		
(A)MAXIMUM PERMISSIBLE PREMIUM FSI - BASED ON ROAD WIDTH / TOD ZONE		
(B) PROPOSED FSI ON PAYMENT OF PREMIUM (2604.00 + 2913.50) 24.00M. D.P. ROAD AREA)	4823.26 x 0.50 = 2411.63 PAID 1725.00; PREMIUM AREA TAKEN 686.63	
11. IN-SITU FSI / TDR LOADING	NIL	
(A)IN-SITU AREA AGAINST D.P. ROAD [2.0 X SR. NO. 2 (A)] IF ANY 2219.26 x 2.05 = 4549.48		4549.48
(B)IN-SITU AREA AGAINST AMENITY SPACE IF HANDED OVER		NIL
[2.00 OR1.85 X SR. NO. 4 (B)AND /OR(C)]		NIL
(C)TDR AREA 4823.26 x 1.15 = 5546.75 - 4549.48 = 997.27		997.27
(D) TOTAL IN-SITU / TDR LOADING PROPOSED (11 (A)+(B)+(C))		
12. ADDITIONAL FSI AREA UNDER CHAPTER NO. 7		
13. TOTAL ENTITLEMENT OF FSI IN THE PROPOSAL		NIL
(A) [9 + 10(B)+11(D)] OR 12 WHICHEVER IS APPLICABLE		10822.78
(B) ANCILLARY AREA FSI UPTO 60% OR 80%WITH PAYMENT OF CHARGES 552.68 (1.80 x 80% = 345.64); 16735.42 (1.80 x 60% = 6225.78)	ANCILLARY AREA PAID 6571.42	
(C) TOTAL ENTITLEMENT (A+B)	5260.12; 1311.30; 17344.20	
14. MAXIMUM UTILIZATION LIMIT OF F.S.I. (BUILDING POTENTIAL) PERMISSIBLE AS PER ROAD WIDTH [AS PER REGULATION NO. 8.1 OR 8.2 OR 8.3 OR 8.4 AS APPLICABLE] X 1.8 OR 1.0		17344.20
15. TOTAL BUILT-UP AREA IN PROPOSAL (EXCLUDING AREA AT SR.NO.17 B)		
(A) EXISTING BUILT-UP AREA		NIL
(B) PROPOSED BUILT-UP AREA (AS PER 'P-LINE')		17288.09
(C) TOTAL (A+B)		17288.09
16. F.S.I. CONSUMED (15/E3) (SHOULD NOT BE MORE THAN SERIAL NO.14 ABOVE.)		1.60
17. AREA FOR INCLUSIVE HOUSING, IF ANY		NIL
(A) REQUIRED (20% OF SR.NO.5)		
(B) PROPOSED		

STRUCTURAL CERTIFICATE

The plans prepared by me are in accordance with the norms as specified by indian standard institute & I will be held responsible for any harm caused in earthquake due to negligence of the standards.

SHANTI CONSULTANTS
Structural Engineers-Arvind S. Patel
License No.-S.M.C.-STR/P/07,
T.M.C.-1086/SE/2015, K.D.M.C-478.
ENGINEERS SIGNATURE

CERTIFICATE OF AREA:

Certified that the plot under reference was surveyed by me on 12 - 01- 2021 and the dimensions of sides etc. of plot stated on plan are as measured on site and the area so worked out tallies with the area stated in document of Ownership/ T.P. Scheme Records/ Land Records Department/City Survey records.

Signature
(Name of Architect/Licensed Engineer/Supervisor)

OWNER'S DECLARATION –

I/We undersigned hereby confirm that I/We would abide by plans approved by Authority / Collector. I/We would execute the structure as per approved plans. Also I/We would execute the work under supervision of proper technical person so as to ensure the quality and safety at the work site.

For VENUS NIRVANA LLP
PARTNER
SHRI. SANJAY R. SINGH
FOR : M/S VENUS NIRVANA L.L.P
OFF-806, RUNWAL R SQUARE, L.B.S. MARG, MULUND (W)

JOB No.	DRG No.	SCALE	DRAWN BY	CHECKED BY	DATE
SN-84	1	AS STATED	KARTHIK		

NAME, ADDRESS & SIGNATURE OF ARCHITECT

STHAPATYA NIRMAÀN
Architects & Interior Designers
ARCHITECT: SHIRISH G. NACHANE
CA/99/24527.
STHAPATYA NIRMAAN
CIVIL & ARCHITECTURAL SERVICES
1ST FLOOR,KAILAS MANSION, NEAR ADITYA MANGRU, KARYALAYA, AGARKAR ROAD, DOMBIVALI (E).
204, 2nd FLOOR, JAGANNATH'S COMMERCE PLAZA, NEAR GODREJ SHOWROOM,MANPADA ROAD, DOMBIVLI (E.)

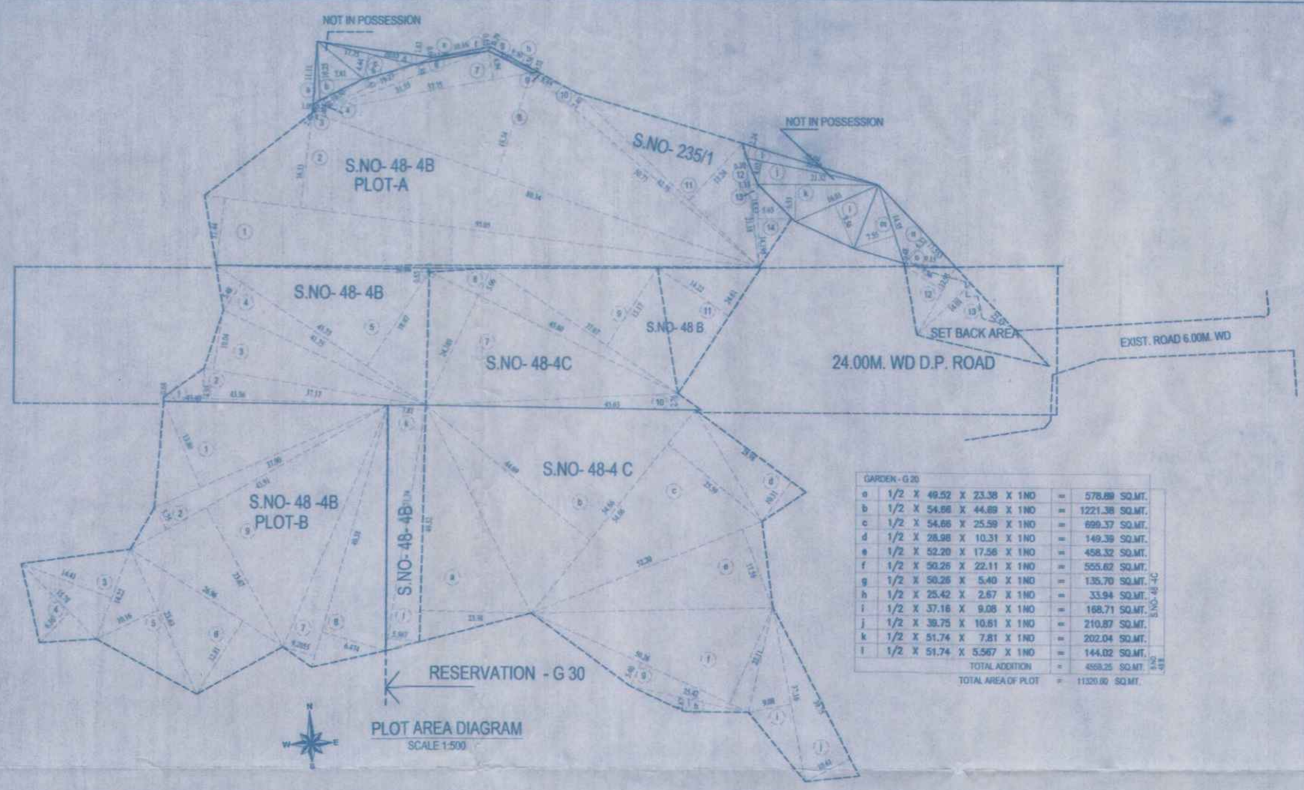

PLOT AREA DIAGRAM
SCALE 1:500

GARDEN - G 20							
a	1/2	X 49.52	X 23.38	X 1NO	=	578.889	SQ.MT.
b	1/2	X 54.66	X 44.69	X 1NO	=	1221.38	SQ.MT.
c	1/2	X 54.66	X 25.59	X 1NO	=	699.37	SQ.MT.
d	1/2	X 28.98	X 10.31	X 1NO	=	149.39	SQ.MT.
e	1/2	X 52.20	X 17.56	X 1NO	=	458.32	SQ.MT.
f	1/2	X 50.26	X 22.11	X 1NO	=	555.62	SQ.MT.
g	1/2	X 50.26	X 5.40	X 1NO	=	135.70	SQ.MT.
h	1/2	X 25.42	X 2.67	X 1NO	=	33.94	SQ.MT.
i	1/2	X 37.16	X 9.08	X 1NO	=	168.71	SQ.MT.
j	1/2	X 39.75	X 10.61	X 1NO	=	210.87	SQ.MT.
k	1/2	X 51.74	X 7.81	X 1NO	=	202.04	SQ.MT.
l	1/2	X 51.74	X 5.567	X 1NO	=	144.02	SQ.MT.
				TOTAL ADDITION	=	4559.25	SQ.MT.
				TOTAL AREA OF PLOT	=	11320.60	SQ.MT.

R.ZONE AREA (PLOT-A)						S.No-235/1 , S.NO-48 -4B & 48-4C	
1	1/2	X 95.05	X 11.44	X 1NO	=	543.69	SQ.MT.
2	1/2	X 95.05	X 16.33	X 1NO	=	776.08	SQ.MT.
3	1/2	X 2.40	X 0.56	X 1NO	=	0.67	SQ.MT.
4	1/2	X 10.30	X 1.08	X 1NO	=	5.56	SQ.MT.
5	1/2	X 19.27	X 1.61	X 1NO	=	15.51	SQ.MT.
6	1/2	X 31.55	X 1.88	X 1NO	=	29.66	SQ.MT.
7	1/2	X 37.75	X 4.94	X 1NO	=	93.24	SQ.MT.
8	1/2	X 80.34	X 18.34	X 1NO	=	736.72	SQ.MT.
9	1/2	X 8.44	X 0.55	X 1NO	=	2.32	SQ.MT.
10	1/2	X 50.77	X 2.40	X 1NO	=	60.92	SQ.MT.
11	1/2	X 42.75	X 13.24	X 1NO	=	283.01	SQ.MT.
12	1/2	X 21.18	X 0.39	X 1NO	=	4.13	SQ.MT.
13	1/2	X 18.63	X 1.33	X 1NO	=	12.39	SQ.MT.
14	1/2	X 14.195	X 5.65	X 1NO	=	40.10	SQ.MT.
				TOTAL ADDITION	=	2604.00	SQ.MT.

NOT IN POSSESSION						S.NO- 235/1	
a	1/2	X 11.11	X 1.09	X 1NO	=	6.05	SQ.MT.
b	1/2	X 10.25	X 7.81	X 1NO	=	40.03	SQ.MT.
c	1/2	X 17.75	X 4.44	X 1NO	=	39.41	SQ.MT.
d	1/2	X 20.65	X 1.63	X 1NO	=	16.83	SQ.MT.
e	1/2	X 13.08	X 0.60	X 1NO	=	3.92	SQ.MT.
f	1/2	X 10.16	X 0.65	X 1NO	=	3.30	SQ.MT.
g	1/2	X 9.50	X 0.79	X 1NO	=	3.75	SQ.MT.
h	1/2	X 9.47	X 0.56	X 1NO	=	2.65	SQ.MT.
i	1/2	X 25.04	X 2.24	X 1NO	=	28.04	SQ.MT.
j	1/2	X 23.69	X 4.02	X 1NO	=	47.62	SQ.MT.
k	1/2	X 21.32	X 6.55	X 1NO	=	69.82	SQ.MT.
l	1/2	X 16.01	X 8.56	X 1NO	=	68.52	SQ.MT.
m	1/2	X 14.55	X 7.55	X 1NO	=	54.93	SQ.MT.
n	1/2	X 13.981	X 6.32	X 1NO	=	44.18	SQ.MT.
o	1/2	X 9.15	X 0.48	X 1NO	=	2.20	SQ.MT.
				TOTAL ADDITION	=	431.25	SQ.MT.

24.00M. WD D.P. ROAD							
1	1/2	X 43.40	X 0.68	X 1NO	=	14.76	SQ.MT.
2	1/2	X 43.38	X 4.93	X 1NO	=	106.88	SQ.MT.
3	1/2	X 37.17	X 10.04	X 1NO	=	186.59	SQ.MT.
4	1/2	X 41.75	X 5.48	X 1NO	=	114.40	SQ.MT.
5	1/2	X 41.75	X 18.47	X 1NO	=	385.56	SQ.MT.
6	1/2	X 36.46	X 0.65	X 1NO	=	11.85	SQ.MT.
7	1/2	X 45.80	X 24.389	X 1NO	=	558.50	SQ.MT.
8	1/2	X 45.80	X 5.06	X 1NO	=	115.87	SQ.MT.
9	1/2	X 37.07	X 15.17	X 1NO	=	281.18	SQ.MT.
10	1/2	X 45.65	X 2.76	X 1NO	=	63.00	SQ.MT.
11	1/2	X 24.618	X 14.21	X 1NO	=	174.91	SQ.MT.
12	1/2	X 12.95	X 7.36	X 1NO	=	47.66	SQ.MT.
13	1/2	X 22.57	X 14.01	X 1NO	=	158.10	SQ.MT.
				TOTAL ADDITION	=	2219.26	SQ.MT.

"R" ZONE (PLOT-B)						S.NO-48-4B	
1	1/2	X 37.90	X 13.80	X 1NO	=	261.51	SQ.MT.
2	1/2	X 43.91	X 3.75	X 1NO	=	82.33	SQ.MT.
3	1/2	X 14.21	X 14.41	X 1NO	=	102.38	SQ.MT.
4	1/2	X 15.78	X 6.36	X 1NO	=	50.18	SQ.MT.
5	1/2	X 23.63	X 10.16	X 1NO	=	120.04	SQ.MT.
6	1/2	X 26.96	X 12.81	X 1NO	=	172.68	SQ.MT.
7	1/2	X 40.38	X 9.2055	X 1NO	=	185.86	SQ.MT.
8	1/2	X 40.38	X 6.474	X 1NO	=	130.71	SQ.MT.
9	1/2	X 43.91	X 23.67	X 1NO	=	419.87	SQ.MT.
				TOTAL ADDITION	=	1507.24	SQ.MT.

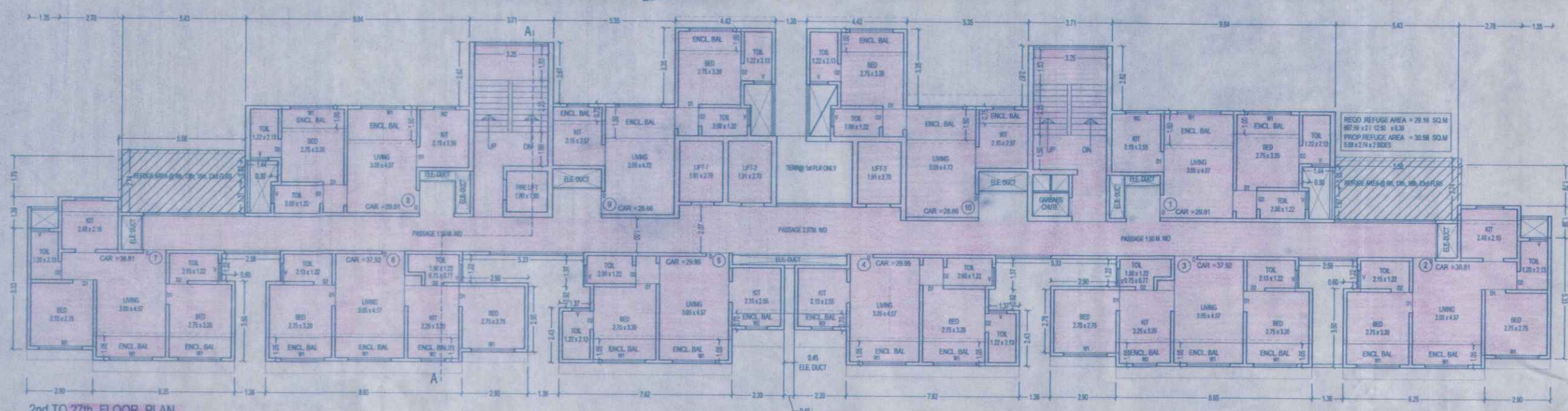

2nd TO 27th FLOOR PLAN
SCALE 1:100

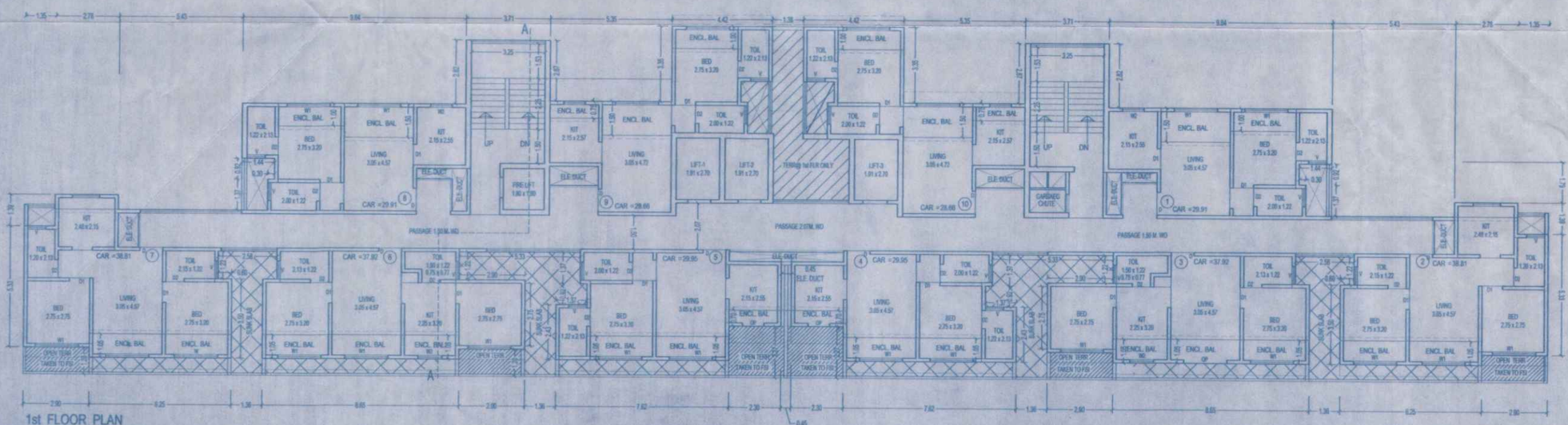

1st FLOOR PLAN
SCALE 1:100

DESCRIPTION OF PROPOSAL & PROPERTY 3/2

PROPOSED COMM. CUM RESI. BUILDING ON PLOT BEARING S.NO. 48, H.No. 4(B) & 4 (C) S.NO. 235 H.NO-1 MOUJE -BHOPAR, TAL-KALYAN DIST.-THANE.

FOR : M/S.VENUS NIRVANA L.L.P
SHRI. SANJAY R. SINGH & OTHERS

STAMP OF APPROVAL OF PLAN

OFFICE OF THE KALYAN DOMBIVLI MUNICIPAL CORPORATION, KALYAN.

Building Permit No. :- KDMC/TPD/BP/27Village/2021-22/15/154.

Date :- 28/06/2022.

SANCTIONED

ASSISTANT DIRECTOR OF TOWN PLANNING
Kalyan-Dombivli Municipal Corporation

STRUCTURAL CERTIFICATE

The plans prepared by me are in accordance with the norms as specified by indian standard institute & I will be held responsible for any harm caused in earthquake due to negligence of the standards.

SHANTI CONSULTANTS
Structural Engineers-Arvind S. Patel
License No.-B.M.C.-STR/P/87,
T.M.C.-1086/SE/2015, K.D.M.C-478

ENGINEERS SIGNATURE

NAME, ADDRESS & SIGNATURE OF OWNER

For VENUS NIRVANA LLP

PARTNER

SHRI. SANJAY R. SINGH
FOR M/S VENUS NIRVANA L.L.P
OFF 906, RUNWAL R SQUARE, L.B.S. MARG, MULUND (W)

JOB No.	DRG No.	SCALE	DRAWN BY	CHECKED BY	DATE
SN-84	1	AS STATED	KARTHIK		

NAME, ADDRESS & SIGNATURE OF ARCHITECT

STHAPATYA NIRMAAN
Architects & Interior Designers

ARCHITECT: SHIRISH G. NACHANE
CA/89/24627.

STHAPATYA NIRMAAN
CIVIL & ARCHITECTURAL SERVICES

1ST FLOOR KAILAS MANSION, NEAR ADITYA MANGAL KARYALAYA, AGARKAR ROAD, DOMBIVALI (E)
206, 2nd FLOOR, JAGANNATH'S COMMERCE PLAZA, NEAR GODREJ SHOWROOM,MANPADA ROAD, DOMBIVALI (E)

DESCRIPTION OF PROPOSAL & PROPERTY 3/3

PROPOSED COMM. CUM RESI. BUILDING ON PLOT BEARING S.NO. 48, H.No. 4(B) & 4 (C) S.NO. 235 H.NO-1 MOUJE -BHOPAR, TAL-KALYAN DIST.-THANE.

FOR : M/S.VENUS NIRVANA L.L.P
SHRI. SANJAY R. SINGH & OTHERS

STAMP OF APPROVAL OF PLAN

OFFICE OF THE KALYAN DOMBIVLI MUNICIPAL CORPORATION, KALYAN.

Building Permit No. :- KDMC/TPD/BP/27Village/2021-22/15/154.
Date :- 28/06/2022.

SANCTIONED

ASSISTANT DIRECTOR OF TOWN PLANNING
Kalyan-Dombivli Municipal Corporation

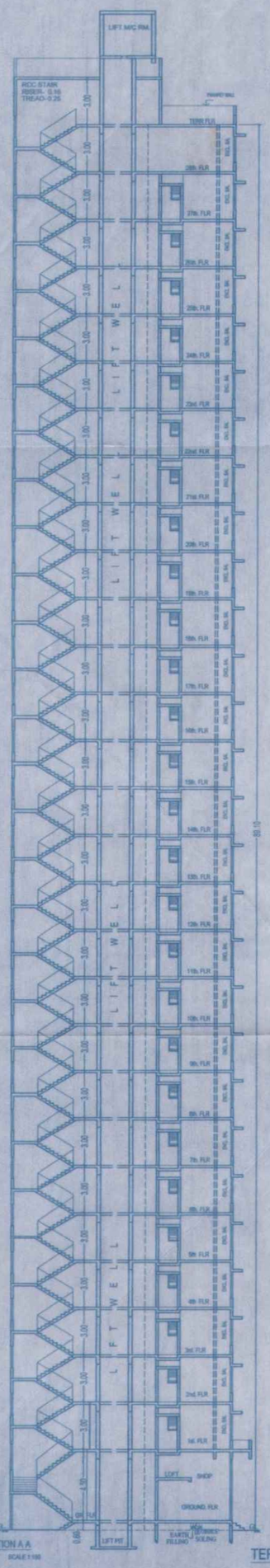

SECTION A A
SCALE 1:100

AREA DIAGRAM: GR. FLOOR
SCALE 1: 150

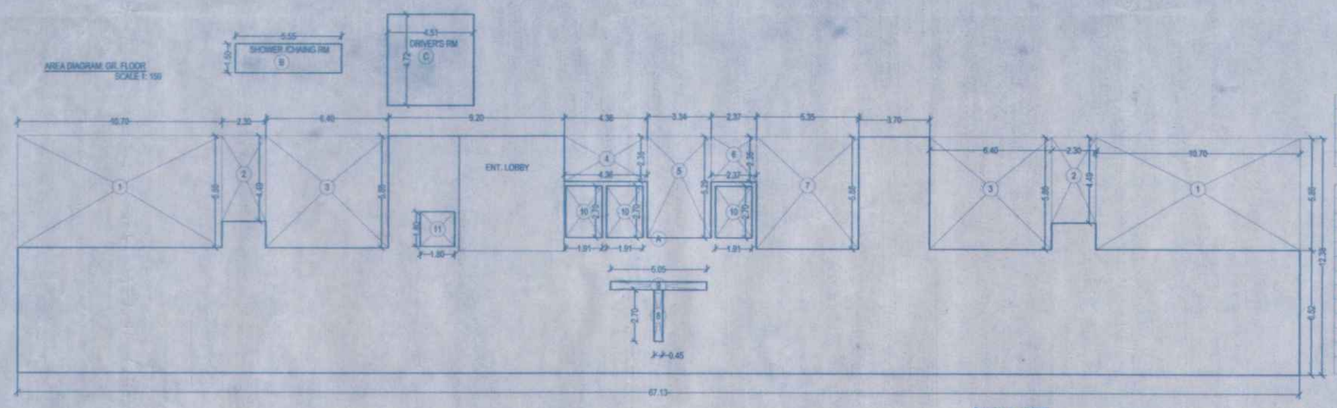

BUILT UP AREA CALCULATION

GROUND FLOOR								
A	67.13	X	12.38	X	1 NO	=	831.07	SQ.MT.
B	5.55	X	1.50	X	1 NO	=	8.33	SQ.MT.
C	4.51	X	4.72	X	1 NO	=	21.29	SQ.MT.
					TOTAL ADDITION	=	860.69	SQ.MT.

DEDUCTIONS								
1	10.70	X	5.86	X	2 NOS	=	125.40	SQ.MT.
2	2.30	X	4.49	X	2 NOS	=	20.65	SQ.MT.
3	6.40	X	5.86	X	2 NOS	=	75.01	SQ.MT.
4	4.36	X	2.36	X	1 NO	=	10.29	SQ.MT.
5	3.34	X	5.29	X	1 NO	=	17.67	SQ.MT.
6	2.37	X	2.36	X	1 NO	=	5.59	SQ.MT.
7	5.35	X	5.86	X	1 NO	=	31.35	SQ.MT.
8	0.45	X	2.70	X	1 NO	=	1.22	SQ.MT.
9	5.05	X	0.42	X	1 NO	=	2.12	SQ.MT.
10	1.91	X	2.70	X	3 NOS	=	15.47	SQ.MT.
11	1.80	X	1.80	X	1 NO	=	3.24	SQ.MT.
					TOTAL DEDUCTION	=	308.01	SQ.MT.
TOTAL BUILT UP AREA						=	552.68	SQ.MT.

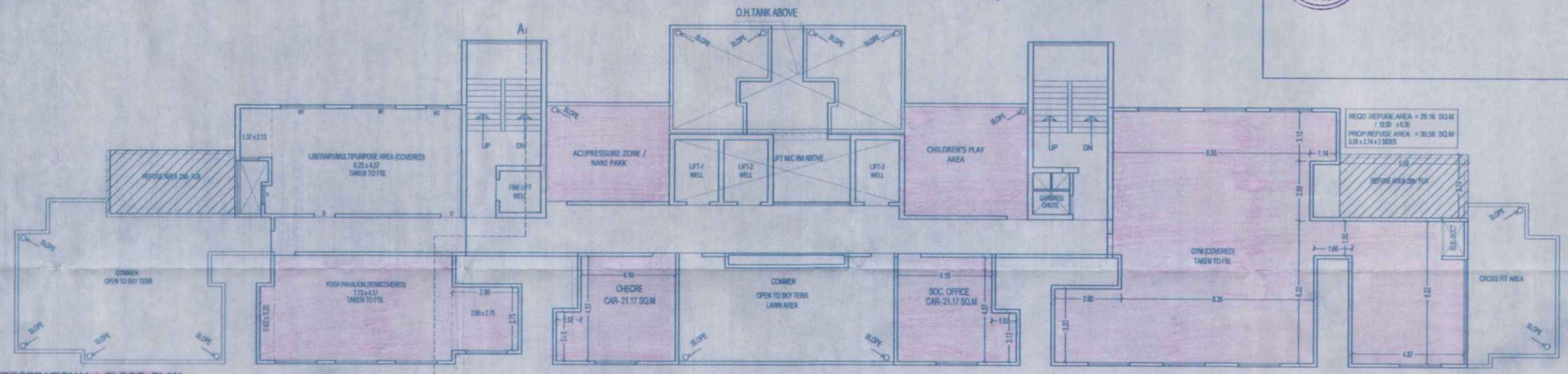

28th (RECREATIONAL) FLOOR PLAN
SCALE 1:100

AREA DIAGRAM: 27th (SOC OFF/ CHECRE RM) FLOOR
SCALE 1: 150

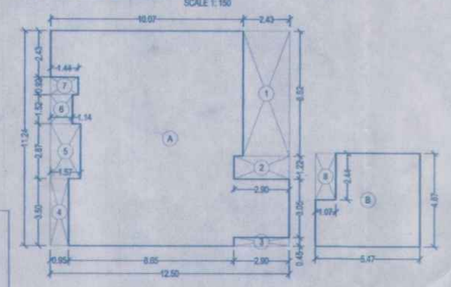

BUILT UP AREA CALCULATION

TYPICAL FLOOR								
A	12.50	X	11.24	X	1 NO	=	140.50	SQ.MT.
B	5.47	X	4.87	X	1 NO	=	26.64	SQ.MT.
C	5.47	X	4.87	X	1 NO	=	26.64	SQ.MT.
D	18.08	X	11.24	X	1 NO	=	203.22	SQ.MT.
					TOTAL ADDITION	=	397.00	SQ.MT.

DEDUCTIONS								
1	2.43	X	6.52	X	2 NOS	=	31.69	SQ.MT.
2	2.90	X	1.22	X	2 NOS	=	7.08	SQ.MT.
3	2.90	X	0.45	X	1 NO	=	1.31	SQ.MT.
4	0.95	X	3.50	X	1 NO	=	3.33	SQ.MT.
5	1.57	X	2.87	X	1 NO	=	4.51	SQ.MT.
6	1.14	X	1.52	X	1 NO	=	1.73	SQ.MT.
7	1.44	X	0.92	X	1 NO	=	1.32	SQ.MT.
8	1.07	X	2.44	X	2 NOS	=	5.22	SQ.MT.
9	5.58	X	2.43	X	1 NO	=	13.56	SQ.MT.
10	6.72	X	2.29	X	1 NO	=	15.39	SQ.MT.
11	1.36	X	4.72	X	1 NO	=	6.42	SQ.MT.
					TOTAL DEDUCTION	=	91.58	SQ.MT.
TOTAL BUILT UP AREA						=	305.44	SQ.MT.

AREA DIAGRAM: 1st FLR TERRACE AREA TAKEN TO FSI
SCALE 1: 150

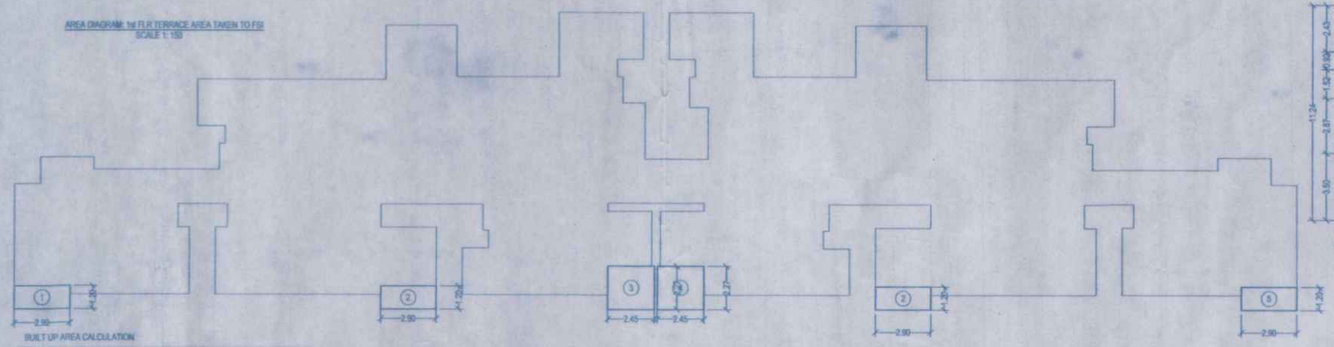

BUILT UP AREA CALCULATION

FIRST FLOOR TERRACE AREA								
1	2.90	X	1.20	X	1 NO	=	3.48	SQ.MT.
2	2.90	X	1.20	X	2 NOS	=	6.96	SQ.MT.
3	2.45	X	2.27	X	1 NO	=	5.56	SQ.MT.
4	2.45	X	2.27	X	1 NO	=	5.56	SQ.MT.
5	2.90	X	1.20	X	1 NO	=	3.48	SQ.MT.
					TOTAL ADDITION	=	25.04	SQ.MT.

AREA DIAGRAM: 1st TO 27th FLOOR
SCALE 1:150

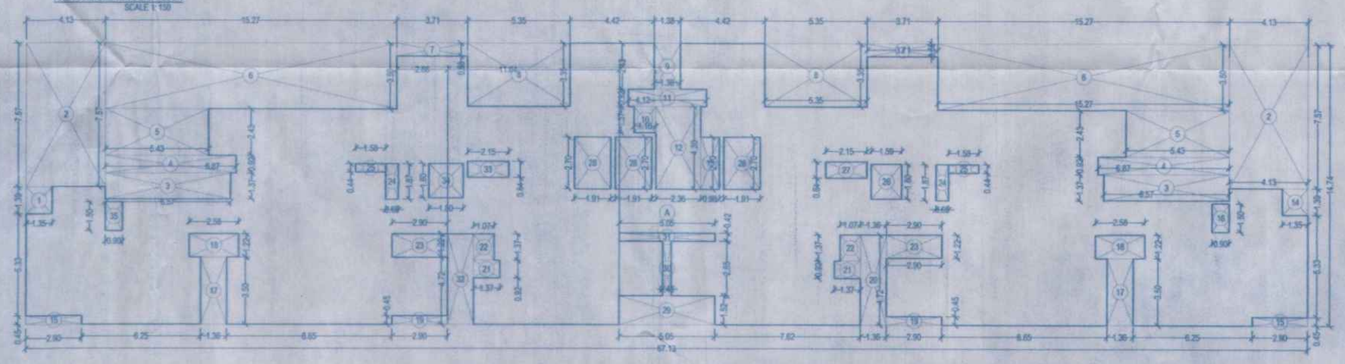

BUILT UP AREA CALCULATION

TYPICAL FLOOR								
A	67.13	X	14.74	X	1 NO	=	989.50	SQ.MT.
					TOTAL ADDITION	=	989.50	SQ.MT.

DEDUCTIONS								
1	1.35	X	1.39	X	1 NO	=	1.88	SQ.MT.
2	4.13	X	7.57	X	2 NOS	=	62.53	SQ.MT.
3	6.57	X	1.37	X	2 NOS	=	18.00	SQ.MT.
4	6.87	X	0.92	X	2 NOS	=	12.64	SQ.MT.
5	5.43	X	2.43	X	2 NOS	=	26.39	SQ.MT.
6	15.27	X	3.50	X	2 NOS	=	106.89	SQ.MT.
7	3.71	X	0.68	X	2 NOS	=	5.05	SQ.MT.
8	5.35	X	3.35	X	2 NOS	=	35.85	SQ.MT.
9	1.38	X	2.43	X	1 NO	=	3.35	SQ.MT.
10	1.16	X	1.37	X	1 NO	=	1.59	SQ.MT.
11	4.12	X	0.92	X	1 NO	=	3.79	SQ.MT.
12	2.36	X	4.30	X	1 NO	=	10.15	SQ.MT.
13	0.98	X	2.70	X	1 NO	=	2.65	SQ.MT.
14	1.35	X	1.39	X	1 NO	=	1.88	SQ.MT.
15	2.90	X	0.45	X	2 NOS	=	2.61	SQ.MT.
16	0.90	X	1.50	X	1 NO	=	1.35	SQ.MT.
17	1.36	X	3.50	X	2 NOS	=	9.52	SQ.MT.
18	2.58	X	1.22	X	2 NOS	=	6.30	SQ.MT.
19	2.90	X	0.45	X	2 NOS	=	2.61	SQ.MT.
20	1.36	X	4.72	X	1 NO	=	6.42	SQ.MT.
21	1.37	X	0.92	X	2 NOS	=	2.52	SQ.MT.
22	1.07	X	1.37	X	2 NOS	=	2.93	SQ.MT.
23	2.90	X	1.22	X	2 NOS	=	7.08	SQ.MT.
24	0.86	X	1.87	X	2 NOS	=	2.47	SQ.MT.
25	1.58	X	0.45	X	2 NOS	=	1.42	SQ.MT.
26	1.59	X	1.80	X	1 NO	=	2.86	SQ.MT.
27	2.15	X	0.84	X	1 NO	=	1.81	SQ.MT.
28	1.91	X	2.70	X	3 NOS	=	15.47	SQ.MT.
29	5.05	X	1.52	X	1 NO	=	7.68	SQ.MT.
30	0.45	X	2.85	X	1 NO	=	1.28	SQ.MT.
31	5.05	X	0.42	X	1 NO	=	2.12	SQ.MT.
32	1.36	X	4.72	X	1 NO	=	6.42	SQ.MT.
33	2.15	X	0.84	X	1 NO	=	1.81	SQ.MT.
34	1.80	X	1.80	X	1 NO	=	3.24	SQ.MT.
35	0.90	X	1.50	X	1 NO	=	1.35	SQ.MT.
					TOTAL DEDUCTION	=	381.91	SQ.MT.
TOTAL BUILT UP AREA						=	607.59	SQ.MT.

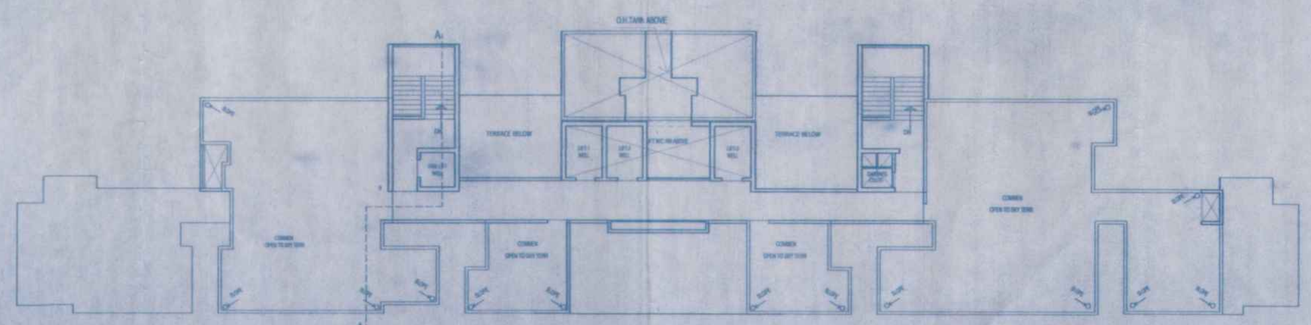

TERRACE FLOOR PLAN
SCALE 1:150

STRUCTURAL CERTIFICATE

The plans prepared by me are in accordance with the norms as specified by indian standard institute & i will be held responsible for any harm caused in earthquake due to negligence of the standards.

SHANTI CONSULTANTS
Structural Engineers-Arvind S. Patel
License No.:-B.M.C.-STR/P/87.
T.M.C.-1086/SE/2015, K.D.M.C-476.

engineers signature

NAME, ADDRESS & SIGNATURE OF OWNER

For VENUS NIRVANA LLP

PARTNER

SHRI. SANJAY R. SINGH
FOR: M/S.VENUS NIRVANA L.L.P
OFF.808, RUNWAL R SQUARE, L.B.S. MARG, MULUND (W)

JOB No.	DRG No.	SCALE	DRAWN BY	CHECKED BY	DATE
SN-84	1	AS STATED	KARTHIK		08-03-2022

NAME, ADDRESS & SIGNATURE OF ARCHITECT

STHAPATYA NIRMAAN
Architects & Interior Designers

ARCHITECT: SHIRISH G. NACHANE
CA/98/24527.

STHAPATYA NIRMAAN
CIVIL & ARCHITECTURAL SERVICES

1ST FLOOR KARJAS MANTION, NEAR ADITYA MANGAL KARYALAYA, AGARKAR ROAD, DOMBIVALI (E).
206, 2nd FLOOR, JAGANNATH'S COMMENCE PLAZA, NEAR GODREJ SHOWROOM,MANPADA ROAD, DOMBIVLI (E.)