LAYOUT + FLOOR PLAN	SHEET NO 1/05

TOWER A

BUILDING	FLOORS	FSI AREA						BALCONY	TERRACE	LIFT	LIFTWELL	DUCT	VENT	OTHER	TOTAL
		COMM.	RESI.	IND.	EDU.	INS.	MEZZ.	PROP.					SHAFT	DEDUCTION	FSI AREA
TOWER A	16TH FLOOR	0.000	446.419	0.000	0.000	0.000	0.000	0.000	0.000	0.000	16.391	17.995	0.000	30.655	379.368
TOWER A	7TH TO 9TH 11TH TO 13TH 15TH TO 17TH 19TH TO 21ST 23RD TO 25TH 27TH TO 29TH 31ST AND 33RD FLOOR	0.000	9238.740	0.000	0.000	0.000	0.000	0.000	0.000	0.000	367.620	359.900	0.000	54.500	8456.720
TOWER A	6TH 10TH 14TH 22ND 26TH 30TH FLOOR	0.000	2751.774	0.000	0.000	0.000	0.000	0.000	0.000	0.000	110.286	107.970	0.000	257.190	2276.328
TOWER A	5TH FLOOR	0.000	461.937	0.000	0.000	0.000	0.000	0.000	0.000	0.000	18.391	17.995	0.000	2.725	422.836
TOWER A	4TH POSHUM LEVEL FLOOR	0.000	12.210	0.000	0.000	0.000	0.000	0.000	0.000	0.000	0.000	0.000	0.000	0.000	12.210
TOWER A	3RD POSHUM LEVEL FLOOR	0.000	12.210	0.000	0.000	0.000	0.000	0.000	0.000	0.000	0.000	0.000	0.000	0.000	12.210
TOWER A	GROUND FLOOR	656.260	97.430	0.000	0.000	0.000	0.000	0.000	32.352	0.000	0.000	0.000	0.000	3.130	790.993
TOWER A	TOTAL	656.260	13630.720	0.000	0.000	0.000	0.000	0.000	32.352	0.000	514.688	503.860	0.000	348.200	12310.285

TOWER B

BUILDING	FLOORS	FSI AREA						BALCONY	TERRACE	LIFT	LIFTWELL	DUCT	VENT	OTHER	TOTAL
		COMM.	RESI.	IND.	EDU.	INS.	MEZZ.	PROP.					SHAFT	DEDUCTION	FSI AREA
TOWER B	16TH FLOOR	0.000	444.916	0.000	0.000	0.000	0.000	0.000	0.000	0.000	16.391	17.995	0.000	30.655	377.865
TOWER B	7TH TO 9TH 11TH TO 13TH 15TH TO 17TH 19TH TO 21ST 23RD TO 25TH 27TH TO 29TH 31ST AND 33RD FLOOR	0.000	9208.660	0.000	0.000	0.000	0.000	0.000	0.000	0.000	367.620	359.900	0.000	54.500	8426.640
TOWER B	6TH 10TH 14TH 22ND 26TH 30TH FLOOR	0.000	2742.798	0.000	0.000	0.000	0.000	0.000	0.000	0.000	110.286	107.970	0.000	257.190	2267.310
TOWER B	5TH FLOOR	0.000	460.433	0.000	0.000	0.000	0.000	0.000	0.000	0.000	18.391	17.995	0.000	2.725	421.332
TOWER B	4TH POSHUM LEVEL FLOOR	0.000	12.210	0.000	0.000	0.000	0.000	0.000	0.000	0.000	0.000	0.000	0.000	0.000	12.210
TOWER B	3RD POSHUM LEVEL FLOOR	0.000	12.210	0.000	0.000	0.000	0.000	0.000	0.000	0.000	0.000	0.000	0.000	0.000	12.210
TOWER B	GROUND FLOOR	616.723	97.430	0.000	0.000	0.000	0.000	0.000	0.000	18.391	0.000	0.000	0.000	2.725	711.428
TOWER B	TOTAL	616.723	13578.615	0.000	0.000	0.000	0.000	0.000	0.000	18.391	514.688	503.860	0.000	347.795	12229.015

TOWER C

BUILDING	FLOORS	FSI AREA						BALCONY	TERRACE	LIFT	LIFTWELL	DUCT	VENT	OTHER	TOTAL
		COMM.	RESI.	IND.	EDU.	INS.	MEZZ.	PROP.					SHAFT	DEDUCTION	FSI AREA
TOWER C	16TH FLOOR	0.000	446.419	0.000	0.000	0.000	0.000	0.000	0.000	0.000	16.391	17.995	0.000	30.655	379.368
TOWER C	7TH TO 9TH 11TH TO 13TH 15TH TO 17TH 19TH TO 21ST 23RD TO 25TH 27TH TO 29TH 31ST AND 33RD FLOOR	0.000	9238.740	0.000	0.000	0.000	0.000	0.000	0.000	0.000	367.620	359.900	0.000	54.500	8456.720
TOWER C	6TH 10TH 14TH 22ND 26TH 30TH FLOOR	0.000	2751.792	0.000	0.000	0.000	0.000	0.000	0.000	0.000	110.286	107.970	0.000	257.190	2276.348
TOWER C	5TH FLOOR	0.000	461.937	0.000	0.000	0.000	0.000	0.000	0.000	0.000	18.391	17.995	0.000	2.725	422.836
TOWER C	4TH POSHUM LEVEL FLOOR	0.000	12.210	0.000	0.000	0.000	0.000	0.000	0.000	0.000	0.000	0.000	0.000	0.000	12.210
TOWER C	3RD POSHUM LEVEL FLOOR	0.000	12.210	0.000	0.000	0.000	0.000	0.000	0.000	0.000	0.000	0.000	0.000	0.000	12.210
TOWER C	GROUND FLOOR	1639.375	107.015	0.000	0.000	0.000	0.000	0.000	0.000	18.391	0.000	0.000	0.000	2.725	1763.665
TOWER C	TOTAL	1639.375	13030.323	0.000	0.000	0.000	0.000	0.000	0.000	18.391	514.688	503.860	0.000	347.795	13303.375

CLUBHOUSE

BUILDING	FLOORS	FSI AREA						BALCONY	TERRACE	LIFT	LIFTWELL	DUCT	VENT	OTHER	TOTAL
		COMM.	RESI.	IND.	EDU.	INS.	MEZZ.	PROP.					SHAFT	DEDUCTION	FSI AREA
CLUBHOUSE	6TH FLOOR CLUBHOUSE	0.000	166.198	0.000	0.000	0.000	0.000	0.000	0.000	0.000	4.900	0.000	0.000	11.683	149.575
CLUBHOUSE	5TH FLOOR CLUBHOUSE	0.000	1063.125	0.000	0.000	0.000	0.000	0.000	0.000	0.000	4.900	0.000	0.000	4.867	1073.358
CLUBHOUSE	TOTAL	0.000	1749.293	0.000	0.000	0.000	0.000	0.000	0.000	0.000	9.800	0.000	0.000	16.550	1722.933

Parking Check (Table 28)

Building Name	USE	TENAMENT AREA	RATIO			Required		
			car	scooter	NC OF TenetAreaUnits	car	scooter	Transport Vehicle/Ambulance Vehicle/ Bus
TOWER C	Residential	For every two tenements each tenement having carpet area upto and upto 60 sq.m. but less than 80 sq.m.	1	2	70	35.000	70.000	-
TOWER C	Residential	For every tenement having carpet area equal to or above 80 sq.m. but less than 150 sq.m.	1	1	42	42.000	42.000	-
TOWER C	Commercial	For every 100 sq.m. carpet area or fraction thereof	2	6	1437.753	28.755	86.265	-
TOWER B	Residential	For every two tenements each tenement having carpet area upto and upto 60 sq.m. but less than 80 sq.m.	1	2	70	35.000	70.000	-
TOWER B	Residential	For every tenement having carpet area equal to or above 80 sq.m. but less than 150 sq.m.	1	1	42	42.000	42.000	-
TOWER B	Commercial	For every 100 sq.m. carpet area or fraction thereof	2	6	585.903	11.718	35.154	-
TOWER A	Residential	For every two tenements each tenement having carpet area upto and upto 60 sq.m. but less than 80 sq.m.	1	2	70	35.000	70.000	-
TOWER A	Residential	For every tenement having carpet area equal to or above 80 sq.m. but less than 150 sq.m.	1	1	42	42.000	42.000	-
TOWER A	Commercial	For every 100 sq.m. carpet area or fraction thereof	2	6	623.769	12.476	37.427	-
Total	-	-	-	-	-	283.949	494.847	-
Visitors parking(5%)	-	-	-	-	-	11.550	16.800	-
Total	-	-	-	-	-	295.499	511.647	0.000

Parking Check As Per Multiplying Factor 0.550

Building Name	Required			Proposed			Status
	Car	Scooter	Transport Vehicle/Ambulance Vehicle/ Bus	Car	Scooter	Transport Vehicle/Ambulance Vehicle/ Bus	
Total	236	409	0	579	596	0	OK

Accomodation Reservation Detail

Reservation Details				Reservation Area Details		
Type	Name	Number	Total Area	Area Already acquired/under AR	Balance area to be acquired	Area of reservation under this proposal	Remarks

Carpet Area Table

Building Name	Floor Name	Carpet name	Tenament No	Carpet Area	Enclosed Balcony Area	Normal Balcony Area	Mezzanine Area	Total Carpet Area
TOWER C	GROUND FLOOR	18	1	78.829	0.000	0.000	0.000	78.829
TOWER C	GROUND FLOOR	19	1	113.685	0.000	0.000	0.000	113.685
TOWER C	GROUND FLOOR	20	1	74.002	0.000	0.000	0.000	74.002
TOWER C	GROUND FLOOR	21	1	44.653	0.000	0.000	0.000	44.653
TOWER C	GROUND FLOOR	22	1	45.305	0.000	0.000	0.000	45.305
TOWER C	GROUND FLOOR	23	1	36.915	0.000	0.000	0.000	36.915
TOWER C	GROUND FLOOR	24	1	113.685	0.000	0.000	0.000	113.685
TOWER C	GROUND FLOOR	25	1	80.437	0.000	0.000	0.000	80.437
TOWER C	GROUND FLOOR	26	1	84.728	0.000	0.000	0.000	84.728
TOWER C	GROUND FLOOR	27	1	84.728	0.000	0.000	0.000	84.728
TOWER C	GROUND FLOOR	28	1	80.438	0.000	0.000	0.000	80.438
TOWER C	GROUND FLOOR	30	1	80.438	0.000	0.000	0.000	80.438
TOWER C	GROUND FLOOR	31	1	80.438	0.000	0.000	0.000	80.438
TOWER C	GROUND FLOOR	32	1	80.438	0.000	0.000	0.000	80.438
TOWER C	GROUND FLOOR	32	1	80.438	0.000	0.000	0.000	80.438
TOWER C	GROUND FLOOR	33	1	80.438	0.000	0.000	0.000	80.438
TOWER C	GROUND FLOOR	34	1	80.438	0.000	0.000	0.000	80.438
TOWER C	GROUND FLOOR	35	1	80.438	0.000	0.000	0.000	80.438
TOWER C	GROUND FLOOR	36	1	80.438	0.000	0.000	0.000	80.438
TOWER C	GROUND FLOOR	37	1	80.330	0.000	0.000	0.000	80.330
TOWER C	5TH FLOOR	1	1	92.677	0.000	0.000	0.000	92.677
TOWER C	5TH FLOOR	2	1	65.640	0.000	0.000	0.000	65.640
TOWER C	5TH FLOOR	3	1	65.640	0.000	0.000	0.000	65.640
TOWER C	5TH FLOOR	4	1	93.495	0.000	0.000	0.000	93.495
TOWER C	6TH 10TH 14TH 22ND 26TH 30TH FLOOR	1	6	71.662	0.000	0.000	0.000	71.662
TOWER C	6TH 10TH 14TH 22ND 26TH 30TH FLOOR	2	6	65.640	0.000	0.000	0.000	65.640
TOWER C	6TH 10TH 14TH 22ND 26TH 30TH FLOOR	3	6	65.640	0.000	0.000	0.000	65.640
TOWER C	6TH 10TH 14TH 22ND 26TH 30TH FLOOR	4	6	71.662	0.000	0.000	0.000	71.662
TOWER C	7TH TO 9TH 11TH TO 13TH 15TH TO 17TH 19TH TO 21ST 23RD TO 25TH 27TH TO 29TH 31ST AND 33RD FLOOR	1	20	92.677	0.000	0.000	0.000	92.677
TOWER C	7TH TO 9TH 11TH TO 13TH 15TH TO 17TH 19TH TO 21ST 23RD TO 25TH 27TH TO 29TH 31ST AND 33RD FLOOR	2	20	65.640	0.000	0.000	0.000	65.640
TOWER C	7TH TO 9TH 11TH TO 13TH 15TH TO 17TH 19TH TO 21ST 23RD TO 25TH 27TH TO 29TH 31ST AND 33RD FLOOR	3	20	65.640	0.000	0.000	0.000	65.640
TOWER C	7TH TO 9TH 11TH TO 13TH 15TH TO 17TH 19TH TO 21ST 23RD TO 25TH 27TH TO 29TH 31ST AND 33RD FLOOR	4	20	93.495	0.000	0.000	0.000	93.495
TOWER C	16TH FLOOR	1	1	71.662	0.000	0.000	0.000	71.662
TOWER C	16TH FLOOR	2	1	65.640	0.000	0.000	0.000	65.640
TOWER C	16TH FLOOR	3	1	65.640	0.000	0.000	0.000	65.640
TOWER C	16TH FLOOR	4	1	71.662	0.000	0.000	0.000	71.662

Carpet Area Table

Building Name	Floor Name	Carpet name	Tenament No	Carpet Area	Enclosed Balcony Area	Normal Balcony Area	Mezzanine Area	Total Carpet Area
TOWER B	GROUND FLOOR	10	1	78.829	0.000	0.000	0.000	78.829
TOWER B	GROUND FLOOR	11	1	113.685	0.000	0.000	0.000	113.685
TOWER B	GROUND FLOOR	12	1	74.002	0.000	0.000	0.000	74.002
TOWER B	GROUND FLOOR	13	1	44.653	0.000	0.000	0.000	44.653
TOWER B	GROUND FLOOR	14	1	45.305	0.000	0.000	0.000	45.305
TOWER B	GROUND FLOOR	15	1	36.915	0.000	0.000	0.000	36.915
TOWER B	GROUND FLOOR	16	1	113.685	0.000	0.000	0.000	113.685
TOWER B	GROUND FLOOR	17	1	78.829	0.000	0.000	0.000	78.829
TOWER B	5TH FLOOR	1	1	92.677	0.000	0.000	0.000	92.677
TOWER B	5TH FLOOR	2	1	65.640	0.000	0.000	0.000	65.640
TOWER B	5TH FLOOR	3	1	65.640	0.000	0.000	0.000	65.640
TOWER B	5TH FLOOR	4	1	93.495	0.000	0.000	0.000	93.495
TOWER B	6TH 10TH 14TH 22ND 26TH 30TH FLOOR	1	6	71.662	0.000	0.000	0.000	71.662
TOWER B	6TH 10TH 14TH 22ND 26TH 30TH FLOOR	2	6	65.640	0.000	0.000	0.000	65.640
TOWER B	6TH 10TH 14TH 22ND 26TH 30TH FLOOR	3	6	65.640	0.000	0.000	0.000	65.640
TOWER B	6TH 10TH 14TH 22ND 26TH 30TH FLOOR	4	6	71.662	0.000	0.000	0.000	71.662
TOWER B	7TH TO 9TH 11TH TO 13TH 15TH TO 17TH 19TH TO 21ST 23RD TO 25TH 27TH TO 29TH 31ST AND 33RD FLOOR	1	20	92.677	0.000	0.000	0.000	92.677
TOWER B	7TH TO 9TH 11TH TO 13TH 15TH TO 17TH 19TH TO 21ST 23RD TO 25TH 27TH TO 29TH 31ST AND 33RD FLOOR	2	20	65.640	0.000	0.000	0.000	65.640
TOWER B	7TH TO 9TH 11TH TO 13TH 15TH TO 17TH 19TH TO 21ST 23RD TO 25TH 27TH TO 29TH 31ST AND 33RD FLOOR	3	20	65.640	0.000	0.000	0.000	65.640
TOWER B	7TH TO 9TH 11TH TO 13TH 15TH TO 17TH 19TH TO 21ST 23RD TO 25TH 27TH TO 29TH 31ST AND 33RD FLOOR	4	20	93.495	0.000	0.000	0.000	93.495
TOWER B	16TH FLOOR	1	1	71.662	0.000	0.000	0.000	71.662
TOWER B	16TH FLOOR	2	1	65.640	0.000	0.000	0.000	65.640
TOWER B	16TH FLOOR	3	1	65.640	0.000	0.000	0.000	65.640
TOWER B	16TH FLOOR	4	1	71.662	0.000	0.000	0.000	71.662

Carpet Area Table

Building Name	Floor Name	Carpet name	Tenament No	Carpet Area	Enclosed Balcony Area	Normal Balcony Area	Mezzanine Area	Total Carpet Area
TOWER A	GROUND FLOOR	1	1	49.336	0.000	0.000	0.000	49.336
TOWER A	GROUND FLOOR	2	1	68.533	0.000	0.000	0.000	68.533
TOWER A	GROUND FLOOR	3	1	112.531	0.000	0.000	0.000	112.531
TOWER A	GROUND FLOOR	4	1	74.002	0.000	0.000	0.000	74.002
TOWER A	GROUND FLOOR	5	1	44.653	0.000	0.000	0.000	44.653
TOWER A	GROUND FLOOR	6	1	45.305	0.000	0.000	0.000	45.305
TOWER A	GROUND FLOOR	7	1	36.915	0.000	0.000	0.000	36.915
TOWER A	GROUND FLOOR	8	1	113.685	0.000	0.000	0.000	113.685
TOWER A	GROUND FLOOR	9	1	78.829	0.000	0.000	0.000	78.829
TOWER A	5TH FLOOR	1	1	92.677	0.000	0.000	0.000	92.677
TOWER A	5TH FLOOR	2	1	65.640	0.000	0.000	0.000	65.640
TOWER A	5TH FLOOR	3	1	65.640	0.000	0.000	0.000	65.640
TOWER A	5TH FLOOR	4	1	93.495	0.000	0.000	0.000	93.495
TOWER A	6TH 10TH 14TH 22ND 26TH 30TH FLOOR	1	6	71.662	0.000	0.000	0.000	71.662
TOWER A	6TH 10TH 14TH 22ND 26TH 30TH FLOOR	2	6	65.640	0.000	0.000	0.000	65.640
TOWER A	6TH 10TH 14TH 22ND 26TH 30TH FLOOR	3	6	65.640	0.000	0.000	0.000	65.640
TOWER A	6TH 10TH 14TH 22ND 26TH 30TH FLOOR	4	6	71.662	0.000	0.000	0.000	71.662
TOWER A	7TH TO 9TH 11TH TO 13TH 15TH TO 17TH 19TH TO 21ST 23RD TO 25TH 27TH TO 29TH 31ST AND 33RD FLOOR	1	20	92.677	0.000	0.000	0.000	92.677
TOWER A	7TH TO 9TH 11TH TO 13TH 15TH TO 17TH 19TH TO 21ST 23RD TO 25TH 27TH TO 29TH 31ST AND 33RD FLOOR	2	20	65.640	0.000	0.000	0.000	65.640
TOWER A	7TH TO 9TH 11TH TO 13TH 15TH TO 17TH 19TH TO 21ST 23RD TO 25TH 27TH TO 29TH 31ST AND 33RD FLOOR	3	20	65.640	0.000	0.000	0.000	65.640
TOWER A	7TH TO 9TH 11TH TO 13TH 15TH TO 17TH 19TH TO 21ST 23RD TO 25TH 27TH TO 29TH 31ST AND 33RD FLOOR	4	20	93.495	0.000	0.000	0.000	93.495
TOWER A	16TH FLOOR	1	1	71.662	0.000	0.000	0.000	71.662
TOWER A	16TH FLOOR	2	1	65.640	0.000	0.000	0.000	65.640
TOWER A	16TH FLOOR	3	1	65.640	0.000	0.000	0.000	65.640
TOWER A	16TH FLOOR	4	1	71.662	0.000	0.000	0.000	71.662

FSI DETAILS

¶ Index	Basic FSI (on serial no.7)	Premium FSI (on serial no.9)	TDR/DR (on serial no.3)	Incentive FSI for green building Application (on basis FSI)	Additional FSI (76.19 (Nasis F)	Ancillary Area FSI (Table 5 [3(3)+(4)]	Ancillary Area FSI (Table 5 [3(3)+(4)]	Total	Inclusive Housing Project Applicable	Drawing Value
9.1 Permissible Index	1.100	0.500	0.900	0.000	0.000	0.000	0.000	2.500	0.000	0.000
9.2 Existing Consumed Index	0.000	0.000	0.000	0.000	0.000	0.000	0.000	0.000	0.000	0.000
9.3 Balance Index Left To be Consumed	1.100	0.500	0.900	0.000	0.000	0.000	0.000	0.000	0.000	0.000
9.4 Total Permissible FLIne Area	10792.100	4905.500	8829.900	0.000	0.000	13743.703	1294.396	39067.599	0.000	0.000
9.5 Proposed F Line Area (Not to exceed 9.4 (	10792.100	4905.500	8829.900	0.000	0.000	13743.712	1294.396	39065.608	0.000	39065.608
9.6 Index Consumed	1.100	0.500	0.900	0.000	0.000	0.000	0.000	2.500	0.000	0.000

Telecom Rooms

Building	Req. Area	Prop. Area	Status
TOWER C	3.000X3.400	3.000X3.400	OK
TOWER C	3.000X3.400	3.000X3.400	OK
TOWER B	3.000X3.400	3.000X3.400	OK
TOWER B	3.000X3.400	3.000X3.400	OK
TOWER A	3.000X3.400	3.000X3.400	OK
TOWER A	3.000X3.400	3.000X3.400	OK
CLUBHOUSE	3.000X3.400	3.000X3.400	OK
CLUBHOUSE	3.000X3.400	3.000X3.400	OK

SCHEDULE OF OPENING

BLD NAME	NAME	LENGTH	HEIGHT	Nos
CLUBHOUSE	V	0.600	0.750	12
TOWER A	V	0.600	0.750	9
TOWER A	V	0.600	0.750	36
TOWER B	V	0.600	0.750	8
TOWER B	V	0.600	0.750	36
TOWER C	V	0.600	0.750	20
TOWER C	V	0.600	0.750	36

LEGENDS:

PROJ. BOUNDARY REMAINS UNCHANGED
PROPOSED WORK SHOWN IN RED
EXISTING WORK TO REMAIN LIGHT WHITE LINE SHOWN BLUE DOTTED
TO BE DEMOLISHED LIGHT YELLOW
SURVICE SHOWN DARK YELLOW
OPEN BALL SHOWN BRown.
EXISTING ROOM BLUE DOTTED

Project Details

Proposed code: KDMCC-26-08723

Zone Type: Residential Zone

Location: Non-Congested

Name of service: Accommodation reservations

Sub service:

Cts No./Survey No.: 90

Tehsil: sector-1

Mouze: kalyan(PT)

Proratio Value: 0.000

Separation/CRZ Zone Area: 0.000

PROFORMA - I

		IN SQ.MT
1	(A) AREA OF PLOT	
	(a) AS PER OWNERSHIP DOCUMENT (7/12, CTS EXTRACT)	9811.000
	(b) AS PER MEASUREMENT SHEET	9811.000
	(c) AS PER POSSESSION	9811.000
2	DEDUCTIONS FOR	
	(a) 18.000 M. W. D.P. ROAD AREA	--
	(b) P.S RESERVATION AREA (SITE NO: 50)	9811.000
	R.S RESERVATION AREA (SITE NO: 60)	
	(c) TOTAL (a+b)	9811.000
3	BALANCE PLOT AREA (1 Minus 2)	
	R.S RESERVATION + P.S RESERVATION AREA UNDER ACCOMMODATION POLICY 60/40 40% PLOT FOR KDMC 3924.400 SQ.MT HANDED OVER TO KDMC CONSTRUCTED AREA FOR SCHOOL HANDED OVER TO KDMC (9811.000 X 50% = 4905.500 SQ.MT) 60% PLOT FOR DEVELOPER WITH 5888.600 SQ.MT CONSTRUCTED AREA	5888.600
4	AMENITY SPACE IF APPLICABLE	--
	(A) REQUIRED	
	(b) ADJUSTMENT OF IF ANY	
	(c) BALANCE PROPOSED	
5	NET PLOT AREA (3-4(c))	5888.600
6	RECREATIONAL OPEN SPACE (IF APPLICABLE)	
	(A) REQUIRED 10% ON GROUND	588.660
	(b) PROPOSED	
7	INTERNAL ROAD AREA	--
8	PLOTABLE AREA	--
9	BUILT UP AREA WITH REFERENCE TO BASIC FSI AS PER FRONT ROAD WIDTH (SR.NO. 5 X BASIC FSI) [9811.000 X 1.10] = 10792.100	10792.100
10	ADDITION OF FSI ON PAYMENT PREMIUM	
	(A) MAXIMUM PERMISSIBLE PREMIUM FSI BASED ON ROAD WIDTH /TOD ZONE	--
	(b) PROPOSED FSI ON PAYMENT OF PREMIUM (9811.000 X 0.50 = 4905.500)	4905.500
11	IN-SITU FSI/TDR LOADING	----
	(a) IN-SITU AREA AGAINST D.P. ROAD (SR.NO.2 (a) D.P. RESERVATION 18.NO.2 (b)	
	(b) IN-SITU AREA AGAINST AMENITY SPACE IF HANDED OVER (2.00 OR 1.85 X SR. NO.4 (b) AND/or (C)	
	(c) TDR AREA (9811.000 X 0.90 = 8829.900)	8829.900
	(d) TOTAL IN-SITU / TDR LOADING PROPOSED (11 (a)+(b)+(c)	8829.900
12	ADDITIONAL FSI AREA UNDER CHAPTER NO.7 (PER DOC. REDEVELOPMENT AS PER 7.6.1)	--
13	TOTAL ENTITLEMENT OF FSI IN THE PROPOSAL	
	(a) [9+10(b)+11(d) or 12 WHICHEVER IS APPLICABLE	24527.500
	(b) ANCILLARY AREA FSI UPTO 60% OR 80% WITH PAYMENT OF CHARGES COMMERCIAL AREA = 1617.995 X 80% = 1294.396 SQ.MT RESIDENTIAL AREA = 22909.505 X 60% = 13745.703 SQ.MT	15040.099
	(c) TOTAL ENTITLEMENT (a+b)	39567.599
14	MAXIMUM UTILIZATION LIMIT OF FSI (BUILDING POTENTIAL) PERMISSIBLE AS PER ROAD WIDTH as per Regulation no. 8.1 or 8.2 or 8.3 or 8.4 as applicable) x 1.6 or 1.8	--
15	TOTAL BUILT UP AREA IN PROPOSAL (OCCLUDING AREA AT SR. NO.17(b)	
	(a) EXISTING SANCTION BUILT UP AREA	
	(b) PROPOSED BUILT UP AREA (AS PER P LINE)	39565.608
	(c) TOTAL (a+b)	
16	FSI CONSUMED (15/15)	
17	AREA FOR INCLUSIVE HOUSING IF ANY	
	(a) REQUIRED (20% OF SR. NO.5)	
	(b) PROPOSED (20% OF SR. NO.5)	

LOCATION MAP

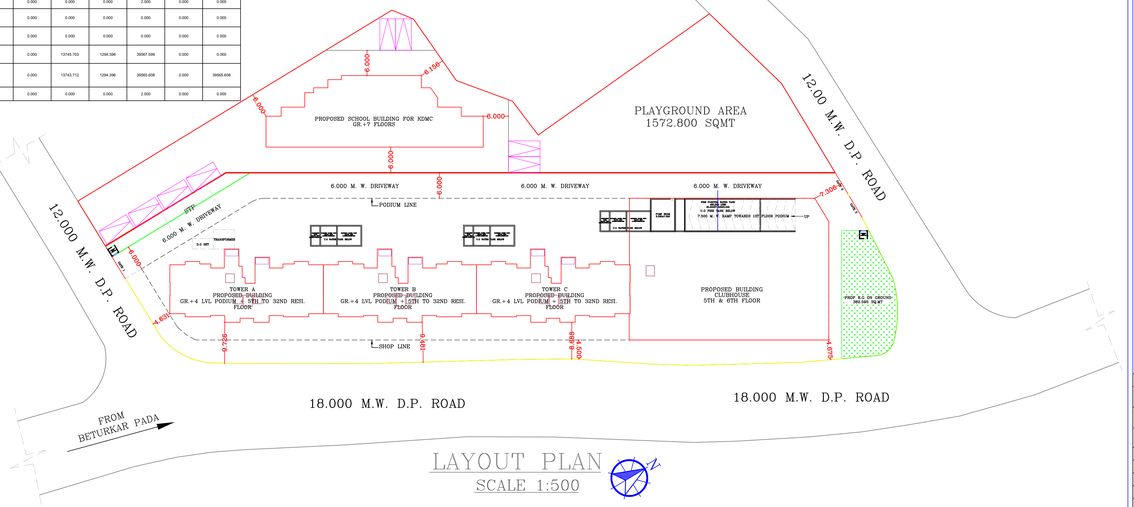

LAYOUT PLAN
SCALE 1:500

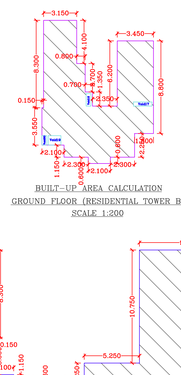

BUILT-UP AREA CALCULATION
GROUND FLOOR (RESIDENTIAL TOWER B)
SCALE 1:200

BUILT UP AREA CALCULATION FOR GROUND FLOOR TOWER B			
AREA NAME	LENGTH	WIDTH	Area(Sq.M)
BLOCK	13.600	10.600	97.430
BLOCK AREA TOTAL =97.430Sq.M			
Vent01	-	-	0.405
Vent19	-	-	1.080
Vent16	-	-	0.540
Vent17	-	-	0.700
TOTAL Deduction =2.725Sq.M			
Net BuiltUp Area =94.705 Sq.M			

BUILT UP AREA CALCULATION FOR GROUND FLOOR TOWER A			
AREA NAME	LENGTH	WIDTH	Area(Sq.M)
BLOCK	13.600	10.600	97.430
BLOCK AREA TOTAL =97.430Sq.M			
Vent01	-	-	0.405
Vent19	-	-	1.080
Vent16	-	-	0.540
Vent17	-	-	0.700
TOTAL Deduction =2.725Sq.M			
Net BuiltUp Area =94.705 Sq.M			

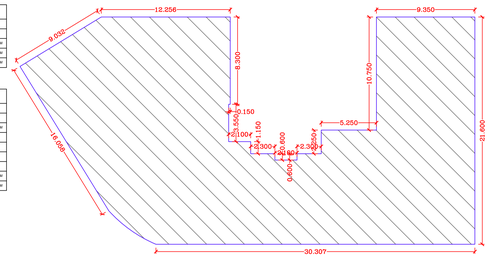

BUILT-UP AREA CALCULATION
GROUND FLOOR (COMMERCIAL TOWER A)
SCALE 1:200

BUILT UP AREA CALCULATION FOR GROUND FLOOR TOWER A			
AREA NAME	LENGTH	WIDTH	Area(Sq.M)
BLOCK	43.221	21.600	896.293
BLOCK AREA TOTAL =896.293Sq.M			
TOTAL Deduction =0.000Sq.M			
Net BuiltUp Area =896.293 S

FLOOR PLANS	SHEET NO 3/05

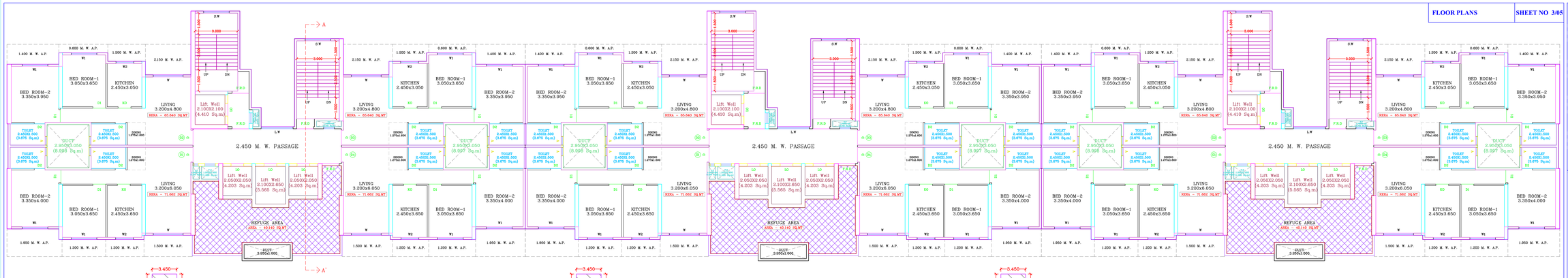

REFUGE FLOOR PLAN
(10TH, 14TH, 22ND, 26TH & 30TH FLOOR)
(SCALE 1:100)

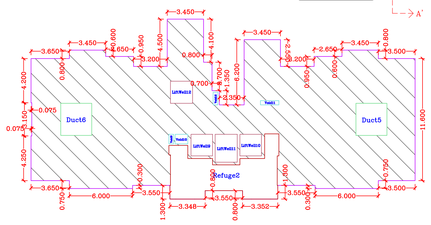

BUILT-UP AREA CALCULATION
6TH, 10TH, 14TH, 22ND, 26TH & 30TH FLOOR (RESIDENTIAL TOWER A)
SCALE 1:200

BUILT UP AREA CALCULATION
FOR ETH,10TH,14TH,22ND,26TH,30TH FLOOR TOWER A

AREA NAME	LENGTH	WIDTH	Area(Sq.M)
BLOCK	36.000	17.100	458.620
		BLOCK AREA TOTAL =458.620Sq.M	
Refuge2	-	-	40.140
Void12	-	-	0.540
Void11	-	-	0.700
Void10	-	-	1.080
Void9	-	-	0.405
LiftWell12	-	-	4.410
LiftWell11	-	-	5.565
LiftWell10	-	-	4.203
LiftWell9	-	-	4.203
Duct6	-	-	8.926
Duct5	-	-	8.997
		TOTAL Deduction =76.247Sq.M	
		Net BuiltUp Area =379.395 Sq.M	

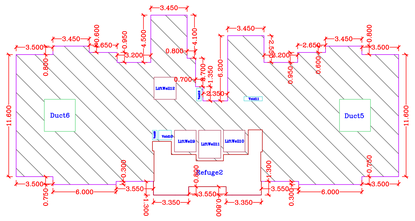

BUILT-UP AREA CALCULATION
6TH, 10TH, 14TH, 22ND, 26TH & 30TH FLOOR (RESIDENTIAL TOWER B)
SCALE 1:200

BUILT UP AREA CALCULATION
FOR ETH,10TH,14TH,22ND,26TH,30TH FLOOR TOWER B

AREA NAME	LENGTH	WIDTH	Area(Sq.M)
BLOCK	36.000	17.100	457.126
		BLOCK AREA TOTAL =457.126Sq.M	
Refuge2	-	-	40.140
Void12	-	-	0.540
Void11	-	-	0.700
Void10	-	-	1.080
Void9	-	-	0.405
LiftWell12	-	-	4.410
LiftWell11	-	-	5.565
LiftWell10	-	-	4.203
LiftWell9	-	-	4.203
Duct6	-	-	8.926
Duct5	-	-	8.997
		TOTAL Deduction =76.247Sq.M	
		Net BuiltUp Area =377.885 Sq.M	

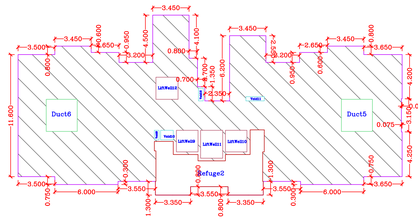

BUILT-UP AREA CALCULATION
6TH, 10TH, 14TH, 22ND, 26TH & 30TH FLOOR (RESIDENTIAL TOWER C)
SCALE 1:200

BUILT UP AREA CALCULATION
FOR ETH,10TH,14TH,22ND,26TH,30TH FLOOR TOWER C

AREA NAME	LENGTH	WIDTH	Area(Sq.M)
BLOCK	36.000	17.400	458.620
		BLOCK AREA TOTAL =458.620Sq.M	
Refuge2	-	-	40.140
Void12	-	-	0.540
Void11	-	-	0.700
Void10	-	-	1.080
Void9	-	-	0.405
LiftWell12	-	-	4.410
LiftWell11	-	-	5.565
LiftWell10	-	-	4.203
LiftWell9	-	-	4.203
Duct6	-	-	8.926
Duct5	-	-	8.997
		TOTAL Deduction =76.247Sq.M	
		Net BuiltUp Area =379.391 Sq.M	

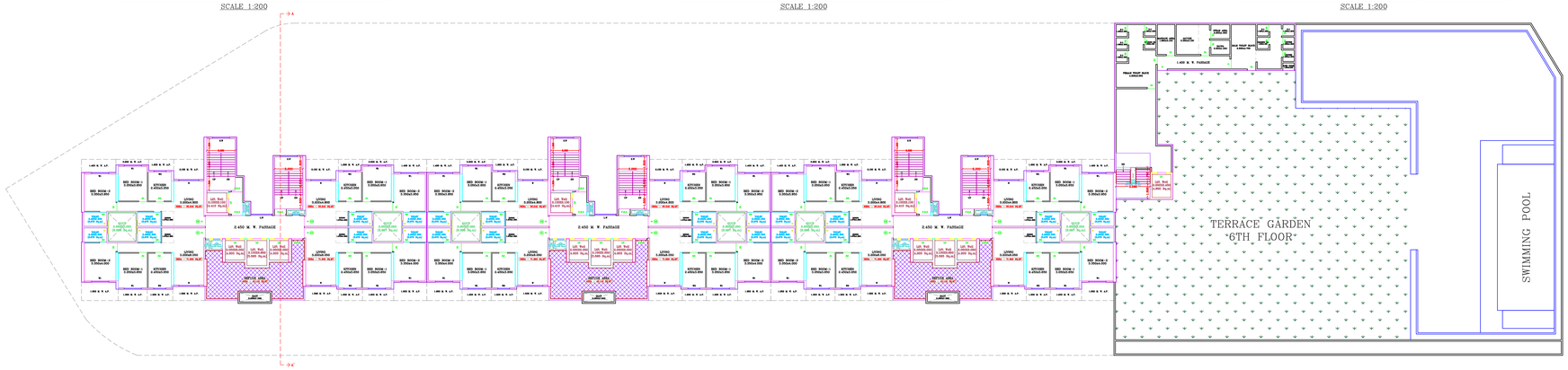

6TH FLOOR PLAN
(SCALE 1:200)

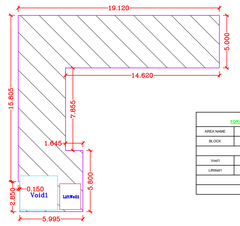

BUILT-UP AREA CALCULATION
6TH FLOOR (CLUBHOUSE)
SCALE 1:200

BUILT UP AREA CALCULATION
FOR 6TH FLOOR CLUBHOUSE CLUBHOUSE

AREA NAME	LENGTH	WIDTH	Area(Sq.M)
BLOCK	19.120	14.620	195.108
		BLOCK AREA TOTAL =195.108Sq.M	
Void1	-	-	11.680
LiftWell1	-	-	4.890
		TOTAL Deduction =16.570Sq.M	
		Net BuiltUp Area =178.538 Sq.M	

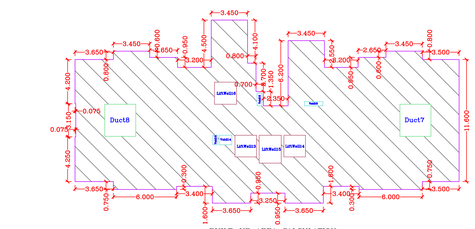

BUILT-UP AREA CALCULATION
5TH FLOOR (RESIDENTIAL TOWER A)
SCALE 1:200

BUILT UP AREA CALCULATION
FOR 5TH FLOOR TOWER A

AREA NAME	LENGTH	WIDTH	Area(Sq.M)
BLOCK	36.000	17.400	461.937
		BLOCK AREA TOTAL =461.937Sq.M	
Void18	-	-	0.540
Void15	-	-	0.700
Void14	-	-	1.080
Void13	-	-	0.405
LiftWell18	-	-	4.410
LiftWell15	-	-	5.565
LiftWell14	-	-	4.203
LiftWell13	-	-	4.203
Duct8	-	-	8.968
Duct7	-	-	8.997
		TOTAL Deduction =56.161Sq.M	
		Net BuiltUp Area =422.836 Sq.M	

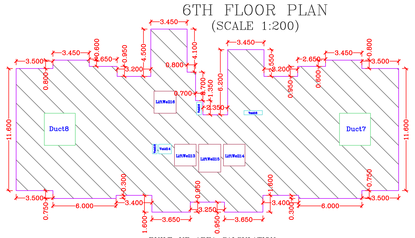

BUILT-UP AREA CALCULATION
5TH FLOOR (RESIDENTIAL TOWER B)
SCALE 1:200

BUILT UP AREA CALCULATION
FOR 5TH FLOOR TOWER B

AREA NAME	LENGTH	WIDTH	Area(Sq.M)
BLOCK	36.000	17.400	460.433
		BLOCK AREA TOTAL =460.433Sq.M	
Void18	-	-	0.540
Void15	-	-	0.700
Void14	-	-	1.080
Void13	-	-	0.405
LiftWell18	-	-	4.410
LiftWell15	-	-	5.565
LiftWell14	-	-	4.203
LiftWell13	-	-	4.203
Duct8	-	-	8.968
Duct7	-	-	8.997
		TOTAL Deduction =56.161Sq.M	
		Net BuiltUp Area =421.332 Sq.M	

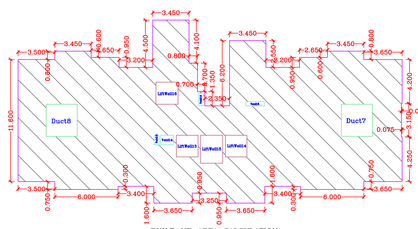

BUILT-UP AREA CALCULATION
5TH FLOOR (RESIDENTIAL TOWER C)
SCALE 1:200

BUILT UP AREA CALCULATION
FOR 5TH FLOOR TOWER C

AREA NAME	LENGTH	WIDTH	Area(Sq.M)
BLOCK	36.000	17.400	461.937
		BLOCK AREA TOTAL =461.937Sq.M	
Void18	-	-	0.540
Void15	-	-	0.700
Void14	-	-	1.080
Void13	-	-	0.405
LiftWell18	-	-	4.410
LiftWell15	-	-	5.565
LiftWell14	-	-	4.203
LiftWell13	-	-	4.203
Duct8	-	-	8.968
Duct7	-	-	8.997
		TOTAL Deduction =56.161Sq.M	
		Net BuiltUp Area =422.836 Sq.M	

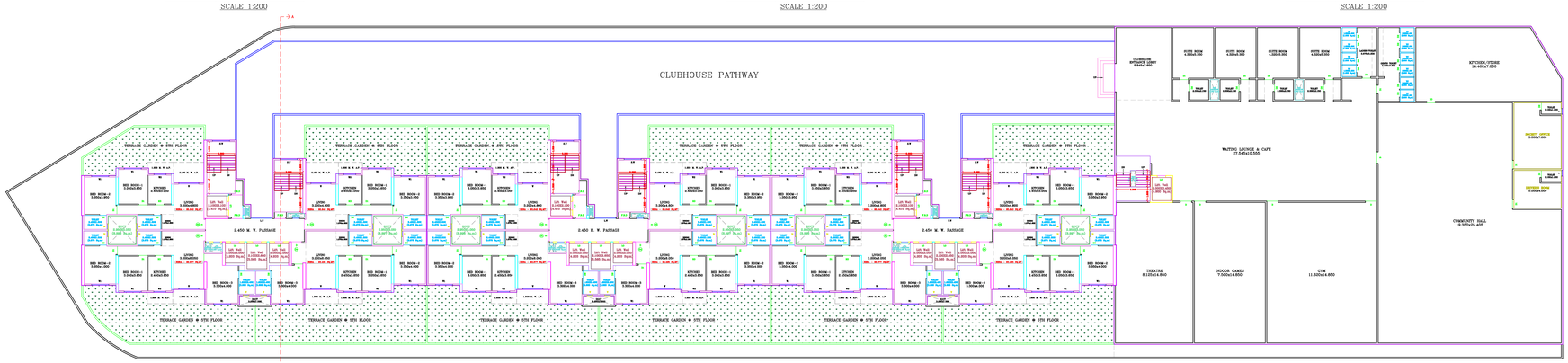

5TH FLOOR PLAN
(SCALE 1:200)

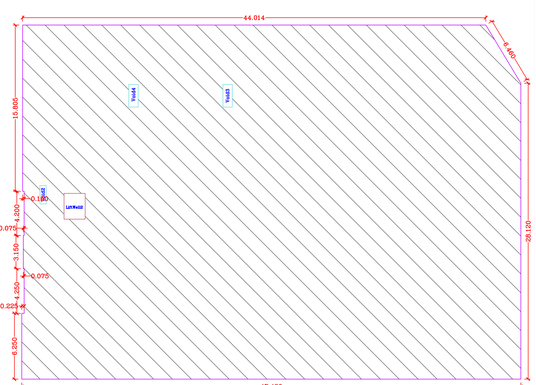

BUILT-UP AREA CALCULATION
5TH FLOOR (CLUBHOUSE)
SCALE 1:200

BUILT UP AREA CALCULATION
FOR 5TH FLOOR CLUBHOUSE CLUBHOUSE

AREA NAME	LENGTH	WIDTH	Area(Sq.M)
BLOCK	47.420	33.650	1595.125
		BLOCK AREA TOTAL =1595.125Sq.M	
Void4	-	-	1.913
Void3	-	-	1.041
LiftWell2	-	-	4.890
		TOTAL Deduction =16.191Sq.M	
		Net BuiltUp Area =1579.391 Sq.M	

Reserved for Board of Approval plan

Proforma 1 : Area Statement

1. Area of plot (Minimum area of a, b, c to be considered)	9811.000
(a) As per ownership document (7/12, CTS extract)	9811.000
(b) as per TILR or City Survey measurement sheet	9811.000
(c) as per Demarcated drawing area	11698.931
LESS	
2.Area not in possession	0.000
3. Area Proposed for development (out of 1-2)	9811.000
4.Deductions for(out of 3)	
(a) Proposed D.P./ D.P. Road widening Area/Proposed DP road, Road under MMC act	0.000
(b) Any D.P. Reservation area	0.000
(c) Green Belt	0.000
(Total a+b+c)	0.000
5. Plot Under accommodation Reservation	9811.000
6.Recreational Open Space (Not applicable if plots are from sanctioned layout)	-
(a). If area is more than (5) 4000 sqmt - 10 % of (5) is required.	0.000
Proposed___	0.000
(b). If area is less than 4000 sqmt	-
(A)10 % Subject to minimum 200 sqmt(Not applicable if plots are from sanctioned layout or each plot admeuring less than 4000sq.m regularised under gunthewari act)	0.000
Proposed _____	0.000
(B)Exemption to leave open space subject to availing basic F.S.I of 75 %	-
(C)Exemption to leave open space subject to payment of 10 % land value of land at(7) as per annual statement of rate.	-
Architect/ Licensed Engineer/ Supervisor name and signature	
Registration No. of Architect/ License no. of Licensed Engineer/ Supervisor: CA/2019/106930	

Certificate of Area:
Certified that the plot under reference was surveyed by me on_____ and the dimensions of sides etc. of plot stated on plan are as measured on site and the area so worked out tallies with the area stated in document of Ownership/ T.P. Scheme Records/Land Records Department/City Survey records.

Signature
(Name of Architect/ Licensed Engineer/ Supervisor.)

Owner's Declaration -
I/We undersigned hereby confirm that I/We would abide by plans approved by Authority / Collector. I/We would execute the structure as per approved plans. Also I/We would execute the work under supervision of proper technical person so as to ensure the quality and safety at the work site.

Owner (s) name and signature

JOB NO : 552

NAME OF OWNER : M/S. MOHAN LIFE SPACE LLP & MAHADEV CORP. THROUGH ITS PARTNER : MR. KUMAR G VIDHANI & OTHERS

POSTAL ADDRESS : FLAT NO : 102, AMBIKA TOWER, GOL MAIDAN AREA, ULHASNAGAR, THANE, MAHARASHTRA - 421001.

PHONE NO: 9545702200

DESCRIPTION OF PROJECT :
PROPOSED BUILDING ON PLOT BEARING S.NO. 81/5(PT), 90/1(PT), & 91/2(PT), [C.T.S NO. 4216(PT), 4217(PT), 4229(PT), 4230(PT)], AT VILLAGE : KALYAN, TALUKA: KALYAN, DIST: THANE.
SITE ADDRESS :
PROPOSED BUILDING ON PLOT BEARING S.NO. 81/5(PT), 90/1(PT), & 91/2(PT), [C.T.S NO. 4216(PT), 4217(PT), 4229(PT), 4230(PT)], AT VILLAGE : KALYAN, TALUKA: KALYAN, DIST: THANE.

Name Of Architect : Tejas Anil Nirgude

LOGO	ADDRESS OF OFFICE
	OFFICE - 5TH FLOOR, MIDTOWN EMBASSY, BEHIND VASANT VALLEY BUS DEPOT, OPP. NARAYANA SCHOOL, GANDHARE, KALYAN - 421301
OWNERS SIGN -	TECHNICAL PERSON SIGN

SCALE -	DATE: Date: 30/01/26
JOB NO - KDMCC-26-08723	CHECK BY - ANIL

SUBMISSION DRAWING

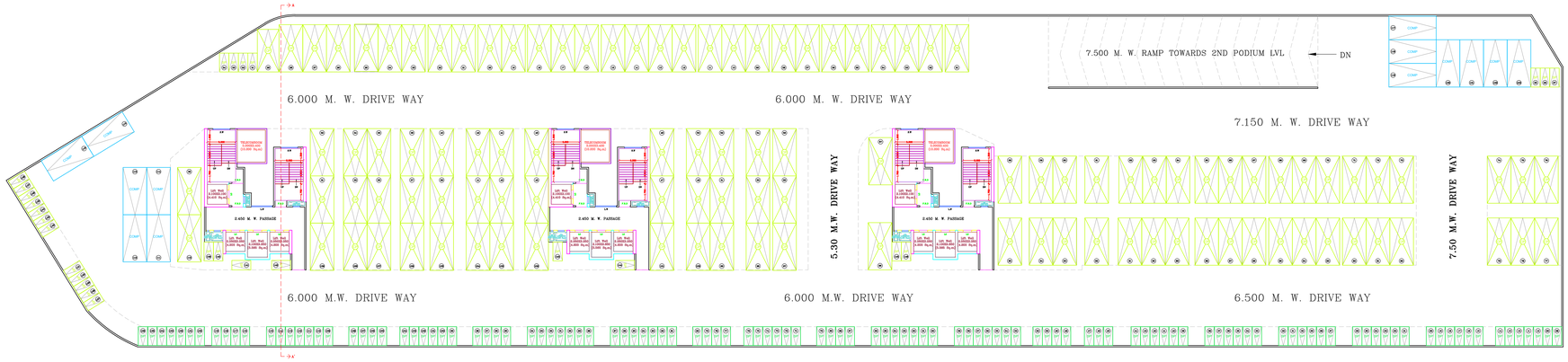

4TH PODIUM LEVEL
(SCALE 1:200)

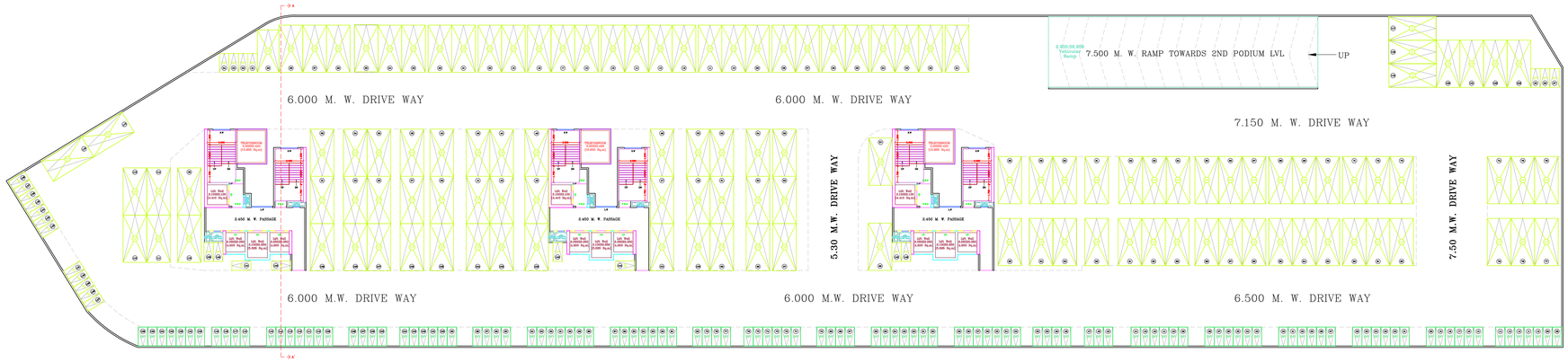

3RD PODIUM LEVEL
(SCALE 1:200)

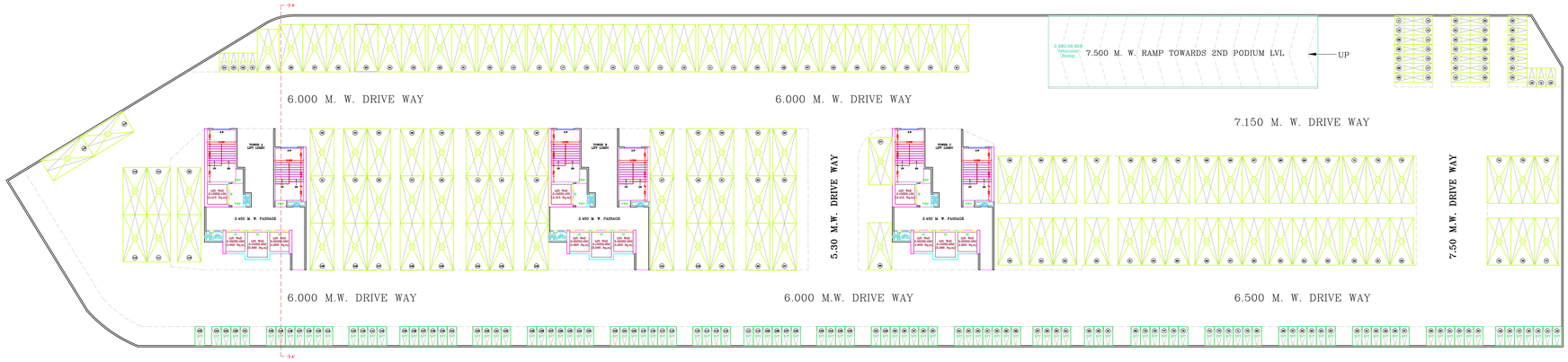

2ND PODIUM LEVEL
(SCALE 1:200)

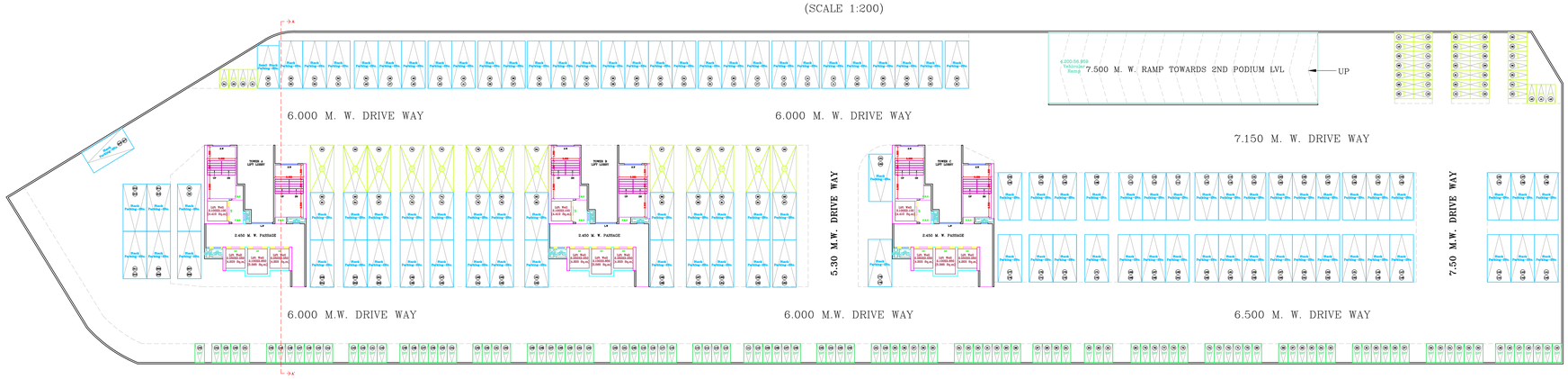

1ST PODIUM LEVEL
(SCALE 1:200)

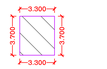

BUILT-UP AREA CALCULATION
4TH PODIUM LEVEL FLOOR (TOWER A)
SCALE 1:200

BUILT UP AREA CALCULATION FOR 4TH PODIUM LEVEL FLOOR TOWER A			
AREA NAME	LENGTH	WIDTH	Area(Sq.M)
BLOCK	3.700	3.300	12.210
BLOCK AREA TOTAL =12.210SqM			
TOTAL Deduction =0.000SqM			
Net BuiltUp Area =12.210 SqM			

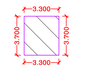

BUILT-UP AREA CALCULATION
4TH PODIUM LEVEL FLOOR (TOWER C)
SCALE 1:200

BUILT UP AREA CALCULATION FOR 4TH PODIUM LEVEL FLOOR TOWER C			
AREA NAME	LENGTH	WIDTH	Area(Sq.M)
BLOCK	3.700	3.300	12.210
BLOCK AREA TOTAL =12.210SqM			
TOTAL Deduction =0.000SqM			
Net BuiltUp Area =12.210 SqM			

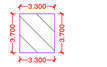

BUILT-UP AREA CALCULATION
4TH PODIUM LEVEL FLOOR (TOWER B)
SCALE 1:200

BUILT UP AREA CALCULATION FOR 4TH PODIUM LEVEL FLOOR TOWER B			
AREA NAME	LENGTH	WIDTH	Area(Sq.M)
BLOCK	3.700	3.300	12.210
BLOCK AREA TOTAL =12.210SqM			
TOTAL Deduction =0.000SqM			
Net BuiltUp Area =12.210 SqM			

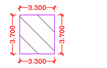

BUILT-UP AREA CALCULATION
3RD PODIUM LEVEL FLOOR (TOWER A)
SCALE 1:200

BUILT UP AREA CALCULATION FOR 3RD PODIUM LEVEL FLOOR TOWER A			
AREA NAME	LENGTH	WIDTH	Area(Sq.M)
BLOCK	3.700	3.300	12.210
BLOCK AREA TOTAL =12.210SqM			
TOTAL Deduction =0.000SqM			
Net BuiltUp Area =12.210 SqM			

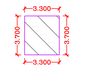

BUILT-UP AREA CALCULATION
3RD PODIUM LEVEL FLOOR (TOWER B)
SCALE 1:200

BUILT UP AREA CALCULATION FOR 3RD PODIUM LEVEL FLOOR TOWER B			
AREA NAME	LENGTH	WIDTH	Area(Sq.M)
BLOCK	3.700	3.300	12.210
BLOCK AREA TOTAL =12.210SqM			
TOTAL Deduction =0.000SqM			
Net BuiltUp Area =12.210 SqM			

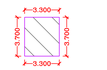

BUILT-UP AREA CALCULATION
3RD PODIUM LEVEL FLOOR (TOWER C)
SCALE 1:200

BUILT UP AREA CALCULATION FOR 3RD PODIUM LEVEL FLOOR TOWER C			
AREA NAME	LENGTH	WIDTH	Area(Sq.M)
BLOCK	3.700	3.300	12.210
BLOCK AREA TOTAL =12.210SqM			
TOTAL Deduction =0.000SqM			
Net BuiltUp Area =12.210 SqM			

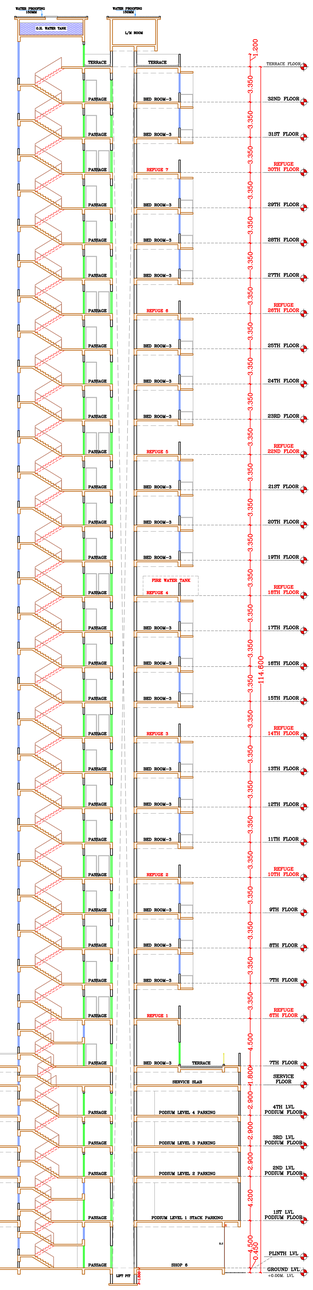

SECTION VIEW AA'
(SCALE 1:200)

Proforma 1 : Area Statement

1. Area of plot (Minimum area of a, b, c to be considered)	9811.000
(a) As per ownership document (7/12, CTS extract)	9811.000
(b) as per TILR or City Survey measurement sheet	9811.000
(c) as per Demarcated drawing area	11698.931
LESS	
2.Area not in possession	0.000
3. Area Proposed for development (out of 1-2)	9811.000
4.Deductions for(out of 3)	
(a) Proposed D.P / D.P. Road widening Area/Proposed DP road, Road under MMC act	0.000
(b) Any D.P. Reservation area	0.000
(c) Green Belt	0.000
(Total a+b+c)	0.000
5. Plot Under accommodation Reservation	9811.000
6.Recreational Open Space (Not applicable if plots are from sanctioned layout.)	-
(a). If area is more than (5) 4000 sqmt - 10 % of (5) is required.	0.000
Proposed___	0.000
(b). If area is less than 4000 sqmt	-
(A)10 % Subject to minimum 200 sqmt(Not applicable if plots are from sanctioned layout or each plot admesuring less than 4000sq.m regularised under gunthewari act)	0.000
Proposed ___	0.000
(B)Exemption to leave open space subject to availing basic F.S.I of 75 %	-
(C)Exemption to leave open space subject to payment of 10 % land value of land at (7) as per annual statement of rate.	-

Architect/ Licensed Engineer/ Supervisor name and signature

Registration No. of Architect/ License no. of Licensed Engineer/ Supervisor: CA/2019/106930

Certificate of Area:
Certified that the plot under reference was surveyed by me on_____ and the dimensions of sides etc. of plot stated on plan are as measured on site and the area so worked out tallies with the area stated in document of Ownership/ T.P. Scheme Records/Land Records Department/City Survey records.

Signature
(Name of Architect/ Licensed Engineer/ Supervisor.)

Owner's Declaration :
I/We undersigned hereby confirm that I/We would abide by plans approved by Authority / Collector. I/We would execute the structure as per approved plans. Also I/We would execute the work under supervision of proper technical person so as to ensure the quality and safety at the work site.

Owner (s) name and signature

JOB NO : 552

NAME OF OWNER : M/S. MOHAN LIFE SPACE LLP & MAHADEV CORP. THROUGH ITS PARTNER : MR. KUMAR G VIDHANI & OTHERS

POSTAL ADDRESS : FLAT NO : 102, AMBIKA TOWER, GOL MAIDAN AREA, ULHASNAGAR, THANE, MAHARASHTRA - 421001.

PHONE NO :9543702200

DESCRIPTION OF PROJECT :

PROPOSED BUILDING ON PLOT BEARING S.NO: 81/5(PT), 90/1(PT), & 91/2(PT), [C.T.S NO. 4216(PT), 4217(PT), 4229(PT), 4230(PT)], AT VILLAGE : KALYAN, TALUKA: KALYAN, DIST: THANE.

SITE ADDRESS :
PROPOSED BUILDING ON PLOT BEARING S.NO: 81/5(PT), 90/1(PT), & 91/2(PT), [C.T.S NO. 4216(PT), 4217(PT), 4229(PT), 4230(PT)], AT VILLAGE : KALYAN, TALUKA: KALYAN, DIST: THANE.

Name Of Architect : Tejas Anil Nirgude

LOGO	ADDRESS OF OFFICE
	OFFICE : 5TH FLOOR, MIDTOWN EMBASSY, BEHIND VASANT VALLEY BUS DEPOT, OPP. NARAYANA SCHOOL, GANDHARI, KALYAN - 421301
OWNERS SIGN -	TECHNICAL PERSON SIGN

SCALE -	DATE: Date: 30/01/26	
JOB NO - KDMCC-26-08723	CHECK BY - ANIL	

SUBMISSION DRAWING

FLOOR PLANS	SHEET NO 4/05

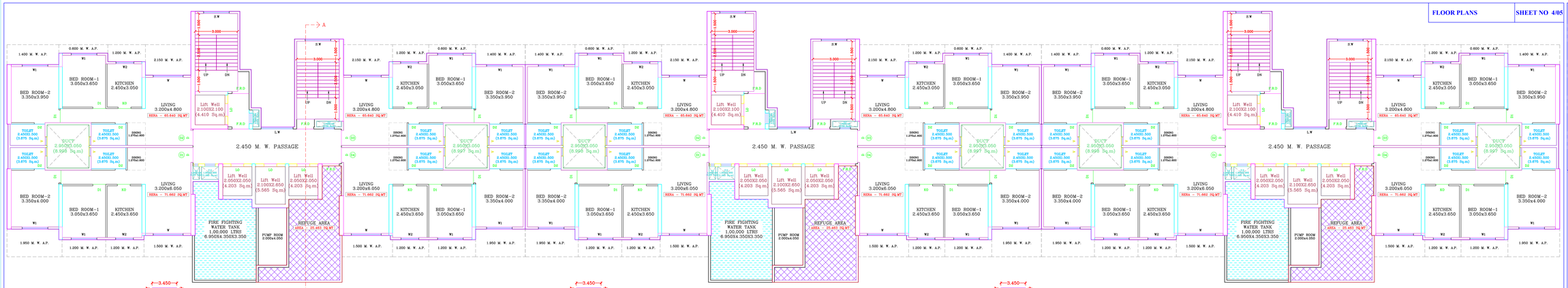

18TH FLOOR PLAN
(REFUGE & FIRE TANK FLOOR PLAN)
(SCALE 1:100)

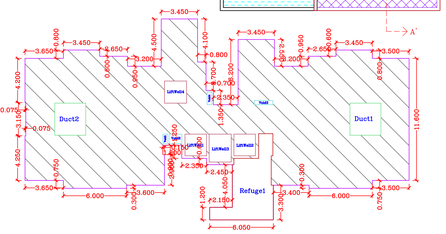

BUILT-UP AREA CALCULATION
18TH FLOOR (RESIDENTIAL TOWER A)
SCALE 1:200

BUILT-UP AREA CALCULATION
FOR 18TH FLOOR TOWER A

AREA NAME	LENGTH	WIDTH	Area(Sq.M)
BLOCK	36.000	19.100	446.410
BLOCK AREA TOTAL =446.410Sq.M			
Refuge1	-	-	27.000
Vent4	-	-	0.540
Vent3	-	-	0.700
Vent2	-	-	1.080
Vent1	-	-	0.405
LiftWell4	-	-	4.410
LiftWell3	-	-	5.565
LiftWell2	-	-	4.203
LiftWell1	-	-	4.203
Duct2	-	-	8.996
Duct1	-	-	8.997
TOTAL Deduction =67.031Sq.M			
Net BuiltUp Area =379.379 Sq.M			

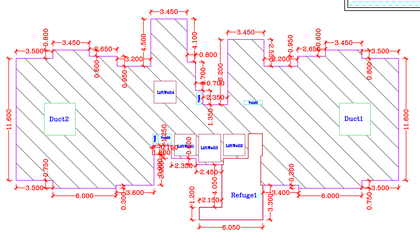

BUILT-UP AREA CALCULATION
18TH FLOOR (RESIDENTIAL TOWER B)
SCALE 1:200

BUILT-UP AREA CALCULATION
FOR 18TH FLOOR TOWER B

AREA NAME	LENGTH	WIDTH	Area(Sq.M)
BLOCK	36.350	19.100	444.918
BLOCK AREA TOTAL =444.918Sq.M			
Refuge1	-	-	27.000
Vent4	-	-	0.540
Vent3	-	-	0.700
Vent2	-	-	1.080
Vent1	-	-	0.405
LiftWell4	-	-	4.410
LiftWell3	-	-	5.565
LiftWell2	-	-	4.203
LiftWell1	-	-	4.203
Duct2	-	-	8.996
Duct1	-	-	8.997
TOTAL Deduction =67.031Sq.M			
Net BuiltUp Area =377.887 Sq.M			

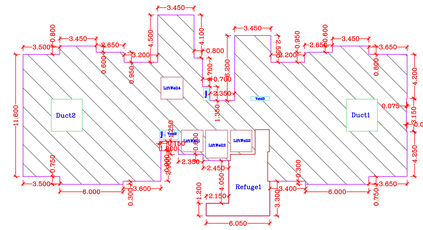

BUILT-UP AREA CALCULATION
18TH FLOOR (RESIDENTIAL TOWER C)
SCALE 1:200

BUILT-UP AREA CALCULATION
FOR 18TH FLOOR TOWER C

AREA NAME	LENGTH	WIDTH	Area(Sq.M)
BLOCK	36.350	19.100	446.410
BLOCK AREA TOTAL =446.410Sq.M			
Refuge1	-	-	27.000
Vent4	-	-	0.540
Vent3	-	-	0.700
Vent2	-	-	1.080
Vent1	-	-	0.405
LiftWell4	-	-	4.410
LiftWell3	-	-	5.565
LiftWell2	-	-	4.203
LiftWell1	-	-	4.203
Duct2	-	-	8.996
Duct1	-	-	8.997
TOTAL Deduction =67.031Sq.M			
Net BuiltUp Area =379.379 Sq.M			

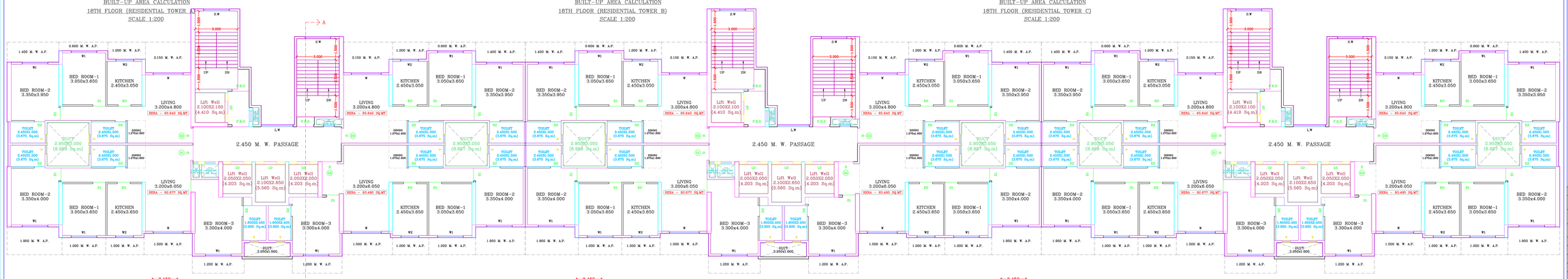

TYPICAL FLOOR PLAN
(7TH TO 9TH, 11TH TO 13TH, 15TH TO 17TH,
19TH TO 21ST, 23RD TO 25TH, 27TH TO 29TH,
31ST & 32ND FLOOR) (SCALE 1:100)

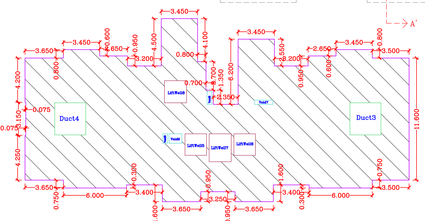

BUILT-UP AREA CALCULATION
7TH TO 9TH, 11TH TO 13TH, 15TH TO 17TH, 19TH TO 21ST,
23RD TO 25TH, 27TH TO 29TH, 31ST & 32ND FLOOR (RESIDENTIAL TOWER A)
SCALE 1:200

BUILT-UP AREA CALCULATION
FOR 7TH TO 9TH 11TH TO 13TH 15TH TO 17TH 19TH TO 21ST 23RD TO 25TH 27TH TO 29TH 31ST AND 32ND FLOOR TOWER A

AREA NAME	LENGTH	WIDTH	Area(Sq.M)
BLOCK	36.350	17.400	461.837
BLOCK AREA TOTAL =461.837Sq.M			
Vent6	-	-	0.540
Vent7	-	-	0.700
Vent8	-	-	1.080
Vent5	-	-	0.405
LiftWell6	-	-	4.410
LiftWell7	-	-	5.565
LiftWell8	-	-	4.203
LiftWell5	-	-	4.203
Duct4	-	-	8.996
Duct3	-	-	8.997
TOTAL Deduction =39.101Sq.M			
Net BuiltUp Area =422.736 Sq.M			

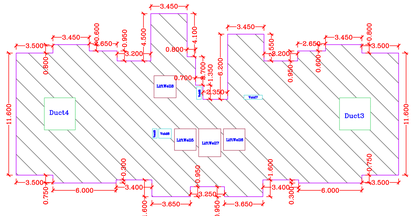

BUILT-UP AREA CALCULATION
7TH TO 9TH, 11TH TO 13TH, 15TH TO 17TH, 19TH TO 21ST,
23RD TO 25TH, 27TH TO 29TH, 31ST & 32ND FLOOR (RESIDENTIAL TOWER B)
SCALE 1:200

BUILT-UP AREA CALCULATION
FOR 7TH TO 9TH 11TH TO 13TH 15TH TO 17TH 19TH TO 21ST 23RD TO 25TH 27TH TO 29TH 31ST AND 32ND FLOOR TOWER B

AREA NAME	LENGTH	WIDTH	Area(Sq.M)
BLOCK	36.350	17.400	461.837
BLOCK AREA TOTAL =461.837Sq.M			
Vent6	-	-	0.540
Vent7	-	-	0.700
Vent8	-	-	1.080
Vent5	-	-	0.405
LiftWell6	-	-	4.410
LiftWell7	-	-	5.565
LiftWell8	-	-	4.203
LiftWell5	-	-	4.203
Duct4	-	-	8.996
Duct3	-	-	8.997
TOTAL Deduction =39.101Sq.M			
Net BuiltUp Area =422.736 Sq.M			

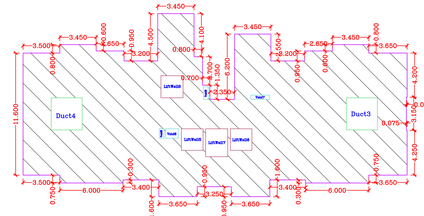

BUILT-UP AREA CALCULATION
7TH TO 9TH, 11TH TO 13TH, 15TH TO 17TH, 19TH TO 21ST,
23RD TO 25TH, 27TH TO 29TH, 31ST & 32ND FLOOR (RESIDENTIAL TOWER C)
SCALE 1:200

BUILT-UP AREA CALCULATION
FOR 7TH TO 9TH 11TH TO 13TH 15TH TO 17TH 19TH TO 21ST 23RD TO 25TH 27TH TO 29TH 31ST AND 32ND FLOOR TOWER C

AREA NAME	LENGTH	WIDTH	Area(Sq.M)
BLOCK	36.350	17.400	461.837
BLOCK AREA TOTAL =461.837Sq.M			
Vent6	-	-	0.540
Vent7	-	-	0.700
Vent8	-	-	1.080
Vent5	-	-	0.405
LiftWell6	-	-	4.410
LiftWell7	-	-	5.565
LiftWell8	-	-	4.203
LiftWell5	-	-	4.203
Duct4	-	-	8.996
Duct3	-	-	8.997
TOTAL Deduction =39.101Sq.M			
Net BuiltUp Area =422.736 Sq.M			

TERRACE FLOOR PLAN
(SCALE 1:100)

Reserved for Board of Approval plan

Proforma I : Area Statement

1. Area of plot (Minimum area of a, b, c to be considered)	9811.000
(a) As per ownership document (7/12, CTS extract)	9811.000
(b) as per TILR or City Survey measurement sheet	9811.000
(c) as per Demarcated drawing area	11698.931
LESS	
2.Area not in possession	0.000
3. Area Proposed for development (out of 1-2)	9811.000
4.Deductions for(out of 3)	
(a) Proposed D.P./ D.P. Road widening Area/Proposed DP road, Road under MMC act	0.000
(b) Any D.P. Reservation area	0.000
(c) Green Belt	0.000
(Total a+b+c)	0.000
5. Plot Under accommodation Reservation	9811.000
6.Recreational Open Space (Not applicable if plots are from sanctioned layout)	-
(a). If area is more than (5) 4000 sqmt - 10 % of (5) is required.	0.000
Proposed___	0.000
(b). If area is less than 4000 sqmt	-
(A)10 % Subject to minimum 200 sqmt(Not applicable if plots are from sioned layout or each plot admesuring less than 4000sq.m regularised under gunthewari act)	0.000
Proposed ___	0.000
(B)Exemption to leave open space subject to availing basic F.S.I of 75 %	-
(C)Exemption to leave open space subject to payment of 10 % land value of land at (7) as per annual statement of rate.	-
Architect/ Licensed Engineer/ Supervisor name and signature	
Registration No. of Architect/ License no. of Licensed Engineer/ Supervisor: CA/2019/106930	

Certificate of Area:
Certified that the plot under reference was surveyed by me on_____ and the dimensions of sides etc. of plot stated on plan are as measured on site and the area so worked out tallies with the area stated in document of Ownership/ T.P. Scheme Records/Land Records Department/City Survey records.

Signature
(Name of Architect/ Licensed Engineer/ Supervisor.)

Owner's Declaration :-
I/We undersigned hereby confirm that I/We would abide by plans approved by Authority / Collector. I/We would execute the structure as per approved plans. Also I/We would execute the work under supervision of proper technical person so as to ensure the quality and safety at the work site.

Owner (s) name and signature

JOB NO : 552

NAME OF OWNER : M/S. MOHAN LIFE SPACE LLP & MAHADEV CORP. THROUGH ITS PARTNER : MR. KUMAR G VIDHANI & OTHERS

POSTAL ADDRESS : FLAT NO : 102, AMBIKA TOWER, GOL MAIDAN AREA, ULHASNAGAR, THANE. MAHARASHTRA - 421001.

PHONE NO: 9545702200

DESCRIPTION OF PROJECT :
PROPOSED BUILDING ON PLOT BEARING S.NO: 81/5(PT), 90/1(PT), & 91/2(PT), [C.T.S NO. 4216(PT), 4217(PT), 4229(PT), 4230(PT)].
AT VILLAGE : KALYAN, TALUKA: KALYAN, DIST: THANE.

SITE ADDRESS :
PROPOSED BUILDING ON PLOT BEARING S.NO: 81/5(PT), 90/1(PT), & 91/2(PT), [C.T.S NO. 4216(PT), 4217(PT), 4229(PT), 4230(PT)].
AT VILLAGE : KALYAN, TALUKA: KALYAN, DIST: THANE.

Name Of Architect : Tejas Anil Nirgude

LOGO	ADDRESS OF OFFICE
	OFFICE - 5TH FLOOR, MIDTOWN EMBASSY, BEHIND VASANT VALLEY BUS DEPOT, OPP. NARAYANA SCHOOL, GANDHARE, KALYAN - 421301
OWNERS SIGN -	TECHNICAL PERSON SIGN
SCALE -	DATE: Date: 30/01/26
JOB NO - KDMCC-26-08723	CHECK BY - ANIL

SUBMISSION DRAWING

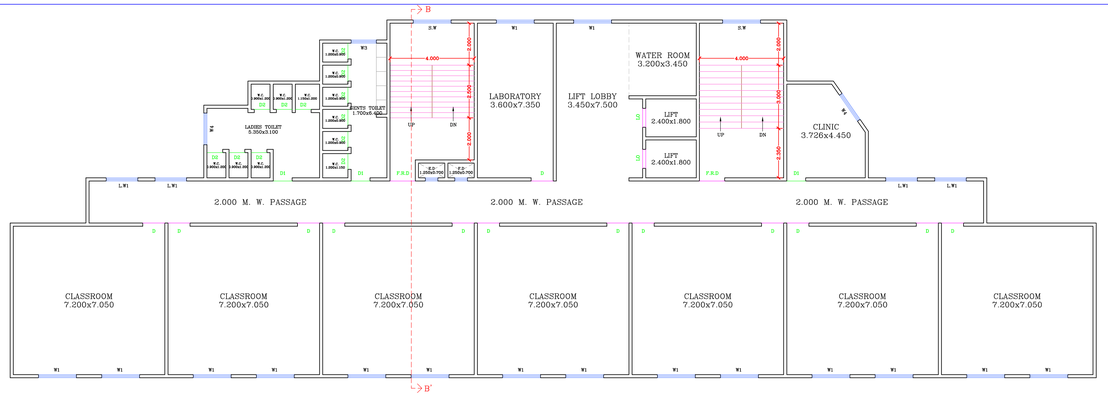

TYPICAL FLOOR PLAN
(2ND TO 4TH, 6TH & 7TH FLOOR)
(SCALE 1:100)

BUILT UP AREA CALCULATION

1ST TO 4TH, 6TH & 7TH FLOOR						
B	51.600	X	17.000	X 1 NO	=	877.200 SQ.MT.
				TOTAL ADDITION	=	877.200 SQ.MT. X

DEDUCTIONS

1	3.600	X	9.650	X 1 NO	=	34.740 SQ.MT.
2	5.600	X	7.500	X 1 NO	=	42.000 SQ.MT.
3	2.100	X	4.050	X 1 NO	=	8.505 SQ.MT.
4	3.400	X	2.900	X 1 NO	=	9.860 SQ.MT.
5	3.200	X	0.950	X 1 NO	=	3.040 SQ.MT.
6	1.250	X	0.700	X 2 NOS	=	1.750 SQ.MT.
7	2.400	X	1.800	X 2 NOS	=	8.640 SQ.MT.
8	14.704	X	2.900	X 1 NO	=	42.642 SQ.MT.
9	10.824	X	4.600	X 1 NO	=	49.790 SQ.MT.
10	5.200	X	2.150	X 1 NO	=	11.180 SQ.MT.
11	1/2 X 2.911	X	1.366	X 1 NO	=	1.988 SQ.MT.
				TOTAL DEDUCTION	=	214.135 SQ.MT. Y1
TOTAL BUILT UP AREA [X – Y1]					=	663.062 SQ.MT. X1

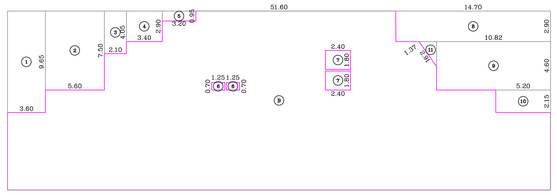

BUILT-UP AREA CALCULATION
1ST TO 4TH, 6TH & 7TH FLOOR (SCHOOL BUILDING)
SCALE 1:200

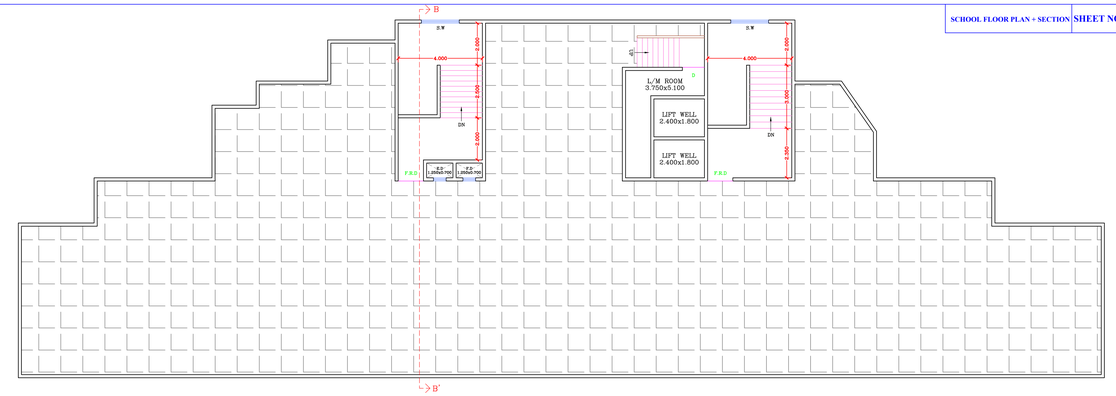

TERRACE FLOOR PLAN
(SCALE 1:100)

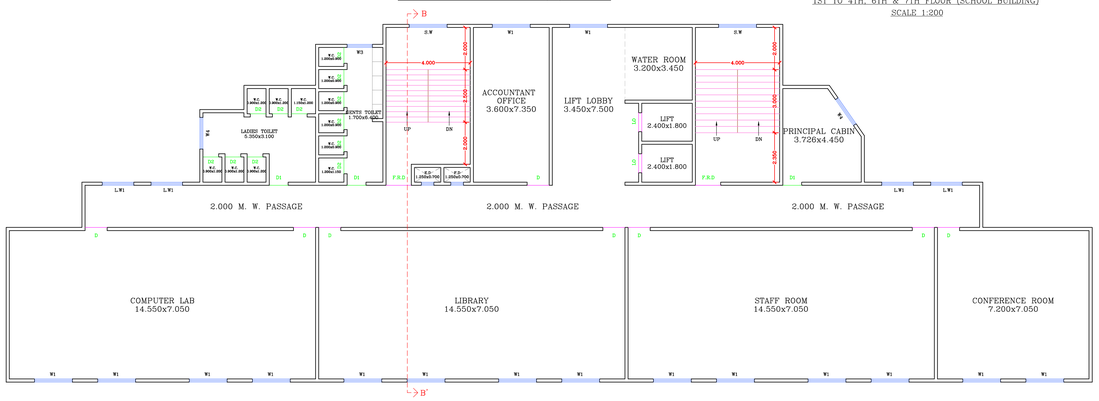

1ST FLOOR PLAN
(SCALE 1:100)

BUILT UP AREA CALCULATION

GROUND FLOOR						
A	27.825	X	17.000	X 1 NO	=	473.042 SQ.MT.
				TOTAL ADDITION	=	473.042 SQ.MT. X

DEDUCTIONS

1	1.350	X	2.850	X 1 NO	=	3.850 SQ.MT.
2	2.800	X	2.000	X 1 NO	=	5.600 SQ.MT.
3	1.250	X	0.700	X 2 NOS	=	1.750 SQ.MT.
4	2.400	X	1.800	X 2 NOS	=	8.640 SQ.MT.
5	8.825	X	2.900	X 1 NO	=	25.585 SQ.MT.
6	4.950	X	4.600	X 1 NO	=	22.770 SQ.MT.
7	1/2 X 2.911	X	1.366	X 1 NO	=	1.988 SQ.MT.
				TOTAL DEDUCTION	=	70.193 SQ.MT. Y1
TOTAL BUILT UP AREA [X – Y1]					=	402.849 SQ.MT. X1

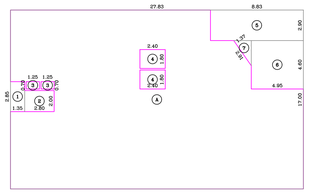

BUILT-UP AREA CALCULATION
GROUND FLOOR (SCHOOL BUILDING)
SCALE 1:200

BUILT UP AREA CALCULATION

5TH FLOOR						
C	51.600	X	17.000	X 1 NO	=	877.200 SQ.MT.
				TOTAL ADDITION	=	877.200 SQ.MT. X

DEDUCTIONS

1	3.600	X	9.650	X 1 NO	=	34.740 SQ.MT.
2	5.600	X	7.500	X 1 NO	=	42.000 SQ.MT.
3	2.100	X	4.050	X 1 NO	=	8.505 SQ.MT.
4	3.400	X	2.900	X 1 NO	=	9.860 SQ.MT.
5	3.200	X	0.950	X 1 NO	=	3.040 SQ.MT.
6	1.250	X	0.700	X 2 NOS	=	1.750 SQ.MT.
7	2.400	X	1.800	X 2 NOS	=	8.640 SQ.MT.
8	14.704	X	2.900	X 1 NO	=	42.647 SQ.MT.
9	10.824	X	4.600	X 1 NO	=	49.790 SQ.MT.
10	5.200	X	2.150	X 1 NO	=	11.180 SQ.MT.
11	14.550	X	7.200	X 1 NO	=	104.760 SQ.MT.
12	1/2 X 2.911	X	1.366	X 1 NO	=	1.988 SQ.MT.
				TOTAL DEDUCTION	=	318.898 SQ.MT. Y1
TOTAL BUILT UP AREA [X – Y1]					=	558.302 SQ.MT. X1

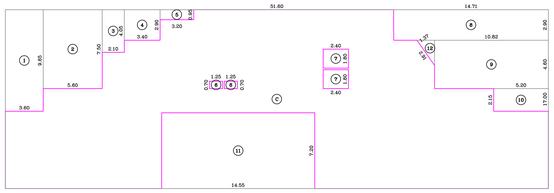

BUILT-UP AREA CALCULATION
5TH FLOOR (SCHOOL BUILDING)
SCALE 1:200

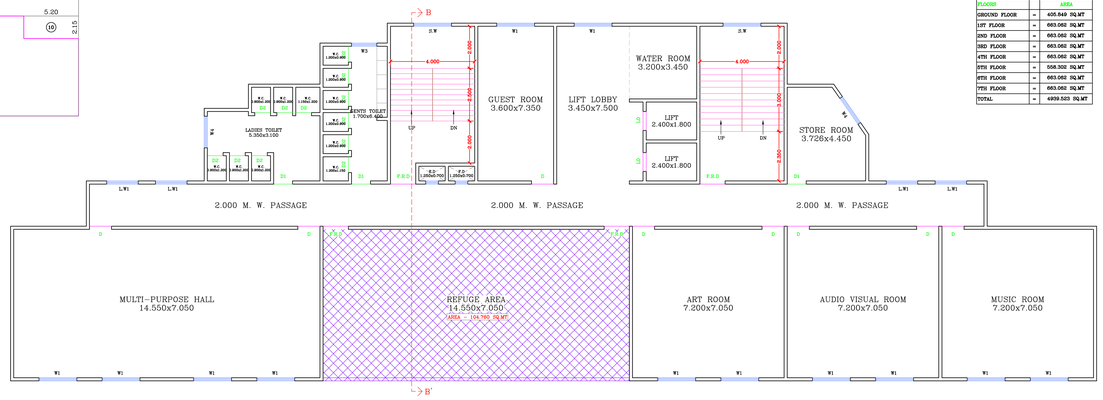

5TH FLOOR PLAN
(SCALE 1:100)

TOTAL BUILT UP AREA FOR SCHOOL BUILDING (AS PANCHAYAT)

FLOORS		AREA
GROUND FLOOR	=	405.849 SQ.MT
1ST FLOOR	=	663.062 SQ.MT
2ND FLOOR	=	663.062 SQ.MT
3RD FLOOR	=	663.062 SQ.MT
4TH FLOOR	=	663.062 SQ.MT
5TH FLOOR	=	558.302 SQ.MT
6TH FLOOR	=	663.062 SQ.MT
7TH FLOOR	=	663.062 SQ.MT
TOTAL	=	4899.523 SQ.MT

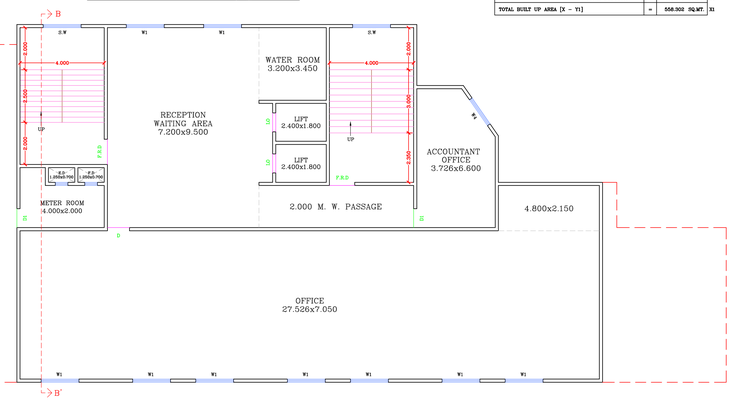

GROUND FLOOR PLAN
(SCALE 1:100)

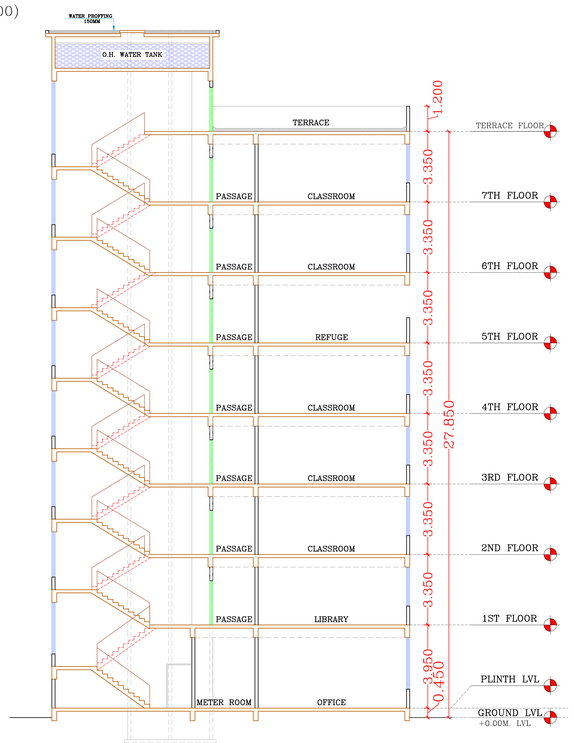

SECTION VIEW BB'
(SCALE 1:100)

Reserved for Board of Approval plan

Proforma 1 : Area Statement

1. Area of plot (Minimum area of a, b, c to be considered)	9811.000
(a) As per ownership document (7/12, CTS extract)	9811.000
(b) as per TILR or City Survey measurement sheet	9811.000
(c) as per Demarcated drawing area	11698.931
LESS	
2.Area not in possession	0.000
3. Area Proposed for development (out of 1-2)	9811.000
4.Deductions for(out of 3) :	
(a) Proposed D.P.(/ D.P. Road widening Area/Proposed DP road, Road under MMC act	0.000
(b) Any D.P. Reservation area	0.000
(c) Green Belt	0.000
(Total a+b+c)	0.000
5. Plot Under accommodation Reservation	9811.000
6.Recreational Open Space (Not applicable if plots are from sanctioned layout)	-
(a). If area is more than (5) 4000 sqmt - 10 % of (5) is required.	0.000
Proposed____	0.000
(b). If area is less than 4000 sqmt	-
(A)10 % Subject to minimum 200 sqmt(Not applicable if plots are from sanctioned layout or each plot admesuring less than 4000sq.m regularised under gunthewari act)	0.000
Proposed _____	0.000
(B)Exemption to leave open space subject to availing basic F.S.I of 75 %	-
(C)Exemption to leave open space subject to payment of 10 % land value of land at (7) as per annual statement of rate.	-

Architect/ Licensed Engineer/ Supervisor name and signature

Registration No. of Architect/ License no. of Licensed Engineer/ Supervisor: CA/2019/106930

Certificate of Area:
Certified that the plot under reference was surveyed by me on_____ and the dimensions of sides etc. of plot stated on plan are as measured on site and the area so worked out tallies with the area stated in document of Ownership/ T.P. Scheme Records/Land Records Department/City Survey records.

Signature
(Name of Architect/ Licensed Engineer/ Supervisor.)

Owner's Declaration :
I/We undersigned hereby confirm that I/We would abide by plans approved by Authority / Collector. I/We would execute the structure as per approved plans. Also I/We would execute the work under supervision of proper technical person so as to ensure the quality and safety at the work site.

Owner (s) name and signature

JOB NO : 552

NAME OF OWNER : M/S. MOHAN LIFE SPACE LLP & MAHADEV CORP. THROUGH ITS PARTNER : MR. KUMAR G VIDHANI & OTHERS

POSTAL ADDRESS : FLAT NO : 102, AMBIKA TOWER, GOL MAIDAN AREA, ULHASNAGAR, THANE, MAHARASHTRA - 421001.

PHONE NO :9543702200

DESCRIPTION OF PROJECT :

PROPOSED BUILDING ON PLOT BEARING S.NO: 81/5(PT), 90/1(PT), & 91/2(PT), [C.T.S NO. 4216(PT), 4217(PT), 4229(PT), 4230(PT)].
AT VILLAGE : KALYAN, TALUKA: KALYAN, DIST: THANE.

SITE ADDRESS :
PROPOSED BUILDING ON PLOT BEARING S.NO: 81/5(PT), 90/1(PT), & 91/2(PT), [C.T.S NO. 4216(PT), 4217(PT), 4229(PT), 4230(PT)].
AT VILLAGE : KALYAN, TALUKA: KALYAN, DIST: THANE.

Name Of Architect : Tejas Anil Nirgude

LOGO	ADDRESS OF OFFICE
	OFFICE - 5TH FLOOR, MIDTOWN EMBASSY, BEHIND VASANT VALLEY BUS DEPOT, OPP. NARAYANA SCHOOL, GANDHARE, KALYAN - 421301

OWNERS SIGN -	TECHNICAL PERSON SIGN

SCALE -	DATE:	Date: 30/01/26
JOB NO - KDMCC-26-08723	CHECK BY -	ANIL

SUBMISSION DRAWING