PROJECT:
PROPOSED DEVELOPMENT OF PHADKE NIWAS HAVING CTS NO. 7029 & 7017 MOUJE - NAVI DOMBIVILI (E).

SHEET NO. 02/02

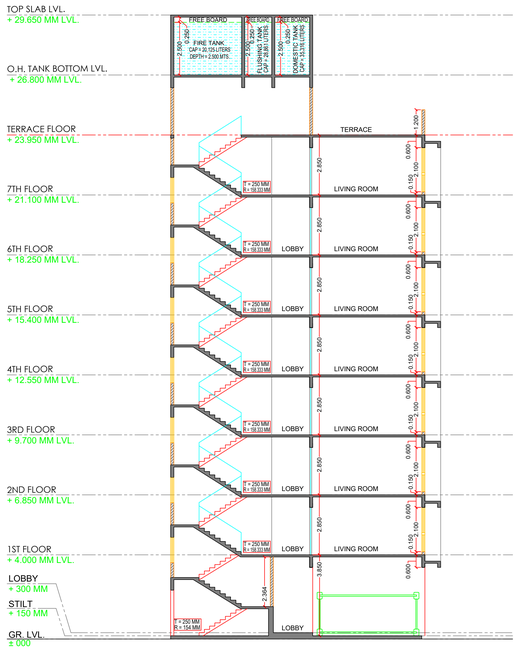

SECTION A - A

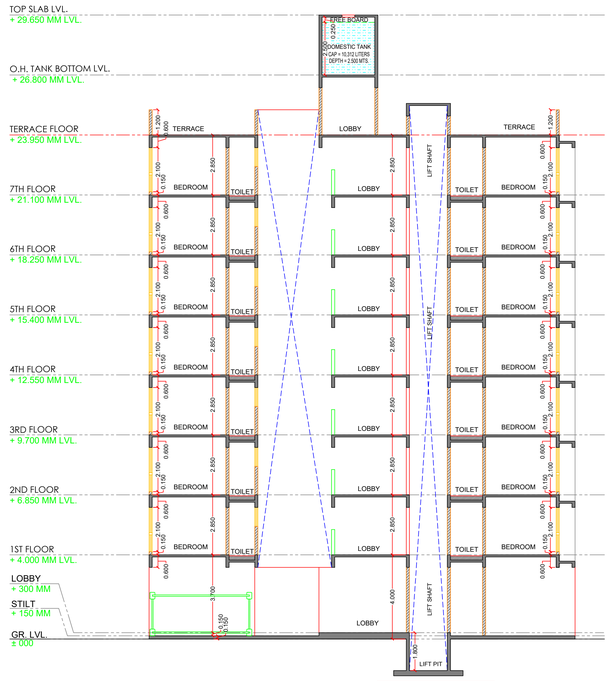

SECTION A - A

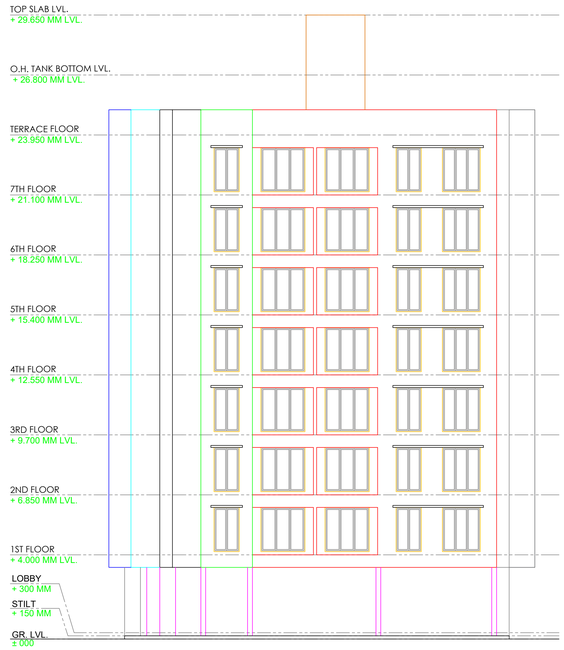

FRONT ROAD SIDE ELEVATION

TABLE NO. 8 - PARKING REQUIREMENTS FOR MULTY FAMILY RESIDENTIAL WITH COMMERCIAL AREA

				As per Notification, dtd: 28.12.2022			
				PARKING SPACES REQ. (NON CONGESTED AREA)		PARKING SPACE PROP. (NON CONGESTED AREA)	
SR.NO.	OCCUPANCY	REQUIRED PARKING RATE	TOTAL NO. OF FLAT	CAR	SCOOTER	CAR	SCOOTER
1	RESIDENTIAL	For every tenement having carpet area of 150 sq.m. and above	0	2	1	0.00	0.00
2		For every tenement having carpet area equal to or above 80 sq.m. but less than 150 sq.m.	0	1	1	0.00	0.00
3		For every two tenements with each tenement having carpet area equal to or above 40 sq.m. but less than 80 sq.m.	20	1	2	10.00	20.00
4		For every two tenements with each tenement having carpet area less than 40 sq.m. but more than 30 sq.m.	7	1	2	3.50	7.00
5		For every two tenements with each tenement having carpet area less than 30 sq.m.	0	0	2	0.00	0.00
6	COMMERCIAL	For every 100 sq.m. carpet area or fraction thereof.	0	2	6	0.00	0.00
7	Office & I.T. Building	For every 200 sq.m. carpet area or fraction thereof.	0	3	11	0.00	0.00
Parking Requirement (Quantum)			Residential			14	27
			Commercial			0	0
Add 5% Visitors Parking for Residential area						1	1
TOTAL						15	**28**
With Multiplying Factor on total Parking as per Table 8C - 0.8				Multiplying Factor Not applicable for Scooter Parking		12	28
				CAR	SCOOTER		
PARKING REQUIREMENT (Greater of A and B)				12	28		
COMPOSITE PARKING ONE CAR WITH TWO SCOOTERS MAY BE ALLOWED.				- - -	- - -		
SIX SCOOTERS PARKING MAY BE ALLOWED TO BE CONVERTED IN ONE CAR PARKING (12/6)				2	12		
REQUIRED PARKING (After conversion)				14	16		
PROPOSED PARKING				14	16		

AREA DETAILS OF APARTMENT (RESIDENTIAL)

Building No.	Floor No.	Apartment No.	Rera Carpet Area of Apartment	Area of Balcony attached to Apartment	Area of Enclosed Balcony attached to Flat
(1)	(2)	(3)	(4)	(5)	(6)
1	1st floor	1	38.070 SQ.MTS.	0.000 SQ.MTS.	0.000 SQ.MTS.
		2	78.530 SQ.MTS.	0.000 SQ.MTS.	0.000 SQ.MTS.
		3	0.000 SQ.MTS.	0.000 SQ.MTS.	0.000 SQ.MTS.
		4	40.107 SQ.MTS.	0.000 SQ.MTS.	0.000 SQ.MTS.
	2nd,3rd,4th,5th,6th & 7th, floor	1	38.070 SQ.MTS.	0.000 SQ.MTS.	0.000 SQ.MTS.
		2	52.114 SQ.MTS.	0.000 SQ.MTS.	0.000 SQ.MTS.
		3	40.980 SQ.MTS.	0.000 SQ.MTS.	0.000 SQ.MTS.
		4	40.107 SQ.MTS.	0.000 SQ.MTS.	0.000 SQ.MTS.

WATER CAPACITY CALCULATION (U.G. WATER TANK RESIDENTIAL UNITS)

BUILDING	FLAT NOS.	REQUIRED DOMESTIC 135 LTRS.	TOTAL DOM. LTRS. (A)	REQUIRED FLUSHING 270 LTRS.		ADDITIONAL TOILET 180 LTR. PER SIT		TOTAL FLUSHING LTRS. (B)	TOTAL LITERS (RES.) (A + B)
1	27	135 X 27 X 5	18225	270 X 27	7290	180 X 27	4860	12150	30375
TOTAL	27		18225	0.000	7290	0.000	4860	12150	30375

WATER CAPACITY REQUIRED FOR FIRE FIGHTING U.G. WATER TANK

REQUIRED FIRE TANK	0

PROVIDED U.G. WATER TANK

DOMESTIC TANK (RESIDENTIAL)	21090
FLUSHING TANK (RESIDENTIAL)	16650
DOMESTIC TANK (COMMERCIAL)	0
FLUSHING TANK (COMMERCIAL)	0
FIRE TANK	0
TOTAL PROVIDED WATER TANK CAPACITY	37740 LTRS.

REQUIRED O.H. WATER TANK CAPACITY

BUILDING	TANK	50 % OF U.G. WATER TANK
1	DOMESTIC TANK	9112 LTRS.
	FLUSHING TANK	6075 LTRS.
TOTAL		15187 LTRS.
COMMERCIAL	DOMESTIC TANK	0 LTRS.
	FLUSHING TANK	0 LTRS.
TOTAL		0 LTRS.
TOTAL REQUIRED O.H. WATER TANK		15187 LTRS.

REQUIRED O.H. WATER TANK CAPACITY FOR FIRE FIGHTING

WING - A	20000 LTRS.
TOTAL	20000 LTRS.

PROPOSED O.H. WATER TANK CAPACITY

BUILDING	TANK	CAPACITY
1	DOMESTIC TANK	10312 LTRS.
	FLUSHING TANK	7812 LTRS.
	FIRE TANK	20125 LTRS.
TOTAL		38249 LTRS.
COMMERCIAL	DOMESTIC TANK	0 LTRS.
	FLUSHING TANK	0 LTRS.
TOTAL		0 LTRS.
TOTAL PROPOSED O.H. WATER TANK		38249 LTRS.

Owner Details		
Owner Name	Owner Address	Contact Number
Rasiklal Valji Shaha	12 MANKARNIKA SOCIETY,GOPAL NAGAR LANE NO 3,Kalyan,Thane,Maharashtra-421201	9892020111
Rasiklal shaha	12 manakarnika society gopal nagar lane no 3dombivli east	9892020111

Proforma I : Area Statement	
1. Area of plot(Minimum area of a, b, c to be considered) or area of subplot with sanctioned layout No. and subplot No.	451.500
(a) As per ownership document (7/12, CTS extract)	451.500
(b) as per TILR or City Survey measurement sheet	451.500
(c) as per Demarcated drawing area	466.103
LESS	
2.Area not in possession	0.000
3. Area Proposed for development (out of 1-2)	451.500
4.Deductions for(out of 3)	
(a) Proposed D.P./ D.P. Road widening Area/Proposed DP road, Road under MMC act	0.000
(b) Any D.P. Reservation area	0.000
(c) Green Belt	0.000
(Total a+b+c)	0.000
5. Balance area of plot (3-4)	451.500
6. Amenity Space Proposed	0.000
(Required -(a) Upto 20,000 sqmt - Nil	-
(b) Above 20,000 and more - (a) + 5% of Total area	0.000
7. Net Plot Area (5-6)	451.500
8.Recreational Open Space (Not applicable if plots are from sanctioned layout)	-
(a). If area is more than (5) 4000 sqmt - 10 % of (5) is required.	0.000
Proposed	0.000
(A)10 % Subject to minimum 200 sqmt(Not applicable if plots are from sanctioned layout or each plot admeuring less than 4000sq.m regularised under gunthewari act)	0.000
Proposed	0.000
(B)Exemption to leave open space subject to availing basic F.S.I of 75 %	-
(C)Exemption to leave open space subject to payment of 10 % land value of land at (7) as per annual statement of rate.	-
If (5) > 4000sq.m then Land admeuring 20% of (5) is to be utilised for inclusive housing	0.000
Proposed Area	0.000

Architect/ Licensed Engineer/ Supervisor name and signature

Registration No. of Architect/ License no. of Licensed Engineer/ Supervisor: CA/2020/119810

Certificate of Area:-
Certified that the plot under reference was surveyed by me on_____ and the dimensions of sides etc. of plot stated on plan are as measured on site and the area so worked out tallies with the area stated in document of Ownership/ T.P. Scheme Records/Land Records Department/City Survey records.

Signature
(Name of Architect/ Licensed Engineer/ Supervisor.)

Owner's Declaration:-
I/We undersigned hereby confirm that I/We would abide by plans approved by Authority / Collector. I/We would execute the structure as per approved plans. Also I/We would execute the work under supervision of proper technical person so as to ensure the quality and safety at the work site.

Owner (s) name and signature

Postal Address : 12 MANKARNIKA SOCIETY,GOPAL NAGAR LANE NO 3,Kalyan,Thane,Maharashtra-421201,12 manakarnika society gopal nagar lane no 3dombivli east

DESCRIPTION OF PROJECT :
Type of Proposal : Residential
BUILDING ON CTS. NO./SURVEY NO.-7029

SITE ADDRESS :
PHADKE NIWAS HAVING CTS NO. 7029 & 7017 MOUJE - NAVI DOMBIVLI East

Name Of Architect : harsh tushar shah

LICENCE	ADDRESS OF OFFICE
CA/2020/119810	13, SHIVAJI PATH

A-ONE ARCHITECTS
ARCHITECT - INTERIOR DESIGN - CONSULTANT

OWNERS SIGN -	TECHNICAL PERSON SIGN
M/S. YOGIRAJ ENTERPRISES	Ar. HARSH SHAH (Reg. No. CA/2020/119810)

SCALE -	DATE: Date: 07/02/26
JOB NO - KDMCC-26-09625	CHECK BY - zoom

SUBMISSION DRAWING

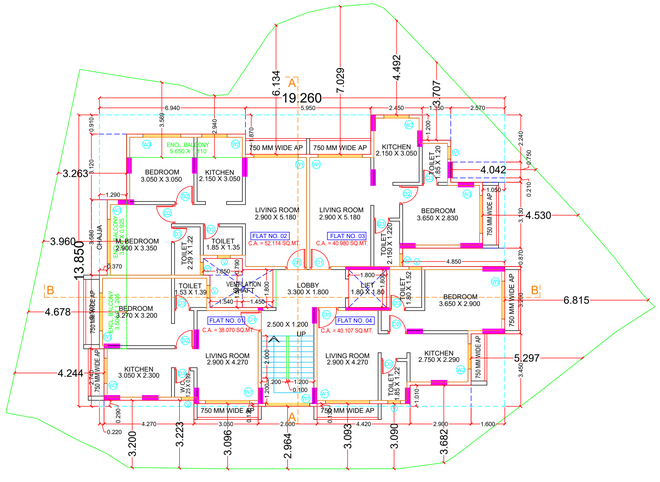

TYPICAL 2ND,3RD,4TH,5TH,6TH & 7TH FLOOR PLAN (SCALE - 1:100) NORTH

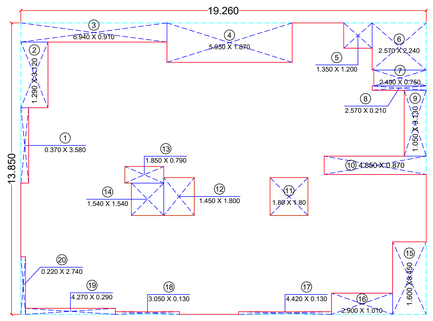

AREA CALCULATION DIAGRAM BOX FOR 2ND TO 7TH FLOOR

BUILT-UP AREA CALCULATION STATEMENT FOR 2ND, 3RD, 4TH, 5TH, 6TH & 7TH FLOOR

A	OVERALL DIMENSION:						
	19.260	X	13.850	X	1	=	266.751 Sq. Mts.
	TOTAL					=	266.751 Sq. Mts.
B	DEDUCTIONS:						
1	0.370	x	3.580	x	1	=	1.325 Sq. Mts.
2	1.290	x	3.120	x	1	=	4.025 Sq. Mts.
3	6.940	x	0.910	x	1	=	6.315 Sq. Mts.
4	5.950	x	1.870	x	1	=	11.127 Sq. Mts.
5	1.350	x	1.200	x	1	=	1.620 Sq. Mts.
6	2.570	x	2.240	x	1	=	5.757 Sq. Mts.
7	2.490	x	0.750	x	1	=	1.868 Sq. Mts.
8	2.570	x	0.210	x	1	=	0.540 Sq. Mts.
9	1.050	x	3.130	x	1	=	3.287 Sq. Mts.
10	4.850	x	0.870	x	1	=	4.219 Sq. Mts.
11	1.800	x	1.800	x	1	=	3.240 Sq. Mts.
12	1.450	x	1.800	x	1	=	2.610 Sq. Mts.
13	1.850	x	0.790	x	1	=	1.462 Sq. Mts.
14	1.540	x	1.540	x	1	=	2.372 Sq. Mts.
15	1.600	x	3.450	x	1	=	5.520 Sq. Mts.
16	2.900	x	1.010	x	1	=	2.929 Sq. Mts.
17	4.420	x	0.130	x	1	=	0.575 Sq. Mts.
18	3.050	x	0.130	x	1	=	0.396 Sq. Mts.
19	4.270	x	0.290	x	1	=	1.238 Sq. Mts.
20	0.220	x	2.740	x	1	=	0.603 Sq. Mts.
TOTAL DEDUCTION						=	61.026 Sq. Mts.
NET B.U.A CONSUMED (A - B) (266.751 - 61.026)						=	205.725 Sq. Mts.
TOTAL B.U.A CONSUMED FOR 2ND,3RD,4TH,5TH,6TH & 7TH FLOOR (205.725 X 06 FLOOR)						=	1234.350 Sq. Mts.
TOTAL NUMBER OF FLATS (4 FLATS X 6 FLOOR)						=	24 FLATS

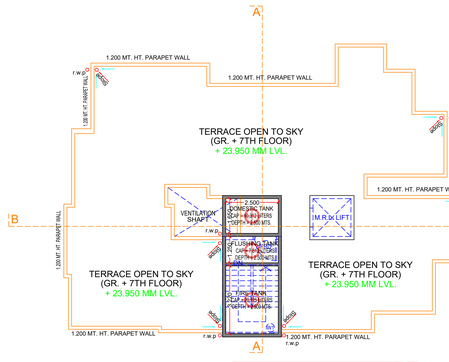

TERRACE FLOOR PLAN (SCALE - 1:100) NORTH

PARAS PLAZA															
BUILDING	FLOORS	COMM.	RES.	IND.	EDU.	INS.	MCD	BALCONY AREA	TERRACE	LIFT	LIFTMEN	DUCT	VENT SHAFT	OTHER DEDUCTION	TOTAL FSI AREA
PARAS PLAZA	TYPICAL 2ND TO 7TH FLOOR	0.000	1202.404	0.000	0.000	0.000	0.000	0.000	0.000	0.000	16.440	0.000	36.658	0.000	1234.356
PARAS PLAZA	FIRST FLOOR	0.000	250.280	0.000	0.000	0.000	0.000	0.000	0.000	0.000	3.240	0.000	8.440	0.000	195.727
PARAS PLAZA	STILT GROUND FLOOR	0.000	14.019	0.000	0.000	0.000	0.000	0.000	0.000	0.000	0.000	0.000	0.000	0.000	14.019
PARAS PLAZA	TOTAL	0.000	1466.663	0.000	0.000	0.000	0.000	0.000	0.000	0.000	22.680	0.000	45.101	0.000	1438.082

Existing Building - Tenament Details											
Sr. No.	Building/Tenament No.	Carpet Area Per Tenament	BUA Per Tenament	Status Of Occupant	Number Of Tenements	Residential/ Non Residential	Total	Incentive 30%/50% per Tenament for vacator	Total Incentive	10 Sqm BUA premium per tenament	Total of 10 sqmt Addition	Total
0	1	1.500	1.500	Tenant	1	Residential	26.670	26.670	0.500	0.000	10.000	62.670

Parking Check (Table 8B)									
		RATIO			Required				
Building Name	USE	TENAMENT AREA	CAR	SCOOTER	W/CAP Tenant/Area Units	CAR	SCOOTER	Transport Vehicle/Architectural Mini Bus
PARAS PLAZA	Residential	For every two tenements with each tenement having carpet area equal to or above 40 sq.m. but less than 80 sq.m.	1	2	20	10.000	20.000	-
PARAS PLAZA	Residential	For every two tenements with each tenement having carpet area less than 40 Sq.m. but more than 30 sq.m.	1	2	7	3.500	7.000	-
Total	-	-	-	-	-	13.500	27.000	-
Total parking(Nos.)	-	-	-	-	-	14	28	-
Total	-	-	-	-	-	14.175	28.350	0.000

Parking Check As Per Multiplying Factor 0.8(In case 1 to 2 scooter equal to 1 car, proposed composite parking for car 3)							
	Required			Proposed			
Building Name	Car	Scooter	Transport Vehicle/Architectural Mini Bus	Car	Scooter	Transport Vehicle/Architectural Mini Bus	STATUS
Total	14	12	0	14	16	0	-

Tenament Details			
Building	Reg. Sale Tenament	Prop. Sale Tenament	Status
PARAS PLAZA	1.00000.000	1	-
PARAS PLAZA	Reg. Rebecon Residencil	1	FINAL

SCHEDULE OF OPENING			
BLD NAME	NAME	LENGTH	HEIGHT	Nos.
PARAS PLAZA	V	0.900	0.900	16

Carpet Area Table								
Building Name	Floor Name	Carpet Area	Tenament No.	Carpet Area	Enclosed Balcony Area	Normal Balcony Area	Mezzanine Area	Total Carpet Area
PARAS PLAZA	FIRST FLOOR	38.071	1	38.071	0.000	0.000	0.000	38.071
PARAS PLAZA	FIRST FLOOR	102	1	78.530	0.000	0.000	0.000	78.530
PARAS PLAZA	FIRST FLOOR	104	1	40.108	0.000	0.000	0.000	40.108
PARAS PLAZA	TYPICAL 2ND TO 7TH FLOOR	201,301,401,501,601 701	6	38.071	0.000	0.000	0.000	38.071
PARAS PLAZA	TYPICAL 2ND TO 7TH FLOOR	202,302,402,502,602 702	6	52.114	0.000	0.000	0.000	52.114
PARAS PLAZA	TYPICAL 2ND TO 7TH FLOOR	203,303,403,503,603 703	6	40.980	0.000	0.000	0.000	40.980
PARAS PLAZA	TYPICAL 2ND TO 7TH FLOOR	204,304,404,504,604 704	6	40.108	0.000	0.000	0.000	40.108

PROJECT:
PROPOSED DEVELOPMENT OF PHADKE NIWAS HAVING CTS NO. 7029 & 7017 MOUJE - NAVI DOMBIVILI (E).

SHEET NO. 01/02

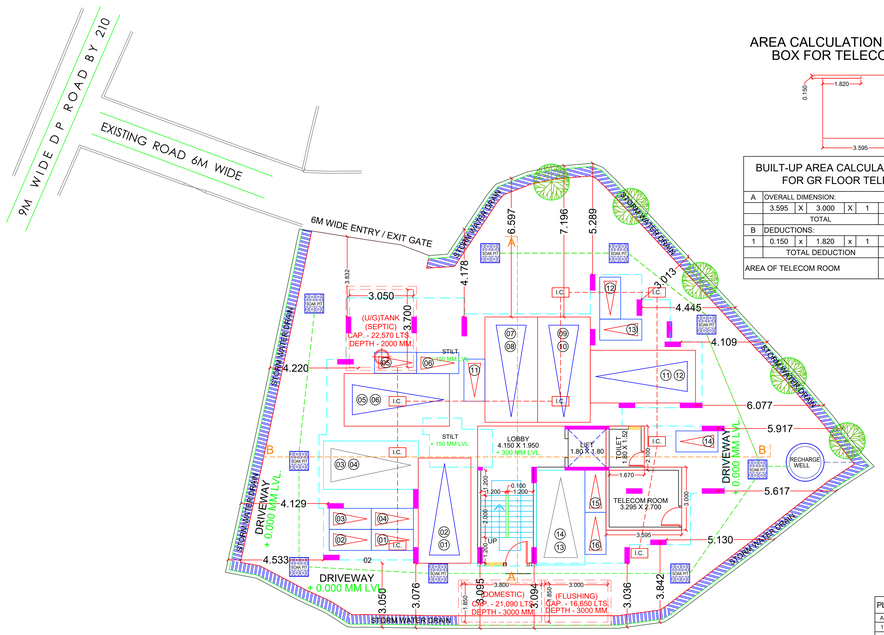

GROUND FLOOR PLAN (SCALE - 1:100) NORTH

AREA CALCULATION DIAGRAM BOX FOR TELECOM ROOM

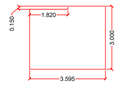

BUILT-UP AREA CALCULATION STATEMENT FOR GR FLOOR TELECOM ROOM									
A	OVERALL DIMENSION:								
	3.595	X	3.000	X	1	=	10.785	Sq. Mts.	
	TOTAL					=	10.785	Sq. Mts.	
B	DEDUCTIONS:								
1	0.150	x	1.820	x	1	=	0.273	Sq. Mts.	
	TOTAL DEDUCTION					=	0.273	Sq. Mts.	
AREA OF TELECOM ROOM						=	10.512	Sq. Mts.	

AREA CALCULATION DIAGRAM BOX FOR GROUND FLOOR

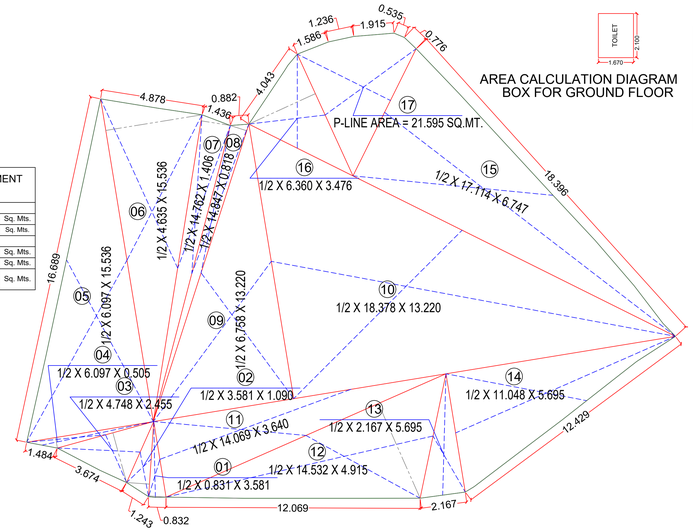

PLOT AREA CALCULATION DAIGRAM (SCALE - 1:200) NORTH

BUILT-UP AREA CALCULATION STATEMENT FOR GROUND FLOOR								
A	OVERALL DIMENSION:							
	1.670	X	2.100	X	1	=	3.507	Sq. Mts.
	TOTAL					=	3.507	Sq. Mts.
B	DEDUCTIONS: NIL							
NET B.U.A. CONSUMED						=	3.507	Sq. Mts.
TOTAL B.U.A CONSUMED FOR GROUND FLOOR						=	3.507	Sq. Mts.

SEPTIC TANK CALCULATION

= TOTAL NO. OF TENEMENTS X 5 PERSON X 160 LTRS.
= 27 FLAT X 5 PERSON X 160 LITRES
= 22,400 LITRES.
REQUIRED CAPACITY = 21,600 LITRES.
PROVIDED CAPACITY = 3.050 X 3.700 X 2.00
PROVIDED CAPACITY = 22,570 LITRES.

PROPOSED BUILDING (BUILT-UP AREA STATEMENT) (RESIDENTIAL)

Building No.	Floor No.	Total Built-up Area of Floor, as per outer construction line
(1)	(2)	(3)
Residential	GROUND	14.019 SQ.MTS.
	1ST FLOOR	190.707 SQ.MTS.
	2ND FLOOR	205.725 SQ.MTS.
	3RD FLOOR	205.725 SQ.MTS.
	4TH FLOOR	205.725 SQ.MTS.
	5TH FLOOR	205.725 SQ.MTS.
	6TH FLOOR	205.725 SQ.MTS.
	7TH FLOOR	205.725 SQ.MTS.
	TOTAL	1439.076
TOTAL B.U.A PROPOSED		1439.076 SQ.MTS.

SUMMARY OF PROPOSED PLINE AREA AS PER UDCPR

SR.NO.	FLOOR	PLINE AREA (Commercial)	PLINE AREA (Residential)	TOTAL
		(A)	(B)	(C)
1	GROUND	0	14.019	14.019
2	1ST	0	190.707	190.707
3	2ND	0	205.725	205.725
4	3RD	0	205.725	205.725
5	4TH	0	205.725	205.725
6	5TH	0	205.725	205.725
7	6TH	0	205.725	205.725
8	7TH	0	205.725	205.725
#	TOTAL	0.000	1439.076	1439.076

Project Details
Proposed code: KDMCC-26-09625
Zone Type: Residential Zone
Location: Non-Congested
Name of service: Redevelopment For Dangerous Building
Built-up area: Redevelopment of dangerous building consisting of owner and tenanted building
City No./Survey No.: 7029
Tahsil: Sector-D
Wards: 2nd Domivali
Premiums Value: 0.000
Occupation(s): Zone-Area

TOTAL GROSS BUILT - UP AREA STATEMENT

SR.NO.	Floor No.	AREA IN SQ.MTRS.
(1)	(2)	(3)
1	GROUND FLOOR	14.019 SQ.MTS.
2	GROUND FLOOR (STILT)	194.886 SQ.MTS.
3	1ST FLOOR	190.707 SQ.MTS.
4	2ND FLOOR	205.725 SQ.MTS.
5	3RD FLOOR	205.725 SQ.MTS.
6	4TH FLOOR	205.725 SQ.MTS.
7	5TH FLOOR	205.725 SQ.MTS.
8	6TH FLOOR	205.725 SQ.MTS.
9	7TH FLOOR	205.725 SQ.MTS.
#	MUMTY SLAB AREA	18.816 SQ.MTS.
1	TOTAL	1652.778
TOTAL GROSS BUILT - UP AREA		1652.778 SQ.MTS.

PROFORMA - 1

Sr. No.			Area (Sq.MT)
		Area of plot (Minimum area of a,b,c to be considered)	
1	A	As per ownership document (7/12, CTS extract)	451.500
	B	As per measurement sheet	466.100
	C	As per site	466.100
		Deductions for	
2	A	Proposed D.P./ D.P. Road widening Area/Service Road/ Highway widening	0.000
	B	Any D.P. Reservation area	0.000
		(Total a + b)	0.000
3		**Balance area of Plot (1 - 2)**	451.500
4	A	Amenity Space (if applicable)	0.000
	B	Adjustment of 2(b), if any -	0.000
	C	Balance Proposed -	0.000
5		**Net Plot Area (3-4 (c))**	451.500
6		Recreational Open Space (if applicable)	
	A	Required 10% Of Plot Area	0.000
	B	Proposed	0.000
7		Internal Road Area	0.000
8		**Plotable area (if applicable)**	0.000
9		Built up area with reference to Basic F.S.I. as per front road width (Sr.No. 5.x basic FSI 1.10)	496.650
10		**Addition of FSI on payment of premium**	
	A	Maximum permissible premium FSI - based on road width/ TOD Zone. (plot area X 0.5 premium FSI)	225.750
	B	Proposed FSI on payment required	225.750
		In-situ FSI / TDR loading	0.000
11	A	In-situ area against D.P. road [2.0 x Sr. No. 2 (a)], if any	0.000
	B	In-situ area against Amenity Space if handed over (2.00 or 1.85 x Sr. No. 4 (b) and / or (c)).	0.000
	C	TDR area (0.40 X Plot Area)	180.600
	D	Total in-situ / TDR loading proposed (11 (a)+(b)+(c))	91.000
12		**Addition FSI area under Chapter No. 7**	0.000
		Total Commercial Area	0.000
		Total Residential B.U.A	89.600
		Total entitlement of FSI in the proposal	0.000
13	A	[9 + 10(b)+11(d)] or 12 whichever is applicable.	903.000
	B	Total Commercial B.U.A consumed	0.000
	C	Ancillary Area F.S.I. up to 80% with payment of charges. (Commercial = 0.00)	0.000
	D	Total Residential B.U.A available (12A - 12B)	903.000
	E	Available Ancillary Area F.S.I. up to 60% with payment of charges. (Residential = 1196.695 X 60%)	541.800
	F	Total entitlement (12B+12C+12D+12E)	1444.800
14		**Maximum utilization limit of F.S.I. (building potential) Permissible as per Road width [(as per Regulation No. 6.1 or 6.2 or 6.3 or 6.4 as applicable) x 1.6 or 1.8), read with Note 3 of 10.10.1**	**1444.800**
15		Total Built-up Area in proposal. (excluding area at Sr.No.17b)	0.000
	A	Existing Built-up Area	0.000
	B	Proposed Built-up Area (as per 'P-line')	
		Commercial	0.000
		Residential	1440.739
	C	Total (a + b)	1440.739
16		**F.S.I. Consumed (15/3) (should not be more than serial No.14 above.)**	**1440.739**
17		**F.S.I. Balance**	**4.061**
18		Area for Inclusive Housing, if any	0.00
	A	Required (20% of Sr.No.5)	0.00
	B	Proposed	0.00

NOTE: The proposed chaijas over openings for protection from sun and rain and architectural features for decoration/ aesthetic purpose shall not be used for any habitable purpose.

Owner Details		
Owner Name	Owner Address	Contact Number
Rashmi Vrdji Shahs	12 MANKARNIKA SOCIETY,GOPAL NAGAR LANE NO 3,Kalyan,Thane,Maharashtra-421201	9892031111
Rashmi shahs	12 mankarnika society gopal nagar lane no 3dombivli east	9892031111

Proforma 1 : Area Statement		
1. Area of plot(Minimum area of a, b, c to be considered) or area of subplot with sanctioned layout No. and subplot No.		451.500
(a) As per ownership document (7/12, CTS extract)		451.500
(b) as per TILR or City Survey measurement sheet		451.500
(c) as per Demarcated drawing area		466.103
LESS		
2.Area not in possession		0.000
3. Area Proposed for development (out of 1-2)		451.500
4.Deductions for(out of 3)		
(a) Proposed D.P./ D.P. Road widening Area/Proposed DP road, Road under MMC act		0.000
(b) Any D.P. Reservation area		0.000
(c) Green Belt		0.000
(Total a+b+c)		0.000
5. Balance area of plot (3-4)		451.500
6. Amenity Space Proposed		0.000
(Required -(a) Upto 20,000 sqmt - Nil (b) Above 20,000 and more - - (a) + 5% of Total area)		0.000
7. Net Plot Area (5-6)		451.500
8.Recreational Open Space (Not applicable if plots are from sanctioned layout)		-
(a). If area is more than (5) 4000 sqmt - 10 % of (5) is required.		0.000
Proposed		0.000
(A)10 % Subject to minimum 200 sqmt(Not applicable if plots are from sanctioned layout or each plot admeuring less than 4000sq.m regularised under gunthewari act)		0.000
Proposed		0.000
(B)Exemption to leave open space subject to availing basic F.S.I of 75 %		-
(C)Exemption to leave open space subject to payment of 10 % land value of land at (7) as per annual statement of rate.		-
# (5) > 4000sq.m then Land admeuring 20% of (5) is to be utilised for inclusive housing		0.000
Proposed Area		0.000
Architect/ Licensed Engineer/ Supervisor name and signature		
Registration No. of Architect/ License no. of Licensed Engineer/ Supervisor: CA/2020/119810		
Certificate of Area:- Certified that the plot under reference was surveyed by me on _____ and the dimensions of sides etc. of plot stated on plan are as measured on site and the area so worked out tallies with the area stated in document of Ownership/ T.P. Scheme Records/Land Records Department/City Survey records.		
Signature (Name of Architect/ Licensed Engineer/ Supervisor.)		
Owner's Declaration:- I/We undersigned hereby confirm that I/We would abide by plans approved by Authority / Collector. I/We would execute the structure as per approved plans. Also I/We would execute the work under supervision of proper technical person so as to ensure the quality and safety at the work site.		
Owner (s) name and signature		

Postal Address : 12 MANKARNIKA SOCIETY,GOPAL NAGAR LANE NO 3,Kalyan,Thane,Maharashtra-421201,12 mankarnika society gopal nagar lane no 3dombivli east

DESCRIPTION OF PROJECT :

Type of Proposal : Residential
BUILDING ON CTS NO./SURVEY NO.-7029

SITE ADDRESS :
PHADKE NIWAS HAVING CTS NO. 7029 & 7017 MOUJE - NAVI DOMBIVILI East

Name Of Architect : harish tushar shah

LOGO	ADDRESS OF OFFICE
A-ONE ARCHITECT	13, SHIVAJI PATH

OWNERS SIGN -	TECHNICAL PERSON SIGN
M/S. YOGIRAJ ENTERPRISES	Ar. HARSH SHAH (Reg. No. CA/2020/119810)

SCALE -	DATE: Date: 07/02/26
JOB NO - KDMCC-26-09625	CHECK BY - zoom

SUBMISSION DRAWING

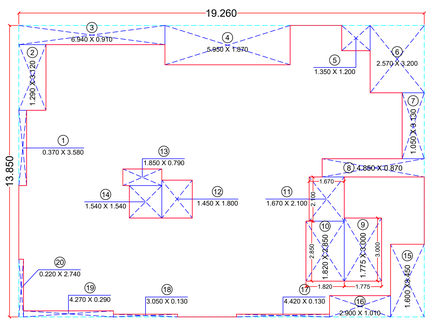

AREA CALCULATION DIAGRAM BOX FOR GROUND FLOOR STILT AREA

STILT AREA CALCULATION STATEMENT FOR GROUND FLOOR								
A	OVERALL DIMENSION:							
	19.260	X	13.850	X	1	=	266.751	Sq. Mts.
	TOTAL					=	266.751	Sq. Mts.
B	DEDUCTIONS:							
1	0.370	x	3.580	x	1	=	1.325	Sq. Mts.
2	1.290	x	3.120	x	1	=	4.025	Sq. Mts.
3	6.940	x	0.910	x	1	=	6.315	Sq. Mts.
4	5.950	x	1.870	x	1	=	11.127	Sq. Mts.
5	1.350	x	1.200	x	1	=	1.620	Sq. Mts.
6	2.570	x	3.200	x	1	=	8.224	Sq. Mts.
7	1.050	x	3.130	x	1	=	3.287	Sq. Mts.
8	4.850	x	0.870	x	1	=	4.219	Sq. Mts.
9	1.775	x	3.000	x	1	=	5.325	Sq. Mts.
10	1.820	x	2.850	x	1	=	5.187	Sq. Mts.
11	1.670	x	2.100	x	1	=	3.507	Sq. Mts.
12	1.450	x	1.800	x	1	=	2.610	Sq. Mts.
13	1.850	x	0.790	x	1	=	1.462	Sq. Mts.
14	1.540	x	1.540	x	1	=	2.372	Sq. Mts.
15	1.600	x	3.450	x	1	=	5.520	Sq. Mts.
16	2.900	x	1.010	x	1	=	2.929	Sq. Mts.
17	4.420	x	0.130	x	1	=	0.575	Sq. Mts.
18	3.050	x	0.130	x	1	=	0.396	Sq. Mts.
19	4.270	x	0.290	x	1	=	1.238	Sq. Mts.
20	0.220	x	2.740	x	1	=	0.603	Sq. Mts.
TOTAL DEDUCTION						=	71.865	Sq. Mts.
NET B.U.A CONSUMED (A - B) (266.751 - 71.865)						=	194.886	Sq. Mts.
TOTAL STILT AREA CONSUMED FOR GROUND FLOOR						=	194.886	Sq. Mts.

PLOT AREA CALCULATION ON TRIANGULATION METHOD									
A	OVERALL DIMENSION:								
1	0.500	x	0.831	x	3.581	x	1	=	1.488 Sq. Mts.
2	0.500	x	3.581	x	1.090	x	1	=	1.952 Sq. Mts.
3	0.500	x	4.748	x	2.455	x	1	=	5.828 Sq. Mts.
4	0.500	x	6.097	x	0.505	x	1	=	1.539 Sq. Mts.
5	0.500	x	6.097	x	15.536	x	1	=	47.361 Sq. Mts.
6	0.500	x	4.635	x	15.536	x	1	=	36.005 Sq. Mts.
7	0.500	x	14.762	x	1.406	x	1	=	10.378 Sq. Mts.
8	0.500	x	14.847	x	0.818	x	1	=	6.072 Sq. Mts.
9	0.500	x	6.758	x	13.220	x	1	=	44.670 Sq. Mts.
10	0.500	x	18.378	x	13.220	x	1	=	121.479 Sq. Mts.
11	0.500	x	14.069	x	3.640	x	1	=	25.606 Sq. Mts.
12	0.500	x	14.532	x	4.915	x	1	=	35.712 Sq. Mts.
13	0.500	x	2.167	x	5.695	x	1	=	6.171 Sq. Mts.
14	0.500	x	11.048	x	5.695	x	1	=	31.459 Sq. Mts.
15	0.500	x	17.114	x	6.747	x	1	=	57.734 Sq. Mts.
16	0.500	x	6.360	x	3.476	x	1	=	11.054 Sq. Mts.
17	P - LINE AREA				21.595	x	1	=	21.595 Sq. Mts.
	TOTAL AREA							=	466.103 Sq. Mts.
TOTAL PLOT AREA AS PER TRIANGULATION METHOD								=	466.103 Sq. Mts.

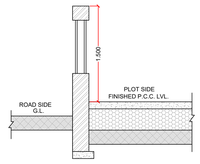

SECTION THROUGH COMPOUND WALL

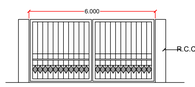

ENTRANCE GATE (ELEVATION)

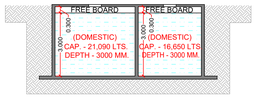

SECTION THROUGH U.G. TANK

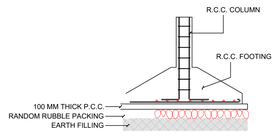

DETAIL OF FOOTING

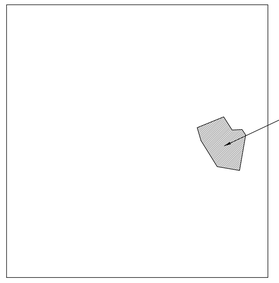

SITE UNDER REFERENCE

LOCATION PLAN

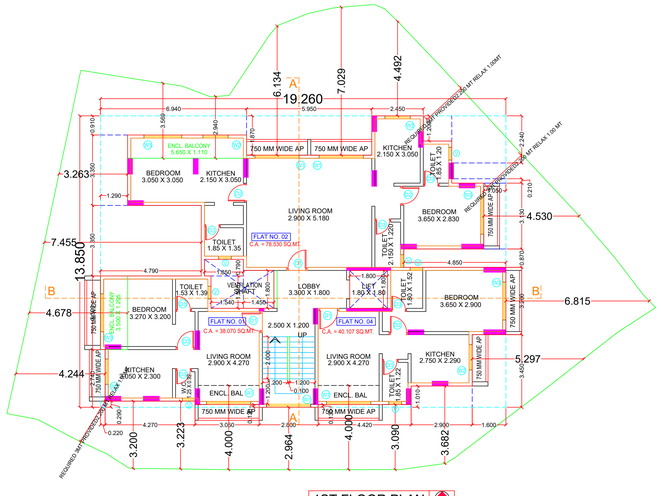

1ST FLOOR PLAN (SCALE - 1:100) NORTH

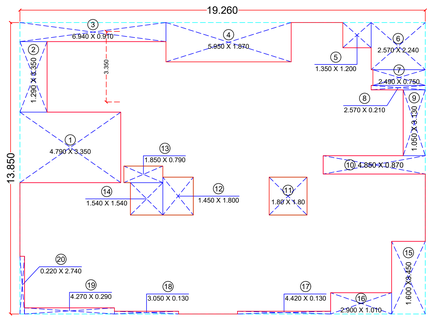

AREA CALCULATION DIAGRAM BOX FOR 1ST FLOOR

BUILT-UP AREA CALCULATION STATEMENT FOR 1ST FLOOR								
A	OVERALL DIMENSION:							
	19.260	X	13.850	X	1	=	266.751	Sq. Mts.
	TOTAL					=	266.751	Sq. Mts.
B	DEDUCTIONS:							
1	4.790	x	3.350	x	1	=	16.047	Sq. Mts.
2	1.290	x	3.350	x	1	=	4.322	Sq. Mts.
3	6.940	x	0.910	x	1	=	6.315	Sq. Mts.
4	5.950	x	1.870	x	1	=	11.127	Sq. Mts.
5	1.350	x	1.200	x	1	=	1.620	Sq. Mts.
6	2.570	x	2.240	x	1	=	5.757	Sq. Mts.
7	2.490	x	0.750	x	1	=	1.868	Sq. Mts.
8	2.570	x	0.210	x	1	=	0.540	Sq. Mts.
9	1.050	x	3.130	x	1	=	3.287	Sq. Mts.
10	4.850	x	0.870	x	1	=	4.219	Sq. Mts.
11	1.800	x	1.800	x	1	=	3.240	Sq. Mts.
12	1.450	x	1.800	x	1	=	2.610	Sq. Mts.
13	1.850	x	0.790	x	1	=	1.462	Sq. Mts.
14	1.540	x	1.540	x	1	=	2.372	Sq. Mts.
15	1.600	x	3.450	x	1	=	5.520	Sq. Mts.
16	2.900	x	1.010	x	1	=	2.929	Sq. Mts.
17	4.420	x	0.130	x	1	=	0.575	Sq. Mts.
18	3.050	x	0.130	x	1	=	0.396	Sq. Mts.
19	4.270	x	0.290	x	1	=	1.238	Sq. Mts.
20	0.220	x	2.740	x	1	=	0.603	Sq. Mts.
TOTAL DEDUCTION						=	76.044	Sq. Mts.
NET B.U.A CONSUMED (A - B) (266.751 - 76.044)						=	190.707	Sq. Mts.
TOTAL B.U.A CONSUMED FOR 1ST FLOOR (190.707 X 01 FLOOR)						=	190.707	Sq. Mts.
TOTAL NUMBER OF FLATS (3 FLATS X 1 FLOOR)						=	3	FLATS