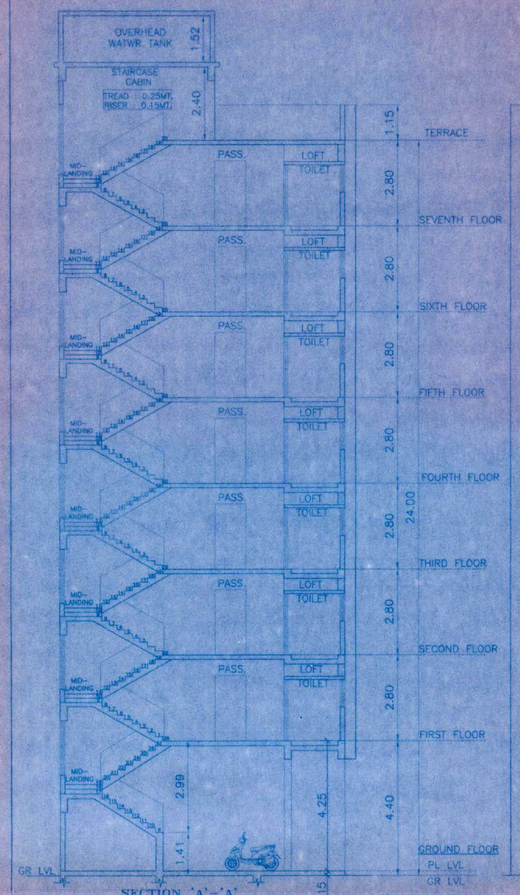

SECTION 'A'-'A'
(SCALE - 1:100)



FRONT SITE ELEVATION
(SCALE - 1:100)

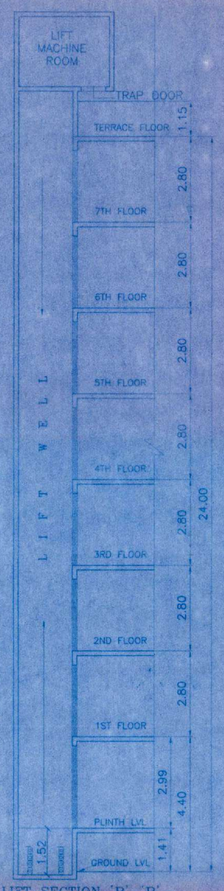

LIFT SECTION 'B'-'B'
(SCALE-1:100)

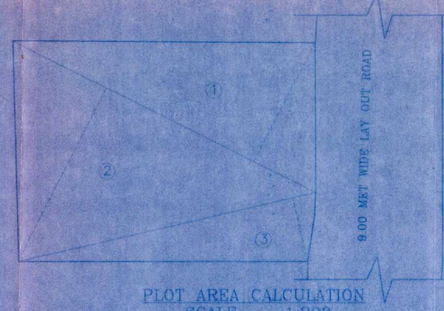

PLOT AREA CALCULATION
SCALE :- 1:200

ADDITION				
1	1/2 X 22.06 X 8.69 X 1NO	=	95.65	SQ.MT
2	1/2 X 22.06 X 12.70 X 1NO	=	140.08	SQ.MT
3	1/2 X 19.80 X 4.27 X 1NO	=	42.27	SQ.MT
	TOTAL ADDITION	=	278.20	SQ.MT

PLOT AREA AS PER SITE = 278.20 SQMT
PLOT AREA AS PER 7/12 = 275.11 SQMT

SCHEDULE OF DOORS & WINDOWS

TYPE	SIZE (LxH)	AREA	DESCRIPTION
D	1.00 x 2.10	2.10	F.W. FRAMED FULLY PANELLED SINGLE LEAF
D1	0.91 x 2.10	1.91	W. FRAMED FLUSH SINGLE LEAF
D2	0.75 x 2.00	1.50	MARBLE FRAME FLUSH DOOR SINGLE LEAF
D4	1.20 x 2.10	2.52	F.W. FRAMED FLUSH SINGLE LEAF
W	2.10 x 2.10	4.41	ALUMINUM FRAME FULLY GLAZED SHUTTER
W1	1.80 x 2.10	3.78	ALUMINUM FRAME FULLY GLAZED SHUTTER
V	0.60 x 0.90	0.54	ALUMINUM FRAME GLASS LOUVERS AT 45°

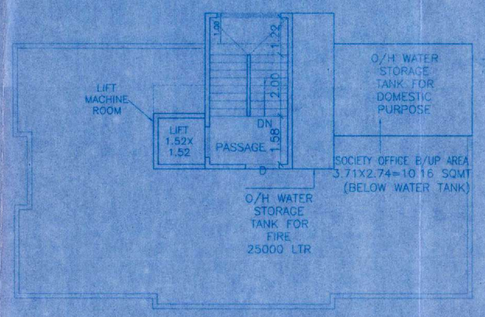

TERRACE FLOOR PLAN
(SCALE - 1:100)

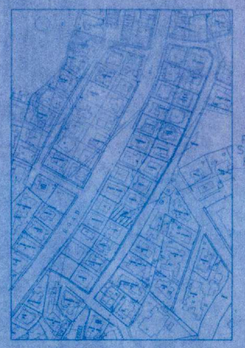

LOCATION PLAN
SCALE 1:2600

PROPOSED SUMMARY

FLOOR	TOTAL B/UP AREA SQ.MT.	TOTAL NO. OF TENEMENTS
GROUND	---	---
FIRST	123.23	2 NO.S
SECOND	123.23	2 NO.S
THIRD	123.23	2 NO.S
FOURTH	123.23	2 NO.S
FIFTH	123.23	2 NO.S
SIXTH	123.23	2 NO.S
SEVENTH	123.23	2 NO.S
TOTAL	862.61SQ.M	14 NO.S

TOTAL=862.61+10.16 (SOCIETY OFFICE) = 872.77 SQ.MT.

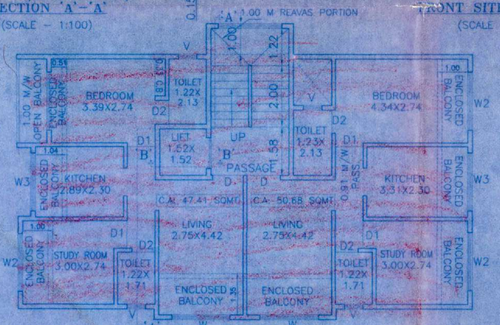

1ST TO 7TH FLOOR PLAN
SCALE 1:100

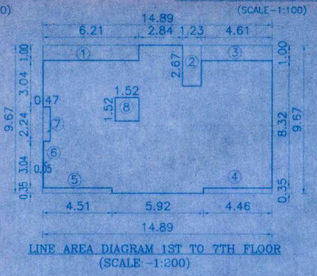

LINE AREA DIAGRAM 1ST TO 7TH FLOOR
(SCALE -1:200)

BUILT-UP AREA CALCULATION FOR 1ST TO 7TH FLOOR
(SCALE - 1:100)

RECTANGLE				
A	14.89 X 9.67 X 1NO	=	143.99	SQ.MT.
	TOTAL ADDITION	=	143.99	SQ.MT. X

DEDUCTIONS				
1	6.21 X 1.00 X 1NO	=	06.21	SQ.MT.
2	1.23 X 2.67 X 1NO	=	03.28	SQ.MT.
3	4.61 X 1.00 X 1NO	=	04.61	SQ.MT.
4	4.46 X 0.35 X 1NO	=	01.56	SQ.MT.
5	4.51 X 0.35 X 1NO	=	01.58	SQ.MT.
6	0.05 X 3.04 X 1NO	=	00.16	SQ.MT.
7	0.47 X 2.24 X 1NO	=	01.05	SQ.MT.
8	1.52 X 1.52 X 1NO	=	02.31	SQ.MT.
	TOTAL DEDUCTION	=	20.76	SQ.MT. Y1
TOTAL BUILT UP AREA [X - Y1]		=	123.23	SQ.MT. X1

THUS,
PROPOSED BUILT UP AREA OF
1ST TO 7TH FLOOR = 123.23 SQ.MT.

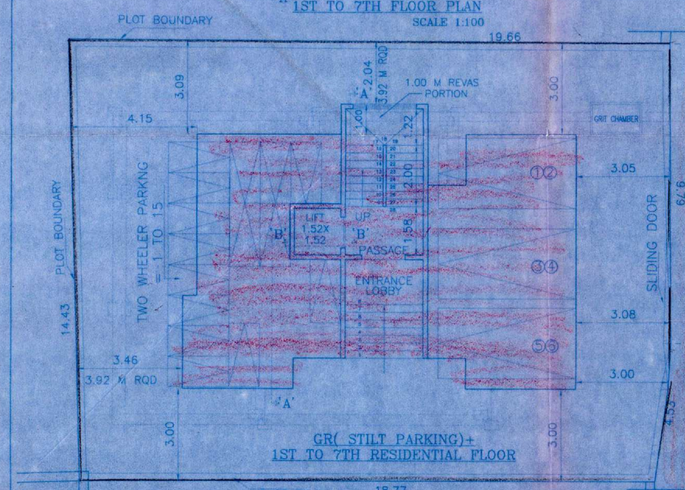

GR(STILT PARKING)+
1ST TO 7TH RESIDENTIAL FLOOR
LAYOUT CUM GROUND FLOOR PLAN
SCALE 1:100





SECTION OF U/G SUCTION TANK
(SCALE-1:100)

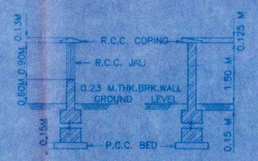

SECTION OF COMPOUND WALL
(SCALE-1:75)

(GR + 7TH FLOOR).
PARKING STATEMENT

CARPET AREA	NO. OF TENEMENTS / CARPET AREA	PERMISSIBLE PARKING 4 WHEELER	2 WHEELER
UPTO 30 SQ.MT. (FOR EVERY TWO TEN.- 0 CAR, 2 SCOOTER)	00.00	00.00	00.00
30 - 80 SQ.MT. (FOR EVERY TWO TEN.- 1 CAR, 2 SCOOTER)	14.00	07.00	14.00
80-150 SQ.MT. (FOR EVERY SINGLE TEN.- 1 CAR, 1 SCOOTER)	00.00	00.00	00.00
ABOVE 150 SQ.MT. (FOR EVERY SINGLE TEN.- 2 CAR, 1 SCOOTER)	00.00	00.00	00.00
COMMERCIAL (FOR EVERY 100 SQ.MT.- 2 CAR, 6 SCOOTER)	00.00	00.00	00.00
VISITORS 5%	-	00.35	00.70
TOTAL PARKING	14 FLATS	07.35	14.70
TOTAL REQUIRED PARKING 4 WHEELER (TOTAL PARKING X 80%)	-	5.88 NOS	
TOTAL REQUIRED PARKING 2 WHEELER (TOTAL PARKING X 100%)			14.70 NOS

TOTAL 4 WHEELERS PROPOSED = 06.00 NO.S.
TOTAL 2 WHEELERS PROPOSED = 15.00 NO.S.

NOTES

* BOUNDARY OF THE PLOT SHOWN BLACK
* PROPOSED WORK SHOWN IN RED SHADED.
* ALL EXTERNALARE 0.15 M.THK AND INTERNAL WALLS ARE 0.12 M.THK.
* ALL TREAD AND RISERS ARE 0.25 M. W. AND 0.16 M/HT. RESPECTIVELY.
* ROAD SET BACK SHOW IN BROWN SHADED
* DRAINAGE LINE SHOWN RAD DOTTED

STAMPS OF APPROVAL OF PLANS:

SHEET NO.:- 01/01

OFFICE OF THE KALYAN DOMBIVLI MUNICIPAL CORPORATION, KALYAN.

Building Permit No. :- KDMC/TPD/BP/DOM/2023-24/28.
Date :- 28/07/2023.

SANCTIONED

for ASSISTANT DIRECTOR OF TOWN PLANNING
Kalyan-Dombivli Municipal Corporation

AREA STATEMENT

		SQ.MT.
1.	Area of plot (Minimum area of a, b, c to be considered)	
	(a) As per ownership document (7/12, CTS extract)	275.11
	(b) As per measurement sheet	275.11
	(c) As per site	275.11
2.	Deductions for	
	(a) Proposed D.P. Road (09.00 M/W LAY OUT ROAD)	N I L
	(b) Any D.P. Reservation area	N I L
	(C) Area under Existing Road	N I L
	TOTAL (a+b+c)	N I L
3.	Balance area of Plot (1-2)	275.11
4.	Amenity Space (if applicable)	N.A.
	(a) Required -	N I L
	(b) Balance Proposed -	N I L
5.	Net Plot Area [3-4(b)]	275.11
6.	Recreational open space (if applicable)	N.A.
	(a) Required .	N.A.
	(b) Proposed -	N I L
7.	Internal Road Area	N I L
8.	Plotable area (if applicable) (5-6)	275.11
9.	Built up area with reference to Basic F.S.I. as per front road width(Sr.no.5 X basic FSI)(275.11X1.10=302.62SQMT)	302.62
10.	Addition of F.S.I. on payment of premium.	
	(a) Maximum permissible premium FSI- based on road width/TOD Zone - 0.50	-
	(b) Proposed FSI on payment of premium=(275.11X0.50=137.55SQMT)	137.55
11.	In-situ FSI / TDR loading	
	(a) TDR area 275.11X0.40=110.04-4.69(KEPT BALANCE)=105.35 SQ.MT.	105.35
	(d) Total in-situ / TDR loading proposed [11]	105.35
12.	Additional FSI area under Chapter No. 7	NIL
13.	Total entitlement of FSI in the proposal	
	(a) [9 + 10(b)+11(d)] or 12 whichever is applicable.	545.52
	(b) Ancillary Area FSI upto 60% or 80% with payment of charges 545.52 X 60% = 327.31 SQ.MT	327.31
	(c) Total entitlement (a+b)	872.83
14.	Maximum utilization limit of F.S.I.(building potential) Permissible as per Road width [(as per Regulation No.6.1 or 6.2 or 6.3 or 6.4 as applicable)X 1.6{ [(1.10+0.50+0.40)X1.60 = 3.20]	3.20
15.	Total Built-up Area in proposal (excluding area at Sr.No. 17b)	
	(a) Existing Built-up Area.	
	(b) Proposed Built-up Area (as per 'P-line')	872.77
	(c) Total (a+b)	872.77
16.	F.S.I. Consumed [15/13 (should not be more than Sr. No.14 above)]	1.00
17.	Area for Inclusive Housing, if any	
	(a) Required (20% of Sr.No.5)	N.A.
	(b) Proposed	N.A.
	balance area	0.06

Certificate of Area:

Certified that the plot under reference was surveyed by me on 24/03/2023 and the dimensions of sides etc. of plot stated on plan are as measured on site and the area so worked out 275.11 SQMTS tallies with the area stated in document of Ownership/ Revenue Records/ Land Records Department/City Survey records.

for ARCHITECT
Signature
(Name of Architect/ Licensed Engineer/ Structural Engineer/ Supervisor.)

DOMBIVLI ENGINEERING CONSULTANCY

Owner's Declaration -

I/We undersigned hereby confirm that I/We would abide by plans approved by Authority /Collector. I/We would execute the structure as per approved plans. Also I/We would execute the work under supervision of proper technical person so as to ensure the quality and safety at the work site.

Owner (s) name and signature

DESCRIPTION OF PROPOSAL AND PROPERTY

PROPOSED RESIDENTIAL BUILDING ON PLOT BEARING S.NO.-93/A, H.NO.-148, PLOT NO.-167, CTS NO.- 5023, AT GANESH CO-OP HSG. SOCIETY LTD, VILLAGE-AYRE, TAL- KALYAN, DIST- THANE, DOMBIVALI-(E)

For,

SMT:- MADURI MAKRAND SHIDHAYE & 4 OTHERS (OWNER)

NAME & SIGNATURE OF BUILDER & DEVLOPERS

M/S POTDAR SPACE

MR. PAWAN POTDAR & SURAJ GOSWAMI (P.A.H)

DRG. SH. NO.	SCALE	DESIGN BY	DRAWN BY	CHECKED BY
01 OF 01	AS STATED	---		

SIGNATURE OF ARCHITECT | NAME AND ADDRES OF ARCHITECT

RACHANA SHILP C.A.NO. 1984/08623
R.C. MODAK
Sreeji Arcade,
First Floor,
Above H.D.F.C.Bank,
Phadke Cross Road,
Dombivli (E)