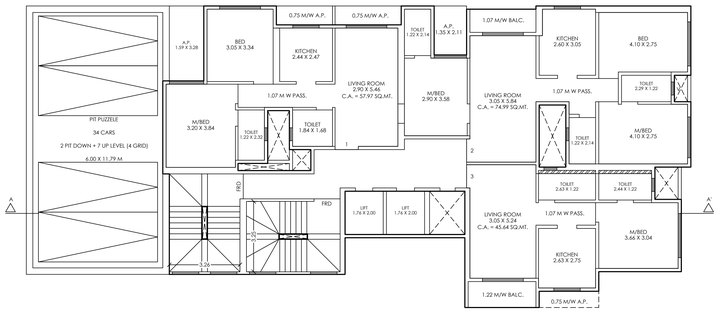

4TH,5TH & 7TH FLOOR PLAN

SCALE - 1:100

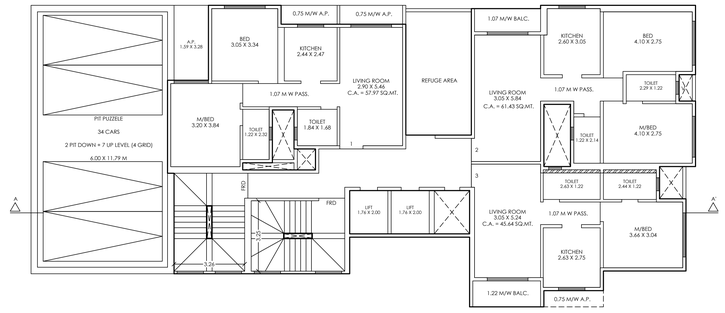

6TH FLOOR PLAN

SCALE - 1:100

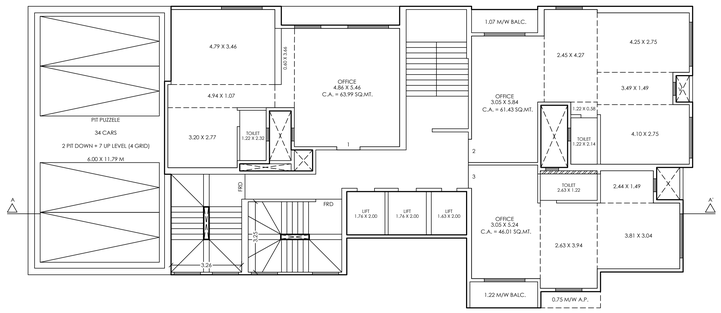

1ST TO 3RD FLOOR PLAN

SCALE - 1:100

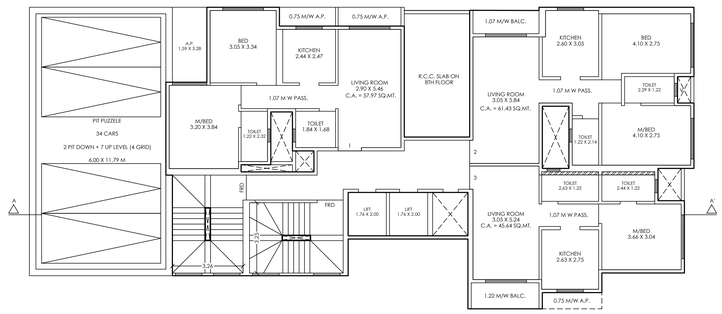

8TH TO 10TH FLOOR PLAN

SCALE - 1:100

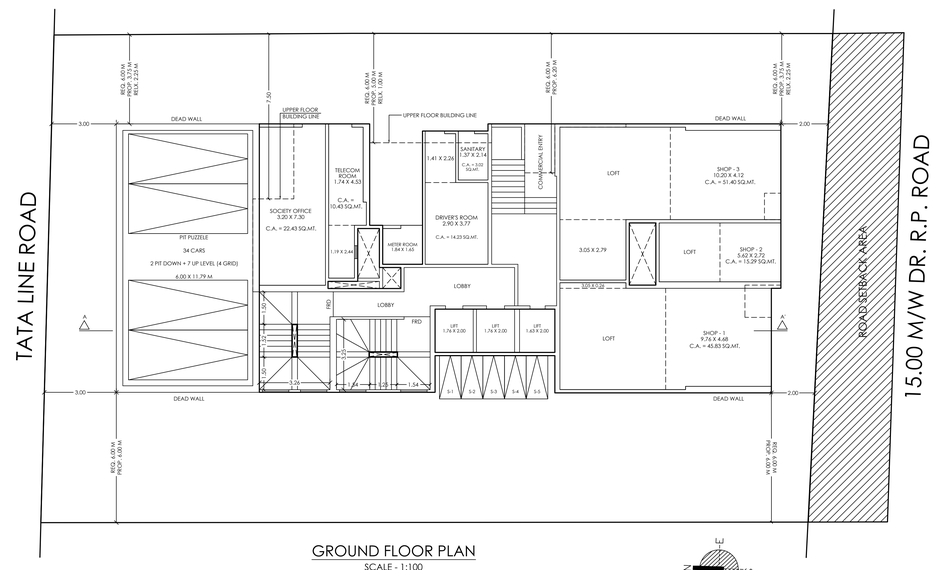

GROUND FLOOR PLAN

SCALE - 1:100

BUILT UP AREA STATEMENT

FLOORS	B/UP AREA.	NO. OF TENANT
GROUND	252.37	3 NOS SHOP
1ST	267.48	4 NOS. OFFICE
2ND	267.48	4 NOS. OFFICE
3RD	267.48	4 NOS. OFFICE
4TH	258.30	3 NOS.
5TH	258.30	3 NOS.
6TH	243.60	3 NOS.
7TH	258.30	3 NOS.
8TH	243.60	3 NOS.
9TH	243.60	3 NOS.
10TH	243.60	3 NOS.
11TH	232.01	3 NOS.
12TH	232.01	3 NOS.
13TH	232.01	3 NOS.
TOTAL	3500.14	3 NOS. SHOP 9 NOS. OFFICE 30 NOS. FLAT

PARKING AREA STATEMENT AS PER (UDCPR)

AREA OF THE TENAMENTS	NO. OF TENAMENTS	CAR PARKING REQUIRED	CAR PARKING PROPOSED	SCOOTER REQUIRED	SCOOTER PROPOSED
BELOW 30 SQ.MT.	——	——	23 NOS.	——	5 NOS SCOOTER + 11 NOS COMPOSITE CAR
BETWEEN 30 TO 40	——	——		——	
BETWEEN 40 TO 80	30 NOS.	15.00		30.00	
BETWEEN 80 TO 150	NILL	——		——	
ABOVE 150 SQ.MT.	NILL	——		——	
COMM. 100 SQ.MT	627.00	12.54		37.62	
TOTAL	30 NOS.	27.54		67.62	
VISITOR 5%		1.38		3.38	
TOTAL		28.92		71.00	
REQUIRED X 0.8		23.14		71.00	
REQUIRED PARKING		23 NOS.		71 NOS	

PROP. CAR PARKING : 23 NOS. & 11 NOS. COMPOSITE PARKING & SCOOTER PARKING: 5 NOS.

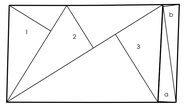

PLOT AREA DIAGRAM

SCALE - 1:1500

PLOT AREA CALCULATION

X - PLOT AREA								
1	26.30	X	12.80	X	0.50	=	168.33	SQ.MT.
2	42.51	X	11.60	X	0.50	=	246.56	SQ.MT.
3	42.51	X	18.52	X	0.50	=	393.64	SQ.MT.
					TOTAL ADDITION	=	808.53	SQ.MT.
Y - ROAD SET BACK AREA CALCULATION								
a	22.74	X	2.88	X	0.50	=	32.75	SQ.MT.
b	22.74	X	3.28	X	0.50	=	37.29	SQ.MT.
					TOTAL DEDUCTION	=	70.04	SQ.MT.
TOTAL PLOT = X + Y = 808.53 + 70.04						=	878.57	SQ.MT.

BLOCK PLAN

SCALE - 1:500

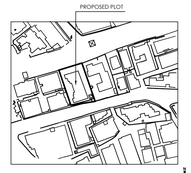

LOCATION PLAN

SCALE - 1:2000

DESCRIPTION OF PROPOSAL AND PROPORTY

PROPOSED RESIDENTIAL BLDG. ON PLOT BEARING, C.T.S.NO. 11191 TO 11200 VILLAGE - NEW DOMBIVILI (E), TALUKA - KALYAN, DIST. - THANE.

STAMP OF APPROVAL OF PLANS	SHEET NO. 1/2

A) AREA STATEMENT	SQ.MT.
1) AREA OF THE PLOT	
(MINIMUM AREA OF a, b, c TO BE CONSEDERED	
a. AS PER OWNERSHIP DOCUMENT (CTS EXTRACT)	869.70
b. AS PER P.O.A.	
c. AS PER MEASUREMENT SHEET	869.70
b. AS PER SITE	-
2) DEDUCTIONS FOR	
a. PROPOSED D.P./ 12.00 M/W D.P. ROAD WIDENING AREA	80.00
b. ANY D.P. RESERVATION AREA	-
[TOTAL a + b]	80.00
3) BALANCE AREA OF PLOT [1-2]	789.70
4) AMENITY SPACE (IF APPLICABLE)	
a. REQUIRED	NILL
b. ADJUSTMENT OF 2(b), IF ANY	NILL
c. BALANCE PROPOSED	NILL
5) NET PLOT AREA (3-4[c])	789.70
6) RECREATIONAL OPEN SPACE (IF APPLICABLE)	
a. REQUIRED	NILL
b. PROPOSED	NILL
7) INTERNAL ROAD AREA	NILL
8) PORTABLE AREA (IF APPLICABLE)	NILL
9) BUILT UP AREA WITH REFERENCE TO BASIC F.S.I. AS PER FRONT ROAD WIDTH (774.20 X 1.10)	868.67
10) ADDITION OF F.S.I. ON PAYMENT OF PREMIUM	434.85
a. MAXIMUM PERMISSIBLE PREMIUM F.S.I. BASED ON ROAD 434.85X67.97%	295.57
b. PROPOSED F.S.I. ON PAYMENT OF PREMIUM	
11) IN-SITU F.S.I./ T.D.R. LOADING	NILL
a. IN-SITU AREA AGAINST D.P. ROAD [2.00 X 80.00]	160.00
b. IN-SITU AREA AGAINST AMENITY SPACE IF HANDED OVER [2.00 OR 1.85 X SR.NO. 4 (b) AND /OR (c)]	NILL
c. T.D.R. AREA KDMC/NRV/HVH/XXXX/XXX/XX (869.70 X 90%)=782.73 (782.73X67.97%) = 532.02 - 160.00 = 372.02	372.02
d. TOTAL IN SITU/T.D.R. LOADING PROPOSED [11 (a+b+c)]	532.00
12) ADDITIONAL F.S.I. AREA UNDER CHAPTER NO. 7 (15.00 SQ.MT X 26 NOS)	390.00
13) TOTAL ENTITLEMENT OF F.S.I. IN THE PROPOSAL	
a. [9+10(b)+11(d)] OR 12 WHICHEVER IS APPLICABLE (851.62+ 295.57 + 532.00 + 390.00) = 2069.19 SQ.MT.	2086.24
b. ANCILLARY AREA F.S.I. UP TO 60% OR 80% WITH PAYMENT OF CHARGES RESIDENTIAL (1252.59X60%) = 751.55 COMMERCIAL (816.60X80%) = 653.28	1415.06
c. TOTAL ENTITLEMENT (a+b)	3501.30
14) MAXIMUM UTILIZATION LIMIT OF F.S.I. (BUILDING POTENTIAL)	3501.30
PERMISSIBLE AS PER ROAD WIDTH [(AS PER REGULATION NO.6.1 OR 6.2 OR 6.3 OR 6.4 AS APPLICABLE)X1.6 OR 1.8	
15) TOTAL BUILT-UP AREA IN PROPSAL(EXCLUDING SR.NO.17 b)	
a. EXISTING BUILT-UP AREA	NILL
b. PROPOSED BUILT-UP AREA (AS PER 'P-LINE')	3500.14
c. TOTAL (a + b)	3500.14
16) F.S.I. CONSUMED (15/13) (NOT BE MORE THAN SR.NO. 14)	0.99
17) AREA FOR INCLUSIVE HOUSING, IF ANY	
a. REQUIRED (20% OF SR.NO. 5)	
b. PROPOSED	

CERTIFICATE OF AREA

CERTIFIED THAT I HAVE SURVEYED THE PLOT UNDER REFERANCE ON 24/12/2024 THAT THE DIMENSIONS OF SIDES ETC. OF THE PLOT STATED ON THE PLAN ARE AS MEASURED ON SITE AND THE AREA SO WORKED OUT IS 871.00 SQ.MT. AND TALLIES WITH THE AREA STATED IN DOCUMENT OF OWNER SHIP, TOWN PLANNING SCHEME RECORDS.

SIGNATURE OF ARCHITECT

CERTIFICATE OF R.C.C. CONSULTANT

THE R.C.C PLANS PREPARED BY ME ARE IN ACCORDANCE WITH THE NORMS AS SPECIFIED BY INDIAN STANDARD INSTITUTE AND I WILL BE HELD RESPONSIBLE FOR ANY HARM CAUSED BY IN EARTHQUAKE DUE TO NEGLIENCE OF STANDARDS.

SIGNATURE OF R.C.C. DESIGNER

OWNERS DECLARATION

I/WE UNDERSIGNED HEREBY CONFIRM THAT I/WE WOULD ABIDE BY PLANS APPROVED BY AUTHORITY/COLLECTOR. I/WE WOULD EXECUTE THE WORK UNDER SUPERVISION OF PROPER TECHNICAL PERSON SO AS TO ENSURE THE QUALITY AND SAFETY ATH THE WORK SITE.

M/S. PRISM INFRAA
P.O.A. HOLDER - SACHIN R. CHITNIS

OWNER NAME-
SITARAM CHHAYA C.H.S.

SHEET NO :	SCALE	DESIGN BY :	DRAWN BY :	CHKD BY :
1 OF 2	AS STATED	——	——	——

NAME AND ADDRESS OF ARCHITECT

ARCHITECT: UDAY M. CHOPDA
CA/2017/88336

UC ASSOCIATES
ARCHITECT & INTERIOR DESIGNER

A/202, SARVODAY AANGAN, PANDURANG WADI, NEAR SAI BABA TEMPLE, MANPADA ROAD, DOMBIVLI (EAST) - 421201. EMAIL : ucassociates29@gmail.com MOB : 7666283484

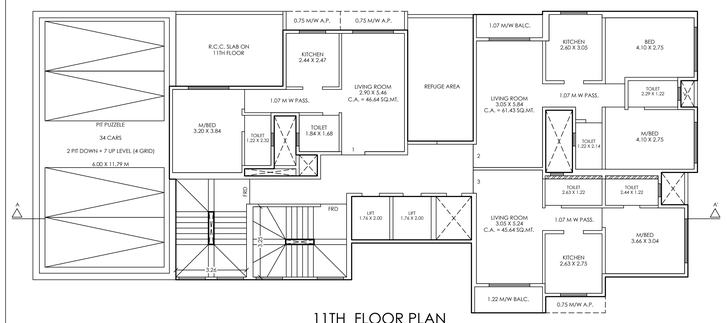

11TH FLOOR PLAN
SCALE - 1:100

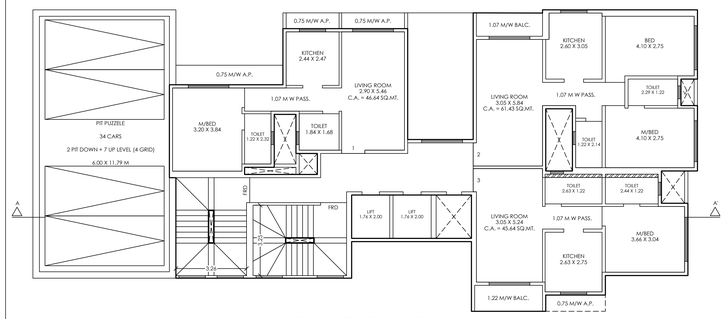

12TH &13TH FLOOR PLAN
SCALE - 1:100

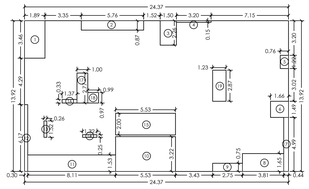

P-LINE AREA DIAGRAM OF 4TH, 5TH & 7TH FLOOR
SCALE - 1:200

BUILT UP AREA CALCULATION

4TH,5TH & 7TH FLOOR								
1	24.37	X	13.92	X	1 NO.	=	339.23	SQ.MT.
TOTAL ADDITION						=	339.23	SQ.MT.
DEDUCTIONS								
1	1.89	X	3.46	X	1 NO.	=	6.54	SQ.MT.
2	5.76	X	0.87	X	1 NO.	=	5.01	SQ.MT.
3	1.50	X	2.26	X	1 NO.	=	3.39	SQ.MT.
4	3.20	X	0.15	X	1 NO.	=	0.48	SQ.MT.
5	0.76	X	1.22	X	1 NO.	=	0.93	SQ.MT.
6	1.66	X	1.49	X	1 NO.	=	2.47	SQ.MT.
7	0.44	X	4.99	X	1 NO.	=	2.20	SQ.MT.
8	3.81	X	1.65	X	1 NO.	=	6.29	SQ.MT.
9	2.75	X	0.75	X	1 NO.	=	2.06	SQ.MT.
10	5.53	X	3.22	X	1 NO.	=	17.81	SQ.MT.
11	8.11	X	1.53	X	1 NO.	=	12.41	SQ.MT.
12	0.30	X	6.17	X	1 NO.	=	1.85	SQ.MT.
13	0.26	X	1.52	X	1 NO.	=	0.40	SQ.MT.
14	1.32	X	0.25	X	1 NO.	=	0.33	SQ.MT.
15	5.53	X	2.00	X	1 NO.	=	11.06	SQ.MT.
16	1.37	X	0.33	X	1 NO.	=	0.45	SQ.MT.
17	1.00	X	2.77	X	1 NO.	=	2.77	SQ.MT.
18	0.99	X	0.97	X	1 NO.	=	0.96	SQ.MT.
19	1.23	X	2.87	X	1 NO.	=	3.53	SQ.MT.
TOTALDEDUCTION						=	80.93	SQ.MT.
TOTAL BUILT-UP AREA						=	258.30	SQ.MT.

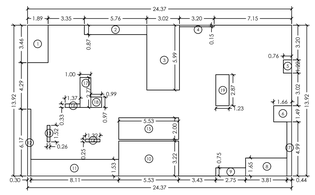

P-LINE AREA DIAGRAM OF 6TH, 8TH TO 10TH FLOOR
SCALE - 1:200

BUILT UP AREA CALCULATION

6TH FLOOR								
1	24.37	X	13.92	X	1 NO.	=	339.23	SQ.MT.
TOTAL ADDITION						=	339.23	SQ.MT.
DEDUCTIONS								
1	1.89	X	3.46	X	1 NO.	=	6.54	SQ.MT.
2	5.76	X	0.87	X	1 NO.	=	5.01	SQ.MT.
3	3.02	X	5.99	X	1 NO.	=	18.09	SQ.MT.
4	3.20	X	0.15	X	1 NO.	=	0.48	SQ.MT.
5	0.76	X	1.22	X	1 NO.	=	0.93	SQ.MT.
6	1.66	X	1.49	X	1 NO.	=	2.47	SQ.MT.
7	0.44	X	4.99	X	1 NO.	=	2.20	SQ.MT.
8	3.81	X	1.65	X	1 NO.	=	6.29	SQ.MT.
9	2.75	X	0.75	X	1 NO.	=	2.06	SQ.MT.
10	5.53	X	3.22	X	1 NO.	=	17.81	SQ.MT.
11	8.11	X	1.53	X	1 NO.	=	12.41	SQ.MT.
12	0.30	X	6.17	X	1 NO.	=	1.85	SQ.MT.
13	0.26	X	1.52	X	1 NO.	=	0.40	SQ.MT.
14	1.32	X	0.25	X	1 NO.	=	0.33	SQ.MT.
15	5.53	X	2.00	X	1 NO.	=	11.06	SQ.MT.
16	1.37	X	0.33	X	1 NO.	=	0.45	SQ.MT.
17	1.00	X	2.77	X	1 NO.	=	2.77	SQ.MT.
18	0.99	X	0.97	X	1 NO.	=	0.96	SQ.MT.
19	1.23	X	2.87	X	1 NO.	=	3.53	SQ.MT.
TOTALDEDUCTION						=	95.65	SQ.MT.
TOTAL BUILT-UP AREA						=	243.60	SQ.MT.

BUILT UP AREA CALCULATION

11TH TO 13TH FLOOR								
1	24.37	X	13.92	X	1 NO.	=	339.23	SQ.MT.
TOTAL ADDITION						=	339.23	SQ.MT.
DEDUCTIONS								
1	5.24	X	3.46	X	1 NO.	=	18.13	SQ.MT.
2	5.76	X	0.87	X	1 NO.	=	5.01	SQ.MT.
3	3.02	X	5.99	X	1 NO.	=	18.09	SQ.MT.
4	3.20	X	0.15	X	1 NO.	=	0.48	SQ.MT.
5	0.76	X	1.22	X	1 NO.	=	0.93	SQ.MT.
6	1.66	X	1.49	X	1 NO.	=	2.47	SQ.MT.
7	0.44	X	4.99	X	1 NO.	=	2.20	SQ.MT.
8	3.81	X	1.65	X	1 NO.	=	6.29	SQ.MT.
9	2.75	X	0.75	X	1 NO.	=	2.06	SQ.MT.
10	5.53	X	3.22	X	1 NO.	=	17.81	SQ.MT.
11	8.11	X	1.53	X	1 NO.	=	12.41	SQ.MT.
12	0.30	X	6.17	X	1 NO.	=	1.85	SQ.MT.
13	0.26	X	1.52	X	1 NO.	=	0.40	SQ.MT.
14	1.32	X	0.25	X	1 NO.	=	0.33	SQ.MT.
15	5.53	X	2.00	X	1 NO.	=	11.06	SQ.MT.
16	1.37	X	0.33	X	1 NO.	=	0.45	SQ.MT.
17	1.00	X	2.77	X	1 NO.	=	2.77	SQ.MT.
18	0.99	X	0.97	X	1 NO.	=	0.96	SQ.MT.
19	1.23	X	2.87	X	1 NO.	=	3.53	SQ.MT.
TOTALDEDUCTION						=	107.22	SQ.MT.
TOTAL BUILT-UP AREA						=	232.01	SQ.MT.

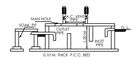

SECTION OF SEPTIC TANK
(SCALE- 1:75)

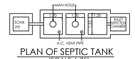

PLAN OF SEPTIC TANK
(SCALE-1:75)

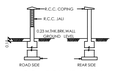

COMPOUND WALL
(SCALE- 1:75)

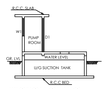

SECTION OF U/G SUCTION TANK
(SCALE-1:75)

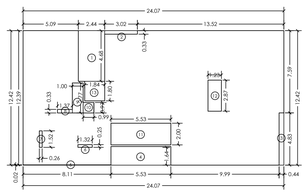

P-LINE AREA DIAGRAM OF GROUND FLOOR
SCALE - 1:200

BUILT UP AREA CALCULATION

GROUND FLOOR								
1	24.07	X	12.42	X	1 NO.	=	298.95	SQ.MT.
TOTAL ADDITION						=	298.95	SQ.MT.
DEDUCTIONS								
1	2.44	X	4.68	X	1 NO.	=	11.42	SQ.MT.
2	3.02	X	0.33	X	1 NO.	=	1.00	SQ.MT.
3	0.44	X	4.83	X	1 NO.	=	2.13	SQ.MT.
4	5.53	X	1.64	X	1 NO.	=	9.07	SQ.MT.
5	8.11	X	0.02	X	1 NO.	=	0.16	SQ.MT.
6	1.32	X	0.25	X	1 NO.	=	0.33	SQ.MT.
7	0.26	X	1.52	X	1 NO.	=	0.40	SQ.MT.
8	1.37	X	0.33	X	1 NO.	=	0.45	SQ.MT.
9	1.00	X	2.77	X	1 NO.	=	2.77	SQ.MT.
10	0.99	X	0.97	X	1 NO.	=	0.96	SQ.MT.
11	5.53	X	2.00	X	1 NO.	=	11.06	SQ.MT.
12	1.23	X	2.87	X	1 NO.	=	3.53	SQ.MT.
13	1.84	X	1.80	X	1 NO.	=	3.31	SQ.MT.
TOTALDEDUCTION						=	46.58	SQ.MT.
TOTAL BUILT-UP AREA						=	252.37	SQ.MT.

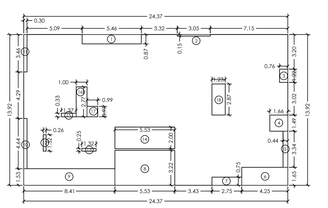

P-LINE AREA DIAGRAM OF 1ST TO 3RD FLOOR
SCALE - 1:200

BUILT UP AREA CALCULATION

1ST TO 3RD FLOOR								
1	24.37	X	13.92	X	1 NO.	=	339.23	SQ.MT.
TOTAL ADDITION						=	339.23	SQ.MT.
DEDUCTIONS								
1	5.46	X	0.87	X	1 NO.	=	4.75	SQ.MT.
2	3.05	X	0.15	X	1 NO.	=	0.46	SQ.MT.
3	0.76	X	1.22	X	1 NO.	=	0.93	SQ.MT.
4	1.66	X	1.49	X	1 NO.	=	2.47	SQ.MT.
5	0.44	X	3.34	X	1 NO.	=	1.47	SQ.MT.
6	4.25	X	1.65	X	1 NO.	=	7.01	SQ.MT.
7	2.75	X	0.75	X	1 NO.	=	2.06	SQ.MT.
8	5.53	X	3.14	X	1 NO.	=	17.36	SQ.MT.
9	8.41	X	1.53	X	1 NO.	=	12.87	SQ.MT.
10	0.30	X	4.64	X	1 NO.	=	1.39	SQ.MT.
11	0.30	X	3.46	X	1 NO.	=	1.04	SQ.MT.
12	0.26	X	1.52	X	1 NO.	=	0.40	SQ.MT.
13	1.32	X	0.25	X	1 NO.	=	0.33	SQ.MT.
14	5.53	X	2.08	X	1 NO.	=	11.50	SQ.MT.
15	1.37	X	0.33	X	1 NO.	=	0.45	SQ.MT.
16	1.00	X	2.77	X	1 NO.	=	2.77	SQ.MT.
17	0.99	X	0.97	X	1 NO.	=	0.96	SQ.MT.
18	1.23	X	2.87	X	1 NO.	=	3.53	SQ.MT.
TOTALDEDUCTION						=	71.75	SQ.MT.
TOTAL BUILT-UP AREA						=	267.48	SQ.MT.

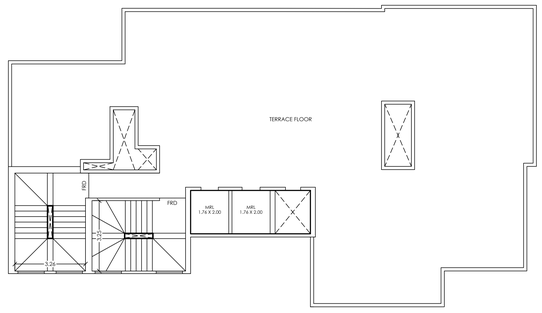

TERRACE FLOOR PLAN
SCALE - 1:100

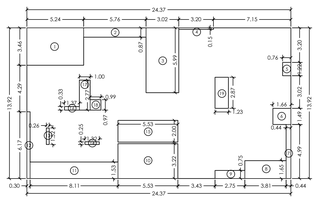

P-LINE AREA DIAGRAM OF 11TH TO 13TH FLOOR
SCALE - 1:200

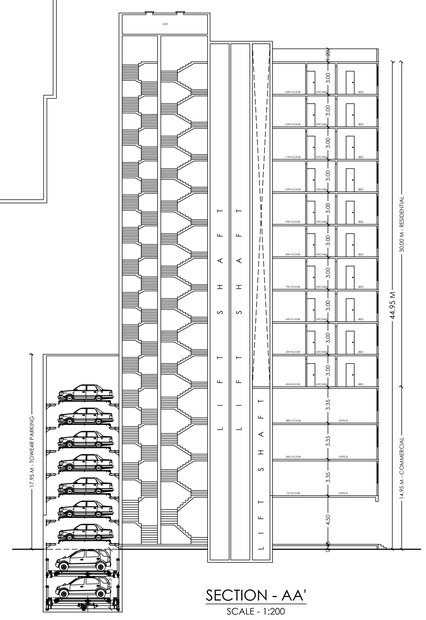

SECTION - AA'
SCALE - 1:200

DESCRIPTION OF PROPOSAL AND PROPORTY

PROPOSED RESIDENTIAL BLDG. ON PLOT BEARING, C.T.S.NO. 11191 TO 11200 VILLAGE - NEW DOMBIVILI (E), TALUKA - KALYAN, DIST. - THANE.

STAMP OF APPROVAL OF PLANS	SHEET NO. 2/2

CERTIFICATE OF AREA

CERTIFIED THAT I HAVE SURVEYED THE PLOT UNDER REFERANCE ON 24/12/2024 THAT THE DIMENSIONS OF SIDES ETC. OF THE PLOT STATED ON THE PLAN ARE AS MEASURED ON SITE AND THE AREA SO WORKED OUT IS 871.00 SQ.MT. AND TALLIES WITH THE AREA STATED IN DOCUMENT OF OWNER SHIP, TOWN PLANNING SCHEME RECORDS.

SIGNATURE OF ARCHITECT

CERTIFICATE OF R.C.C. CONSULTANT

THE R.C.C PLANS PREPARED BY ME ARE IN ACCORDANCE WITH THE NORMS AS SPECIFIED BY INDIAN STANDARD INSTITUTE AND I WILL BE HELD RESPONSIBLE FOR ANY HARM CAUSED BY IN EARTHQUAKE DUE TO NEGLIENCE OF STANDARDS.

SIGNATURE OF R.C.C. DESIGNER

OWNERS DECLARATION

I/WE UNDERSIGNED HEREBY CONFIRM THAT I/WE WOULD ABIDE BY PLANS APPROVED BY AUTHORITY/COLLECTOR. I/WE WOULD EXECUTE THE WORK UNDER SUPERVSION OF PROPER TECHNICAL PERSON SO AS TO ENSURE THE QUALITY AND SAFETY ATH THE WORK SITE.

M/S. PRISM INFRAA
P.O.A. HOLDER - SACHIN R. CHITNIS

OWNER NAME-
SITARAM CHHAYA C.H.S.

SHEET NO :	SCALE	DESIGN BY :	DRAWN BY :	CHKD BY :
2 OF 2	AS STATED	——	——	——

NAME AND ADDRESS OF ARCHITECT

ARCHITECT: UDAY M. CHOPDA
CA/2017/88339

UC ASSOCIATES
ARCHITECT & INTERIOR DESIGNER

A/202, SARVODAY AANGAN, PANDURANG WADI, NEAR SAI BABA TEMPLE, MANPADA ROAD, DOMBIVLI (EAST) - 421201. EMAIL : ucassociates29@gmail.com MOB : 7666283484