SHEET NO 3 / 3

DESCRIPTION OF PROPOSAL & PROPERTY

PROPOSED RESIDENTIAL BUILDING ON PLOT BEARING S. NO. 131 (OLD) , S.NO. 49 (NEW) , H. NO. 5/1,6,7, 8,13 AT VILLAGE GAONDEVI, DOMBIVLI (W). TAL. KALYAN, DIST. THANE

FOR SHRI:-VIJAY BABU MHATRE.
FOR SHRI:- DILIP K MORE (P.A. HOLDER)

M/S.ONKARESHWAR DEVELOPERS
SHRI :- SANJAY. R. SINGH (PARTNER)

STAMP OF APPROVAL OF PLAN

OFFICE OF THE KALYAN DOMBIVLI MUNICIPAL CORPORATION, KALYAN.
Building Permit No. : KDMC/TDP/BP/DOM/2018-19/04/396
Date : 17/12/2021.
SANCTIONED

ASSISTANT DIRECTOR OF TOWN PLANNING
Kalyan-Dombivli Municipal Corporation

STAIRCASE AREA DAIGRAM
GROUND FLOOR PLAN
BLDG.NO.1- WING "A"
SCALE 1: 200

BUILT UP AREA CALCULATION

GROUND FLOOR A WING								
F	2.70	X	6.00	X	1 NO	=	16.20	SQ.MT.
G	5.30	X	2.00	X	1 NO	=	10.60	SQ.MT.
H	5.75	X	3.30	X	1 NO	=	18.98	SQ.MT.
					TOTAL ADDITION	=	45.78	SQ.MT.

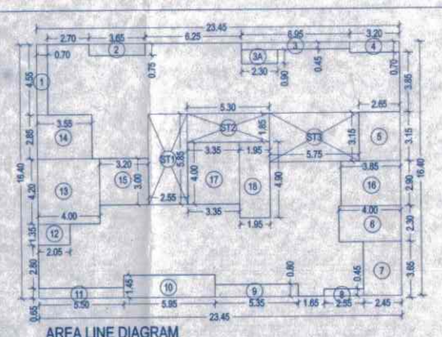

AREA LINE DIAGRAM
TYPICAL 1ST TO 4TH,6TH,7TH,9TH,10TH,12TH &13TH FLOOR
(A-WING) SCALE 1: 200

BUILT UP AREA CALCULATION

TYPICAL 1ST TO 4TH,6TH,7TH,9TH,10TH,12TH & 13TH FLOOR								
A	23.45	X	16.40	X	1 NO	=	384.58	SQ.MT.
					TOTAL ADDITION	=	384.58	SQ.MT.

DEDUCTIONS

1	0.70	X	4.55	X	1 NO	=	3.18	SQ.MT.
2	3.85	X	0.75	X	1 NO	=	2.73	SQ.MT.
3	6.95	X	0.45	X	1 NO	=	3.12	SQ.MT.
3A	2.30	X	0.90	X	1 NO	=	2.07	SQ.MT.
4	3.20	X	0.70	X	1 NO	=	2.24	SQ.MT.
5	2.65	X	3.15	X	1 NO	=	8.34	SQ.MT.
6	4.60	X	2.30	X	1 NO	=	9.20	SQ.MT.
7	2.45	X	3.65	X	1 NO	=	8.94	SQ.MT.
8	2.55	X	0.45	X	1 NO	=	1.14	SQ.MT.
9	5.35	X	0.80	X	1 NO	=	4.28	SQ.MT.
10	5.95	X	1.45	X	1 NO	=	8.62	SQ.MT.
11	5.50	X	0.65	X	1 NO	=	3.57	SQ.MT.
12	2.05	X	1.35	X	1 NO	=	2.76	SQ.MT.
13	4.00	X	4.20	X	1 NO	=	16.80	SQ.MT.
14	3.55	X	2.85	X	1 NO	=	10.12	SQ.MT.
15	3.20	X	3.00	X	1 NO	=	9.60	SQ.MT.
16	3.85	X	2.90	X	1 NO	=	11.16	SQ.MT.
17	3.35	X	4.00	X	1 NO	=	13.40	SQ.MT.
18	1.95	X	4.90	X	1 NO	=	9.55	SQ.MT.
					TOTAL DEDUCTION	=	130.82	SQ.MT.
TOTAL BUILT UP AREA			(384.58 - 130.82)			=	253.76	SQ.MT.

STAIRCASE AREA CALCULATION

TYPICAL FLOOR								
ST1	2.55	X	5.85	X	1 NO	=	14.92	SQ.MT.
ST2	5.30	X	1.85	X	1 NO	=	9.81	SQ.MT.
ST3	5.75	X	3.15	X	1 NO	=	18.11	SQ.MT.
TOTAL STAIRCASE AREA PER FL.						=	42.84	SQ.MT.
NET BUILT UP AREA			(253.76 - 42.84)			=	210.92	SQ.MT.

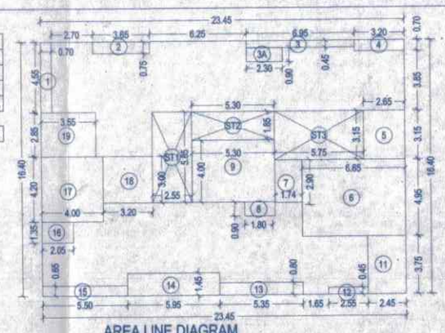

AREA LINE DIAGRAM
TYPICAL 5TH,8TH,11TH & 14TH FLOOR
(A-WING) SCALE 1: 200

BUILT UP AREA CALCULATION

TYPICAL 5TH,8TH,11TH & 14TH FLOOR								
A	23.45	X	16.40	X	1 NO	=	384.58	SQ.MT.
					TOTAL ADDITION	=	384.58	SQ.MT.

DEDUCTIONS

1	0.70	X	4.55	X	1 NO	=	3.18	SQ.MT.
2	3.85	X	0.75	X	1 NO	=	2.73	SQ.MT.
3	6.95	X	0.45	X	1 NO	=	3.12	SQ.MT.
3A	2.30	X	0.90	X	1 NO	=	2.07	SQ.MT.
4	3.20	X	0.70	X	1 NO	=	2.24	SQ.MT.
5	2.85	X	3.15	X	1 NO	=	8.34	SQ.MT.
6	6.85	X	4.95	X	1 NO	=	32.91	SQ.MT.
7	1.74	X	2.90	X	1 NO	=	5.51	SQ.MT.
8	1.80	X	0.90	X	1 NO	=	1.62	SQ.MT.
9	5.30	X	4.00	X	1 NO	=	21.20	SQ.MT.
11	2.45	X	3.75	X	1 NO	=	9.18	SQ.MT.
12	2.55	X	0.45	X	1 NO	=	1.14	SQ.MT.
13	5.35	X	0.80	X	1 NO	=	4.28	SQ.MT.
14	5.95	X	1.45	X	1 NO	=	8.62	SQ.MT.
15	5.50	X	0.65	X	1 NO	=	3.57	SQ.MT.
16	2.05	X	1.35	X	1 NO	=	2.76	SQ.MT.
17	4.00	X	4.20	X	1 NO	=	16.80	SQ.MT.
18	3.20	X	3.00	X	1 NO	=	9.60	SQ.MT.
19	3.55	X	2.85	X	1 NO	=	10.12	SQ.MT.
					TOTAL DEDUCTION	=	148.99	SQ.MT.
TOTAL BUILT UP AREA			(384.58 - 148.99)			=	235.59	SQ.MT.

STAIRCASE AREA CALCULATION

TYPICAL FLOOR								
ST1	2.55	X	5.85	X	1 NO	=	14.92	SQ.MT.
ST2	5.30	X	1.85	X	1 NO	=	9.81	SQ.MT.
ST3	5.75	X	3.15	X	1 NO	=	18.11	SQ.MT.
TOTAL STAIRCASE AREA PER FL.						=	42.84	SQ.MT.
NET BUILT UP AREA			(235.59 - 42.84)			=	192.75	SQ.MT.

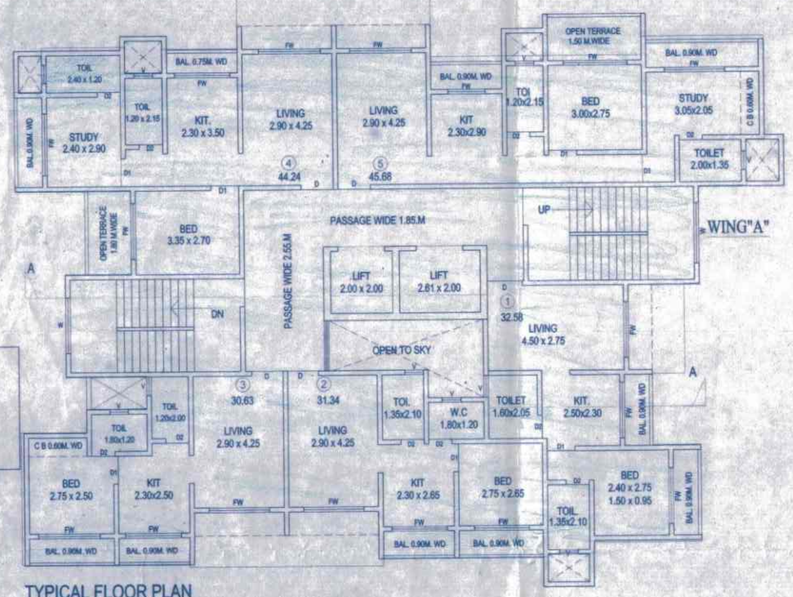

TYPICAL FLOOR PLAN
2ND,4TH,6TH,10TH,12TH, FLOOR PLAN
SCALE 1: 100

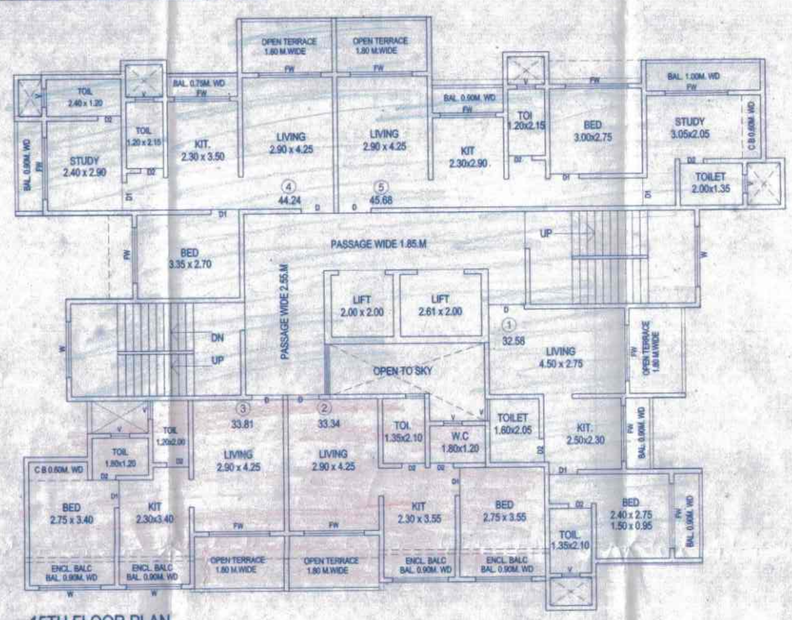

15TH FLOOR PLAN
BLDG.NO.1- WING "A"
SCALE 1: 100

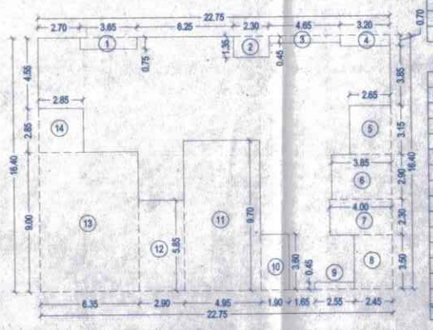

AREA LINE DIAGRAM OF 15TH FLOOR
(A-WING) SCALE 1: 200

BUILT UP AREA CALCULATION OF 15TH FLOOR

A	22.75	X	16.40	X	1 NO	=	373.10	SQ.MT.
					TOTAL ADDITION	=	373.10	SQ.MT.

DEDUCTIONS

1	3.85	X	0.75	X	1 NO	=	2.73	SQ.MT.
2	2.30	X	1.35	X	1 NO	=	3.10	SQ.MT.
3	4.65	X	0.45	X	1 NO	=	2.09	SQ.MT.
4	3.20	X	0.70	X	1 NO	=	2.24	SQ.MT.
5	2.65	X	3.15	X	1 NO	=	8.34	SQ.MT.
6	3.85	X	2.90	X	1 NO	=	11.16	SQ.MT.
7	4.00	X	2.30	X	1 NO	=	9.20	SQ.MT.
8	2.45	X	3.50	X	1 NO	=	8.57	SQ.MT.
9	2.55	X	0.45	X	1 NO	=	1.14	SQ.MT.
10	1.90	X	3.60	X	1 NO	=	6.84	SQ.MT.
11	4.95	X	9.70	X	1 NO	=	48.01	SQ.MT.
12	2.90	X	5.85	X	1 NO	=	16.96	SQ.MT.
13	6.35	X	9.00	X	1 NO	=	57.15	SQ.MT.
14	2.85	X	2.85	X	1 NO	=	8.12	SQ.MT.
					TOTAL DEDUCTION	=	185.15	SQ.MT.
TOTAL BUILT UP AREA			(373.10 - 185.15)			=	187.95	SQ.MT.

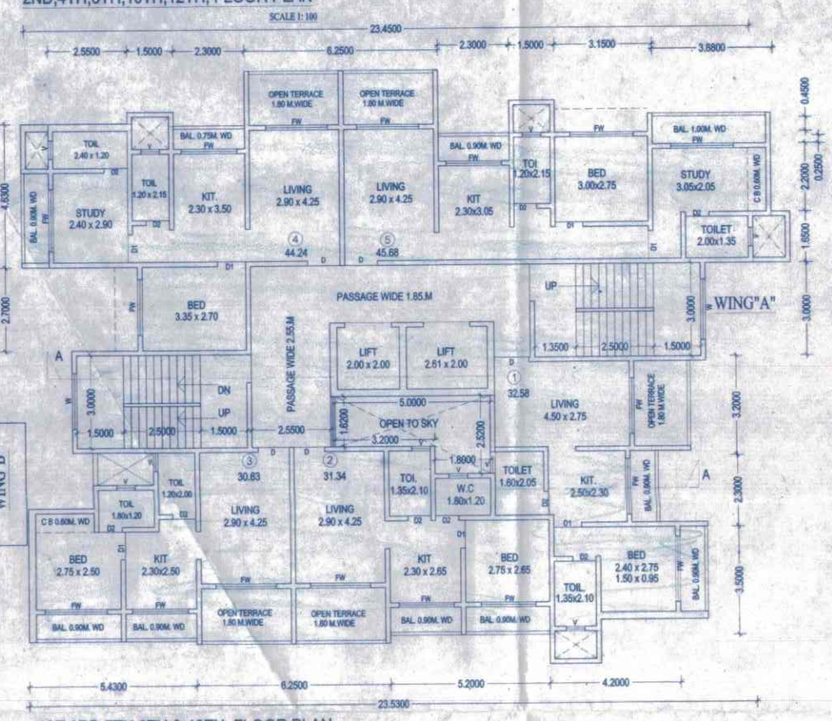

1ST,3RD,7TH,9TH & 13TH FLOOR PLAN
BLDG.NO.1- WING "A"
SCALE 1: 100

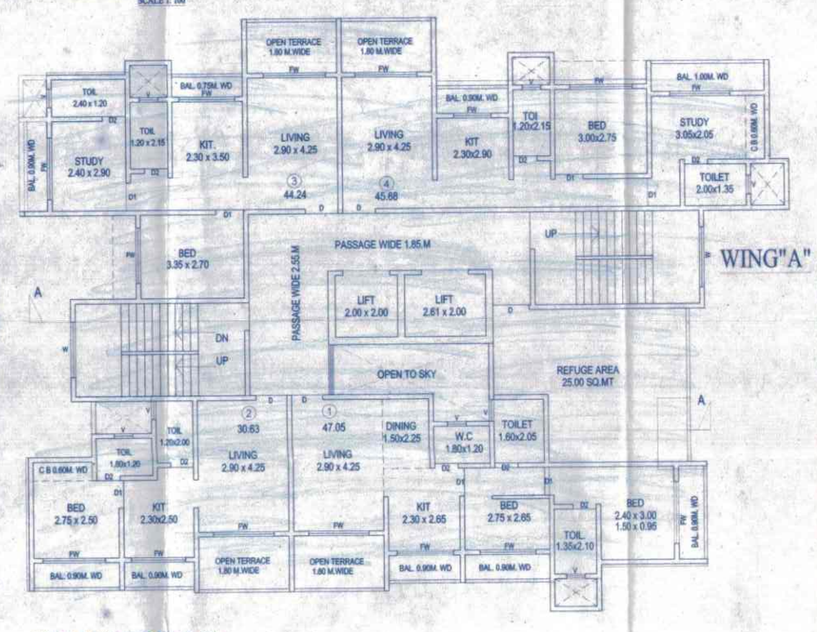

5TH & 11TH FLOOR PLAN
BLDG.NO.1- WING "A"
SCALE 1: 100

AREA LINE DIAGRAM (A-WING) SCALE 1: 200 15TH FLOOR (PROPOSED)

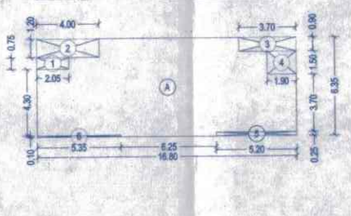

BUILT UP AREA CALCULATION

15th FLOOR								
A	16.80	X	6.35	X	1 NO	=	106.68	SQ.MT.
					TOTAL ADDITION	=	106.68	SQ.MT.

DEDUCTIONS

1	2.05	X	0.75	X	1 NO	=	1.54	SQ.MT.
2	4.00	X	1.20	X	1 NO	=	4.80	SQ.MT.
3	3.70	X	0.90	X	1 NO	=	3.33	SQ.MT.
4	1.90	X	1.50	X	1 NO	=	2.85	SQ.MT.
5	5.20	X	0.25	X	1 NO	=	1.30	SQ.MT.
6	5.35	X	0.10	X	1 NO	=	0.54	SQ.MT.
					TOTAL DEDUCTION	=	14.36	SQ.MT.
TOTAL BUILT UP AREA						=	92.32	SQ.MT.

PARKING AREA STATEMENT [as per d.c.rule]

RESIDENTIAL		ONE PARKING SPACE FOR EVERY
	a	4TENEMENT HAVING CARPET AREA ABOVE 35M EACH.
	b	2TENEMENT HAVING CARPET AREA BET. 45-70M EACH.
	c	1TENEMENT HAVING CARPET AREA ABOVE 70M² EACH.
COMMERCIAL		ONE PARKING SPACE FOR EVERY
	a	80M IN OF FLOOR AREA UPTO 800M .
	b	160M IN OF FLOOR AREA ABOVE 800M. PROVIDED
		THAT NO PARKING FOR FLOOR AREA UPTO 100M .
VISITORS		10%OF THE NUMBER STIPULATED ABOVE.

RESIDENTIAL	TENEMENT STATEMENT	PARKING SPACE
CARPET AREA	NUMBER OF TENEMENT	REQUIRED
BELOW 35M	37	NIL
BET. 35-45M	14	3.50
BET. 45-70M	18	9.00
ABOVE 70M	NIL	NIL
TOTAL NUMBERS	69	12.50
COMMERCIAL		
b) VISITORS	10%OF ABOVE	1.25
TOTAL PARKING SPACE REQUIRED(roundup)		13.75 NOS SAY 14 NOS
TOTAL PARKING SPACE PROPOSED		14.00 NOS

TENEMENT STATEMENT (BLDG NO.1) A WING

FLOOR	NUMBER OF TENEMENT				
	BELOW 35	35 TO 45	45 TO 70	ABOVE 75	TOTAL
GROUND FLOOR	NIL	NIL	NIL	-	NIL
1st FLOOR	3	1	1	-	5
2nd FLOOR	3	1	1	-	5
3rd FLOOR	3	1	1	-	5
4th FLOOR	3	1	1	-	5
5th FLOOR	1	1	2	-	4
6th FLOOR	3	1	1	-	5
7th FLOOR	3	1	1	-	5
8th FLOOR	1	1	2	-	4
9th FLOOR	3	1	1	-	5
10th FLOOR	3	1	1	-	5
11th FLOOR	1	1	2	-	4
12th FLOOR	3	1	1	-	5
13th FLOOR	1	1	1	-	3
14th FLOOR	1	1	2	-	4
15th FLOOR	3	-	-	-	3
TOTAL NO.	37	14	18		69

SUMMARY & BALCONY AREA STATEMENT WING A

FLOOR	B/UP AREA IN SQMT	PERM.AREA (10% OF B.U.A)	PROP. AREA	EXCESS AREA
	WING A			
GROUND	45.78	--	--	--
FIRST	253.76	25.37	25.12	NIL
SECOND	253.76	25.37	25.12	NIL
THIRD	253.76	25.37	25.12	NIL
FOURTH	253.76	25.37	25.12	NIL
FIFTH	235.59	23.55	22.98	NIL
SIXTH	253.76	25.37	25.12	NIL
SEVENTH	253.76	25.37	25.12	NIL
EIGHTH	235.59	23.55	22.98	NIL
NINETH	253.76	25.37	25.12	NIL
TENTH	253.76	25.37	25.12	NIL
ELEVENTH	235.59	23.55	22.98	NIL
TWELTH	253.76	25.37	25.12	NIL
THIRTEEN	253.76	25.37	25.12	NIL
FOURTEEN	235.59	23.55	22.98	NIL
FIFTTEEN	187.95	18.79	17.12	NIL
TOTAL	3713.69	368.69	360.24	NIL

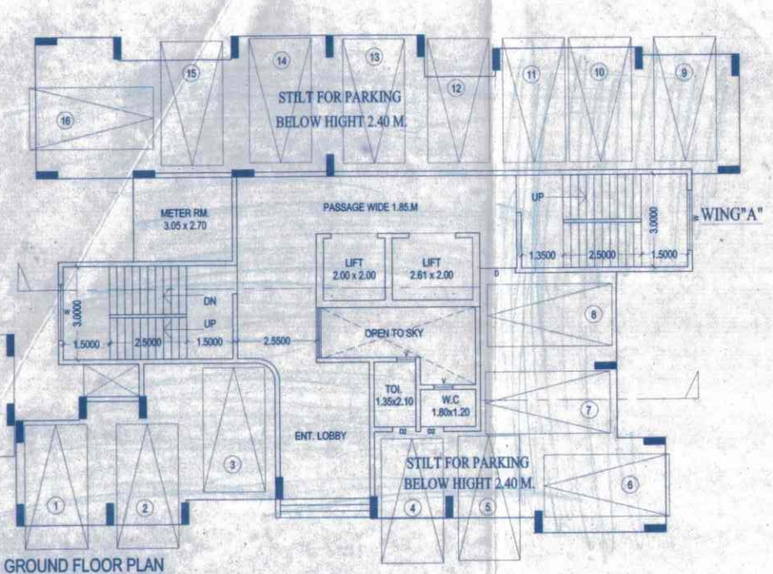

GROUND FLOOR PLAN
BLDG.NO.1- WING "A"
SCALE 1: 100

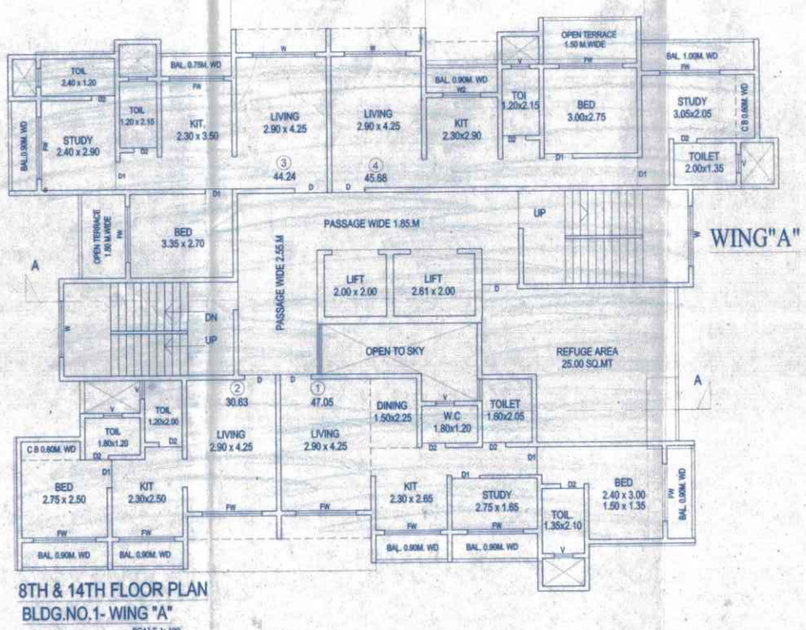

8TH & 14TH FLOOR PLAN
BLDG.NO.1- WING "A"
SCALE 1: 100

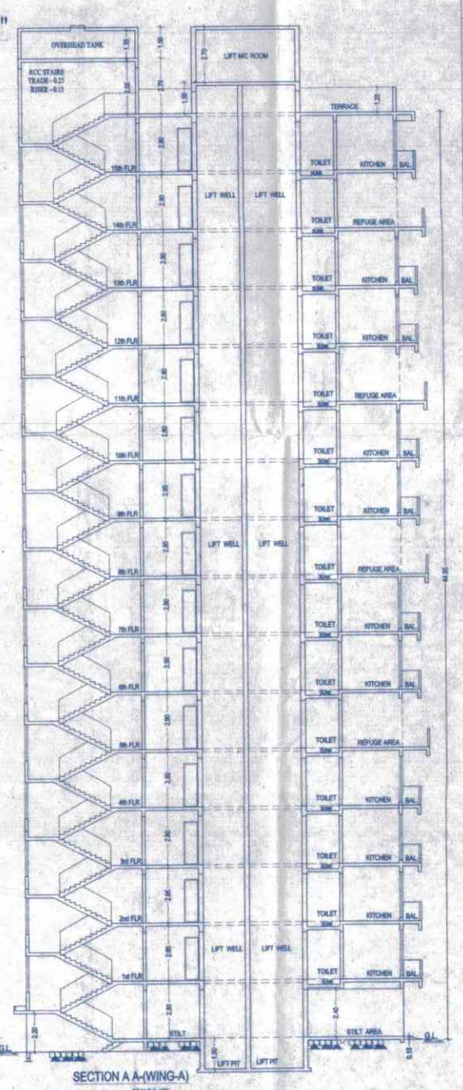

SECTION A A-(WING-A)
SCALE 1: 100

PARKING AREA STATEMENT (NEW PROPOSED) WING"A"

RESIDENTIAL	REQUIRED NOS OF PARKING		PROPOSED NOS OF PARKING		
	CAR PARKING	TWO WHEELERS	PROP. FLAT	CAR PARKING	TWO WHEELERS
For ninety two tenements with each tenement having carpet area less than 30 sq.m.	0 NOS	4 NOS	NIL	NIL	NIL
For every two tenements with each tenement having carpet area less than 40 Sq.m. but more than 30 sq.m.	1 NOS	2 NOS	2 NOS	1 NOS	4 NOS
For every two tenements with each tenement having carpet area equal to or above 40 sq.m. but less than 80 sq.m.	1 NOS	5 NOS	NIL	NIL	NIL
For every tenement having carpet area equal to or above 80 sq.m. but less than 150 sq.m.	1 NOS	3 NOS	—	—	—
For every 100 sq.m. carpet area or fraction thereof	2 NOS	6 NOS	NIL	NIL	NIL
visitor parking (5%)				0.05 NOS	0.20 NOS
TOTAL			2 NOS	1.05 NOS	4.20 NOS
TOTAL PARKING REQUIRED			50% OF	0.84 NOS.	3.36 NOS
	EXIST. PARKING REQD.			14.00 NOS	
TOTAL PARKING PROVIDED	6 SCOOTER COVERTED TO 1 CAR PARKING			16 NOS.	4.00 NOS

NAME, ADDRESS & SIGNATURE OF OWNER

M/S.ONKARESHWAR DEVELOPERS
SHRI :- SANJAY. R. SINGH (PARTNER)

ARCHITECT	CONSULTING ARCHITECT
DE-CON ASSOCIATES ARCHTECTS & INT. DESIGNERS. S-1 / RAJSHREE TOWER RAM BAUG. LANE No 6 KALYAN (W) CA. No. 92/ 15118	TIBIN TONSON THOMAS ARCHITECTS TIBIN TONSON THOMAS ARCHTECTS & INT. DESIGNERS. B-2 / ROOM NO.239 KASTURI PLAZA, DOM (E) CA. No. 2016 / 78885

SMARTI CONSULTANTS
Structural Engineers Analysis & Design
License No. A-M-CS-SEP-0-P-0-1
Flat No. 01, Ground Floor, K.D.M.C. Office, Kalyan (West)

SHEET NO 3 / 1

DESCRIPTION OF PROPOSAL & PROPERTY

PROPOSED RESIDENTIAL BUILDING ON PLOT BEARING
S. NO. 131 (OLD) , S.NO. 49 (NEW) , H. NO. 5/1,6,7, 8,13
AT VILLAGE GAONDEVI, DOMBIVLI (W). TAL. KALYAN, DIST. THANE
FOR SHRI:-VIJAY BABU MHATRE.
FOR SHRI:- DILIP K MORE (P.A. HOLDER)

M/S.ONKARESHWAR DEVELOPERS
SHRI :- SANJAY. R. SINGH (PARTNER)

STAMP OF APPROVAL OF PLAN

OFFICE OF THE KALYAN DOMBIVLI MUNICIPAL CORPORATION, KALYAN.
Building Permit No. :- KDMC/TPD/BP/DOM/2018-19/04/396
Date :- 17/12/2021
SANCTIONED

ASSISTANT DIRECTOR OF TOWN PLANNING
Kalyan-Dombivli Municipal Corporation

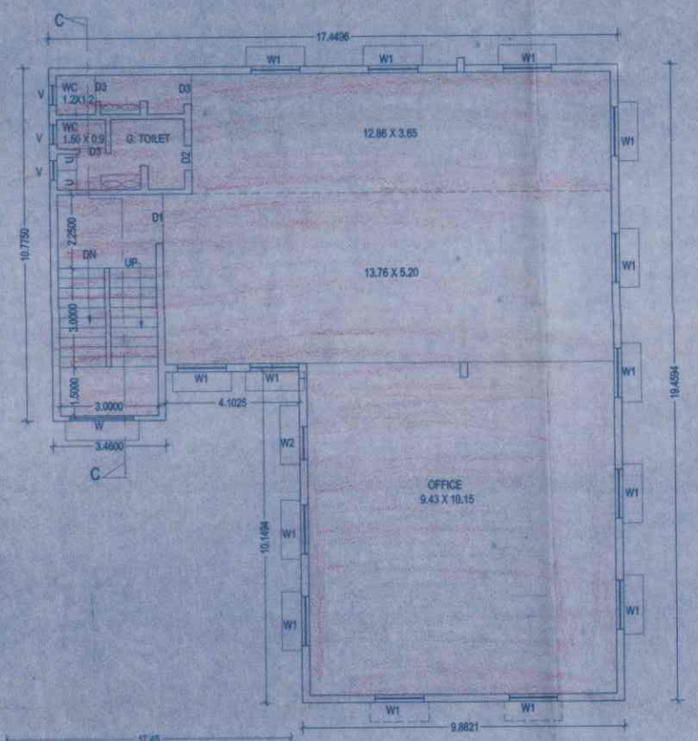

GROUND & FIRST FLOOR PLAN
M.S.E.D.C.L. BLDG 2
SCALE 1: 100

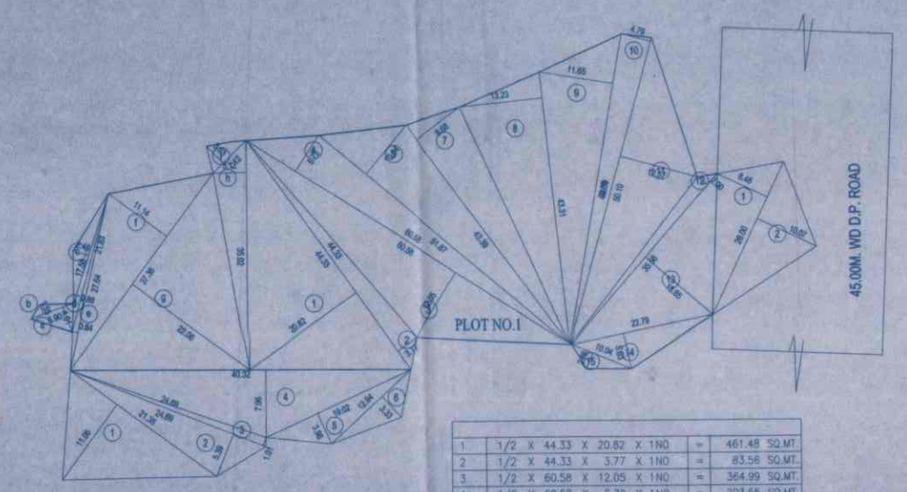

PLOT AREA CALCULATION
SCALE 1: 500

1	1/2 X 44.33 X 20.82 X 1NO	=	461.48	SQ.MT.
2	1/2 X 44.33 X 3.77 X 1NO	=	83.58	SQ.MT.
3	1/2 X 60.58 X 12.05 X 1NO	=	364.99	SQ.MT.
4	1/2 X 60.58 X 6.72 X 1NO	=	203.55	SQ.MT.
5	1/2 X 51.87 X 10.04 X 1NO	=	260.39	SQ.MT.
7	1/2 X 43.39 X 8.68 X 1NO	=	188.31	SQ.MT.
8	1/2 X 43.31 X 13.23 X 1NO	=	286.50	SQ.MT.
9	1/2 X 49.69 X 11.65 X 1NO	=	289.44	SQ.MT.
10	1/2 X 50.10 X 4.766 X 1NO	=	119.39	SQ.MT.
11	1/2 X 50.10 X 12.57 X 1NO	=	314.88	SQ.MT.
12	1/2 X 35.56 X 2.00 X 1NO	=	35.56	SQ.MT.
13	1/2 X 35.56 X 13.86 X 1NO	=	246.43	SQ.MT.
14	1/2 X 22.79 X 5.63 X 1NO	=	64.15	SQ.MT.
15	1/2 X 10.05 X 2.66 X 1NO	=	13.37	SQ.MT.
	TOTAL ADDITION	=	2932.00	SQ.MT.

SET BACK AREA					
1	1/2 X 26.00 X 8.46 X 1NO	=	109.98	SQ.MT.
2	1/2 X 26.00 X 10.078 X 1NO	=	131.02	SQ.MT.
	TOTAL ADDITION	=	241.00	SQ.MT.
1	1/2 X 21.35 X 11.06 X 1NO	=	118.07	SQ.MT.
2	1/2 X 24.69 X 5.39 X 1NO	=	66.54	SQ.MT.
3	1/2 X 24.69 X 1.01 X 1NO	=	12.47	SQ.MT.
4	1/2 X 40.32 X 7.96 X 1NO	=	160.47	SQ.MT.
5	1/2 X 19.02 X 3.96 X 1NO	=	37.65	SQ.MT.
6	1/2 X 12.94 X 3.33 X 1NO	=	21.60	SQ.MT.
	TOTAL ADDITION	=	417.00	SQ.MT.
a	1/2 X 24.52 X 0.40 X 1NO	=	4.90	SQ.MT.
b	1/2 X 24.52 X 0.99 X 1NO	=	12.14	SQ.MT.
c	1/2 X 14.58 X 5.21 X 1NO	=	37.98	SQ.MT.
d	1/2 X 36.98 X 6.72 X 1NO	=	124.25	SQ.MT.
e	1/2 X 32.21 X 1.35 X 1NO	=	21.74	SQ.MT.
f	1/2 X 23.44 X 1.52 X 1NO	=	17.81	SQ.MT.
g	1/2 X 13.22 X 2.45 X 1NO	=	16.19	SQ.MT.
	TOTAL ADDITION	=	235.00	SQ.MT.

a	1/2 X 6.90 X 4.01 X 1NO	=	13.83	SQ.MT.
b	1/2 X 6.90 X 1.55 X 1NO	=	5.35	SQ.MT.
c	1/2 X 17.58 X 2.485 X 1NO	=	21.85	SQ.MT.
d	1/2 X 21.83 X 0.88 X 1NO	=	9.61	SQ.MT.
e	1/2 X 27.64 X 0.84 X 1NO	=	11.61	SQ.MT.
f	1/2 X 37.36 X 11.14 X 1NO	=	208.10	SQ.MT.
g	1/2 X 37.36 X 22.06 X 1NO	=	412.08	SQ.MT.
h	1/2 X 35.02 X 5.12 X 1NO	=	89.65	SQ.MT.
i	1/2 X 7.12 X 3.63 X 1NO	=	12.92	SQ.MT.
	TOTAL ADDITION	=	785.00	SQ.MT.

TOTAL ADDITION=241+417+235+2932+785.00	=	4610.00	SQ.MT.
NET PLOT AREA	=	4610.00	SQ.MT.

B/UP AREA STATEMENT (RESERVATION)
SANCTION NO.318

RESERVATION NO	100 % OF AREA	40 % OF 100% PLOT AREA	40 % OF 100% PLOT AREA 40 % B/UP AREA	PROPOSED AREA	TOTAL
M.S.E.D.C.L. - 318	3340.00 SQMT	1336.00 SQMT	534.40 SQMT	GRD + 1ST 267.92+267.92	535.84 SQMT

(S.NO .131 (49) H NO.5/1	=	860.00
(S.NO .131 (49) H NO. 6	=	1620.00
(S.NO .131 (49) H NO. 7	=	1060.00
(S.NO .131 (49) H NO. 8	=	760.00
(S.NO .131 (49) H NO. 13	=	510.00

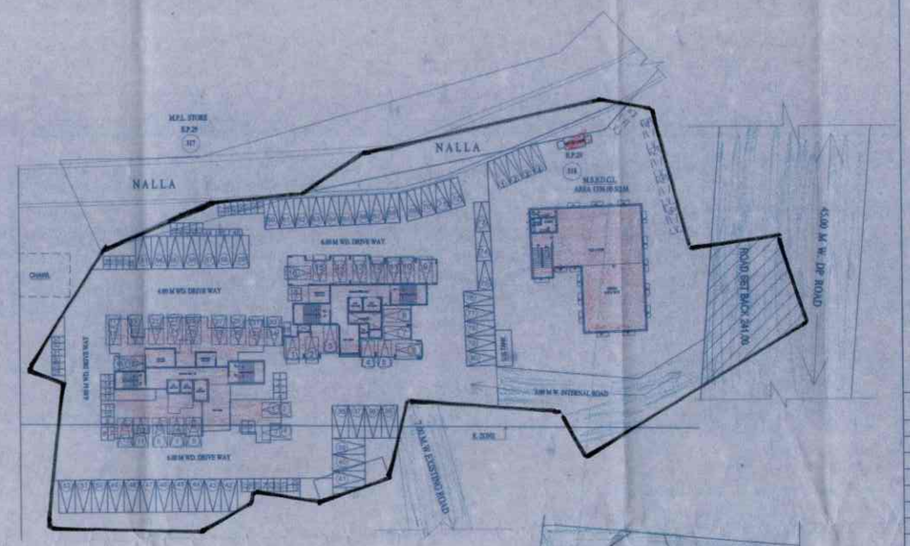

BLOCK PLAN
SCALE 1: 500

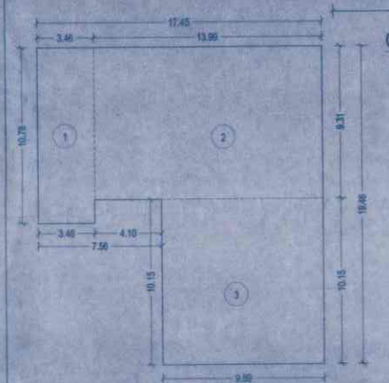

AREA LINE DIAGRAM OF GROUND & 1ST FLOOR
M.S.E.D.C.L. BLDG.NO.2
SCALE 1: 200

BUILT UP AREA CALCULATION							
M.S.E.D.C.L. BLDG.							
ADDITIONAL							
1.	3.46	X 10.78	X 1NO	=	37.29	SQ.MT.
2.	13.98	X 9.31	X 1NO	=	130.26	SQ.MT.
3.	9.89	X 10.15	X 1NO	=	100.38	SQ.MT.
			TOTAL ADDITION	=	267.92	SQ.MT.
	BUILT UP AREA ON GROUND FLR.			=	267.92	SQ.MT.
	BUILT UP AREA ON FIRST FLR.			=	267.92	SQ.MT.
TOTAL BUILT UP AREA					535.84	SQ.MT.

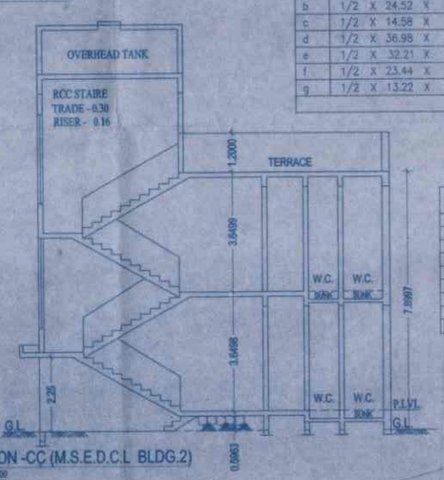

SECTION -CC (M.S.E.D.C.L. BLDG.2)
SCALE 1: 100

SCHEDULE OF DOORS & WINDOWS

TYPE	SIZE	AREA	REMARKS
RS	2.10 X 2.40	5.04	ROLLING SHUTTER
D	0.99 X 2.13	2.11	T.W. PANNELLED DOOR
D1	0.81 X 2.13	1.64	T.W. PANNELLED DOOR
D2	0.76 X 1.98	1.50	T.W. PANNELLED DOOR
W	1.80 X 1.20	2.16	T.W. GLAZED WINDOW
W1	1.50 X 1.20	1.80	T.W. GLAZED WINDOW
W2	1.20 X 1.00	1.20	T.W. GLAZED WINDOW
V	0.61 X 0.90	0.55	T.W. LOUVERS WINDOW

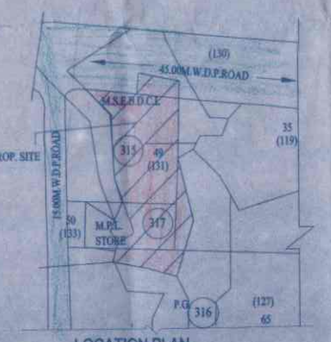

LOCATION PLAN
(SCALE 1:2500)

M.P.L. STORE
E.P.29
317

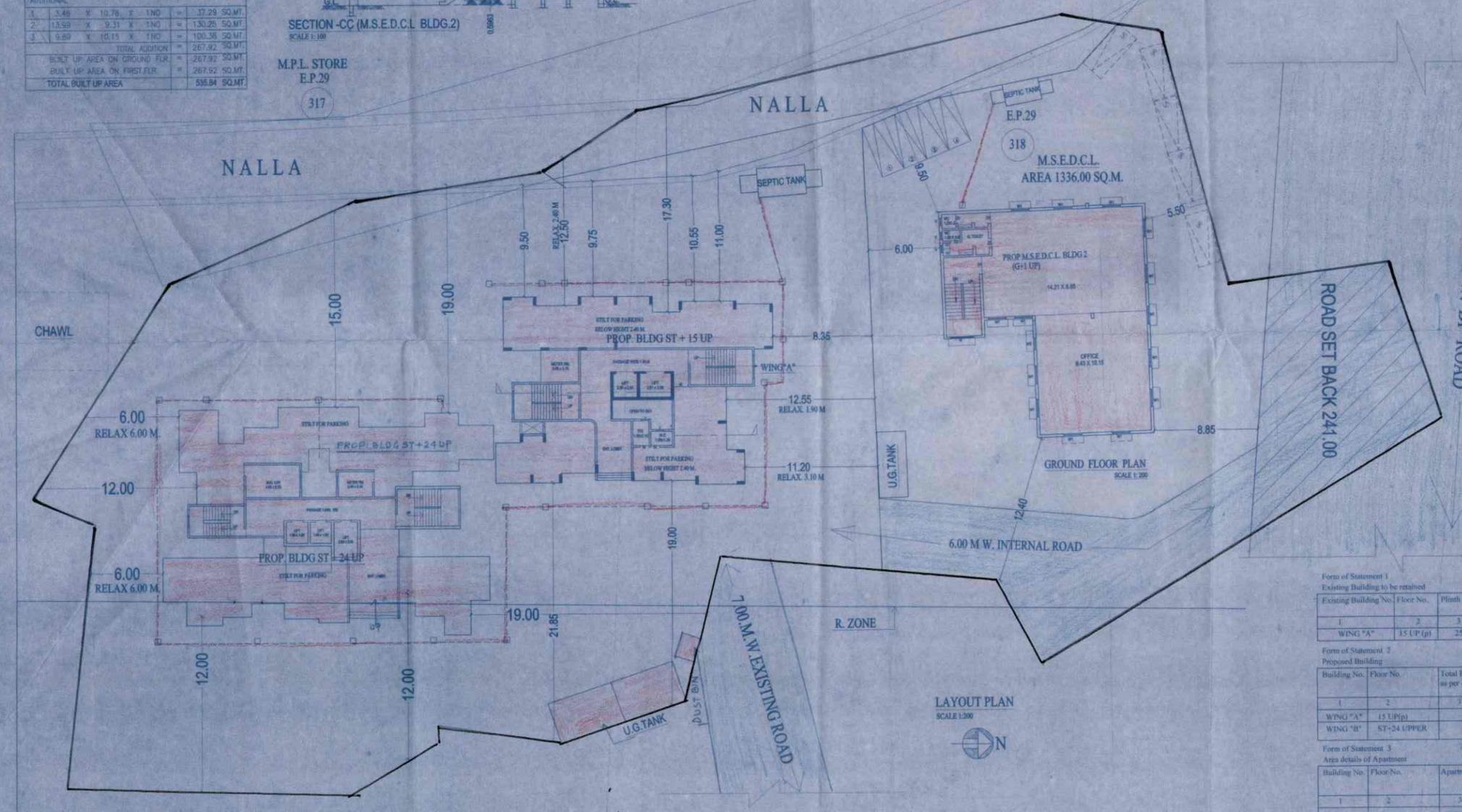

LAYOUT PLAN
SCALE 1:200

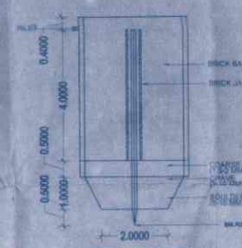

SECTION AT A-A
SCALE 1:00

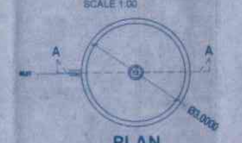

PLAN
SCALE 1:00

RAIN WATER HARVESTING
SCALE 1:100

Form of Statement 1
Existing Building to be retained

Existing Building No.	Floor No.	Plinth Area	Total Floor Area of Existing Existing Building Use	Occupancy of Floors
1	2	3	4	5
WING "A"	15 UP (p)	253.76	3713.69	69 NOS

Form of Statement 2
Proposed Building

Building No.	Floor No.	Total B-up Area of floor as per outer construction Line
1	2	3
WING "A"	15 UP(p)	92.32
WING "B"	ST+24 UPPER	10457.14

Form of Statement 3
Area details of Apartment

Building No.	Floor No.	Apartment No.	Carpet area of apartment	Area of Bal. attached to Apart.	Area of Double height terrace attached to flat.
1	2	3	4	5	6
1	15 UP(p)	WING "A"	67.15	9.77	10.71
1	ST+24 UPPER	WING "B"	5700.48	1950.48	NIL

AREA STATEMENT		SQ.MT
1. AREA OF PLOT		
(MINIMUM AREA OF A, B, C TO BE CONSIDERED)		
(A) AS PER OWNERSHIP DOCUMENT	(7/12)	4610.00
(B) AS PER MEASUREMENT SHEET		4610.00
(C) AS PER SITE		4610.00
2. DEDUCTIONS FOR		
(A) PROPOSED D.P./ D.P. ROAD WIDENING AREA/SERVICE ROAD / HIGHWAY WIDENING		
(B) ANY D.P. RESERVATION AREA	M.S.E.D.C.L. - 318 = 3340.00	241.00
(B) NALLA		201.00
(TOTAL A+B)		442.00
3. BALANCE AREA OF PLOT (1-2)		4168.00
4. AMENITY SPACE (IF APPLICABLE)		
(A) REQUIRED -		
(B) ADJUSTMENT OF 2(B), IF ANY -		
(C) BALANCE PROPOSED -		
5. NET PLOT AREA (3-4 (C))		4168.00
6. RECREATIONAL OPEN SPACE (IF APPLICABLE)		NIL
A) (A) REQUIRED -		
B) (B) PROPOSED -		
7. INTERNAL ROAD AREA		NIL
8. FLOTABLE AREA (IF APPLICABLE)		NIL
9. BUILT UP AREA WITH REFERENCE TO BASIC F.S.I. AS PER FRONT ROAD WIDTH		
(SR. NO. 5.33(BASIC FSI)	4168.00 x 1.10	4584.80
10. ADDITION OF FSI ON PAYMENT OF PREMIUM	4610.00 x 0.50 = 2305.00	2305.00
(A)MAXIMUM PERMISSIBLE PREMIUM FSI - BASED ON ROAD WIDTH / TOD ZONE.		
(B) PROPOSED FSI ON PAYMENT OF PREMIUM.		
11. IN-SITU FSI / TDR LOADING		NIL
(A)IN-SITU AREA AGAINST D.P. ROAD [2.0 X SR. NO. 2 (A)]IF ANY		NIL
(B)IN-SITU AREA AGAINST AMENITY SPACE IF HANDED OVER		NIL
[2.00 OR1.85 X SR. NO. 4 (B)AND /OR/C)].	241.00 x 2.10 =506.10	506.10
(C)TDR AREA	4610.00 x 1.40 =6454.00 - 506.10 = 5947.90 TDR TAKEN 2950.00	2950.00
(D) TOTAL IN-SITU / TDR LOADING PROPOSED (11 (A)+(B)+(C))		NIL
12. ADDITIONAL FSI AREA UNDER CHAPTER NO. 7		NIL
13. TOTAL ENTITLEMENT OF FSI IN THE PROPOSAL		
(A) [9 + 10(B)+11(D)] OR 12 WHICHEVER IS APPLICABLE.	4584.80 + 2305.00 + 506.10 +2950.00	10345.90
(B) ANCILLARY AREA FSI UPTO 60% OR 80%WITH PAYMENT OF CHARGES.10345.90 - 5713.69= 6632.21 X60%		3979.32
(C) TOTAL ENTITLEMENT (A+B)	10345.90 + 3979.32	14325.22
14. MAXIMUM UTILIZATION LIMIT OF F.S.I. (BUILDING POTENTIAL) PERMISSIBLE AS PER ROAD WIDTH [(AS PER REGULATION NO. 6.1 OR 6.2 OR 6.3 OR 6.4 AS APPLICABLE) X 1.6 OR 1.8]		14325.22
15. TOTAL BUILT-UP AREA IN PROPOSAL (EXCLUDING AREA AT SR.NO.17 B)		
(A) EXISTING BUILT-UP AREA.	KDMC/ SRV/BP/ DOM- 30/98-19/04 DATE:18-08-2018 WING "A"-15UP(p) + WING"B"(GR+1ST UP) APPROVED - 3967.65	3713.69
(B) PROPOSED BUILT-UP AREA (AS PER P-LINE)	WING "A"-15UP(p) + WING"B"(24TH) 92.32 + 10457.14	10549.46
(C) TOTAL (A+B)		14263.15
16. F.S.I. CONSUMED (15/13) (SHOULD NOT BE MORE THAN SERIAL NO.14 ABOVE.)		0.99
17. AREA FOR INCLUSIVE HOUSING, IF ANY		NIL
(A) REQUIRED (20% OF SR.NO.5)		
(B) PROPOSED		

APPENDIX - C

THE PLANS PREPARED BY ME ARE IN ACCORDANCE WITH THE NORMS AS SPECIFIED BY INDIAN STANDARD INSTITUTE & I WILL BE HELD RESPONSIBLE FOR ANY HARM CAUSED IN EARTHQUAKE DUE TO NEGLIENCE OF THE STANDARDS.

SHANTI CONSULTANTS
Structural Engineers-Work Desk
License No. C.M.C. STR/WR/
T.M.C. Structural/R.K.B.C.C.

ENGINEERS SIGNATURE

CERTIFICATE OF AREA:

CERTIFIED THAT THE PLOT UNDER REFERENCE WAS SURVEYED BY ME ON 12 - 01- 2021 AND THE DIMENSIONS OF SIDES ETC. OF PLOT STATED ON PLAN ARE AS MEASURED ON SITE AND THE AREA SO WORKED OUT TALLIES WITH THE AREA STATED IN DOCUMENT OF OWNERSHIP/ T.P. SCHEME RECORDS/ LAND RECORDS DEPARTMENT/CITY SURVEY RECORDS.

SIGNATURE
(NAME OF ARCHITECT/LICENSED ENGINEER/SUPERVISOR.)

OWNER'S DECLARATION –

I/WE UNDERSIGNED HEREBY CONFIRM THAT I/WE WOULD ABIDE BY PLANS APPROVED BY AUTHORITY / COLLECTOR. I/WE WOULD EXECUTE THE STRUCTURE AS PER APPROVED PLANS. ALSO I/WE WOULD EXECUTE THE WORK UNDER SUPERVISION OF PROPER TECHNICAL PERSON SO AS TO ENSURE THE QUALITY AND SAFETY AT THE WORK SITE.

OWNER (S) NAME AND SIGNATURE

NAME, ADDRESS & SIGNATURE OF OWNER

M/S.ONKARESHWAR DEVELOPERS
SHRI :- SANJAY. R. SINGH (PARTNER)

ARCHITECT	CONSULTING ARCHITECT
DE-CON ASSOCIATES ARCHTECTS & INT. DESIGNERS. S-1 / RAJSHREE TOWER RAM BAUG, LANE No 6 KALYAN (W) CA. No. 92/ 15118	TIBIN TONSON THOMAS ARCHITECTS TIBIN TONSON THOMAS ARCHTECTS & INT. DESIGNERS. B-2 / ROOM NO.239 KASTURI PLAZA, DOM (E) CA. No. 2016 / 78885

DESCRIPTION OF PROPOSAL & PROPERTY

PROPOSED RESIDENTIAL BUILDING ON PLOT BEARING
S. NO. 131 (OLD) , S.NO. 49 (NEW) , H. NO. 5/1,6,7, 8,13
AT VILLAGE GAONDEVI, DOMBIVLI (W). TAL. KALYAN, DIST. THANE
FOR SHRI:-VIJAY BABU MHATRE.
FOR SHRI:- DILIP K MORE (P.A. HOLDER)

M/S.ONKARESHWAR DEVELOPERS
SHRI :- SANJAY. R. SINGH (PARTNER)

STAMP OF APPROVAL OF PLAN

OFFICE OF THE KALYAN DOMBIVLI MUNICIPAL CORPORATION, KALYAN.
Building Permit No.:- KDMC/TPD/BP/DOM/2018-19/04/396
Date :- 17/12/2021.
SANCTIONED

ASSISTANT DIRECTOR OF TOWN PLANNING
Kalyan-Dombivli Municipal Corporation

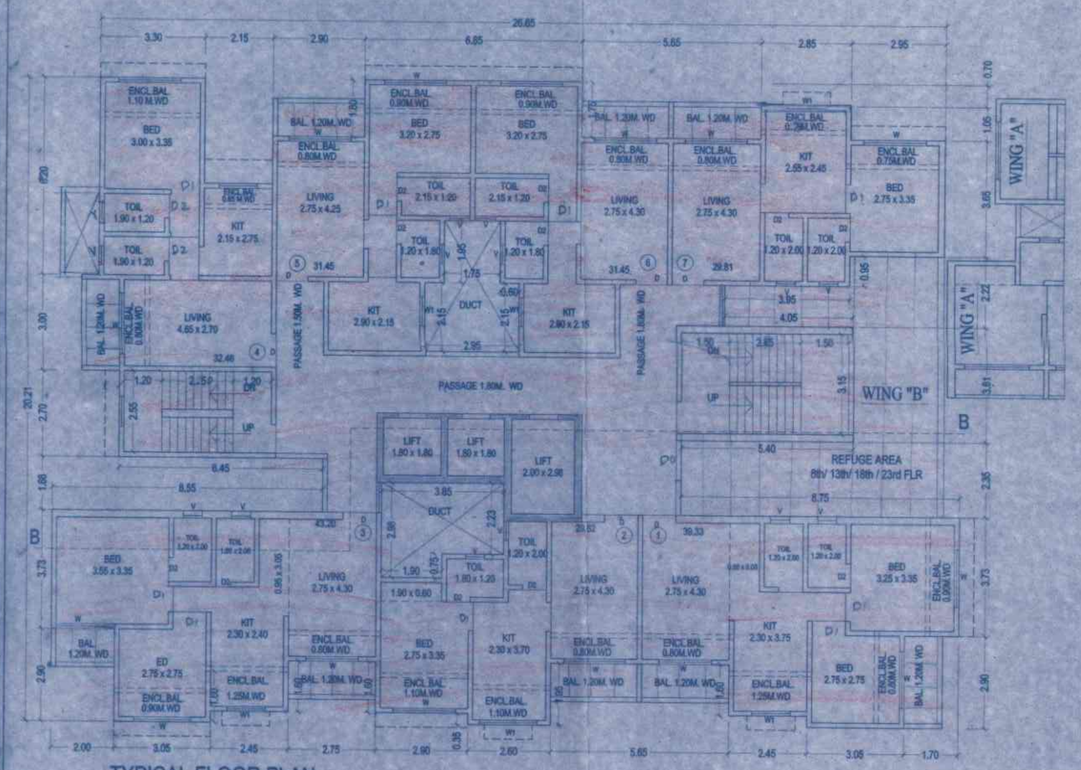

TYPICAL FLOOR PLAN
8TH,13TH,18TH & 23TH FLOOR PLAN
BLDG.NO.1- WING "B" SCALE 1: 100

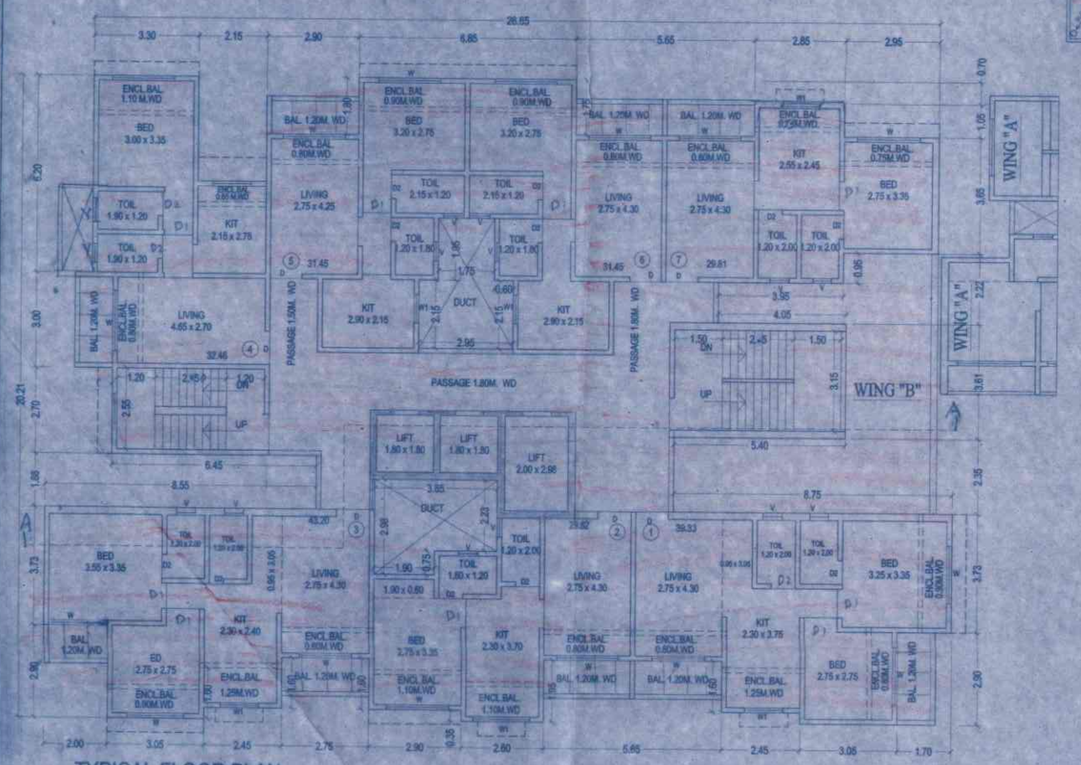

TYPICAL FLOOR PLAN
1ST TO 7TH,9TH TO 12TH,14TH TO 17TH,19TH TO 22TH & 24TH FLOOR PLAN
BLDG.NO.1- WING "B" SCALE 1: 100

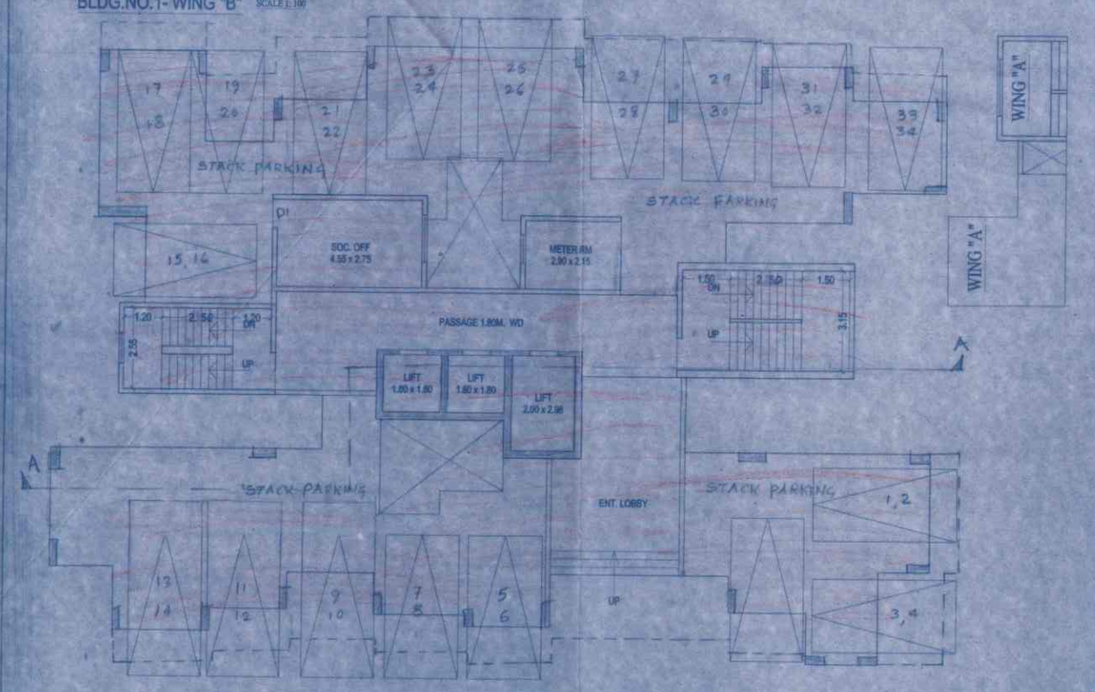

GROUND FLOOR PLAN
BLDG.NO.1- WING "B"
SCALE 1: 100

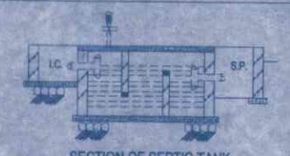

SECTION OF SEPTIC TANK
SCALE 1:50

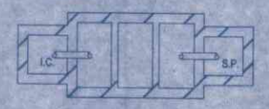

PLAN OF SEPTIC TANK
SCALE 1:50

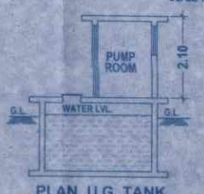

PLAN U.G. TANK

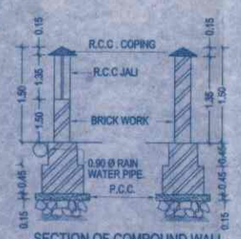

SECTION OF COMPOUND WALL
SCALE 1:50

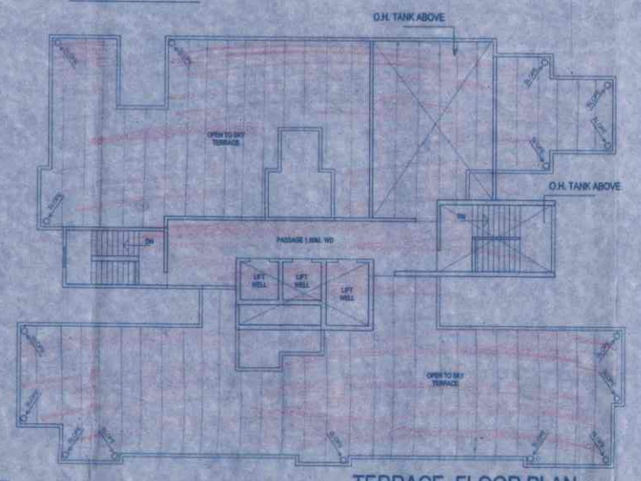

TERRACE FLOOR PLAN
SCALE 1:150

AREA LINE DIAGRAM: 1st TO 24th FLR
(B-WING) SCALE 1: 200

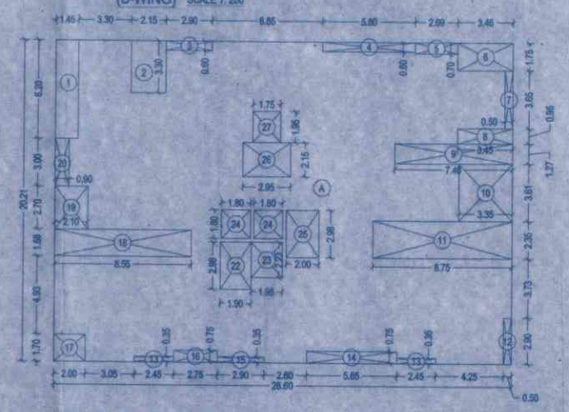

BUILT UP AREA CALCULATION

TYPICAL FLOOR								
A	28.60	X	20.21	X	1NO	=	578.01	SQ.MT.
				TOTAL ADDITION		=	578.01	SQ.MT.

DEDUCTIONS

1	1.45	X	6.20	X	1NO	=	8.99	SQ.MT.
2	2.15	X	3.30	X	1NO	=	7.10	SQ.MT.
3	2.90	X	0.60	X	1NO	=	1.74	SQ.MT.
4	5.80	X	0.60	X	1NO	=	3.48	SQ.MT.
5	2.69	X	0.70	X	1NO	=	1.88	SQ.MT.
6	3.46	X	1.75	X	1NO	=	6.06	SQ.MT.
7	0.50	X	3.65	X	1NO	=	1.83	SQ.MT.
8	3.45	X	0.95	X	1NO	=	3.28	SQ.MT.
9	7.45	X	1.27	X	1NO	=	9.40	SQ.MT.
10	3.35	X	3.61	X	1NO	=	12.09	SQ.MT.
11	8.75	X	2.35	X	1NO	=	20.56	SQ.MT.
12	0.50	X	2.90	X	1NO	=	1.45	SQ.MT.
13	2.45	X	0.35	X	2 NOS	=	1.72	SQ.MT.
14	2.65	X	0.75	X	1NO	=	4.24	SQ.MT.
15	2.90	X	0.35	X	1NO	=	1.02	SQ.MT.
16	2.75	X	0.75	X	1NO	=	2.06	SQ.MT.
17	2.00	X	1.70	X	1NO	=	3.40	SQ.MT.
18	8.55	X	1.68	X	1NO	=	14.36	SQ.MT.
19	2.10	X	2.70	X	1NO	=	5.67	SQ.MT.
20	0.90	X	3.00	X	1NO	=	2.70	SQ.MT.
22	1.80	X	2.95	X	1NO	=	5.66	SQ.MT.
23	1.95	X	2.23	X	1NO	=	4.35	SQ.MT.
24	1.80	X	1.80	X	2 NOS	=	6.48	SQ.MT.
25	2.00	X	2.98	X	1NO	=	5.96	SQ.MT.
26	2.95	X	2.15	X	1NO	=	6.34	SQ.MT.
27	1.75	X	1.95	X	1NO	=	3.41	SQ.MT.
				TOTAL DEDUCTION		=	145.23	SQ.MT.
TOTAL BUILT UP AREA						=	432.78	SQ.MT.

AREA STATEMENT

FLOOR	BUILT-UP AREA IN SQ.MT
GR. FLOOR	70.42
1st FLOOR	432.78
2nd FLOOR	432.78
3rd FLOOR	432.78
4th FLOOR	432.78
5th FLOOR	432.78
6th FLOOR	432.78
7th FLOOR	432.78
8th FLOOR	432.78
9th FLOOR	432.78
10th FLOOR	432.78
11th FLOOR	432.78
12th FLOOR	432.78
13th FLOOR	432.78
14th FLOOR	432.78
15th FLOOR	432.78
16th FLOOR	432.78
17th FLOOR	432.78
18th FLOOR	432.78
19th FLOOR	432.78
20th FLOOR	432.78
21th FLOOR	432.78
22th FLOOR	432.78
23th FLOOR	432.78
24th FLOOR	432.78
TOTAL AREA	10457.14

PARKING AREA STATEMENT (NEW PROPOSED)

REQUIRED	REQUIRED NOS OF PARKING		PROPOSED NOS OF PARKING		
	CAR PARKING	TWO WHEELERS	PROP. FLAT	CAR PARKING	TWO WHEELERS
For every two tenements with each tenement having carpet area less than 30 sq.m	2 NOS	4 NOS	48 NOS	NIL	96 NOS
For every two tenements with each tenement having carpet area less than 40 Sq.m. but more than 30 sq.m.	1 NOS	2 NOS	96 NOS	48 NOS	96 NOS
For every two tenements with each tenement having carpet area equal to or above 40 sq.m. but less than 80 sq.m.	1 NOS	5 NOS	24 NOS	12 NOS	60 NOS
For every tenement having carpet area equal to or above 80 sq.m. but less than 150 sq.m.	1 NOS	3 NOS	—	—	—
For every 150 sq.m. carpet area or fraction thereof	2 NOS	6 NOS	NIL	NIL	NIL
visitor parking (5%)				3.00 NOS	12.00 NOS
TOTAL			168.00 NOS	63.00 NOS	264.00 NOS
TOTAL PARKING REQUIRED			50% OF	63.40 NOS.	211.00 NOS.
TOTAL PARKING PROVIDED	168 SCOOTER CONVETED TO 27 CARS			90.00 NOS.	53 NOS.

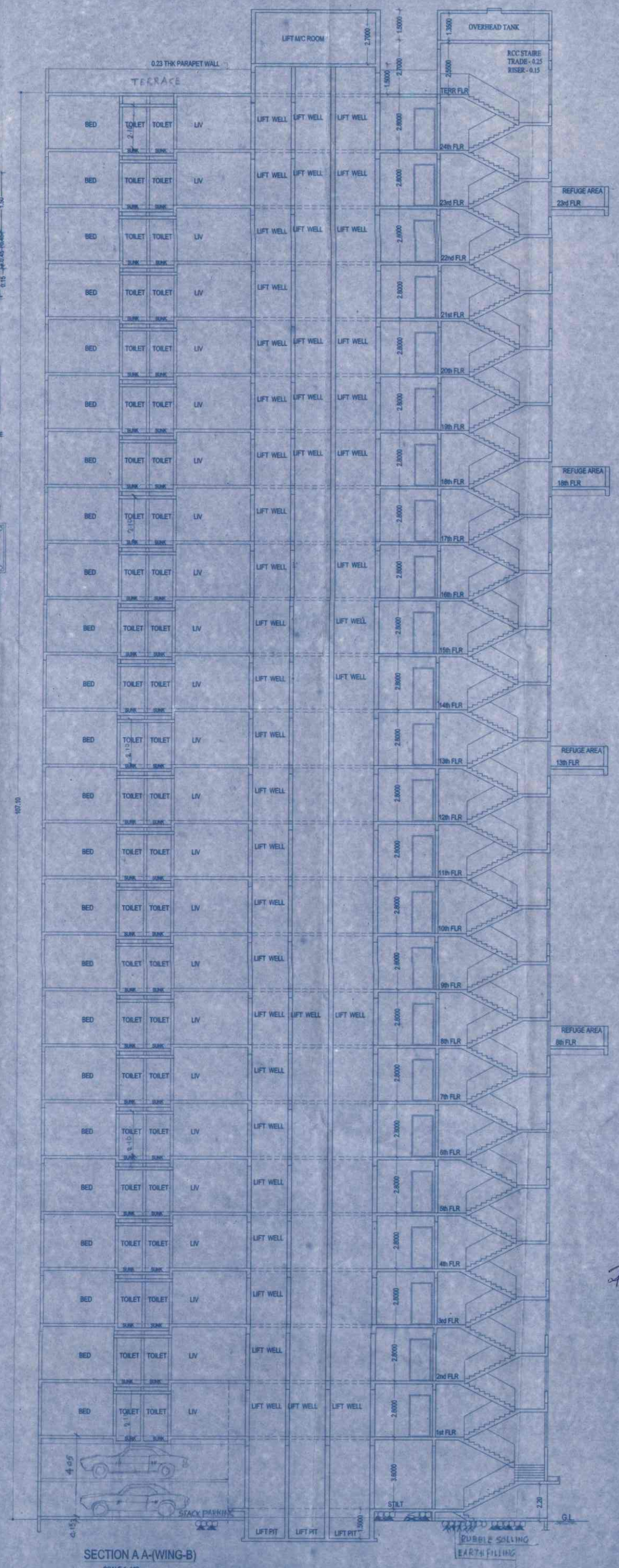

SECTION A A-(WING-B)
SCALE 1: 100

STAIRCASE AREA DAIGRAM : GR. FLR
BLDG.NO.1- WING "B"
SCALE 1: 200

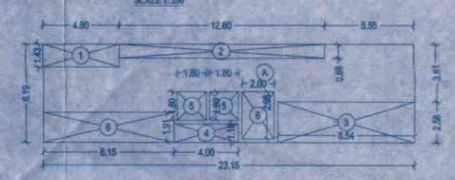

BUILT UP AREA CALCULATION

GROUND FLOOR								
A	23.15	X	6.19	X	1NO	=	143.30	SQ.MT.
				TOTAL ADDITION		=	143.30	SQ.MT.

DEDUCTIONS

1	4.80	X	1.43	X	1NO	=	6.86	SQ.MT.
2	12.80	X	0.88	X	1NO	=	11.26	SQ.MT.
3	8.54	X	2.58	X	1NO	=	22.03	SQ.MT.
4	4.00	X	1.18	X	1NO	=	4.72	SQ.MT.
5	1.80	X	1.80	X	2 NOS	=	6.48	SQ.MT.
6	2.00	X	2.98	X	1NO	=	5.96	SQ.MT.
6	8.15	X	1.91	X	1NO	=	15.57	SQ.MT.
				TOTAL DEDUCTION		=	72.88	SQ.MT.
TOTAL BUILT UP AREA						=	70.42	SQ.MT.

NAME, ADDRESS & SIGNATURE OF OWNER

M/S.ONKARESHWAR DEVELOPERS
SHRI :- SANJAY. R. SINGH (PARTNER)

ARCHITECT	CONSULTING ARCHITECT
DE-CON ASSOCIATES ARCHITECTS & INT. DESIGNERS. S-1 / RAJSHREE TOWER RAM BAUG. LANE No 6 KALYAN (W) CA. No. 92/ 15118	TIBIN TONSON THOMAS ARCHITECTS: TIBIN TONSON THOMAS ARCHITECTS & INT. DESIGNERS. B-2 / ROOM NO.239 KASTURI PLAZA, DOM (E) CA. No. 2016 / 78885