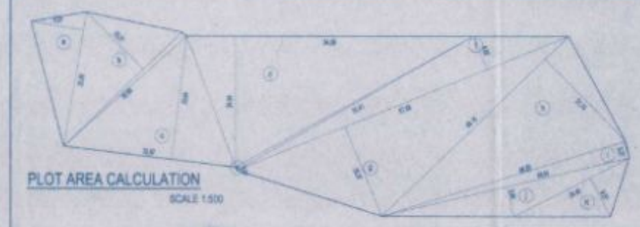

PLOT AREA CALCULATION
SCALE 1:500

PLOT AREA CALCULATION								
a	1/2 X	25.85 X	9.97 X	1 NO	=	128.86	SQ.MT.
b	1/2 X	30.98 X	15.21 X	1 NO	=	235.60	SQ.MT.
c	1/2 X	32.57 X	23.64 X	1 NO	=	384.98	SQ.MT.
d	1/2 X	54.08 X	24.84 X	1 NO	=	674.13	SQ.MT.
e	1/2 X	51.41 X	0.91 X	1 NO	=	15.68	SQ.MT.
f	1/2 X	67.68 X	6.82 X	1 NO	=	230.79	SQ.MT.
g	1/2 X	67.88 X	18.37 X	1 NO	=	621.84	SQ.MT.
h	1/2 X	48.16 X	21.74 X	1 NO	=	524.37	SQ.MT.
i	1/2 X	48.20 X	3.37 X	1 NO	=	78.81	SQ.MT.
j	1/2 X	48.04 X	5.84 X	1 NO	=	140.28	SQ.MT.
k	1/2 X	24.48 X	8.27 X	1 NO	=	101.22	SQ.MT.
				TOTAL ADDITION	=	3146.39	SQ.MT.

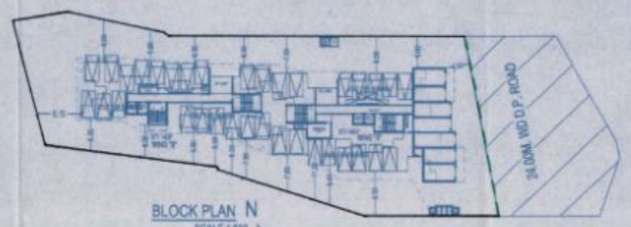

BLOCK PLAN N
SCALE 1:500

NOTES
PLOT OUTLINE - THICK BLACK
PROPOSED WORK - PINK
DRAINAGE AND SANITARY WORK - RED DOTTED
FUTURE STREET - GREEN DOTTED
ROAD AND SET BACK - BURNT SIENNA
RECREATION GROUND - GREEN WASH
WORK PROHIBITED TO BE CONSTRUCTED - YELLOW
ALL EXT. & INTERNAL WALLS ARE 0.15+0.23 M THK RESP.

SCHEDULE OF DOORS & WINDOWS

TYPE	SIZE	AREA	REMARKS
D	0.90 X 2.10	1.89	PANELLED SHUTTER
D1	0.90 X 2.10	1.89	PANELLED DOOR
D2	0.80 X 2.10	1.68	PANELLED DOOR
D3	0.75 X 2.10	1.58	PANELLED DOOR
W	1.50 X 1.20	1.80	ALUMINIUM WINDOW
W1	1.20 X 1.20	1.44	ALUMINIUM WINDOW
W2	1.20 X 1.20	1.44	ALUMINIUM WINDOW
W3	0.75 X 0.90	0.68	ALUMINIUM WINDOW
V	0.61 X 0.90	0.55	LOUVERS WINDOW

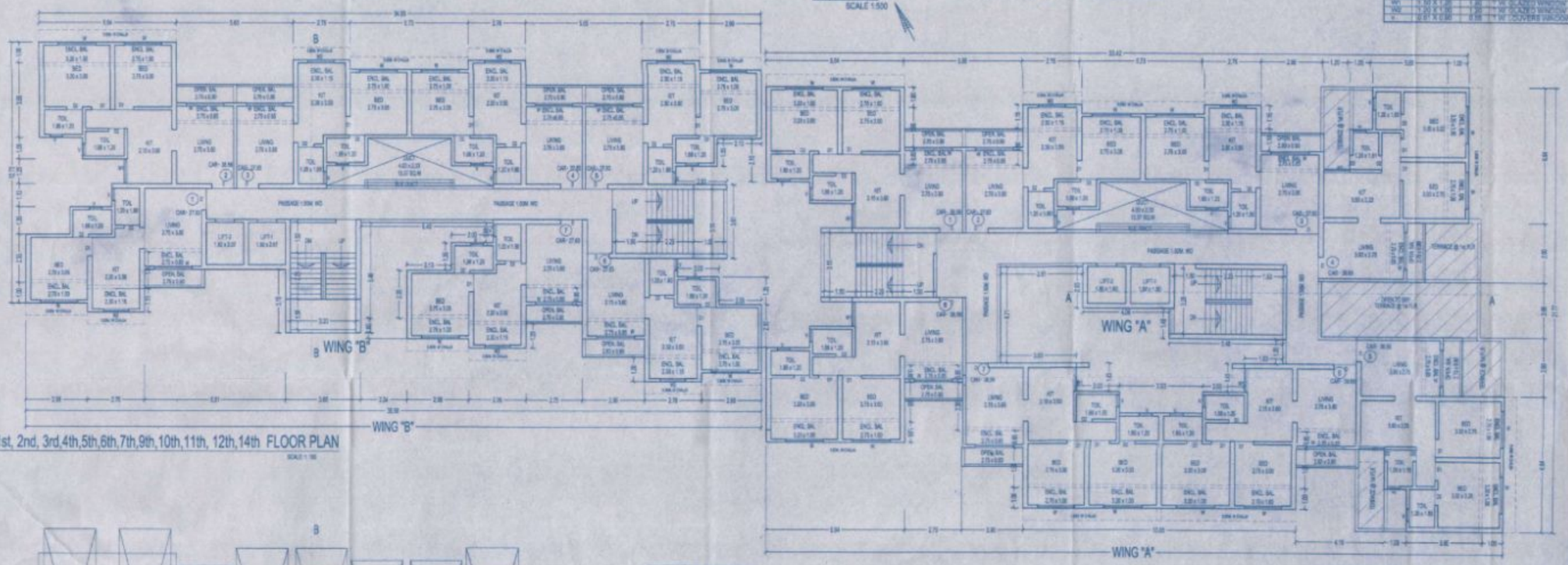

1st, 2nd, 3rd,4th,5th,6th,7th,9th,10th,11th, 12th,14th FLOOR PLAN

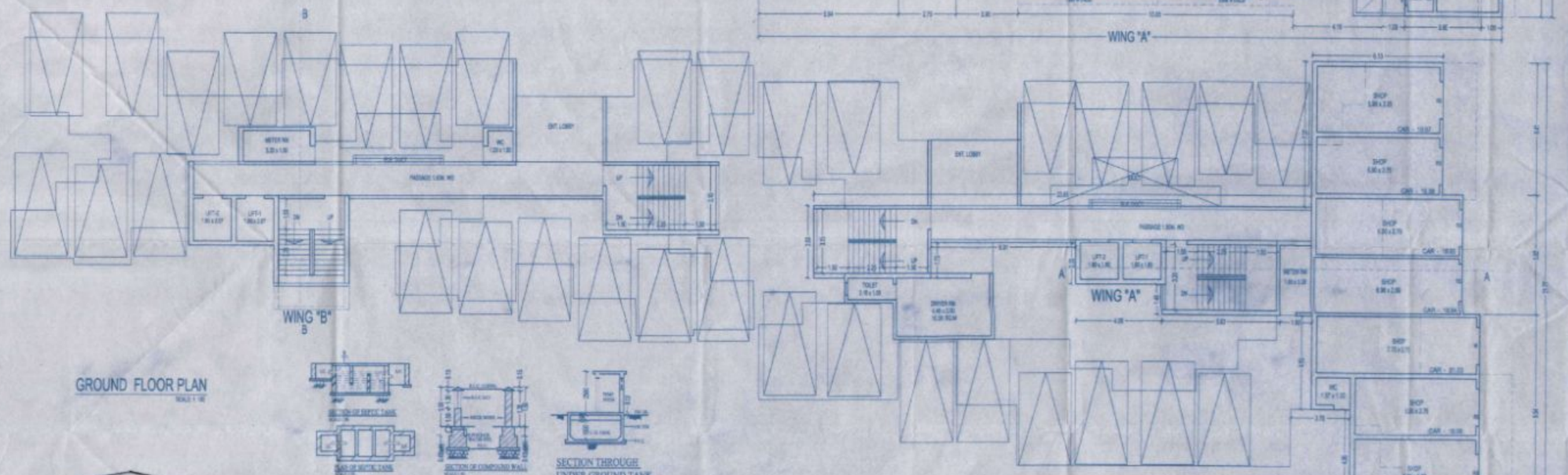

GROUND FLOOR PLAN

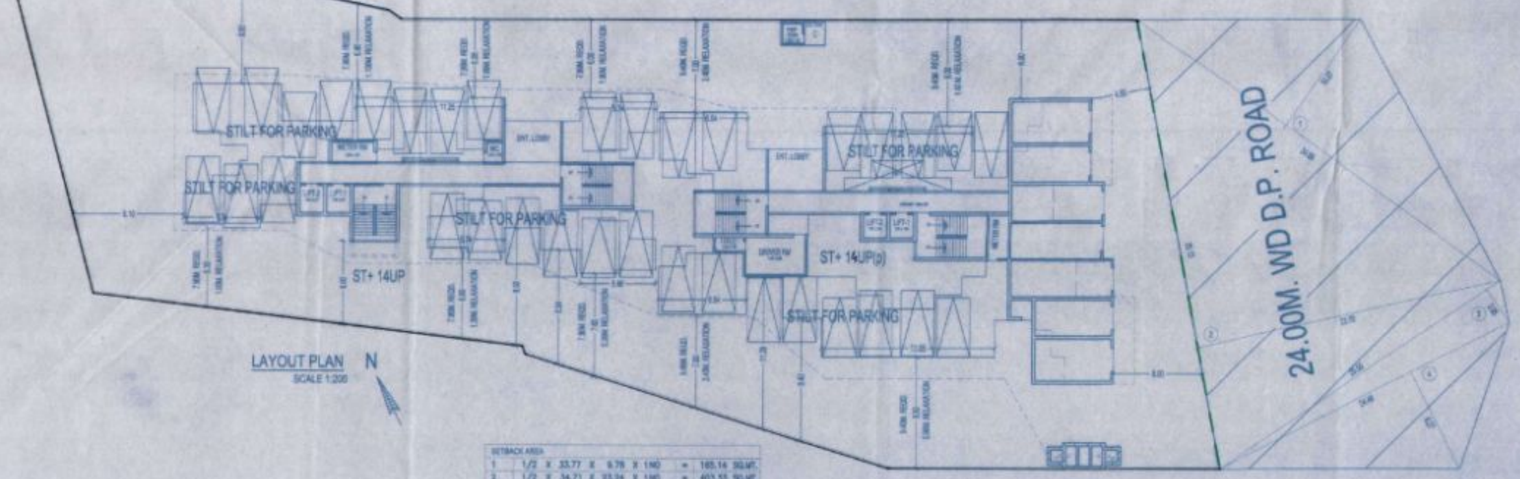

LAYOUT PLAN N
SCALE 1:200

SETBACK AREA							
1	1/2 X	33.77 X	9.79 X	1 NO	=	165.14	SQ.MT.
2	1/2 X	34.71 X	23.24 X	1 NO	=	403.33	SQ.MT.
3	1/2 X	25.38 X	2.03 X	1 NO	=	36.45	SQ.MT.
4	1/2 X	24.38 X	8.23 X	1 NO	=	100.33	SQ.MT.
				TOTAL ADDITION	=	701.25	SQ.MT.

LOCATION PLAN

DESCRIPTION OF PROPOSAL & PROPERTY

PROPOSED BUILDING ON PLOT BEARING S.NO. 30, H.No. 2(p), 3A, 3B, 4, 5, 6 MOUJE -KANCHANGAON, TAL-KALYAN DIST.-THANE.

FOR : SMT.THAKUBAI GAURU PATIL & OTHERS.

STAMP OF APPROVAL OF PLAN 1/3

OFFICE OF THE KALYAN DOMBIVLI MUNICIPAL CORPORATION, KALYAN.
Building Permit No. : KDMC/TPD/BP/DOM/2021-22/42/257
Date :- 08/09/2022.
SANCTIONED

ASSISTANT DIRECTOR OF TOWN PLANNING
Kalyan-Dombivli Municipal Corporation

AREA STATEMENT SQ.MT

1. AREA OF PLOT	
MINIMUM AREA OF K.D.C.P.R.(W) CONSIDERED	
(A) AS PER OWNERSHIP DOCUMENT (VIDE DTS EXTRACT)	3146.00
(B) AS PER MEASUREMENT SHEET	3146.00
(C) AS PER RPTS	3146.00
2. DEDUCTIONS FOR	
(A) PROPOSED D.P./C.D.P. ROAD WIDENING AREA(SERVICE ROAD / HIGHWAY WIDENING	701.25
(B) ANY S.P. RESERVATION AREA	
(C) ANY S.P. RESERVATION AREA	
TOTAL A+B+C	701.25
3. BALANCE AREA OF PLOT (1-2)	2444.75
4. AMENITY SPACE (IF APPLICABLE)	
(A) REQUIRED	
(B) ADJUSTMENT OF ESE, IF ANY	
(C) BALANCE PROPOSED	
5. NET PLOT AREA (3-4-C)	2444.75
6. RECREATIONAL OPEN SPACE (IF APPLICABLE)	NIL
A) (A) REQUIRED	
B) (B) PROVIDED	
7. INTERNAL ROAD AREA	NIL
8. PLOTTABLE AREA (IF APPLICABLE)	NIL
9. BUILT UP AREA WITH REFERENCE TO BASIC F.S.I. AS PER FRONT ROAD WIDTH	
(W) NO. SHADE (TB) 2444.75 x 1.0	2444.75
10. ADDITION ON PAYMENT OF PREMIUM	
MAXIMUM PERMISSIBLE PREMIUM FSI - SHADE ON ROAD WIDTH - TOD ZONE	
(A) PROPOSED FSI ON PAYMENT OF PREMIUM 3146.00 x 1.0	3146.00
11. BUILT UP FSI (FOR LOADING)	NIL
ADDITIONAL AREA AGAINST D.P. ROAD (2.0 M OR NO. 2 BUILT WAY) 701.25 x 2.0	1402.50
(B) ADDITIONAL AREA AGAINST AMENITY SPACE IF WAIVED / CASH	NIL
(C) IF (A) & (B), NO. 4 (SHADE CASE)	NIL
TOTAL AREA (W) 1 x 1.5 + (N)(B) - (N)(B)	3846.25
12. TOTAL BUILT UP (LOADING PROPOSED) (A+B+C)	3546.25
13. ADDITIONAL FSI AREA (UNDER CHAPTER NO. 7	
14. TOTAL BUILT UP AREA IN THE PROPOSAL	NIL
(A) (B) - FSI EXCEPT IN AFFORDABLE & SRA CASES	3546.25
15. ANCILLARY AREA FSI (UP TO 60% OF WHICH PAYMENT OF CHARGES)	
(A) TOTAL BUILT UP AREA	4431.56
16. MAXIMUM DEPTH CONTAINING UNDER DP 2.1.31 BUILDING POTENTIAL PERMISSIBLE AS PER RULE	
WIDTH LIMIT PER REGULATION NO. 6.1.1 OF KDCPR (W) (B) 6.1.4 AS APPLICABLE 1.5 (W-1.5)	4.40
17. TOTAL BUILT UP AREA IN PROPOSAL (EXCLUDING AREA AT SR NO. 15 "E")	
(A) EXISTING BUILT UP AREA	NIL
(B) PROPOSED BUILT UP AREA (AS PER PLANS)	3546.25
(C) TOTAL (A+B)	3546.25
18. F.S.I. CONSUMED (W)(C)-(N)(C)(A)(B)(C) MAY BE MORE THAN (VERIFY NO. 14 ABOVE)	NIL
19. AREA FOR N.A. / SRA HOUSING, IF ANY	NIL
(A) REQUIRED NO. OF SHADE	
(B) PROVIDED	

STRUCTURAL CERTIFICATE

The plans prepared by me are in accordance with the norms as specified by Indian standard institute & I will be held responsible for any harm caused in earthquake due to negligence of the standards.

SHANTI CONSULTANTS
Structural Engineers-Anand S. Tripathi
Licence No. ME/S - 0176/2001
T.M.C.-108/2010-2011, K.D.M.C-211

Structural engineer's signature

Certificate of Area

Certified that the plot under reference was surveyed by me on 01-08-19 & that the dimensions of sides etc. of plot placed on plan are as measured on site and the area was worked out 3146.00 not tallies with the area stated in document of Ownership/ T.P. Scheme /Revenue/ Land Records Department/City Survey records.

Signature
(Name of Architect/Licensed Engineer/Supervisor.)

Owner's Declaration –

I/We undersigned hereby confirm that I/We would abide by plans approved by Authority / Collector. I/We would execute the structure as per approved plans. Also I/We would assure use the work under supervision of proper technical person so as to ensure the quality and safety at the work site.

NAME, ADDRESS & SIGNATURE OF OWNER

SHRI. SANJAY S. SINGH
SAURAU ENTERPRISES
SHOP.S.E.T.TROMBAY BLDG.SAKAJI EMPLAD
BLDG NO-1, THAKURLI EAST,THANE-421 201

JOB No.	DRG No.	SCALE	DRAWN BY	CHECKED BY	DATE
SN-57	2	AS STATED	AARTHI	-	10-03-21

NAME, ADDRESS & SIGNATURE OF ARCHITECT

STHAPATYA NIRMAAN
Architects & Interior Designers

ARCHITECT: SHIRISH G. NACHANE
CHANDIGARH

STHAPATYA NIRMAAN
CIVIL & ARCHITECTURAL SERVICES

1ST FLOOR KIRLAR MANTION, KIRAN ADITYA MANDAL NARYALAYA, AMBIVALI ROAD, DOMBIVLI (E)
208, 2nd FLOOR, JAGANNATH E COMMERCE PLAZA, NEAR SCOOTER SHOWROOM,MANPADA ROAD, DOMBIVLI (E)

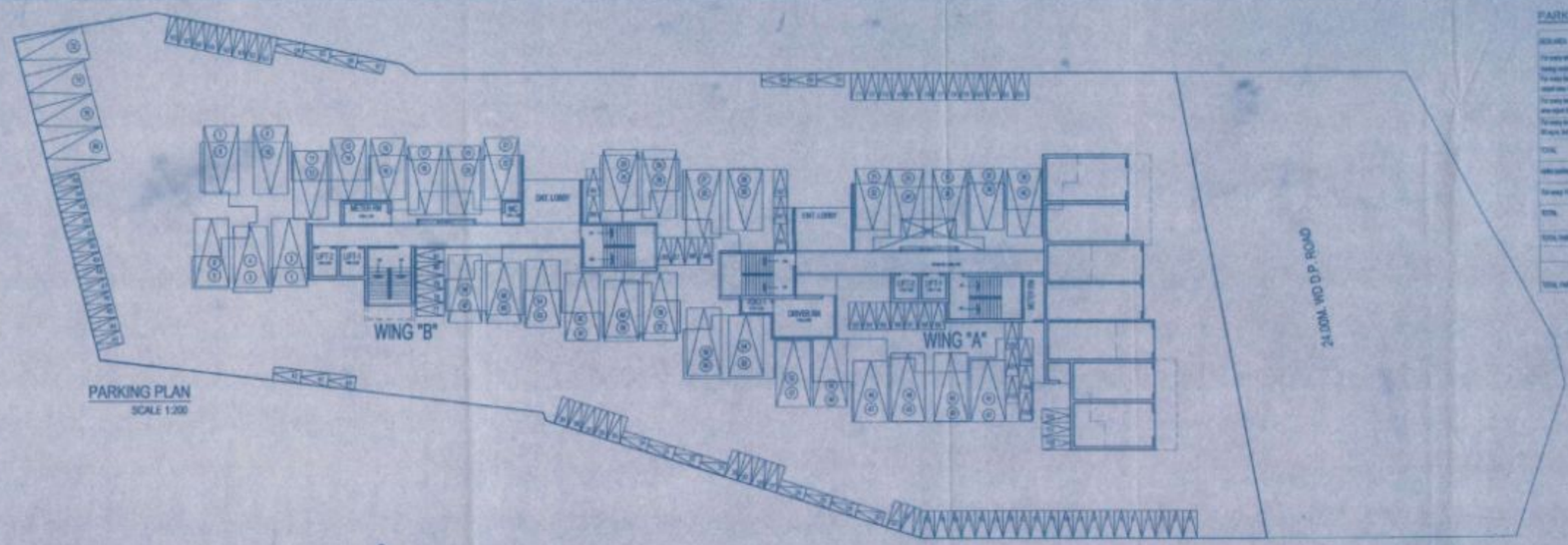

PARKING PLAN
SCALE 1:200

PARKING AREA STATEMENT (WING "A" & "B")

REQUIREMENTS OF PARKING				PROPOSED NOS OF PARKING	
	CAR PARKING	TWO WHEELER	PROP. FLAT	CAR PARKING	TWO WHEELER
For every one tenements with each dwelling having carpet area less than 30 Sq.m.	1 NOS	4 NOS	72 NOS	—	288 NOS
For every two tenements with each dwelling having carpet area less than 60 Sq.m. but less than 90 sq.m.	1 NOS	2 NOS	36 NOS	36 NOS	36 NOS
For every two tenements with each dwelling having carpet area equal to or above 90 sq.m. but less than 150 sq.m.	1 NOS	2 NOS	4 NOS	4 NOS	4 NOS
For every dwelling having carpet area equal to or above 150 sq.m. but less than 170 sq.m.	2 NOS	3 NOS	4 NOS	8 NOS	8 NOS
TOTAL				48 NOS	336 NOS
visitor parking 10%				5 NOS	34 NOS
For every 100 sq.m. carpet area of flexible tenement	2 NOS	4 NOS	2 NOS	2 NOS	2 NOS
TOTAL			3 NOS		3
TOTAL PARKING REQUIRED				55 NOS	373 NOS
			40% OF	42 NOS	279 NOS
	VALUE EQUIVALENT CONVERTED TO SQ.M. CAR			42 NOS X 23 SQ.M = 966 SQ.M	
TOTAL PARKING PROVIDED				55 NOS	336 NOS

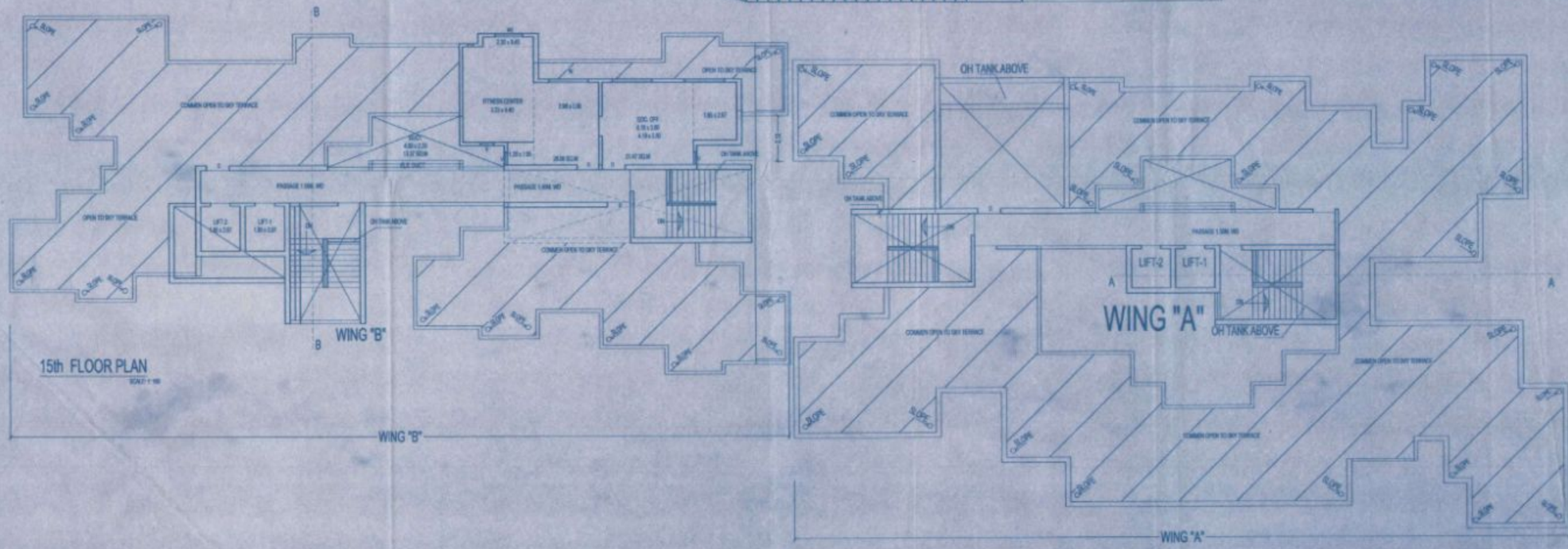

15th FLOOR PLAN
SCALE 1:100

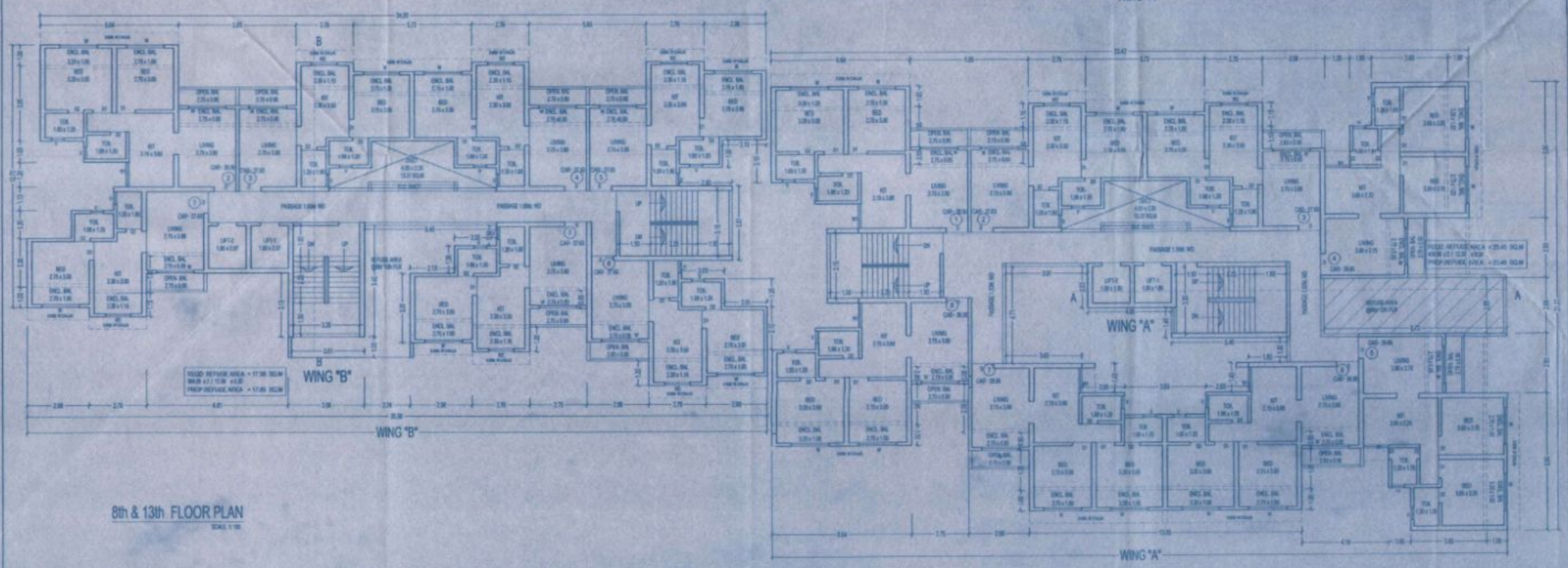

8th & 13th FLOOR PLAN
SCALE 1:100

DESCRIPTION OF PROPOSAL & PROPERTY

PROPOSED BUILDING ON PLOT BEARING S.NO. 30, H.No. 2(p5, 3A, 3B, 4, 5, 6 MOKUE- KANCHANGAON, TAL-KALYAN DIST.-THANE.

FOR : SMT. THARUSAI GAURU PATIL & OTHERS.

STAMP OF APPROVAL OF PLAN 2/3

OFFICE OF THE KALYAN DOMBIVLI MUNICIPAL CORPORATION, KALYAN.

Building Permit No. : KDMC/TPD/BP/DOM/2021-22/42/257

Date :- 08/09/2022

SANCTIONED

ASSISTANT DIRECTOR OF TOWN PLANNING
Kalyan-Dombivli Municipal Corporation

STRUCTURAL CERTIFICATE

The plans prepared by me are in accordance with the norms as specified by Indian standard institute & I will be held responsible for any harm caused to earthquake due to negligence of the elements.

SHANTI CONSULTANTS
Structural Engineers Arvind S. Patil
License No. S.M.C. 87/94/95
F.M.C. - 009/96/2016, K.D.M.C.-477

Engineer's signature

NAME, ADDRESS & SIGNATURE OF OWNER

SHRI. SANJAY MORAY
SMT. THARUSAI GAURU
SHOP NO. 1, 2, 3 PARWATI BLDG, SALAD GIRIJAD
BUILDING-1, THAKURLI EAST, THANE-421 201

LOCAL	SURVEY NO.	SCALE	DRAWN BY	CHECKED BY	DATE
3A-5T	2	AS SHOWN	ARCHIT	/	10-03-21

NAME, ADDRESS & SIGNATURE OF ARCHITECT

STHAPATYA NIRMAAN
Architects & Interior Designers

ARCHITECT: SHIRISH G. WAGHANE
(OWNER)

STHAPATYA NIRMAAN
CIVIL & ARCHITECTURAL SERVICES

AREA DIAGRAM GR. FLOOR
WING - A SCALE 1: 150

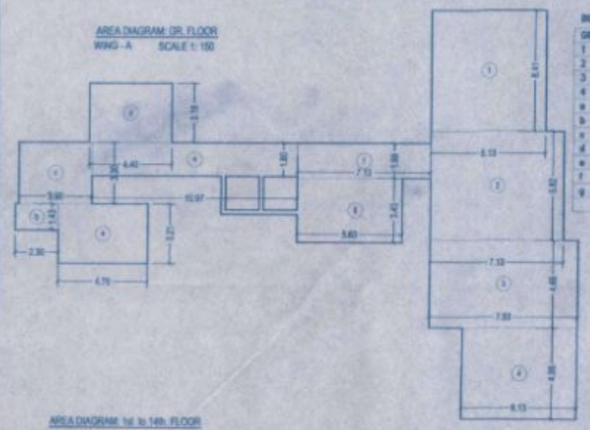

BUILT UP AREA CALCULATION

GROUND FLOOR

1	6.13	X	6.41	X	1NO	=	39.29	SQ.MT.	COMM. 142.48
2	7.13	X	5.82	X	1NO	=	41.50	SQ.MT.	
3	7.93	X	4.68	X	1NO	=	37.11	SQ.MT.	
4	6.13	X	4.86	X	1NO	=	29.79	SQ.MT.	
a	4.76	X	3.21	X	1NO	=	15.34	SQ.MT.	
b	2.30	X	1.43	X	1NO	=	3.29	SQ.MT.	
c	3.80	X	3.30	X	1NO	=	12.87	SQ.MT.	RAMPS 97.28
d	4.40	X	3.18	X	1NO	=	13.99	SQ.MT.	
e	10.97	X	1.80	X	1NO	=	19.75	SQ.MT.	
f	7.13	X	1.88	X	1NO	=	13.40	SQ.MT.	
g	5.63	X	3.43	X	1NO	=	19.31	SQ.MT.	
					TOTAL ADDITION	=	245.64	SQ.MT.	

SUMMARY

FLOOR	WING "A" BUILT UP AREA IN SQ.MT	WING "B" BUILT UP AREA IN SQ.MT
GR. FLR	COMM. = 142.48 / RAMP = 97.28 / 391.64	
1ST FLR	488.59	364.55
2ND FLR	488.59	364.55
3RD FLR	488.59	364.55
4TH FLR	488.59	364.55
5TH FLR	488.59	364.55
6TH FLR	488.59	364.55
7TH FLR	488.59	364.55
8TH FLR	488.59	364.55
9TH FLR	488.59	364.55
10TH FLR	488.59	364.55
11TH FLR	488.59	364.55
12TH FLR	488.59	364.55
13TH FLR	488.59	364.55
14TH FLR	488.59	364.55
15TH FLR		96.48
TOTAL	7085.90	5160.10
	12246.00	

AREA DIAGRAM 1st to 14th FLOOR
WING - A SCALE 1: 150

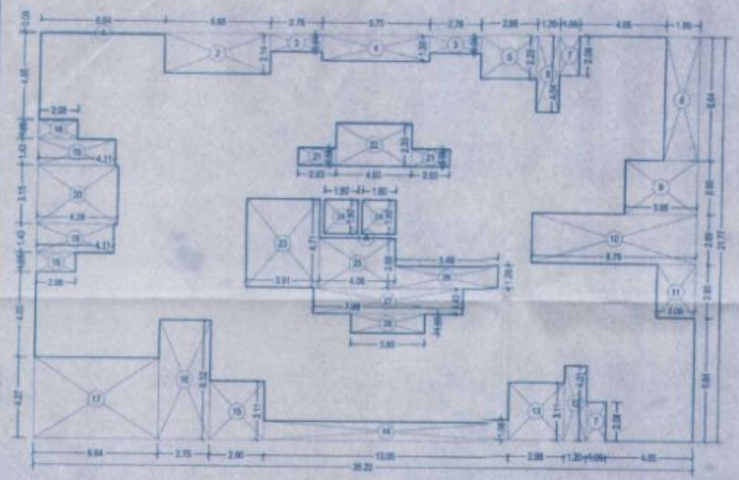

BUILT UP AREA CALCULATION

TYPICAL FLOOR

A	35.22	X	21.77	X	1NO	=	766.74	SQ.MT.
					TOTAL ADDITION=		766.74	SQ.MT.

DEDUCTIONS

1	6.64	X	0.09	X	1NO	=	0.60	SQ.MT.
2	5.85	X	2.14	X	1NO	=	12.09	SQ.MT.
3	2.76	X	0.94	X	2 NOS	=	5.19	SQ.MT.
4	5.73	X	1.39	X	1NO	=	7.96	SQ.MT.
5	2.98	X	2.29	X	1NO	=	6.82	SQ.MT.
6	1.20	X	4.04	X	1NO	=	4.85	SQ.MT.
7	1.05	X	2.08	X	2 NOS	=	4.37	SQ.MT.
8	1.80	X	6.64	X	1NO	=	11.95	SQ.MT.
9	3.85	X	2.90	X	1NO	=	11.17	SQ.MT.
10	8.78	X	2.69	X	1NO	=	23.62	SQ.MT.
11	2.05	X	2.90	X	1NO	=	5.95	SQ.MT.
12	1.20	X	4.01	X	1NO	=	4.81	SQ.MT.
13	2.98	X	3.11	X	1NO	=	9.27	SQ.MT.
14	13.03	X	1.05	X	1NO	=	13.63	SQ.MT.
15	2.90	X	3.11	X	1NO	=	9.02	SQ.MT.
16	2.75	X	6.32	X	1NO	=	17.38	SQ.MT.
17	6.64	X	4.27	X	1NO	=	28.35	SQ.MT.
18	2.08	X	1.05	X	2 NOS	=	4.37	SQ.MT.
19	4.11	X	1.43	X	2 NOS	=	11.75	SQ.MT.
20	4.29	X	3.15	X	1NO	=	13.51	SQ.MT.
21	2.03	X	0.98	X	2 NOS	=	3.98	SQ.MT.
22	4.03	X	2.33	X	1NO	=	9.39	SQ.MT.
23	3.91	X	4.71	X	1NO	=	18.42	SQ.MT.
24	1.80	X	1.80	X	2 NOS	=	6.48	SQ.MT.
25	4.06	X	2.68	X	1NO	=	10.88	SQ.MT.
26	5.48	X	1.20	X	1NO	=	6.58	SQ.MT.
27	7.98	X	1.43	X	1NO	=	11.43	SQ.MT.
28	3.93	X	1.05	X	1NO	=	4.13	SQ.MT.
					TOTAL DEDUCTION	=	278.15	SQ.MT.
TOTAL BUILT UP AREA						=	488.59	SQ.MT.

AREA DIAGRAM 1st to 14th FLOOR
WING - B SCALE 1: 150

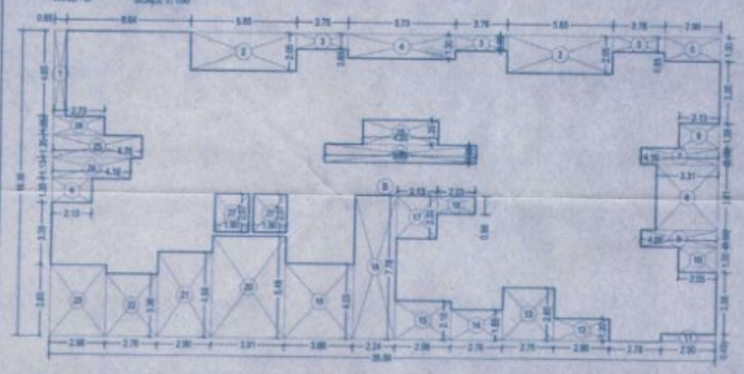

BUILT UP AREA CALCULATION

TYPICAL FLOOR

B	35.56	X	16.56	X	1NO	=	589.20	SQ.MT.
					TOTAL ADDITION	=	589.20	SQ.MT.

DEDUCTIONS

1	0.85	X	4.65	X	1NO	=	3.02	SQ.MT.
2	5.85	X	2.05	X	2 NOS	=	23.17	SQ.MT.
3	2.76	X	0.85	X	3 NOS	=	7.04	SQ.MT.
4	5.73	X	1.30	X	1NO	=	7.45	SQ.MT.
5	2.98	X	1.30	X	1NO	=	3.87	SQ.MT.
6	2.13	X	1.35	X	2 NOS	=	5.75	SQ.MT.
7	4.18	X	0.90	X	1NO	=	3.74	SQ.MT.
8	3.31	X	3.61	X	1NO	=	11.95	SQ.MT.
9	4.06	X	0.90	X	1NO	=	3.67	SQ.MT.
10	2.05	X	1.35	X	1NO	=	2.77	SQ.MT.
11	2.90	X	0.45	X	1NO	=	1.31	SQ.MT.
12	2.98	X	1.20	X	1NO	=	3.58	SQ.MT.
13	2.75	X	2.85	X	1NO	=	7.84	SQ.MT.
14	2.76	X	1.65	X	1NO	=	4.55	SQ.MT.
15	2.98	X	2.10	X	1NO	=	6.26	SQ.MT.
16	2.24	X	7.78	X	1NO	=	17.43	SQ.MT.
17	2.13	X	2.33	X	1NO	=	4.96	SQ.MT.
18	2.05	X	0.98	X	1NO	=	1.99	SQ.MT.
19	3.66	X	4.03	X	1NO	=	14.75	SQ.MT.
20	3.91	X	5.48	X	1NO	=	21.43	SQ.MT.
21	2.90	X	4.58	X	1NO	=	13.28	SQ.MT.
22	2.76	X	3.38	X	1NO	=	9.33	SQ.MT.
23	2.98	X	3.83	X	1NO	=	11.41	SQ.MT.
24	4.16	X	1.13	X	1NO	=	4.70	SQ.MT.
25	4.76	X	1.20	X	1NO	=	5.71	SQ.MT.
26	2.73	X	1.05	X	1NO	=	2.87	SQ.MT.
27	1.80	X	2.07	X	2 NOS	=	7.45	SQ.MT.
28	4.03	X	1.35	X	1NO	=	5.44	SQ.MT.
29	8.09	X	0.98	X	1NO	=	7.93	SQ.MT.
					TOTAL DEDUCTION	=	224.65	SQ.MT.
TOTAL BUILT UP AREA						=	364.55	SQ.MT.

AREA DIAGRAM 13th (FITNESS CENTER OR SOC. OFF.) FLOOR
WING -B SCALE 1: 150

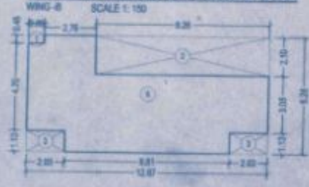

BUILT UP AREA CALCULATION

TYPICAL FLOOR

A	12.87	X	6.28	X	1NO	=	80.82	SQ.MT.
					TOTAL ADDITION	=	80.82	SQ.MT.

DEDUCTIONS

1	0.85	X	0.45	X	1NO	=	0.38	SQ.MT.
2	9.28	X	2.10	X	1NO	=	19.45	SQ.MT.
3	2.03	X	1.13	X	2 NOS	=	4.59	SQ.MT.
					TOTAL DEDUCTION	=	24.42	SQ.MT.
TOTAL BUILT UP AREA						=	56.40	SQ.MT.

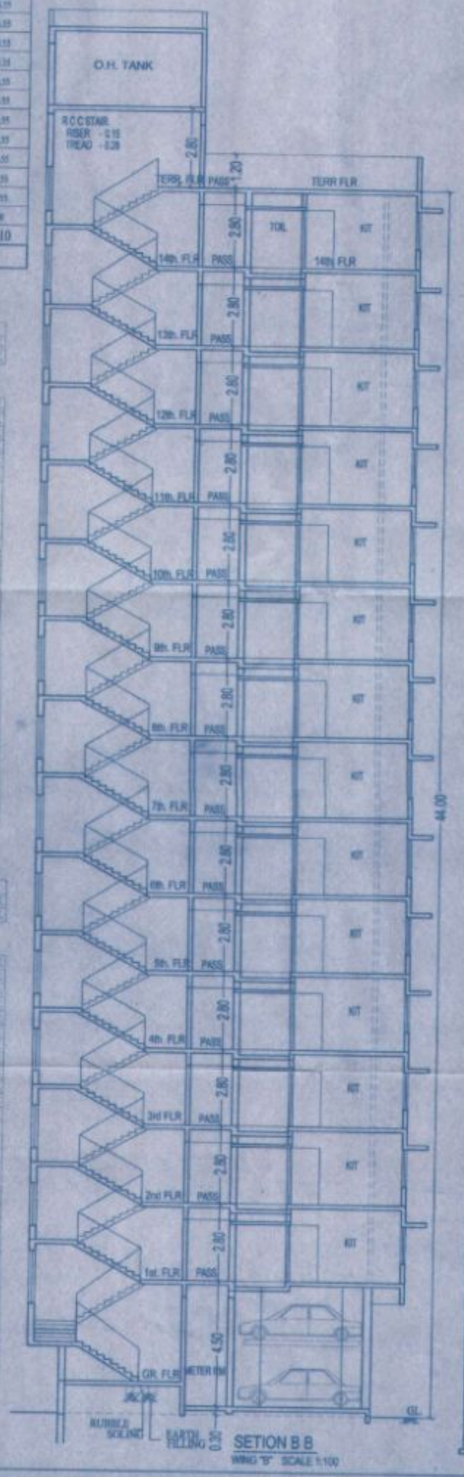

SETION B B
WING "B" SCALE 1:100

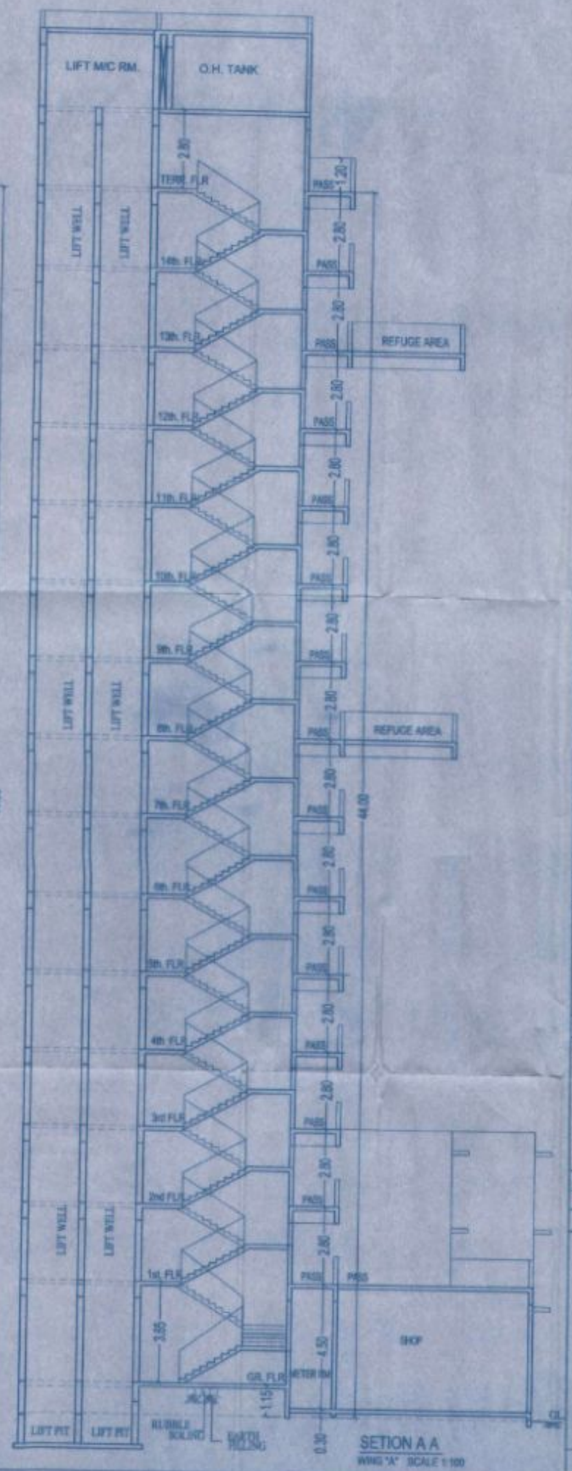

SETION A A
WING "A" SCALE 1:100

DESCRIPTION OF PROPOSAL & PROPERTY

PROPOSED BUILDING ON PLOT BEARING S.NO. 30, H.No. 2(P), 3A, 3B, 4, 5, 6 MOUJE -KANCHANGAON, TAL-KALYAN DIST.-THANE.

FOR : SMT. THAKUBAI GAURU PATIL & OTHERS.

STAMP OF APPROVAL OF PLAN

3/3

OFFICE OF THE KALYAN DOMBIVLI MUNICIPAL CORPORATION, KALYAN.

Building Permit No. : KDMC/TPD/BP/DOM/2021-22/42/257

Date : 08/09/2022

SANCTIONED

ASSISTANT DIRECTOR OF TOWN PLANNING
for Kalyan-Dombivli Municipal Corporation

Form of Statement 1
Existing Building to be retained

Existing Building No.	Floor No.	Plinth Area	Total Floor Area of Existing Existing Building Use	Occupancy of Floors
1	2	3	4	5
NIL	NIL	NIL	NIL	NIL

Form of Statement 2
Proposed Building

Building No.	Floor No.	Total Built-Up Area of floor as per outer construction Line
1	2	3
WING"A"	GR+14UP	7085.90
WING"B"	ST+14UP	5160.10
TOTAL		12246.00

Form of Statement 3
Area details of Apartment

Building No.	Floor No.	Apartment No.	Carpet area of apartment	Area of flat attached to Apart.	Area of Double height terrace attached to flat
1	2	3	4	5	6
WING"A"	ST+14UP	7 SHOPS 112 FLATS	4212.78	1098.50	NIL
WING"B"	ST+14UP	88 FLATS	3860.79	1054.49	NIL
TOTAL		7 SHOPS 200 FLATS	8073.57	2152.99	NIL

STRUCTURAL CERTIFICATE

The plans prepared by me are in accordance with the norms as specified by Indian standard institute & I will be held responsible for any round caused in earthquake due to negligence of the standards.

SHANTI CONSULTANTS
Structural Engineers Architect & Plan
License No. 6 M.C.-STRWC
MCC-1000/05/2015, KDMC-40

engineers signature

NAME, ADDRESS & SIGNATURE OF OWNER

SHRI. SANJAY S. SINGH
SAI BALAJI ENTERPRISES
SHOP 3, S.T. & PRADHANTA BLDG, SAI BALAJI EMPIRE
BLDG NO-1, SHAHAD EAST, THANE-421 201

JOB No.	DRGNO.	SCALE	DRAWN BY	CHECKED BY	DATE
SN-57	2	AS STATED	SANTOSH		10-03-21

NAME, ADDRESS & SIGNATURE OF ARCHITECT

STHAPATYA NIRMAAN
Architects & Interior Designers

ARCHITECT: SHIRISH G. NACHANE
CARRIGAREY

STHAPATYA NIRMAAN
CIVIL & ARCHITECTURAL SERVICES