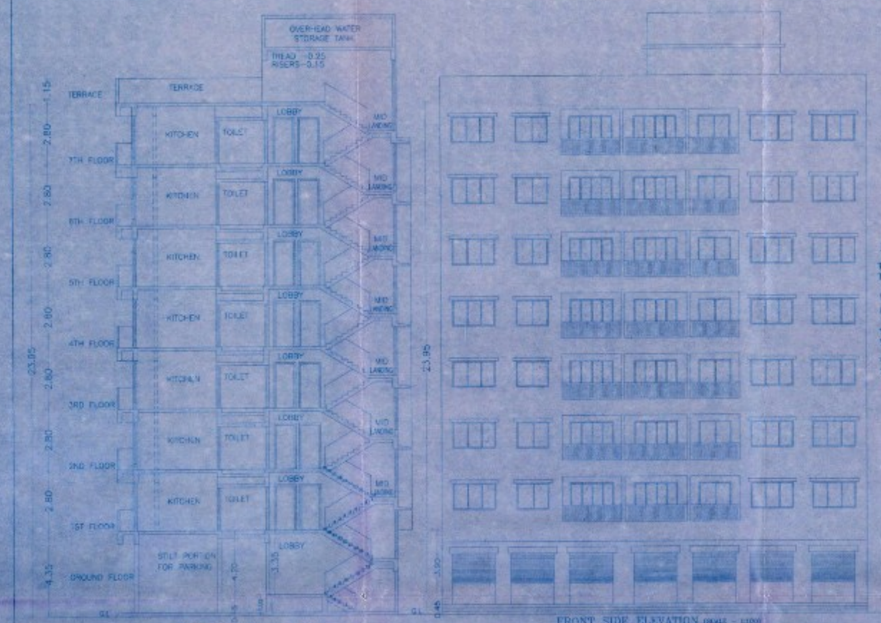

SECTION A A (SCALE - 1:100)

PREVIOUS PARKING AREA STATEMENT

CARPET AREA	NO. OF TENEMENTS / CARPET AREA	PERMISSIBLE PARKING 4 WHEELER	PERMISSIBLE PARKING 2 WHEELER
UPTO 30 SQ.MT. (FOR EVERY 100 SQ.MT. - 2 CAR, 1 SCOOTER)	19.00	00.00	19.00
30 - 80 SQ.MT. (FOR EVERY 100 SQ.MT. - 1 CAR, 1 SCOOTER)	04.00	02.00	04.00
80-150 SQ.MT. (FOR EVERY SMALL EDA - 1 CAR, 1 SCOOTER)	05.00	03.00	00.00
ABOVE 150 SQ.MT. (FOR EVERY BIG EDA - 2 CAR, 1 SCOOTER)	00.00	00.00	00.00
COMMERCIAL (FOR EVERY 100 SQ.MT. - 2 CAR, 3 SCOOTER)	111.07	02.22	06.66
VISITORS 5%	-	00.91	1.48
TOTAL PARKING	23 FLATS	04.43 NOS	31.14 NOS
TOTAL REQUIRED PARKING (TOTAL PARKING X 0.50)	-	03.54 NOS	-
TOTAL REQUIRED PARKING 2 WHEELER (TOTAL PARKING X 100%)	-	-	31.14 NOS

PROPOSED PARKING AREA STATEMENT

CARPET AREA	NO. OF TENEMENTS / CARPET AREA	PERMISSIBLE PARKING 4 WHEELER	PERMISSIBLE PARKING 2 WHEELER
UPTO 30 SQ.MT. (FOR EVERY 100 SQ.MT. - 2 CAR, 1 SCOOTER)	04.00	00.00	04.00
30 - 80 SQ.MT. (FOR EVERY 100 SQ.MT. - 1 CAR, 1 SCOOTER)	13.00	06.50	13.00
80-150 SQ.MT. (FOR EVERY SMALL EDA - 1 CAR, 1 SCOOTER)	00.00	00.00	00.00
ABOVE 150 SQ.MT. (FOR EVERY BIG EDA - 2 CAR, 1 SCOOTER)	00.00	00.00	00.00
COMMERCIAL (FOR EVERY 100 SQ.MT. - 2 CAR, 1 SCOOTER)	NIL	00.00	00.00
VISITORS 5%	-	00.32	0.53
TOTAL PARKING	17 FLATS	06.82	17.85
TOTAL REQUIRED PARKING 4 WHEELER (TOTAL PARKING X 40%)	-	03.46 NOS	-
TOTAL REQUIRED PARKING 2 WHEELER (TOTAL PARKING X 100%)	-	-	17.85 NOS

(PREVIOUS PARKING + PROPOSED PARKING) = TOTAL

TOTAL PARKING REQUIRED FOR 4 WHEELERS - 03.54+ 3.46 =06.00 NOS
TOTAL PARKING REQUIRED FOR 2 WHEELERS - 31.14+17.85 =48.99 NOS

COMPOSITE PARKING

18 TWO WHEELERS CONVERTED INTO CARS 18/6 = 3 CARS

TOTAL 4 WHEELERS REQUIRED = 9.00+3.00 = 12.00 NOS.
TOTAL 2 WHEELERS REQUIRED = 48.99-18 = 30.99 NOS.

TOTAL 4 WHEELERS PROPOSED = 12.00 NOS.
TOTAL 2 WHEELERS PROPOSED = 31.00 NOS.

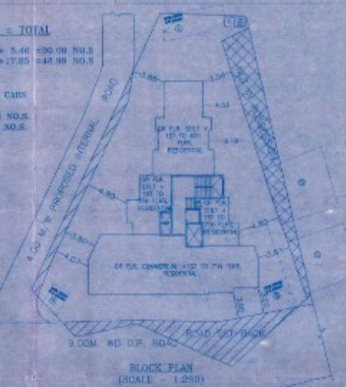

BLOCK PLAN (SCALE - 1:250)

PLOT AREA DIAGRAM

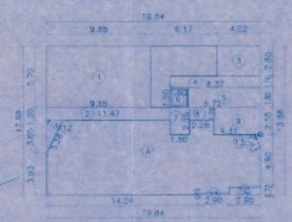

LINE AREA DIAGRAM & B/UP AREA CALCULATION FOR GROUND FLOOR (SCALE - 1:500)

RESIDENTIAL AREA

1	1/2 X 3.84 X 1.18 X 1NO	=	2.17	SQ.MT.		
2	1/2 X 3.84 X 1.91 X 1NO	=	3.67	SQ.MT.		
3	1/2 X 7.13 X 2.62 X 1NO	=	9.60	SQ.MT.		
4	1/2 X10.14 X 4.58 X 1NO	=	31.78	SQ.MT.		
5	1/2 X12.63 X 3.60 X 1NO	=	22.88	SQ.MT.		
6	1/2 X12.03 X 2.94 X 1NO	=	17.68	SQ.MT.		
7	1/2 X17.45 X 8.68 X 1NO	=	75.47	SQ.MT.		
8	1/2 X26.95 X 5.33 X 1NO	=	71.75	SQ.MT.		
9	1/2 X26.98 X 1.35 X 1NO	=	18.58	SQ.MT.		
10	1/2 X26.95 X 7.71 X 1NO	=	131.72	SQ.MT.		
11	1/2 X25.50 X17.00 X 1NO	=	221.45	SQ.MT.		
12	1/2 X19.79 X 1.00 X 1NO	=	10.00	SQ.MT.		
13	1/2 X11.24 X 3.11 X 1NO	=	17.85	SQ.MT.		
	TOTAL ADDITION	=	617.00	SQ.MT.		

NOT IN POSSESSION

A	1/2 X 30.10 X 2.14 X 1NO	=	32.47	SQ.MT.		
B	1/2 X20.10 X 0.50 X 1NO	=	7.53	SQ.MT.		
	TOTAL ADDITION	=	40.00	SQ.MT.		

ROAD SET BACK AREA

A	1/2 X26.16 X 0.95 X 1NO	=	11.64	SQ.MT.	20.00	
B	1/2 X 3.01 X 0.83 X 1NO	=	1.82	SQ.MT.		
C	1/2 X 3.71 X 0.95 X 1NO	=	1.76	SQ.MT.		
D	1/2 X 8.10 X 1.55 X 1NO	=	6.26	SQ.MT.		
E	1/2 X 8.27 X 0.37 X 1NO	=	1.53	SQ.MT.	53.00	
F	1/2 X 8.83 X 0.37 X 1NO	=	1.63	SQ.MT.		
G	1/2 X12.36 X 3.38 X 1NO	=	21.45	SQ.MT.		
H	1/2 X 8.83 X 4.50 X 1NO	=	22.15	SQ.MT.		
	TOTAL ADDITION	=	73.48	SQ.MT.		

RESIDENTIAL AREA+NOT IN POSSESSION+ROAD SET BACK AREA= TOTAL
617.00 + 40.00 + 73.00 = 730.00 SQ.MT.

LINE AREA DIAGRAM & B/UP AREA CALCULATION FOR GROUND FLOOR (SCALE - 1:500)

RECTANGLE

A	19.84 X 13.86 X 1NO	=	275.35	SQ.MT.		
	TOTAL ADDITION	=	275.35	SQ.MT.	X	

DEDUCTIONS

1	9.85 X 5.30 X 1NO	=	55.01	SQ.MT.		
2	11.47 X 1.20 X 1NO	=	13.76	SQ.MT.		
3	4.02 X 2.80 X 1NO	=	11.25	SQ.MT.		
4	8.37 X 1.10 X 1NO	=	9.21	SQ.MT.		
5	6.72 X 1.80 X 1NO	=	12.10	SQ.MT.		
6	1.50 X 1.50 X 1NO	=	2.25	SQ.MT.		
7	1.80 X 2.55 X 1NO	=	4.59	SQ.MT.		
8	2.26 X 1.20 X 1NO	=	2.71	SQ.MT.		
9	4.31 X 2.53 X 1NO	=	10.90	SQ.MT.		
10	2.50 X 0.77 X 1NO	=	1.12	SQ.MT.		
11	2.50 X 0.15 X 1NO	=	0.55	SQ.MT.		
12	1/2 X 3.38 X 1.31 X 1NO	=	2.21	SQ.MT.		
13	1/2 X 3.43 X 0.48 X 1NO	=	0.82	SQ.MT.		
	TOTAL DEDUCTION	=	127.08	SQ.MT.	Y1	
TOTAL BUILT UP AREA [X - Y1]		=	148.30	SQ.MT.	X1	

THUS,
PROPOSED B/UP AREA OF GROUND FLOOR = 148.30 SQ.MT.

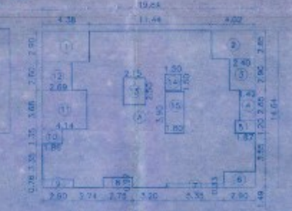

LINE AREA DIAGRAM & B/UP AREA CALCULATION FOR 7th FLOOR (SCALE - 1:200)

A	19.84 X 14.64 X 1NO	=	290.46	SQ.MT.		
	TOTAL ADDITION	=	290.46	SQ.MT.	X	

DEDUCTIONS

1	1.38 X 2.40 X 1NO	=	12.70	SQ.MT.		
2	4.02 X 2.71 X 1NO	=	10.90	SQ.MT.		
3	2.40 X 2.6 X 1NO	=	6.24	SQ.MT.		
4	2.40 X 1.80 X 1NO	=	4.32	SQ.MT.		
5	1.87 X 1.15 X 1NO	=	2.24	SQ.MT.		
6	1.40 X 3.08 X 1NO	=	4.31	SQ.MT.		
7	1.40 X 1.57 X 1NO	=	2.20	SQ.MT.		
8	1.40 X 0.78 X 1NO	=	1.09	SQ.MT.		
9	1.86 X 1.35 X 1NO	=	2.51	SQ.MT.		
10	4.14 X 3.68 X 1NO	=	15.24	SQ.MT.		
11	2.40 X 2.40 X 1NO	=	5.76	SQ.MT.		
12	2.40 X 1.00 X 1NO	=	2.40	SQ.MT.		
13	2.15 X 2.50 X 1NO	=	5.38	SQ.MT.		
14	1.50 X 1.50 X 1NO	=	2.25	SQ.MT.		
15	1.80 X 1.39 X 1NO	=	2.50	SQ.MT.		
16	1.80 X 2.90 X 1NO	=	5.22	SQ.MT.		
	TOTAL DEDUCTION	=	84.95	SQ.MT.	Y1	
TOTAL BUILT UP AREA [X - Y1]		=	204.51	SQ.MT.	X1	

THUS,
PROPOSED B/UP AREA OF 7th FLOOR = 204.51 SQ.MT.

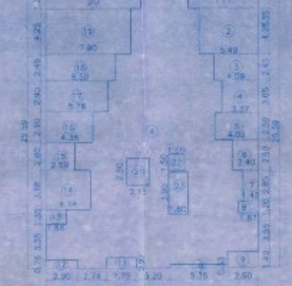

LINE AREA DIAGRAM & B/UP AREA CALCULATION FOR 1ST TO 6TH FLOOR (SCALE - 1:200)

A	19.84 X 25.34 X 1NO	=	502.71	SQ.MT.		
	TOTAL ADDITION	=	502.71	SQ.MT.	X	

DEDUCTIONS

1	6.48 X 1.20 X 1NO	=	6.76	SQ.MT.		
2	5.45 X 4.23 X 1NO	=	23.33	SQ.MT.		
3	4.09 X 2.45 X 1NO	=	10.02	SQ.MT.		
4	3.37 X 3.05 X 1NO	=	10.28	SQ.MT.		
5	2.40 X 2.15 X 1NO	=	5.16	SQ.MT.		
6	2.40 X 2.20 X 1NO	=	5.28	SQ.MT.		
7	1.42 X 2.85 X 1NO	=	4.05	SQ.MT.		
8	1.87 X 1.20 X 1NO	=	2.24	SQ.MT.		
9	2.90 X 1.48 X 1NO	=	4.29	SQ.MT.		
10	3.75 X 0.47 X 1NO	=	1.77	SQ.MT.		
11	2.75 X 0.97 X 1NO	=	2.67	SQ.MT.		
12	2.90 X 0.77 X 1NO	=	2.23	SQ.MT.		
13	1.88 X 1.15 X 1NO	=	2.16	SQ.MT.		
14	4.14 X 3.68 X 1NO	=	15.24	SQ.MT.		
15	2.89 X 2.81 X 1NO	=	8.09	SQ.MT.		
16	4.38 X 2.40 X 1NO	=	10.50	SQ.MT.		
17	2.75 X 2.90 X 1NO	=	7.97	SQ.MT.		
18	2.90 X 2.45 X 1NO	=	7.10	SQ.MT.		
19	1.90 X 1.75 X 1NO	=	3.32	SQ.MT.		
20	2.90 X 1.38 X 1NO	=	4.00	SQ.MT.		
21	2.15 X 2.30 X 1NO	=	4.94	SQ.MT.		
22	1.50 X 1.50 X 1NO	=	2.25	SQ.MT.		
23	1.80 X 2.90 X 1NO	=	5.22	SQ.MT.		
	TOTAL DEDUCTION	=	217.03	SQ.MT.	Y1	
TOTAL BUILT UP AREA [X - Y1]		=	290.68	SQ.MT.	X1	

THUS,
PROPOSED B/UP AREA OF 1ST TO 6TH FLOOR = 290.68 SQ.MT.

STAMPS OF APPROVAL OF PLANS : Sheet NO:-01/01

OFFICE OF THE KALYAN DOMBIVLI MUNICIPAL CORPORATION, KALYAN.
Building Permit No.:- KDMC/ERB/2024/APL/00048.
Date :- 04/03/2024.

SANCTIONED

ASSISTANT DIRECTOR OF TOWN PLANNING
Kalyan-Dombivali Municipal Corporation



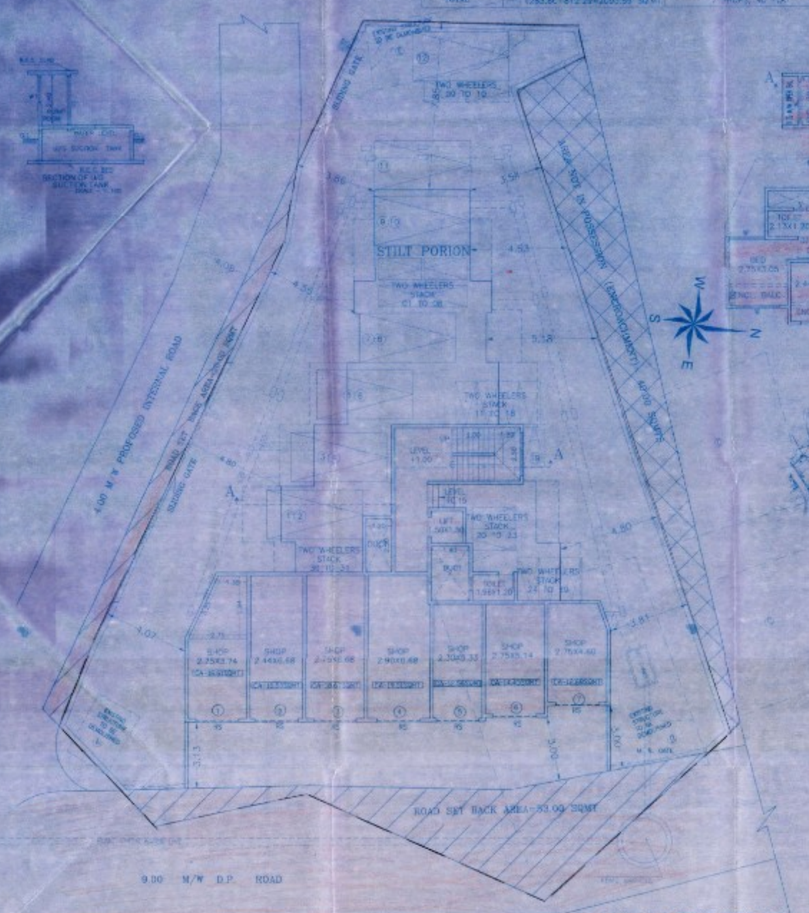

LAYOUT CUM GROUND FLOOR PLAN (SCALE - 1:100)

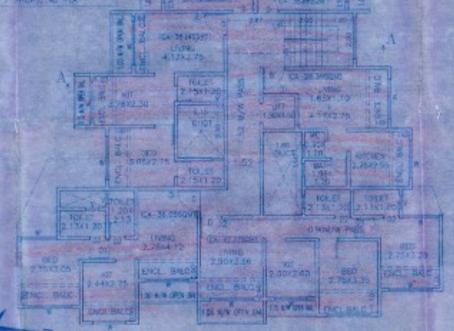

5TH & 6TH FLOOR PLAN [PROPOSED] (SCALE - 1:100)

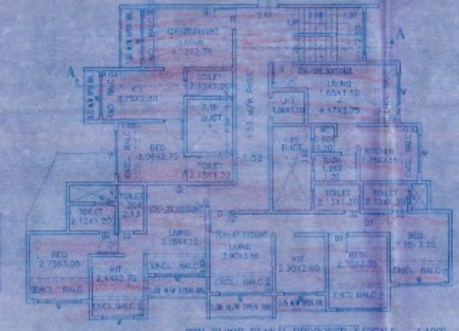

7TH FLOOR PLAN [PROPOSED] (SCALE - 1:100)

SCHEDULE OF DOORS & WINDOWS

TYPE	SIZE (L x H)	DESCRIPTION
D	1.00 x 2.10	F.R. FRAMED FULLY PANELLED SINGLE LEAF
D1	0.91 x 2.10	F.R. FRAMED FLUSH SINGLE LEAF
D2	0.75 x 2.00	MARBLE FRAME FLUSH DOOR SINGLE LEAF
W	1.50 x 2.10	ALUMINIUM FRAME FULLY GLAZED SHUTTER
W1	2.10 x 1.20	ALUMINIUM FRAME FULLY GLAZED SHUTTER
W2	2.10 x 2.10	ALUMINIUM FRAME FULLY GLAZED SHUTTER
W3	1.20 x 1.20	ALUMINIUM FRAME FULLY GLAZED SHUTTER
V	0.60 x 0.90	ALUMINIUM FRAME 0.450 LOUVERS AT 45°

LOCATION PLAN

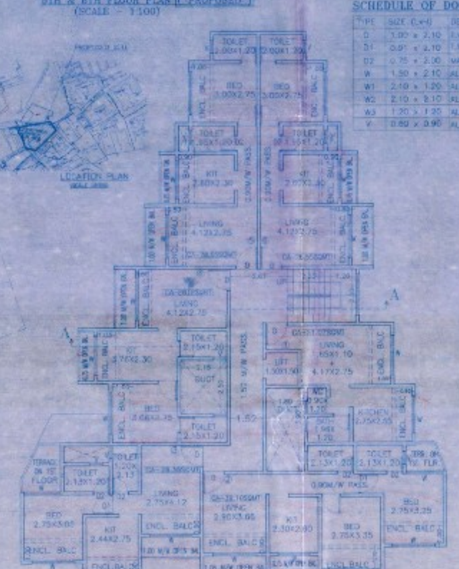

1ST TO 3TH FLOOR PLAN (PREVIOUS SANCTION) (SCALE - 1:100)

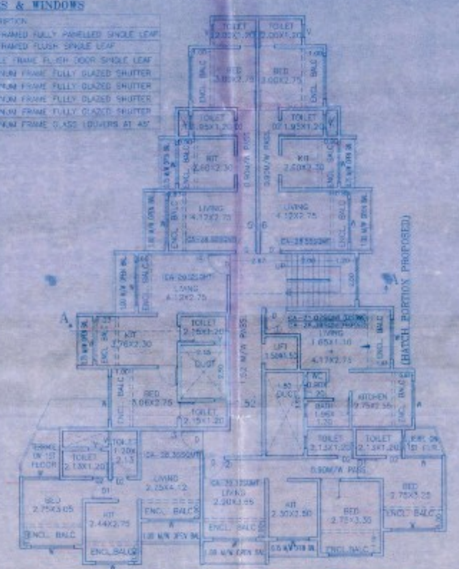

4TH (PT) (PREVIOUS SANCTION) & 4TH (PT) PROPOSED FLOOR PLAN (SCALE - 1:100)

NOTES

PLOT BOUNDRY SHOWN IN THICK BLACK.
PROPOSED WORK SHOWN IN RED FILLED.
PROPOSED ROAD SHOWN IN BRICK RUSTY SIENNA.
EXISTING STRUCTURE TO BE DEMOLISHED SHOWN IN YELLOW HATCH.
DRAINAGE WORK SHOWN IN RED DOTTED.
SET BACK AREA SHOWN IN BLUE HATCHED.
RESERVATION AREA SHOWN PINK.
ALL EXTERNAL AND INTERNAL WALLS ARE 0.15 M. THK.
BRICK MASONRY WALL INCLUDING RESPECTIVELY.
ALL ROAD AND ROADS ARE 0.25 M/W AND 0.15 M/HT.

AREA STATEMENT

		SQ.MT.
1.	Area of plot (Minimum area of a, b, c to be considered)	
	(a) As per ownership document (7/12, CTS extract)	700.00
	(b) As per measurement sheet (Area Not in Possession = 40.00 SQ.MT., Thus, Plot area = 700.00-40.00= 660.00sq.mt.	660.00
	(c) As per site	660.00
2.	Deductions for	
	(a) Proposed S.P./ RP (Rad widening Area/ Service Road / Highway widening Area Under Internal Road - 20.00 SQMT Area under 9.00M/W D.P. ROAD - 53.00 SQMT	73.00
	(b) Any D.P. Reservation area	NIL
	TOTAL (a+b)	73.00
3.	Balance area of Plot (1-2)	617.00
4.	Amenity Space (if applicable)	NA
	(a) Required -	NIL
	(b) Balance Proposed -	NIL
5.	Net Plot Area [3-4(b)]	617.00
6.	Recreational open space (if applicable)	NA
	(a) Required	NIL
	(b) Proposed -	NIL
7.	Internal Road Area	NIL
8.	Plotable area (if applicable) (5-6)	617.00
9.	Built up area with reference to Basic F.S.I. as per front road width (Sr.no.5 X basic FSI) 617.00X1.19	608.70
10.	Addition of F.S.I. on payment of premium	
	(a) Maximum permissible premium FSI- based on road width/Not Zone -	NIL
	(b) Proposed FSI on payment of premium (690.00 X 0.50)	345.00
11.	In-situ FSI / TDR loading	
	(a) In-situ area against P.F./R.P. road [2.0 x Sr. No. 8(a)] 50.00 X 2.00 = 100.00 sq.mt. 50.00 x 2.00 = 100.00 sq.mt	128.00
	(b) In-situ area against Amenity Space if handed over [2.00 or 1.85 x Sr. No. 4(b)	NIL
	(c) TDR area TDR PROPOSED(690.00X60%=276.00-(126.00)=150.00 sq.mt WDR 127/93 RO- 3DMC/961/HH/193, DATE- 15/04/2014	150.00
	(d) Total in-situ / TDR loading proposed [11(a)+(b)+(c)]	278.00
12.	Additional FSI area under Chapter No. 7	NA
13.	Total entitlement of FSI in the proposal	
	(a) (9 + 10(d)+11(d)) or 12 whichever is applicable	1296.70
	(b) Ancillary Area "FSI up-to 30% or 60% with payment 146.30/1.80=62.56x30%=65.91 sqmt 1296.70-62.56=1217.14x60% = 730.27 sq.mt	796.30
	(c) Total entitlement (a+b)	2096.00
14.	Maximum utilisation limit of FSI(building potential) Permissible as per Road width (as per Regulation No.61 or 62 or 63 or 64 as applicable) [1.6] [2096.00x1.60]	3.35
15.	Total built-up Area in proposal (including area at Sr.No. 17b)	
	(a) Existing Built-up Area.	NIL
	(b) Proposed Built-up Area (as per "P-line") residential area=1983.66 SQMT commercial area= 112.23 SQMT	2095.89
	(c) Total (a+b)	2095.89
16.	F.S.I Consumed [15/13] (shall not be more than Sr. No.14 above)	0.99
17.	Area for Dwellers Housing, if any	
	(a) Required (20% of Sr.No.5)	NA
	(b) Proposed	NIL
	(c) balance area	0.00

Certificate of Area:-
Certified that the plot under reference was surveyed by me on 20/01/2011 and the dimensions of setbacks etc. of plot shown on plan are as measured on site and the area so measured 700.00 SQ.MT is tallied with the area stated in document of title / Extract of Survey Record/ Land Records Department. Kalyan.

BRIJESH D PARASIYA
M.Tech (STR)
CONSULTING ENGINEER
(Name of Architect / Licensed Engineer / Supervisor.)

Owner's Declaration :-
I/We undersigned hereby confirm that I/We would abide by plans approved by Authority. I/We would execute the structure as per approved plans. Also I/We would execute the work under supervision of proper technical person so as to ensure the quality and safety at the work site.

Owner (s) name and signature

DESCRIPTION OF PROPOSAL AND PROPERTY

PROPOSED COMMERCIAL CUM RESIDENTIAL BUILDING ON PLOT BEARING PROPOSED RESIDENTIAL CUM COMMERCIAL BUILDING ON PLOT BEARING S.NO. 79(NEW), 161(OLD) , H. NO. 5 SITUATED AT - MOUJE - GAONDEVI, TALUKA - KALYAN, DIST. - THANE DOMBIVALI(W)

NAME ADDRESS & SIGNATURE OF P.A. HOLDER

FOR,
M/S. ASHAPURA BUILDTECH

MR. SANJAYKUMAR THAKKAR (OWNER) & OTHERS

DRG. SH. NO.	SCALE	DESIGN BY	DRAWN BY	CHECKED BY
01 OF 01	AS STATED	---	---	---
SIGNATURE OF ARCHITECT		NAME AND ADDRESS OF ARCHITECT		

RACHANA SHILP
A.A.O. REGD.
101, MODAK Deep Arcade, First Floor, above H.D.F.C Bank, Phadke Cross Road, Dombivli (E)