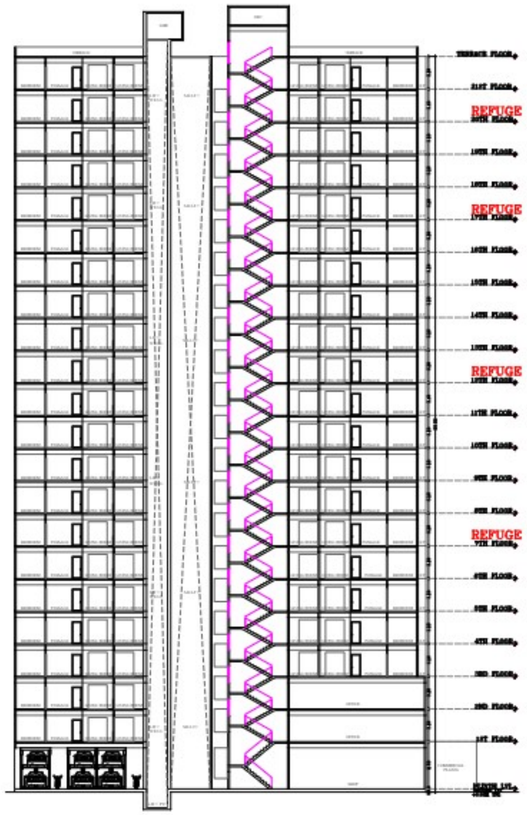

SECTION AA (TOWER A)
SCALE- 1:200

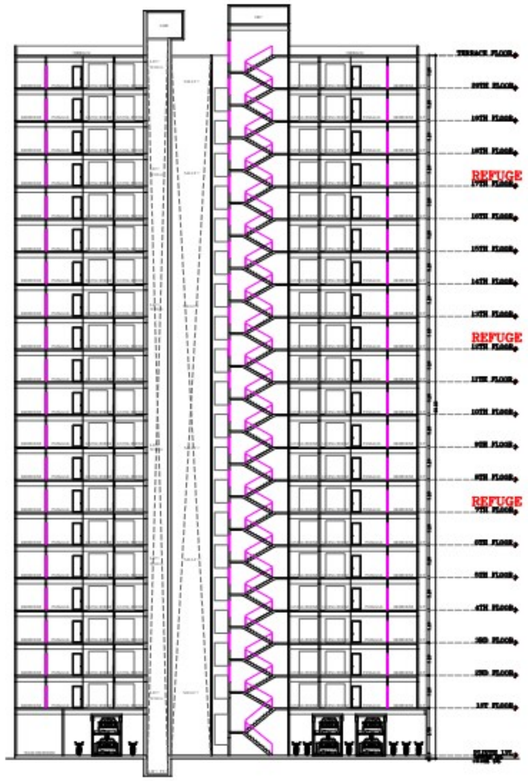

SECTION BB (TOWER B)
SCALE- 1:200

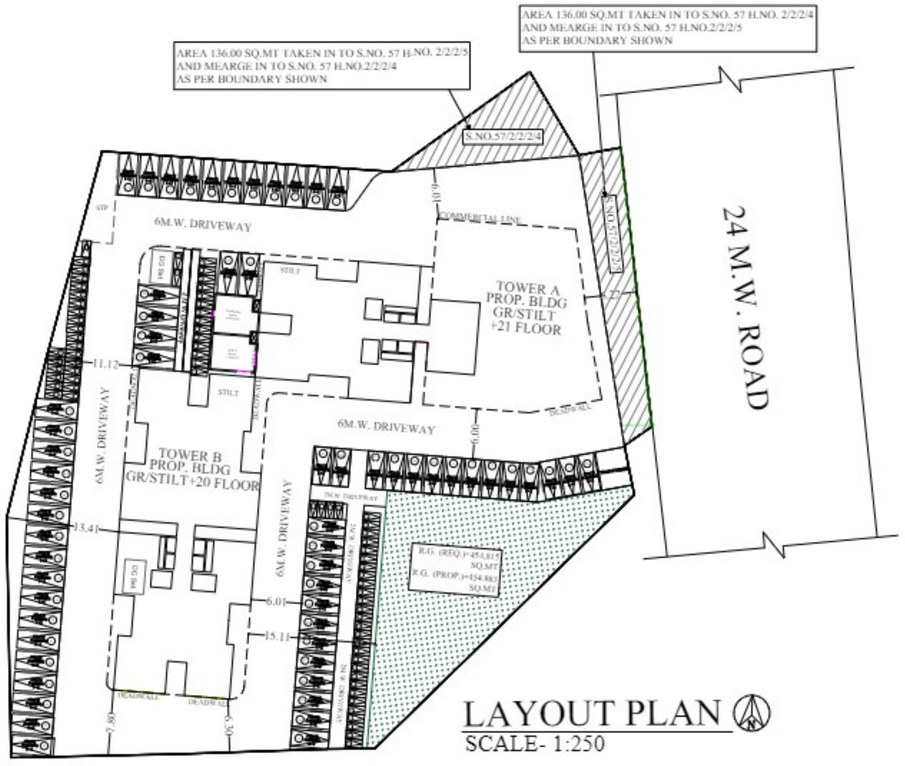

LAYOUT PLAN
SCALE- 1:250

LOCATION PLAN

Sr. No.	Name of Building	Use	Type	No. of Units	Height	No. of Floors	Parking Required	Parking Provided
1	TOWER A	RESIDENTIAL	A	84	69.00	21	84	84
2	TOWER B	RESIDENTIAL	A	84	69.00	21	84	84
3	TOWER A	RESIDENTIAL	A	84	69.00	21	84	84
4	TOWER B	RESIDENTIAL	A	84	69.00	21	84	84
5	TOWER A	RESIDENTIAL	A	84	69.00	21	84	84
6	TOWER B	RESIDENTIAL	A	84	69.00	21	84	84
7	TOWER A	RESIDENTIAL	A	84	69.00	21	84	84
8	TOWER B	RESIDENTIAL	A	84	69.00	21	84	84
9	TOWER A	RESIDENTIAL	A	84	69.00	21	84	84
10	TOWER B	RESIDENTIAL	A	84	69.00	21	84	84
11	TOWER A	RESIDENTIAL	A	84	69.00	21	84	84
12	TOWER B	RESIDENTIAL	A	84	69.00	21	84	84
13	TOWER A	RESIDENTIAL	A	84	69.00	21	84	84
14	TOWER B	RESIDENTIAL	A	84	69.00	21	84	84
15	TOWER A	RESIDENTIAL	A	84	69.00	21	84	84
16	TOWER B	RESIDENTIAL	A	84	69.00	21	84	84
17	TOWER A	RESIDENTIAL	A	84	69.00	21	84	84
18	TOWER B	RESIDENTIAL	A	84	69.00	21	84	84
19	TOWER A	RESIDENTIAL	A	84	69.00	21	84	84
20	TOWER B	RESIDENTIAL	A	84	69.00	21	84	84
21	TOWER A	RESIDENTIAL	A	84	69.00	21	84	84
22	TOWER B	RESIDENTIAL	A	84	69.00	21	84	84
23	TOWER A	RESIDENTIAL	A	84	69.00	21	84	84
24	TOWER B	RESIDENTIAL	A	84	69.00	21	84	84
25	TOWER A	RESIDENTIAL	A	84	69.00	21	84	84
26	TOWER B	RESIDENTIAL	A	84	69.00	21	84	84
27	TOWER A	RESIDENTIAL	A	84	69.00	21	84	84
28	TOWER B	RESIDENTIAL	A	84	69.00	21	84	84
29	TOWER A	RESIDENTIAL	A	84	69.00	21	84	84
30	TOWER B	RESIDENTIAL	A	84	69.00	21	84	84
31	TOWER A	RESIDENTIAL	A	84	69.00	21	84	84
32	TOWER B	RESIDENTIAL	A	84	69.00	21	84	84
33	TOWER A	RESIDENTIAL	A	84	69.00	21	84	84
34	TOWER B	RESIDENTIAL	A	84	69.00	21	84	84
35	TOWER A	RESIDENTIAL	A	84	69.00	21	84	84
36	TOWER B	RESIDENTIAL	A	84	69.00	21	84	84
37	TOWER A	RESIDENTIAL	A	84	69.00	21	84	84
38	TOWER B	RESIDENTIAL	A	84	69.00	21	84	84
39	TOWER A	RESIDENTIAL	A	84	69.00	21	84	84
40	TOWER B	RESIDENTIAL	A	84	69.00	21	84	84
41	TOWER A	RESIDENTIAL	A	84	69.00	21	84	84
42	TOWER B	RESIDENTIAL	A	84	69.00	21	84	84
43	TOWER A	RESIDENTIAL	A	84	69.00	21	84	84
44	TOWER B	RESIDENTIAL	A	84	69.00	21	84	84
45	TOWER A	RESIDENTIAL	A	84	69.00	21	84	84
46	TOWER B	RESIDENTIAL	A	84	69.00	21	84	84
47	TOWER A	RESIDENTIAL	A	84	69.00	21	84	84
48	TOWER B	RESIDENTIAL	A	84	69.00	21	84	84
49	TOWER A	RESIDENTIAL	A	84	69.00	21	84	84
50	TOWER B	RESIDENTIAL	A	84	69.00	21	84	84
51	TOWER A	RESIDENTIAL	A	84	69.00	21	84	84
52	TOWER B	RESIDENTIAL	A	84	69.00	21	84	84
53	TOWER A	RESIDENTIAL	A	84	69.00	21	84	84
54	TOWER B	RESIDENTIAL	A	84	69.00	21	84	84
55	TOWER A	RESIDENTIAL	A	84	69.00	21	84	84
56	TOWER B	RESIDENTIAL	A	84	69.00	21	84	84
57	TOWER A	RESIDENTIAL	A	84	69.00	21	84	84
58	TOWER B	RESIDENTIAL	A	84	69.00	21	84	84
59	TOWER A	RESIDENTIAL	A	84	69.00	21	84	84
60	TOWER B	RESIDENTIAL	A	84	69.00	21	84	84
61	TOWER A	RESIDENTIAL	A	84	69.00	21	84	84
62	TOWER B	RESIDENTIAL	A	84	69.00	21	84	84
63	TOWER A	RESIDENTIAL	A	84	69.00	21	84	84
64	TOWER B	RESIDENTIAL	A	84	69.00	21	84	84
65	TOWER A	RESIDENTIAL	A	84	69.00	21	84	84
66	TOWER B	RESIDENTIAL	A	84	69.00	21	84	84
67	TOWER A	RESIDENTIAL	A	84	69.00	21	84	84
68	TOWER B	RESIDENTIAL	A	84	69.00	21	84	84
69	TOWER A	RESIDENTIAL	A	84	69.00	21	84	84
70	TOWER B	RESIDENTIAL	A	84	69.00	21	84	84
71	TOWER A	RESIDENTIAL	A	84	69.00	21	84	84
72	TOWER B	RESIDENTIAL	A	84	69.00	21	84	84
73	TOWER A	RESIDENTIAL	A	84	69.00	21	84	84
74	TOWER B	RESIDENTIAL	A	84	69.00	21	84	84
75	TOWER A	RESIDENTIAL	A	84	69.00	21	84	84
76	TOWER B	RESIDENTIAL	A	84	69.00	21	84	84
77	TOWER A	RESIDENTIAL	A	84	69.00	21	84	84
78	TOWER B	RESIDENTIAL	A	84	69.00	21	84	84
79	TOWER A	RESIDENTIAL	A	84	69.00	21	84	84
80	TOWER B	RESIDENTIAL	A	84	69.00	21	84	84
81	TOWER A	RESIDENTIAL	A	84	69.00	21	84	84
82	TOWER B	RESIDENTIAL	A	84	69.00	21	84	84
83	TOWER A	RESIDENTIAL	A	84	69.00	21	84	84
84	TOWER B	RESIDENTIAL	A	84	69.00	21	84	84
85	TOWER A	RESIDENTIAL	A	84	69.00	21	84	84
86	TOWER B	RESIDENTIAL	A	84	69.00	21	84	84
87	TOWER A	RESIDENTIAL	A	84	69.00	21	84	84
88	TOWER B	RESIDENTIAL	A	84	69.00	21	84	84
89	TOWER A	RESIDENTIAL	A	84	69.00	21	84	84
90	TOWER B	RESIDENTIAL	A	84	69.00	21	84	84
91	TOWER A	RESIDENTIAL	A	84	69.00	21	84	84
92	TOWER B	RESIDENTIAL	A	84	69.00	21	84	84
93	TOWER A	RESIDENTIAL	A	84	69.00	21	84	84
94	TOWER B	RESIDENTIAL	A	84	69.00	21	84	84
95	TOWER A	RESIDENTIAL	A	84	69.00	21	84	84
96	TOWER B	RESIDENTIAL	A	84	69.00	21	84	84
97	TOWER A	RESIDENTIAL	A	84	69.00	21	84	84
98	TOWER B	RESIDENTIAL	A	84	69.00	21	84	84
99	TOWER A	RESIDENTIAL	A	84	69.00	21	84	84
100	TOWER B	RESIDENTIAL	A	84	69.00	21	84	84

GROUND FLOOR PLAN
(TOWER A+TOWER B+COMM.)
SCALE- 1:100

BUILT-UP AREA CALCULATION GROUND FLOOR TOWER A (COMMERCIAL)

BUILT-UP AREA CALCULATION GROUND FLOOR TOWER A (RESIDENTIAL)

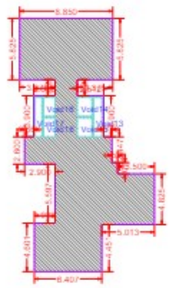

BUILT-UP AREA CALCULATION GROUND FLOOR TOWER B (RESIDENTIAL)

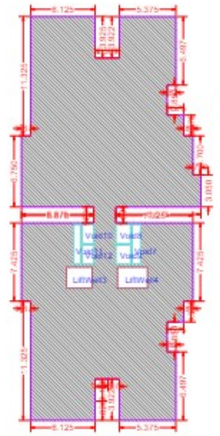

BUILT-UP AREA CALCULATION 1ST 2ND 3RD 4TH 5TH 6TH 8TH 9TH 10TH 11TH 13TH 14TH 15TH 16TH 18TH 19TH AND 20TH FLOOR TOWER B

TYPICAL FLOOR PLAN (TOWER B)
1ST TO 6TH, 8TH TO 11TH, 13TH TO 16TH & 18TH TO 20TH FLOOR
SCALE- 1:100

BUILT-UP AREA CALCULATION 1ST AND 2ND FLOOR TOWER A (COMMERCIAL)

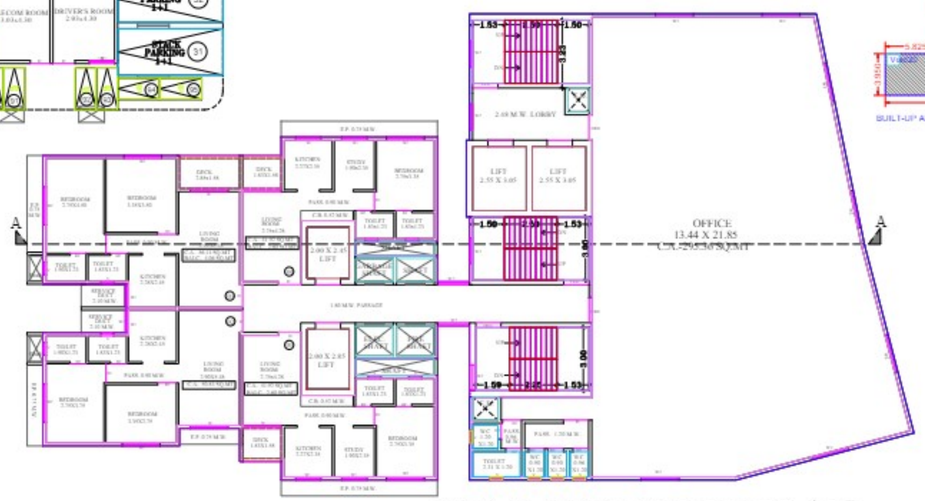

1ST & 2ND FLOOR PLAN
(TOWER A+COMMERCIAL)
SCALE- 1:100

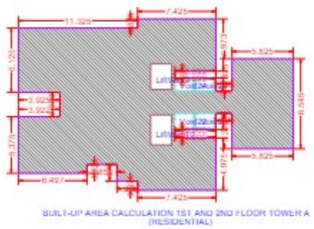

BUILT-UP AREA CALCULATION 1ST AND 2ND FLOOR TOWER A (RESIDENTIAL)

TYPICAL FLOOR PLAN (TOWER A)
3RD,4TH,5TH,6TH,8TH,9TH,10TH,11TH, 13TH,14TH,15TH,16TH,18TH,19TH FLOOR
SCALE- 1:100

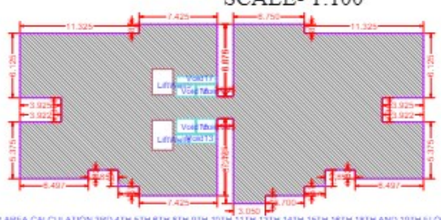

BUILT-UP AREA CALCULATION 3RD 4TH 5TH 6TH 8TH 9TH 10TH 11TH 13TH 14TH 15TH 16TH 18TH AND 19TH FLOOR TOWER A

Proforma 1: Area Statement	
1. Area of plot(Minimum area of a, b, c to be considered) or area of subplot with sanctioned layout No., and subplot No.	4548.150
(a) As per ownership document (7/12, 9/12 extract)	4548.150
(b) As per road or way area deducted/area area	4548.150
(c) as per Demarcated drawing area	4548.150
Added	0.000
2. Area not in possession	0.000
3. Area Proposed for development (out of 1-2)	4548.150
4. Deductions for out of 3)	
(a) Proposed D.P / D.P. Road widening Area/Proposed DP road, Road under MMC act	0.000
(b) Any D.P. Reservation area	0.000
(c) other, add	0.000
Total (a+b+c)	0.000
5. Balance area of plot (3-4)	4548.150
6. Amenity space Proposed	0.000
Required=(5) open space right - Nil	
(b) Above 20,000 and more - (a) + 5% of Total area	0.000
7. Net Plot Area (5-6)	4548.150
8. Recreational open space (Not applicable if plots are from sanctioned layout)	-
(a) If area is more than (5) 4000 sqmt - 10 % of (5) is required	454.815
Proposed	454.815
(b) If area is less than 4000 sqmt - Nil % of (5) is required	
Proposed	0.000
9(a) Exemption to leave open space subject to building basic F.S.I of 75 %	-
9 (b) Exemption to leave open space subject to payment of 10 % land value of land as (7) as per annual statement of rate	-
(c) If area is less than 4000 sqmt, adjoining 20% of (5) is to be utilised for inclusive housing	0.000
Proposed Area	0.000
Architect/ Licensed Engineer/ Supervisor name and signature	
Registration No. of Architect/ License no. of Licensed Engineer/ Supervisor: CA/2016/70630	

M/S. HOMES BUILDERS & DEVELOPERS
RAHUL RAGHUVIR BHALEKAR, SANJAY KARBA BHAVISHEK KARBA, BHAVIK KARBA, DHRUMIEN KARBA, CHIRANTH BHALEKAR, RAGHUVIR BHALEKAR
Postal Address : Drawing Plot No.108, Ganesh Bldg Apartment, Ganesh Mala Road,Kalyan, Thane Maharashtra-421301

DESCRIPTION OF PROJECT :

Type of Proposal : Mixed
PROPOSED BUILDING ON (NEW) C.T.S. NO. 320,323,324,325,351,352

SITE ADDRESS :
PROPOSED BUILDING ON (NEW) C.T.S. NO. 320,323,324,325,351,352
(323,324,327,328,329,330,331,2) & NO.(8/10A,8/10C,8/10E,8/10C)
AT VILLAGE : VADEGHAR, TALUKA KALYAN, DIST. THANE

OWNER NAMES : M/S. HOMES BUILDERS & DEVELOPERS

ARCHITECT NAME & ADDRESS :
TEJAS ANIL NIRBHAVNE
OFFICE :
1ST FLOOR, MOTIWANI EMBASSY, BEHIND VASANT VALLEY BLUE DEPOT, OPP. NARAYANA SCHOOL, GANDHARE, KALYAN - 421301

DRAWING BOX | TECHNICAL PERSON BOX
TEJAS ANIL NIRBHAVNE

SCALE : | DATE : 11/03/26
JOB NO : KDMCC 26 11885 | CHECK BY : ANIL

SUBMISSION DRAWING

REFUGE FLOOR PLAN (TOWER A)
7TH,17TH,20TH FLOOR
SCALE- 1:100

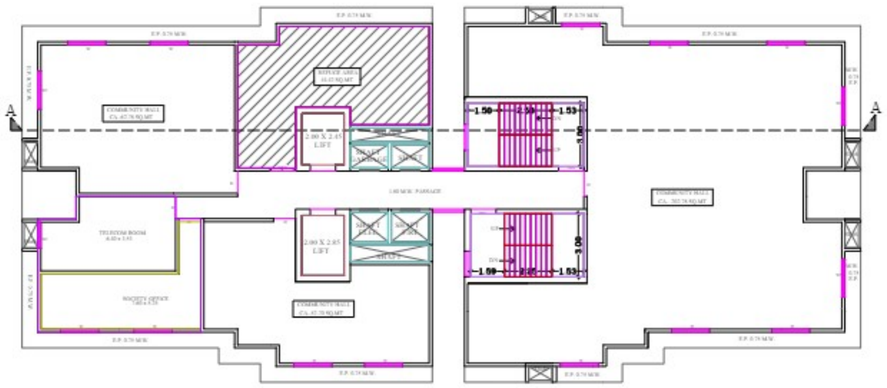

12TH FLOOR PLAN (TOWER A)
(AMENITY+REFUGE FLOOR)
SCALE- 1:100

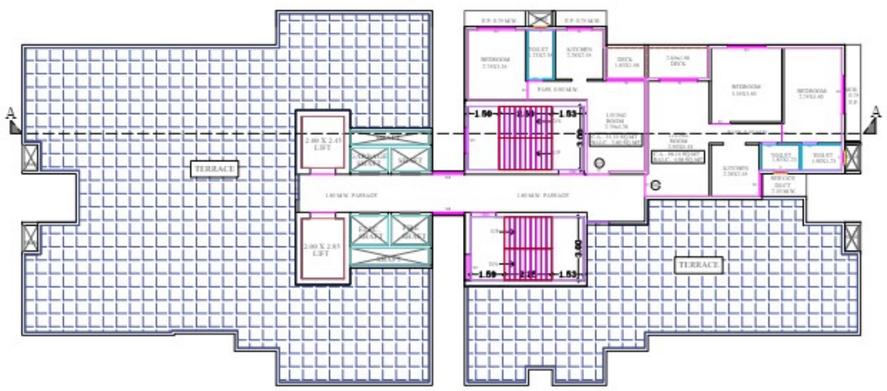

21ST FLOOR PLAN (TOWER A)
SCALE- 1:100

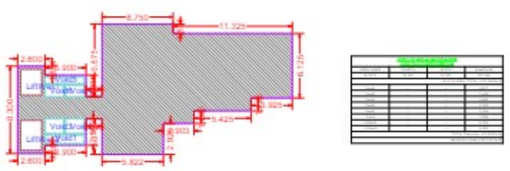

BUILT-UP AREA CALCULATION 21ST FLOOR TOWER A

BUILT-UP AREA CALCULATION 7TH 17TH AND 20TH FLOOR TOWER A

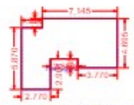

BUILT-UP AREA CALCULATION 12TH FLOOR TOWER A

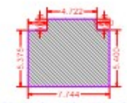

BUILT-UP AREA CALCULATION 12TH FLOOR TOWER A

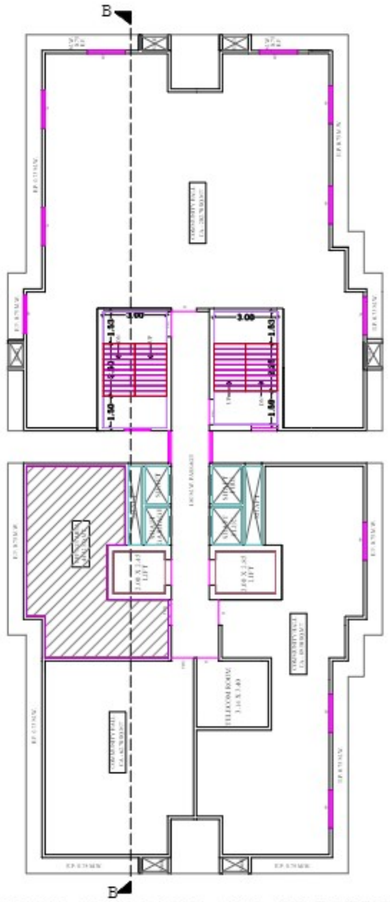

12TH FLOOR PLAN (TOWER B)
(AMENITY+REFUGE FLOOR)
SCALE- 1:100

REFUGE FLOOR PLAN (TOWER B)
7TH & 17TH FLOOR
SCALE- 1:100

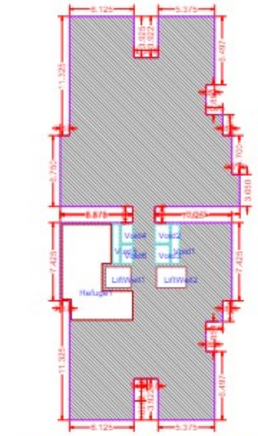

BUILT-UP AREA CALCULATION 7TH AND 17TH FLOOR TOWER B

TERRACE FLOOR (TOWER A)
SCALE- 1:200

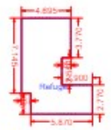

BUILT-UP AREA CALCULATION 12TH FLOOR TOWER B



BUILT-UP AREA CALCULATION 12TH FLOOR TOWER B

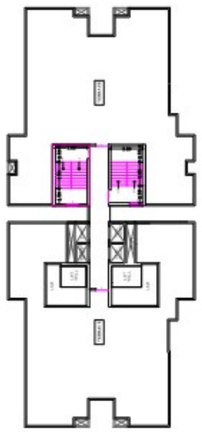

TERRACE FLOOR (TOWER B)
SCALE- 1:200

Proforma 1: Area Statement	
1. Area of plot(Minimum area of a, b, c to be considered) or area of subplot with sanctioned layout No. and subplot No.	4548.100
(A) As per ownership document (1+2+3+4+5+6)	4548.100
(1) As per sale deed/ Lease deed/ any conveyance deed	4548.100
(2) as per Demarcated drawing area	4541.824
(3) DP	-
(4) Area not in possession	0.000
2. Area Proposed for development (out of 1+2)	4548.100
3.Deductions (for out of 3)	-
(A) Proposed D.P / D.P. Road widening Area/Proposed DP road, Road under MMC act	0.000
(B) Any D.P. Reservation area	0.000
(C) Amenity land	0.000
(Total SR+NA)	0.000
4. Balance area of plot (2+3)	4548.100
5. Amenity Space Proposed	0.000
Required -(a) Upto 20,000 sqmt - Nil	-
(b) Above 20,000 and more - (a) + 5% of Total area	0.000
6. Net Plot Area (5-6)	4548.100
8.Recreational Open Space (Not applicable if plots are from sanctioned layout)	-
(a) If area is more than (c) 4000 sqmt - 10 % of (c) is required.	454.810
Proposed	454.810
(A)10 % Subject to minimum 200 sqmts Not applicable if plots are from sanctioned layout or each plot admeasuring less than 4000sq.m (regulated under gunthewari act)	0.000
Proposed	0.000
(B)Exemption to leave open space subject to building basic F.S.I of 75 %	-
(C)Exemption to leave open space subject to payment of 10 % land value of land at (7) as per ready reckoner of rate	-
9. Balance area of plot (4-(5+6+7+8)) to be utilised for inclusive housing	0.000
Proposed Area	0.000
Architect: Licensed Engineer: Supervisor name and signature	
Registration No. of Architect: License no. of Licensed Engineer Supervisor: CA/2019/105830	

M.K. HOMES BUILDER & DEVELOPERS
MANAJ RADHJUM BHALAS NIRAJ KUMAR, BHAVISH KUMAR
BHAVIS KUMAR, DHRUMIN KUMAR, CHINMAY BHALAS, RADHJUMR BHALAS
Postal Address - Drawing Plot No.186, Ganesh Bldg Apartment,
Ganesh Mala Road,Kalyan, Thane Maharashtra 421301

DESCRIPTION OF PROJECT :

Type of Proposal - Mixed
PROPOSED BUILDING ON (NEW) C.T.S. NO. 320,323,324,328,331,332,
333,334,337,338,339,340,(OLD) & NO.89/3A,87/2/3/5,88/2C
AT VILLAGE - VADEGHAR, TALUKA KALYAN, DIST - THANE

Name of Architect - Tejas Ans Kulkarni
Name of Structural Engineer - Nirmal Lodha

ARCHITECT
TEJAS ANS KULKARNI
OFFICE
5TH FLOOR, MEDTOWER CHEMBURI, MUMBAI
BESIDE VALLEY SUB DEPOT, OPP. NARAYAN
MAHADEV, CHEMBURI, MUMBAI - 400 089

STRUCTURAL ENGINEER
NIRMAL LODHA
TEJAS ANS KULKARNI
ARCHITECT
REGD. NO. CA/2001-44

SCALE - 1:100 DATE - 11.03.08
JOB NO - KOMCC.06.11885 CHECK BY - ANS

SUBMISSION DRAWING