PARKING AREA STATEMENT

	SIZE OF TENEMENT	Nos. OF FLATS	Nos. OF CAR	Nos. OF SCOOTER
1)	FOR EVERY TENEMENT HAVING CARPET AREA OF 150 SQ.M. AND ABOVE	NIL	NIL	NIL
2)	FOR EVERY TENEMENT HAVING CARPET AREA EQUAL TO OR ABOVE 80 SQ.M. BUT LESS THAN 150 SQ.M.	NIL	NIL	NIL
3)	FOR EVERY TWO TENEMENT WITH EACH TENEMENT HAVING CARPET AREA EQUAL TO OR ABOVE 40 SQ.M. BUT LESS THAN 80 SQ.M.	35 Nos.	17.5 Nos.	35 Nos.
4)	FOR EVERY TWO TENEMENT WITH EACH TENEMENT HAVING CARPET AREA LESS THAN 40 SQ.M. BUT MORE THAN 30 SQ.M.	NIL	NIL	NIL
5)	FOR EVERY TWO TENEMENTS WITH EACH TENEMENT HAVING CARPET AREA LESS THAN 30 SQ.M.	28 Nos.	NIL	28 Nos.
6)	COMMERCIAL AREA PARKING AREA 56.13 SQ.M. / 100 157.94 SQ.M. / 200		1 Nos. 2 Nos.	3 Nos. 9 Nos.
	TOTAL	63 Nos.	20.5 NOS.	75 NOS.
7)	ADDITION 5% RESI. VISITOR PARKING (5% of 5)	NIL	01 NOS.	04 NOS.
8)	TOTAL REQUIRED PARKING	NIL	21.5 NOS.	79 NOS.
9)	TOTAL REQUIRED PARKING CAR & SCOOTER AS PER UDCPR REGULATION NO. 8.2.2 TABLE NO.8C		17 NOS.	
	TOTAL PROPOSED PARKING		24 NOS.	37 NOS.

TOTAL PROPOSED CAR PARKING = 42 NOS (ACC. TO PAGE NO. 139 OF U.D.P.C.R, CLAUSE NO. 8.1.1 SERIAL NO. v) (SIX SCOOTER PARKING MAY BE ALLOWED TO BE CONVERTED INTO 1 CAR PARKING)
7 NOS (CAR) X 6 = 42 SCOOTER
TOTAL REQUIRED SCOOTER PARKING = 79 NOS.
TOTAL PROPOSED SCOOTER PARKING - 37 + 42 = 79 NOS.

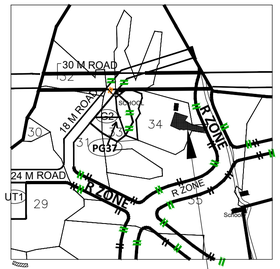

LOCATION PLAN
(SCALE- NTS)
SITE UNDER REFERENCE

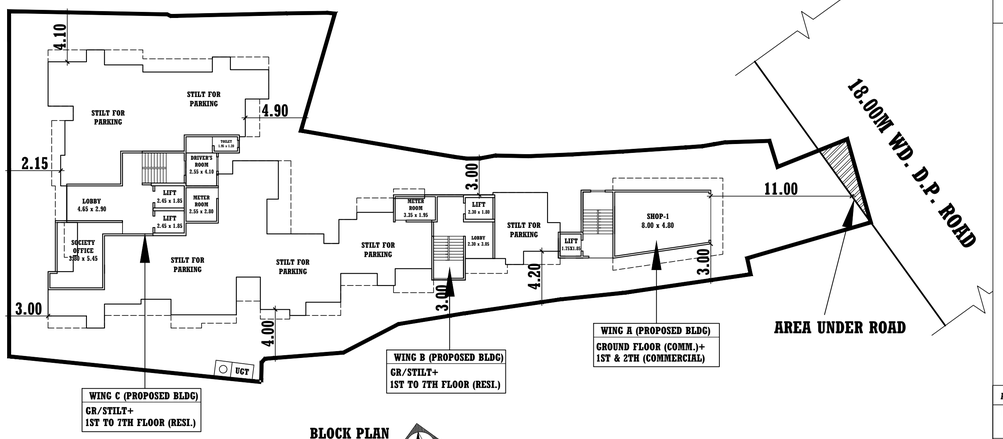

BLOCK PLAN
(SCALE- 1:200)

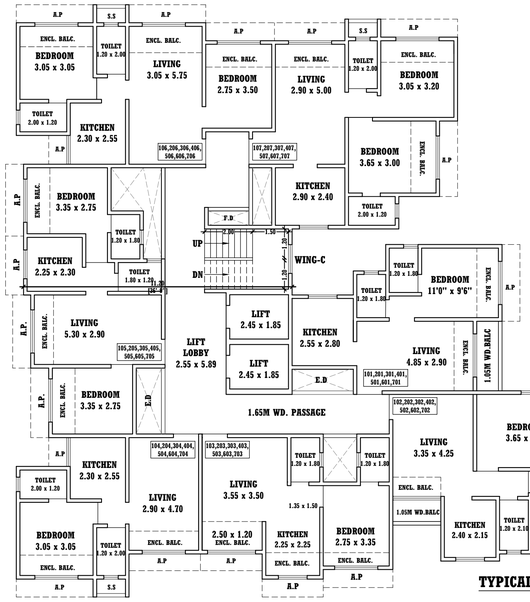

TYPICAL 1ST TO 7TH FLOOR PLAN
(WING-B, WING-C)
(SCALE- 1:100)

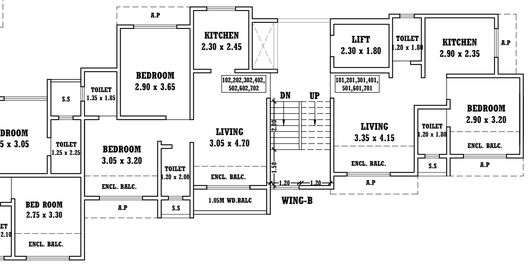

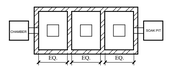

PLAN OF SEPTIC TANK
SCALE:- 1:100

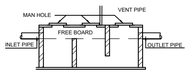

SECTION OF SEPTIC TANK
SCALE:- 1:100

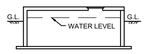

SECTION OF SUCTION TANK
SCALE:- 1:100



PLAN OF SUCTION TANK
SCALE:- 1:100

SECTION OF COMPOUND WALL
SCALE -: 1:100

DOORS AND WINDOWS SCHEDULE

TYPE	SIZE	REMARKS
FRD	1.50 X 2.10	T.W. FRAMED PANELED DOOR.
D	1.20 X 2.10	T.W. FRAMED PANELED DOOR.
D1	1.05 X 2.10	T.W. FRAMED PARTLY GLAZED PANELED DOOR.
D2	0.90 X 2.10	T.W. FRAMED PARTLY GLAZED PANELED DOOR.
D3	0.75 X 2.10	T.W. FRAMED PARTLY GLAZED SINTEX DOOR.
F.D.	2.10 X 1.50	T.W. FRAMED GLAZED PANELLED WINDOW
W1	1.80 X 1.50	ALU. FRAMED GLAZED PANELLED WINDOW
W2	1.60 X 1.50	ALU. FRAMED GLAZED PANELLED WINDOW
W3	1.55 X 1.50	ALU. FRAMED GLAZED PANELLED WINDOW
W4	1.20 X 1.50	ALU. FRAMED GLAZED PANELLED WINDOW
V	0.60 X 0.75	T.W. FRAMED GLAZED LOUVERED WINDOW.

FLOOR	WING-A FLOOR AREA (SQ.MT.)	WING-B FLOOR AREA (SQ.MT.)	WING-C FLOOR AREA (SQ.MT.)
GR./STILT FLOOR	56.13	--	41.54
1ST FLOOR	78.97	117.77	404.04
2ND FLOOR	78.97	117.77	404.04
3RD FLOOR	X	117.77	404.04
4TH FLOOR	X	117.77	404.04
5TH FLOOR	X	117.77	404.04
6TH FLOOR	X	117.77	404.04
7TH FLOOR	X	117.77	404.04
TOTAL =	214.07	824.39	2869.82
TOTAL =	3908.28		

PROPOSED BUILDING	AREA IN (SQ.MT.)
WING-A (COMMERCIAL) G.R.\STILT + 1ST & 2ND FLOOR	214.07 SQ.MT
WING-B (RESIDENTIAL) G.R.\STILT + 1ST TO 7TH FLOOR	824.39 SQ.MT
WING-C (RESIDENTIAL) G.R.\STILT + 1ST TO 7TH FLOOR	2869.82 SQ.MT
TOTAL	3908.28 SQ.MT

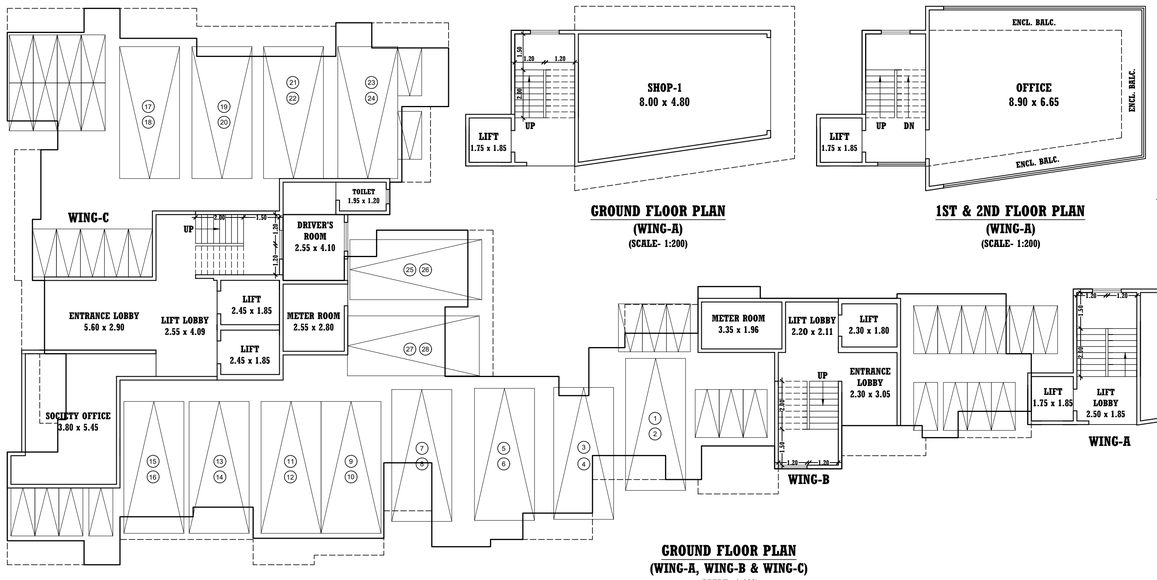

GROUND FLOOR PLAN
(WING-A, WING-B & WING-C)
(SCALE- 1:100)

GROUND FLOOR PLAN
(WING-A)
(SCALE- 1:200)

1ST & 2ND FLOOR PLAN
(WING-A)
(SCALE- 1:200)

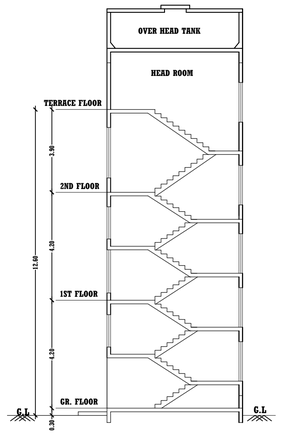

SECTION A-A'
(WING-A)
(SCALE 1:100)

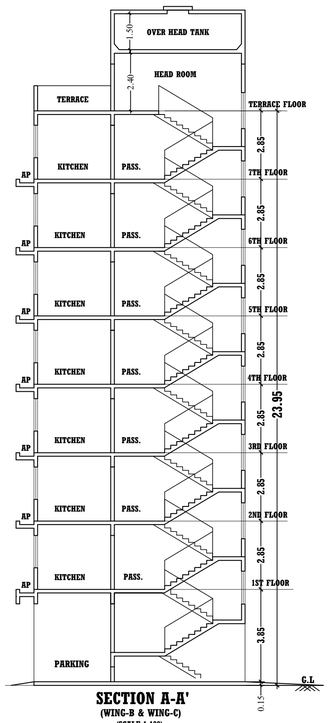

SECTION A-A'
(WING-B & WING-C)
(SCALE 1:100)

STAMP FOR APPROVAL

SHEET NO. 1/1

CONTENT :- BLOCK PLAN, AREA SUMMARY, LOCATION PLAN SECTION , AREA STATEMENT, GROUND FLOOR PLAN, TYPICAL FLOOR PLAN

AREA STATEMENT			SQ.M.
1.	Area of plot (Minimum area of a, b, c to be considered)		--
(a)	As per ownership document (7/12,cts extract)		990.00
(b)	as per measurement sheet		990.00
(c)	as per site		
2.	Deductions for		
(a)	Proposed D.P. / D.P. Road widening Area / Service Road / Highway widening		16.98
(b)	Any D.P. Reservation area		--
	(Total a+b)		--
3.	BALANCE AREA OF PLOT (1-2)		973.02
4.	Amenity Space (if applicable)		
(a)	Required -		
(b)	Adjustment of 2(b), if any -		
(c)	Balance Proposed -		
5.	Net Plot Area [3-4(c)]		973.02
6.	Recreational Open space (if applicable)		
(a)	Required -		
(b)	Proposed -		--
7.	Internal Road area		
8.	Plotable area (if applicable)		
9.	Built up area with reference to Basic F.S.I. as per front road width (Sr. No. 5 x basic FSI) (1.1 x 973.02)		1070.32
10.	Addition of FSI on payment of premium		
(a)	Maximum permissible premium FSI - based on road width / TOD Zone		
(b)	Proposed FSI on payment of premium (0.50 OF 990.00 = 495.00 - 285.00)		210.00
11.	In-situ FSI / TDR loading		
(a)	In-situ area against D.P. road [2.10 x Sr. No. 2 (a)] (16.98 x 2.00 = 33.96)		33.96
(b)	In-situ area against Amenity Space if handed over		
	[2.00 or 1.85 x Sr. No. 4 (b) and / or (c)]		
(c)	TDR area (0.90 X 1b) (0.90 X 990.00 = 891.00 - 33.96 = 857.04)		857.04
(d)	Total in-situ / TDR loading proposed [11 (a) + (b) + (c)]		891.00
12.	Additional FSI area under Chapter No. 7 (19 x 15.00 = 285.00)		285.00
13.	Total entitlement of FSI in the proposal		
(a)	[9 + 10(b) + 11(d)] or 12 whichever is applicable		2456.32
(b)	Ancillary Area FSI upto 60% or 80% with payment of charges	COMMERCIAL AREA 277.09 / 1.8 = 153.94 80% OF 153.94 = 123.15	123.15
		RESIDENTIAL AREA 2456.32 - 153.94 = 2302.38 60% OF 2302.38 = 1381.43	1381.43
(c)	Total entitlement (a + b)		3960.90
14.	Maximum utilization limit of F.S.I. (building potential) Permissible as per Road width (as per Regulation No. 6.1 or 6.2 or 6.3 or 6.4 as applicable) x 1.6 or 1.8		
15.	Total Built-up Area in proposal (excluding area at Sr. No. 17 b)		
16.(a)	Existing Structure to be retained		
(b)	Proposed Built-up Area (as per 'P-Line')		3908.28
(c)	Total (a + b)		3908.28
	F.S.I. Consumed (15/13) (should not be more than serial No. 14 above)		0.99
17.	Area for Inclusive Housing, if any		
(a)	Required (20% of Sr. No.3)		
(b)	Proposed		

APPENDIX - C

THE PLANS PREPARED BY ME ARE IN ACCORDANCE WITH THE NORMS AS SPECIFIED BY INDIAN STANDARD INSTITUTE & I WILL BE HELD RESPONSOBLE FOR ANY HARM CAUSED IN EARTHQUAKE

ENGINEERS SIGNATURE

CERTIFICATE OF AREA

CERTIFIED THAT I HAVE SURVEYED THE PLOT UNDER REFERENCE ON 2023 AND THAT THE DIMENSIONS OF THE SIDES ETC. OF THE PLOT STATED ON THE PLAN ARE AS MEASURED ON SITE AND THE AREA SO WORKED OUT IS 990.00 SQ.MTS. AND TALLIES WITH THE AREA STATED IN THE DOCUMENT OF OWNERSHIP/TOWN PLANNING SCHEME RECORDS.

SIGNATURE OF ARCHITECT.

DESCRIPTION OF PROPOSAL & PROPERTY

REDEVELOPMENT ON PLOT BEARING S. NO.34 H.NO. 11, AT VILLAGE- CHINCHPADA, TAL.- KALYAN, DIST- THANE

NAME & SIGNATURE OF OWNER	SIGNATURE OF ARCHITECT
M/s. GPK INFRA THROUGH ITS PARTNER SHRI. ASHIT GARUD SIGNATURE.	(VARGHESE JOHN) (CA/92/15118)

DRG.NO.	JOB.NO.	SCALE	DATE	DRAWN BY.
1	A-106	AS SHOWN	30-09-2025	RAHUL

NORTH

ARCHITECTS & CONSULTANTS

De-con Consultants
ARCHITECTS, INTERIOR DESIGNERS,
REGD. VALUERS & PROJECT CONSULTANTS
S-1, RAJASHREE TOWER, RAMBAUG, LANE No. 6,
KALYAN(WEST)-421 304. Tel. 5617899.