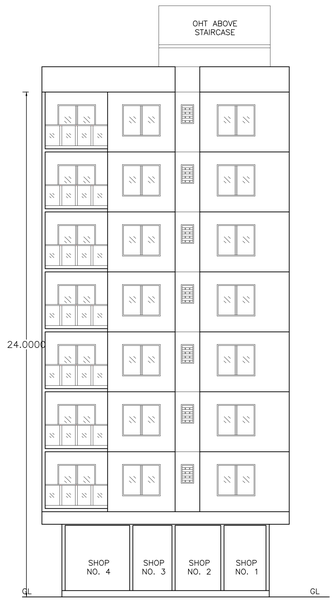

SECTION A-A'
SCALE 1:100

SECTION A-A'
SCALE 1:100

One Sunshine															
BUILDING	FLOORS	FSI AREA													
		COMM.	RES.	PUBLIC	EDU.	INS.	RESTZ	BALCONY PROJ.	TERRACE	LIFT	LIFTWELL	DUCT	WKY SHAFT	OTHER DEDUCTION	TOTAL FSI AREA
One Sunshine	TYPICAL 1ST TO 7TH FLOOR	0.000	1647.825	0.000	0.000	0.000	0.000	0.000	0.000	19.900	16.900	77.598	0.000	0.000	1765.221
One Sunshine	STILT FLOOR	84.934	0.000	0.000	0.000	0.000	0.000	0.000	0.000	0.000	2.700	0.000	0.000	0.000	82.234
One Sunshine	TOTAL	84.934	1647.825	0.000	0.000	0.000	0.000	0.000	0.000	19.900	21.600	77.598	0.000	0.000	1927.365

FSI DETAILS

Sr.	Index	Basic FSI (on serial no 7)	Premium FSI (on serial no 7)	TDR(on sr no 3)	Rehab Incentive FSI as per 7.4.2	Additional fsi for areas building if applicable (on serial no 7)	Ancillary Area(0% of 2 + 3+4+5)	Ancillary Area(50% of 2 + 3+4+5)	Total	Drawing Value
10.1 Permissible Index		1.100	0.500	0.650	50%	0.000	0.000	0.000	2.250	0.000
10.2 Total Proposed of FSI as per Reg 7.6.1 & 7.6.2		1.100	0.500	0.650	0.500	0.000	0.000	0.000	2.250	0.000
10.3 FSI Permissible for Commercial/other uses (if 10.1 and 10.2)		1.100	0.500	0.650	0.500	0.000	0.000	0.000	2.250	0.000
10.4 Existing Consumed Index		0.000	0.000	0.000	0.000	0.000	0.000	0.000	0.000	-
10.5 Balance Index Available (10.3 - 10.4)		1.100	0.500	0.650	0.500	0.000	0.000	0.000	2.250	-
10.6 Total Permissible LP Line Area (		478.555	267.975	949.368	195.000	0.000	579.497	36.548	1905.942	0.000
10.7 Proposed LP Line Area (not exceed 10.6)		478.555	136.159	251.800	195.000	0.000	579.497	36.548	1627.559	1627.365
10.8 Index Consumed		1.100	0.254	0.377	0.500	0.000	0.000	0.000	1.731	0.000

Project Details

Proposed code: KDMCC-26-26797
Zone Type: Residential Zone with Shop line. (R-Z)
Road Width: >=Completed
Scope of service: Redevelopment For Dangerous Building
Sub service: Redevelopment of tenanted buildings
City No./Survey No.: 81
Tahsil: Section 8
Village: Mouje - Pedhali
Premia Value: 0.000
Separation/CRZ Zone Area : -

Carpet Area Table								
Building Name	Floor Name	Carpet name	Tenament No	Carpet Area	Enclosed Balcony Area	Normal Balcony Area	Maceanine Area	Total Carpet Area
One Sunshine	STILT-GROUND-FLOOR	SHOP 1	1	11.040	0.000	0.000	0.000	11.040
One Sunshine	STILT-GROUND-FLOOR	SHOP 2	1	11.175	0.000	0.000	0.000	11.175
One Sunshine	STILT-GROUND-FLOOR	SHOP 3	1	11.067	0.000	0.000	0.000	11.067
One Sunshine	STILT-GROUND-FLOOR	SHOP 4	1	11.052	0.000	0.000	0.000	11.052
One Sunshine	STILT-GROUND-FLOOR	SHOP 5	1	10.240	0.000	0.000	0.000	10.240
One Sunshine	TYPICAL 1ST TO 7TH-FLOOR	101,201,301,401,501,601,701	7	35.537	0.000	0.000	0.000	35.537
One Sunshine	TYPICAL 1ST TO 7TH-FLOOR	102,202,302,402,502,602,702	7	47.992	0.000	0.000	0.000	47.992
One Sunshine	TYPICAL 1ST TO 7TH-FLOOR	103,203,303,403,503,603,703	7	36.668	0.000	0.000	0.000	36.668
One Sunshine	TYPICAL 1ST TO 7TH-FLOOR	104,204,304,404,504,604,704	7	52.636	0.000	0.000	0.000	52.636

Area utilization of fixed/ and Reservation

Description of area utilization						
BUILDING	Reservation type	Reservation No.	Reservation Name	Quantum of area for reservation	Area considered for UE utilization	Remaining area for FAR generation
		12.00M/W DP Road Widening		180.900	201.800	201.800	0.000	0.000
	-	Total		180.900	201.800	201.800	0.000	0.000

Parking Check (Table 05)

Building Name	USE	TENAMENT AREA	car	scooter	NO OF Tenant/visitor	car	scooter	Provided Vehicle/scooter/ Mech Park
			Alt FSI			Required		
One Sunshine	Residential	For every two tenements with each tenement having carpet area equal to more than 30 sq.m. but less than 60 sq.m.	1	2	14	7.000	14.000	-
One Sunshine	Residential	For every two tenements with each tenement having carpet area equal to more than 60 Sq.m. but more than 30 sq.m.	1	2	14	7.000	14.000	-
One Sunshine	Commercial	For every 100 sq.m. or fraction thereof	2	6	34.574	1.091	3.274	-
Total	-	-	-	-	-	15.091	31.274	-
Visitors parking(5%)	-	-	-	-	-	0.755	1.400	-
Total	-	-	-	-	-	15.791	32.674	0.000

Parking Check As Per Multiplying Factor 0.800 (note: 1) 2 scooter equals to 1 car proposed composite parking for car-2)

Building Name	Car	Scooter	Transport Vehicle/scooter/ Mech Park	Car	Scooter	Transport Vehicle/scooter/ Mech Park	Status
	Required			Proposed			
Total	15	20	0	15	20	0	CC

SCHEDULE OF OPENING				
DOOR NAME	NAME	LENGTH	HEIGHT	Nos.
One Sunshine	V	0.900	1.200	2
One Sunshine	V	0.900	1.200	5

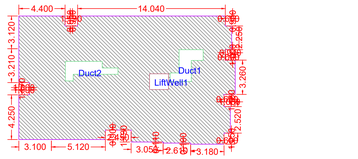

BUILT-UP AREA CALCULATION TYPICAL 1ST TO 7TH FLOOT One Sunshine

BUILT UP AREA CALCULATION FOR FLOOR PLAN (ALL LIFT,STAIRCASE,WASHROOM)

AREA NAME	LENGTH	WIDTH	Area(Sq.M)
BLOCK	20.570	12.190	234.587
		BLOCK AREA TOTAL	=234.587Sq.M
Lift(Well)	-	-	-
Duct1	-	-	3.088
Duct2	-	-	3.396
		TOTAL Deduction	=15.968Sq.M
		Net Builtup Area	=220.761 Sq.M

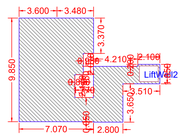

BUILT UP AREA CALCULATION FOR FLOOR PLAN (ALL LIFT,STAIRCASE,WASHROOM)

AREA NAME	LENGTH	WIDTH	Area(Sq.M)
BLOCK	13.380	6.300	84.294
		BLOCK AREA TOTAL	=84.294Sq.M
Lift(Well)	-	-	2.700
		TOTAL Deduction	=2.700Sq.M
		Net Builtup Area	=82.234 Sq.M

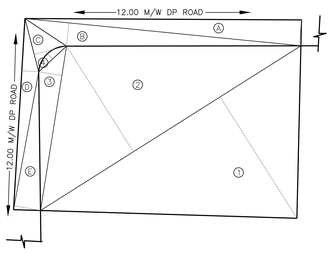

PLOT AREA DIAGRAM
SCALE 1:200

AREA CALCULATION OF PLOT

NET PLOT AREA CALCULATIONS				
1	1/2 X30.810 X14.361 X 1NO	=	221.230 SQ.MT.	
2	1/2 X30.810 X12.493 X 1NO	=	192.450 SQ.MT.	
3	1/2 X16.635 X 2.346 X 1NO	=	19.510 SQ.MT.	
4	2/3 X 3.785 X 0.737 X 1NO	=	1.860 SQ.MT.	
	TOTAL ADDITION	=	435.050 SQ.MT.	X

AREA OF PLOT UNDER 12.00 M/W DP ROAD

ADDITION				
A	1/2 X26.515 X 2.481 X 1NO	=	32.890 SQ.MT.	
B	1/2 X26.515 X 2.243 X 1NO	=	29.737 SQ.MT.	
C	1/2 X 5.269 X 3.138 X 1NO	=	8.267 SQ.MT.	
D	1/2 X18.313 X 1.617 X 1NO	=	14.806 SQ.MT.	
E	1/2 X13.396 X 2.547 X 1NO	=	17.060 SQ.MT.	
	TOTAL ADDITION	=	102.760 SQ.MT.	X

DEDUCTIONS				
4	2/3 X 3.785 X 0.737 X 1NO	=	1.860 SQ.MT.	
	TOTAL DEDUCTION	=	SQ.MT.	Y1
	TOTAL BUILT UP AREA [X – Y1]	=	100.900 SQ.MT.	X1

TOTAL AREA OF PLOT AS PER DOCUMENTS = 535.95 SQMT

AREA OF PLOT UNDER PROPOSED 12.00 M/W DP ROAD = 100.90 SQMT

NET PLOT AREA = 435.050 SQMT (R-ZONE)

PARKING STATEMENT GROUND(PT.) + STILT(PT.) + 7 FLOORS UP			
CARPET AREA	NO OF TEN. /CARPET AREA	PERMISSIBLE PARKING 4 WHEELER	2 WHEELER
UPTO 30 SQ.MT. (FOR EVERY TWO TEN.– 0 CAR, 2 SCOOTER)	0.0	00.00	00.00
30 – 80 SQ.MT. (FOR EVERY TWO TEN.– 1 CAR, 2 SCOOTER)	28.00	14.00	28.00
80–150 SQ.MT. (FOR EVERY SINGLE TEN.– 1 CAR, 1 SCOOTER)	00.00	00.00	00.00
ABOVE 150 SQ.MT. (FOR EVERY SINGLE TEN.– 2 CAR, 1 SCOOTER)	00.00	00.00	00.00
COMMERCIAL CARPET AREA (FOR EVERY 100 SQM.– 2 CAR, 6 SCOOTER)	54.58 SQ.MT	1.09	3.27×0.80=2.62
VISITORS 5%	–	0.75	1.53
0.80 FACTOR	––	15.84×0.8= 12.67 NOS	32.15 NOS

REQUIRED PARKING = 13.00 CARS & 32 TWO WHEELERS
COMPOSITE PARKING :
12 TWO WHEELER CONVERTED INTO 2 CAR'S
THUS,
REQUIRED CAR PARKING – 13+2 = 15 NOS, PROPOSED 15 NO.S
REQUIRED TWO WHEELER PARKING – 32.15–12 = 20.15 NOS,
PROPOSED = 20 NO.S

B/UP AREA SUMMARY		
FLOOR NO.	B/UP AREA (SQMT)	NO. OF TENEMENTS
Gr. FLR	82.233	5 SHOPS
1ST FLR	220.761	4 FLATS
2ND FLR	220.761	4 FLATS
3rd FLR	220.761	4 FLATS
4th FLR	220.761	4 FLATS
5th FLR	220.761	4 FLATS
6th FLR	220.761	4 FLATS
7th FLR	220.761	4 FLATS
TOTAL	1627.560 M²	5 SHOP & 28 FLATS

A) PROPOSED FSI = 1632.158 SQ.MT.
B) PROPOSED NON–FSI = 111.146 SQ.MT.
C) PROPOSED CONSTRUCTION AREA = 1738.708 SQMT

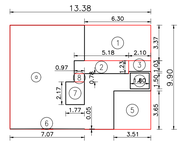

GROUND FLOOR AREA DIAGRAM
(SCALE – 1:200)

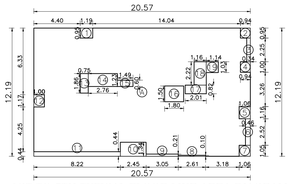

1ST TO 7TH TYPICAL FLOOR LINE AREA DIAGRAM
(SCALE – 1:200)

BUILT UP AREA CALCULATION FOR GROUND FLOOR

GROUND FLOOR					
a	13.380	X 9.900	X 1NO	=	132.462 SQ.MT.
			TOTAL ADDITION	=	132.462 SQ.MT. X

DEDUCTIONS					
1	6.300	X 3.370	X 1NO	=	21.231 SQ.MT.
2	5.180	X 1.230	X 1NO	=	6.371 SQ.MT.
3	2.100	X 1.030	X 1NO	=	2.163 SQ.MT.
4	1.800	X 1.500	X 1NO	=	2.700 SQ.MT.
5	3.510	X 3.650	X 1NO	=	12.812 SQ.MT.
6	7.070	X 0.050	X 1NO	=	0.354 SQ.MT.
7	1.770	X 2.170	X 1NO	=	3.841 SQ.MT.
8	0.970	X 0.780	X 1NO	=	0.757 SQ.MT.
			TOTAL DEDUCTION	=	50.229 SQ.MT. Y1
			TOTAL BUILT UP AREA [X – Y1]	=	82.233 SQ.MT. X1

Proposed B/up Area on GROUND FLOOR
= 82.233 SQMT

BUILT UP AREA CALCULATION FOR 1ST TTO 7TH FLOOR EACH

TYPICAL FLOOR					
A	20.570	X12.190	X 1NO	=	250.748 SQ.MT.
			TOTAL ADDITION	=	250.748 SQ.MT. X

DEDUCTIONS					
1	1.190	X 0.950	X 1NO	=	1.131 SQ.MT.
2	0.940	X 0.950	X 1NO	=	0.893 SQ.MT.
3	0.340	X 2.250	X 1NO	=	0.765 SQ.MT.
4	0.940	X 1.000	X 1NO	=	0.940 SQ.MT.
5	1.060	X 1.160	X 1NO	=	1.230 SQ.MT.
6	0.460	X 2.520	X 1NO	=	1.159 SQ.MT.
7	1.060	X 1.050	X 1NO	=	1.113 SQ.MT.
8	2.610	X 0.100	X 1NO	=	0.261 SQ.MT.
9	3.050	X 0.210	X 1NO	=	0.641 SQ.MT.
10	2.450	X 1.340	X 1NO	=	3.283 SQ.MT.
11	8.220	X 0.440	X 1NO	=	3.617 SQ.MT.
12	1.000	X 1.170	X 1NO	=	1.170 SQ.MT.
13	0.750	X 1.860	X 1NO	=	1.395 SQ.MT.
14	2.760	X 1.230	X 1NO	=	3.395 SQ.MT.
15	1.490	X 0.600	X 1NO	=	0.894 SQ.MT.
16	1.800	X 1.500	X 1NO	=	2.700 SQ.MT.
17	2.010	X 0.820	X 1NO	=	1.648 SQ.MT.
18	1.159	X 2.220	X 1NO	=	2.573 SQ.MT.
19	1.145	X 1.030	X 1NO	=	1.179 SQ.MT.
			TOTAL DEDUCTION	=	29.987 SQ.MT. Y1
			TOTAL BUILT UP AREA [X – Y1]	=	220.761 SQ.MT. X1

Proposed B/up Area on 1ST TO 7TH TYPICAL FLOOR EACH
= 220.761 SQMT

COMMERCIAL AREA STATEMENT				
FLOOR NO.	B/UP AREA (SQMT)	CARPET AREA (SQMT)	LOFT AREA (SQMT)	NO. OF TENEMENTS
GR. FLR.	82.234	54.58	18.48	5 SHOPS

SCHEDULE OF DOORS & WINDOWS		
TYPE	SIZE (LxH)	DESCRIPTION
D	1.00 x 2.10	T.W. FRAMED FULLY PANELLED SINGLE LEAF
D1	0.91 x 2.10	T.W. FRAMED FLUSH SINGLE LEAF
D2	0.75 x 2.00	MARBLE FRAME FLUSH DOOR SINGLE LEAF
FRD	1.20 x 2.10	FIRE RESISTANT DOOR
W	2.10 x 2.10	ALUMINUM FRAME FULLY GLAZED SHUTTER
W1	1.80 x 2.10	ALUMINUM FRAME FULLY GLAZED SHUTTER
V	0.60 x 0.90	ALUMINUM FRAME GLASS LOUVERS AT 45°

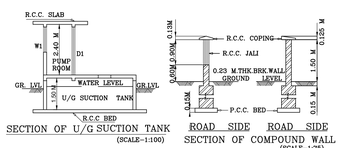

SECTION OF U/G SUCTION TANK
(SCALE–1:100)

SECTION OF COMPOUND WALL
(SCALE–1:75)

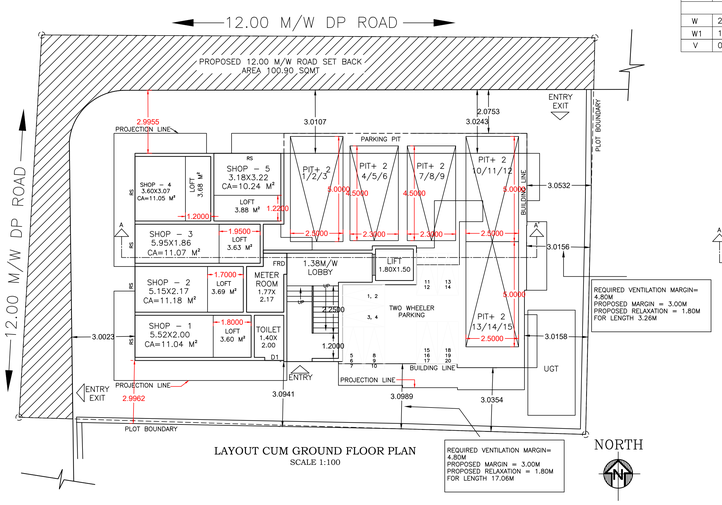

LAYOUT CUM GROUND FLOOR PLAN
SCALE 1:100

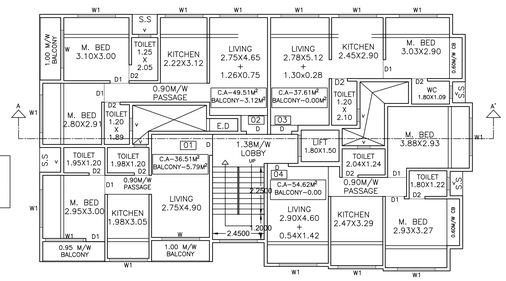

1ST TO 7TH TYPICAL FLOOR PLAN
SCALE 1:100

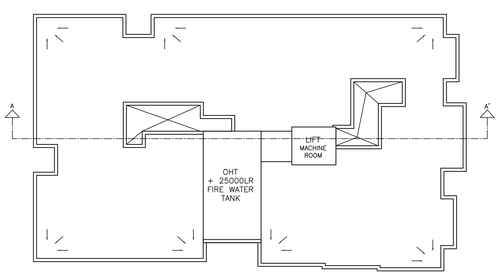

TERRACE FLOOR PLAN
SCALE 1:200

STAMP OF APPROVAL | SHEET NO. 01 OF 01

Rajan Chandrakant Modak

Digitally signed by Rajan Chandrakant Modak
Date: 2026.03.24 15:26:16 +05'30'

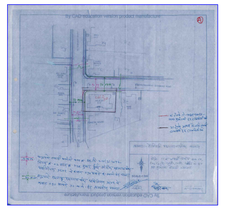

AREA STATEMENT

1.	Area of plot (Minimum area of a, b, c to be considered)	SQ.MT.
	(a) As per ownership document (7/12, CTS extract)	535.950
	(b) As per measurement sheet	535.950
	(c) As per site	535.950
2.	Deductions for	
	(a) Proposed D.P. Road (12.00 M/W D.P. ROAD)	100.900
	(b) Any D.P. Reservation area	N I L
	(C) Area under Existing Road	N I L
	TOTAL (a+b+c)	100.900
3.	Balance area of Plot (1–2)	435.050
4.	Amenity Space (if applicable)	
	(a) Required –	N. A.
	(b) Balance Proposed –	N I L
5.	Net Plot Area [3–4(b)]	435.050
6.	Recreational open space (if applicable)	
	(a) Required .	N. A.
	(b) Proposed –	N I L
7.	Internal Road Area	N I L
8.	Plotable area (if applicable) (5–6)	N. A.
9.	Built up area with reference to Basic F.S.I. as per front road width(Sr.no.5 X basic FSI)(435.05 X 1.10)	478.555
10.	Addition of F.S.I. on payment of premium.	
	(a) Maximum permissible premium FSI- based on road width/TOD Zone – 0.50	
	(b) Proposed FSI on payment of premium Available = 535.95 X 50% = 267.975 SQMT	136.159
11.	In–situ FSI / TDR loading	
	(a) In–situ area against D.P./R.P. road [2.0 x Sr. No. 2(a)], if any (2.00 X 100.90 SQMT) = 201.80 SQMT	201.800
	(b) In–situ area against Amenity Space if handed over [2.00 or 1.85 x Sr. No. 4(b) and /or(c)],	N. A.
	(c) TDR area AVAILABLE AS PER 12.00 M/W D.P. 535.95 X 0.65 = 348.368 SQ.MT.	N I L
	(d) Total in–situ / TDR loading proposed [11(a)+(b)+(c)]	201.800
12.	Additional FSI area under Chapter No. 7 (13 X 15.00M²)	195.00
13.	Total entitlement of FSI in the proposal	
	(a) [9 + 10(b)+11(d)] or 12 whichever is applicable.	1011.514
	(b) Ancillary Area FSI upto 60% or 80% with payment of charges. COMMERCIAL = 82.233/1.80=45.685x80%=36.548 SQMT RESIDENTIAL = 1011.514–45.685=965.829x60%=579.498 SQMT	616.046
	(c) Total entitlement (a+b)	1627.560
14.	Maximum utilization limit of F.S.I.[building potential] Permissible as per Road width [(as per Regulation No.6.1 or 6.2 or 6.3 or 6.4 as applicable)X 1.6] [(1.10+0.50+0.90)X1.60 = 4.00]	
15.	Total Built–up Area in proposal. (excluding area at Sr.No. 17b)	
	(a) Existing Built–up Area.	
	(b) Proposed Built–up Area (as per 'P–line')	–
	(c) Total (a+b)	
	(d) Balance FSI	–
16.	F.S.I. Consumed [15/13 (should not be more than Sr. No.14 above.)]	
17.	Area for Inclusive Housing, if any	
	(a) Required (20% of Sr.No.5)	
	(b) Proposed	

Structural Engineer Certificate

I hereby certify that the structural drawings for the above mentioned work are prepared by us and the work, as far as structural drawings are concerned; I shall be responsible for the adequacy of the Structural Designs .

Signature
(Structural Engineer)

Certificate of Area:

Certified that the plot under reference was surveyed by me on and the dimensions of sides etc. of plot stated on plan are as measured on site and the area so worked out 535.95 SQ.MT. tallies with the area stated in document of Ownership/ T.P. Scheme Records/ Land Records Department/City Survey records.

Signature
(Name of Architect/ Licensed Engineer/ Supervisor.)

Owner's Declaration –

I/We undersigned hereby confirm that I/We would abide by plans approved by Authority /Collector. I/We would execute the structure as per approved plans. Also I/We would execute the work under supervision of proper technical person so as to ensure the quality and safety at the work site.

Owner (s) name and signature

DESCRIPTION OF PROPOSAL AND PROPERTY

PROPOSED RESIDENTIAL CUM COMMERCIAL BUILDING ON PLOT BEARING– S.NO– 81, H.NO– 35, PLOT NO– 57, VILLAGE – G. B. PATHARLI, DOMBIVALI–(E), TAL– KALYAN, DIST– THANE.
For,
SHREE. RAJESH CO.OP. HSG. SOC. LTD. (OWNER)

M/S KALPANA LIFESPACE BUILDERS & DEVELOPERS
MR. SUCHIT G. LOKHANDE (POA HOLDER)

DRG. SHEET. NO.	SCALE	DESIGN BY	CHECKED BY
01 OF 01	AS STATED		
SIGNATURE OF ARCHITECT		NAME AND ADDRES OF ARCHITECT	

RACHANA SHILP
R.C. MODAK
Sreeji Arcade,
First Floor,
Above H.D.F.C.Bank,
Phadke Cross Road,
Dombivli (E)
C.A. NO. 1984 / 08623

Proforma 1 : Area Statement

1. Area of plot(Minimum area of a, b, c to be considered) or area of subplot with sanctioned layout No. and subplot No.		535.950
(a) As per ownership document (7/12, CTS extract)		535.950
(b) as per TILR or City Survey measurement sheet		535.950
(c) as per Demarcated drawing area		535.950
LESS		
2.Area not in possession		0.000
3. Area Proposed for development (out of 1-2)		535.950
4.Deductions for(out of 3)		
(a) Proposed D.P./ D.P. Road widening Area/Proposed DP road. Road under MMC act		100.900
(b) Any D.P. Reservation area		0.000
(c) Green Belt		0.000
5.Total a+b+c)		100.900
5. Balance area of plot (3-4)		435.050
6. Amenity Space Proposed		0.000
7.Required -(a) Upto 20,000 sqmt - Nil		-
(b) Above 20,000 and more - (a) + 5% of Total area		0.000
7. Net Plot Area (5-6)		435.050
8.Recreational Open Space (Not applicable if plots are from sanctioned layout)		-
(a) If area is more than (5) 4000 sqmt - 10 % of (5) is required.		0.000
Proposed		0.000
(A)10 % Subject to minimum 200 sqmt(Not applicable if plots are from sanctioned layout or each plot admeuring less than 4000sq.m regularised under gunthewari act)		0.000
Proposed		0.000
(B)Exemption to leave open space subject to availing basic F.S.I of 75 %		-
(C)Exemption to leave open space subject to payment of 10 % land value of land at (7) as per annual statement of rate.		-
If (5) > 4000sq.m then Land admeuring 20% of (5) is to be utilised for inclusive housing		0.000
Proposed Area		0.000
Architect/ Licensed Engineer/ Supervisor name and signature		
Registration No. of Architect/ License no. of Licensed Engineer/ Supervisor. CA/1984/08623		
Certificate of Area: Certified that the plot under reference was surveyed by me on_____ and the dimensions of sides etc. of plot stated on plan are as measured on site and the area so worked out tallies with the area stated in document of Ownership/ T.P. Scheme Records/Land Records Department/City Survey records.		
Signature (Name of Architect/ Licensed Engineer/ Supervisor.)		
Owner's Declaration - I/We undersigned hereby confirm that I/We would abide by plans approved by Authority /Collector. I/We would execute the structure as per approved plans. Also I/We would execute the work under supervision of proper technical person so as to ensure the quality and safety at the work site.		
Owner (s) name and signature		

Name Of : Owner Suchit Gautam Lokhande,SHREE RAJESH COOP. HSG SOC LTD PIOA MS KALPANA LIFESPACE BUILDERS DEVELOPERS THROUGH MR SUCHIT GLOKHANDE
Postal Address : 4/ 63, Nav-Guru,Rajaxmi,Manpada Road,Kalyan,Thane,Maharashtra-421201
Phone No.:8691801999

DESCRIPTION OF PROJECT :
Type of Proposal : Mixed
BUILDING ON CTS. NO./SURVEY NO.-81

SITE ADDRESS :
PROPOSED RESIDENTIAL CUM COMMERCIAL BUILDING ON PLOT BEARING S.NO-81, H.NO-35, PLOT NO- 57, VILLAGE - G. B. PATHARLI, DOMBIVALI-(E), TAL- KALYAN, DIST- THANE.

Name Of Architect : RAJAN CHANDRAKANT MODAK

FOGO | ADDRESS OF OFFICE
OFFICE -
phadke cross road

OWNERS SIGN - | TECHNICAL PERSON SIGN
M/S KALPANA LIFESPACE BUILDERS & DEVELOPERS
MR SUCHIT G LOKHANDE
R.C. MODAK
C.A. NO. 1984 / 08623

SCALE -	DATE: 22/03/26
JOB NO - KDMCC-26-26797	CHECK BY -

SUBMISSION DRAWING