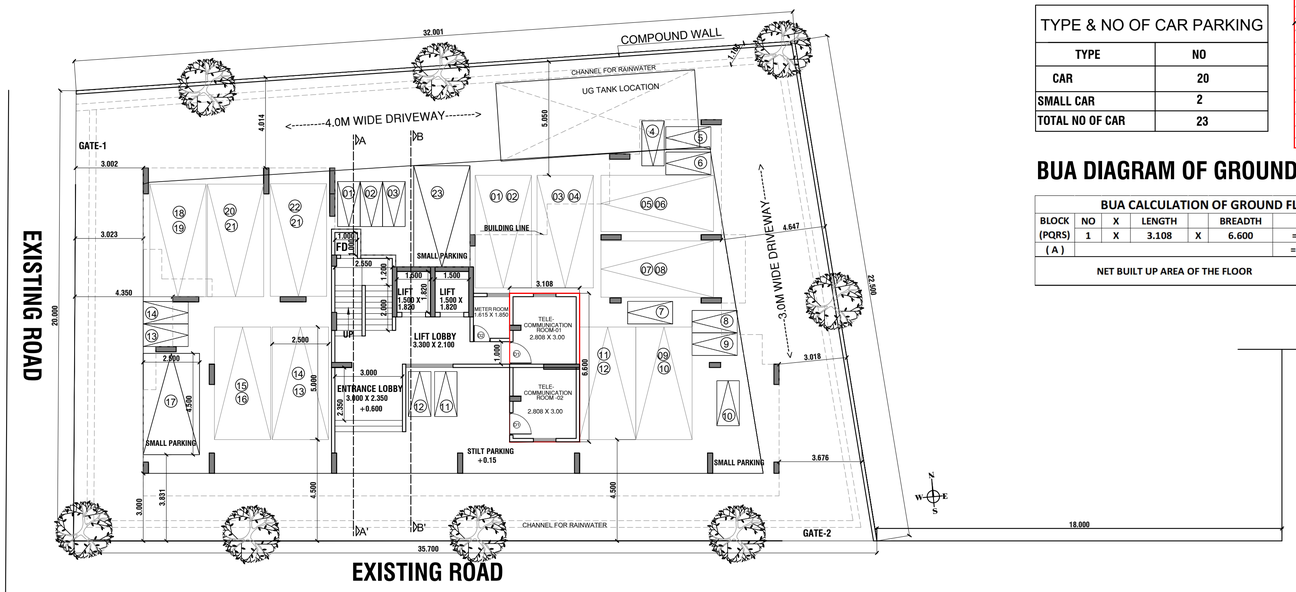

GROUND FLOOR PLAN

TYPE & NO OF CAR PARKING	
TYPE	NO
CAR	20
SMALL CAR	2
TOTAL NO OF CAR	23



BUA DIAGRAM OF GROUND FLOOR

BUA CALCULATION OF GROUND FLOOR							
BLOCK (PQRS)	NO	X	LENGTH		BREADTH		AREA IN SQ.M.
(A)	1	X	3.108	X	6.600	=	20.513
						=	20.513
NET BUILT UP AREA OF THE FLOOR							20.513

BUA AREA STATEMENT							
FLOOR	NET BUA AREA IN SQ.M.		STILT AREA	GROUND FLOOR(STAIRCASE/ LOBBY/LIFT	TERRACE AREA(LMR,OHWT/ HEAD ROOM)	CHAJJA	TOTAL AREA
	COMMERCIAL	RESIDENTIAL					
GROUND	-	20.513	350	45.901	-	-	416.414
FIRST	-	340.609	-	-	-	19.929	360.538
SECOND	-	340.609	-	-	-	19.929	360.538
THIRD	-	340.609	-	-	-	19.929	360.538
FOURTH	-	340.609	-	-	-	19.929	360.538
FIFTH	-	340.609	-	-	-	19.929	360.538
SIXTH	-	340.609	-	-	-	19.929	360.538
SEVENTH	-	223.274				9.819	233.093
TERRACE	-	-	-	-	48.866	16.198	48.866
TOTAL	-	2287.441	350	45.901	48.866	145.591	2861.601
	2287.441		444.767				

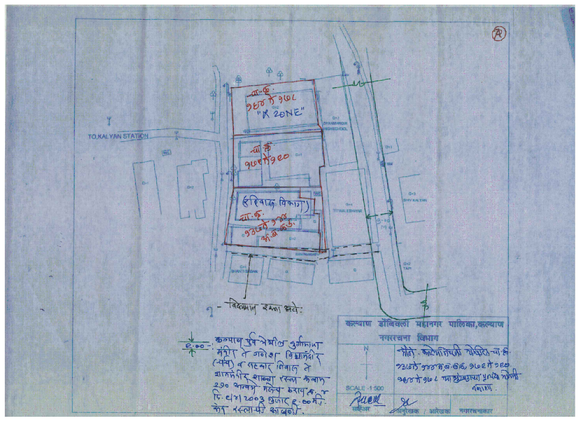

DP REMARK PLAN
SCALE (NTS)

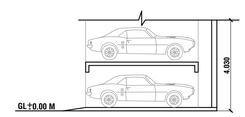

STACK PARKING DETAIL

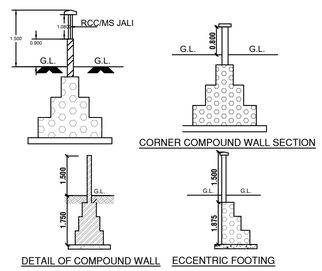

COMPOUND WALL

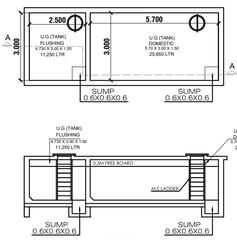

U.G TANK DETAILS

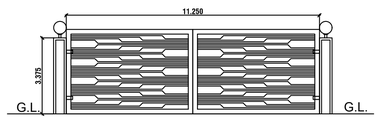

ENTRANCE GATE

TABLE NO. 8B - PARKING REQUIREMENTS FOR MULTY FAMILY RESIDENTIAL WITH COMMERCIAL AREA						
			As per Notice published u/s 37(1AA), dtd 18.01.2022			
			B			
			PARKING SPACE REQ.		PARKING SPACE PROP.	
			NON CONGESTED AREA		NON CONGESTED AREA	
SR. NO.	REQUIRED PARKING RATE	TOTAL NO.OF FLAT	CAR	SCOOTER	CAR	SCOOTER
1	For every tenement having carpet area 150 sq.mt. AND ABOVE	0.00	2.00	1.00	0.00	0.00
2	For every tenement having carpet area equal to or above 80 sq.mt. but less than 150 sq.mt.	0.00	1.00	1.00	0.00	0.00
3	For every two tenement with each tenement having carpet area equal to or above 40 sq.m. but less than 80 sq.m.	39.00	1.00	2.00	20.00	39.00
4	For every two tenement with each tenement having carpet area less than 40 sq.m. but more than 30 sq.m.	0.00	1.00	2.00	0.00	0.00
5	For every two tenement with each tenement having carpet area less than 30 sq.mt.	6.00	0.00	2.00	0.00	6.00
6	For every 100 sq.m. carpet area or fraction there of	0.00	2.00	6.00	0.00	0.00
Parking Requirement (quantum)		Residential			20	45
		Commercial			0	0
5% visitor parking for residential					1	2
TOTAL					21	47
With Multiplying Factor on total parking as per Table 8C - 0.8			Multiplying Factor Not applicable for scooter parking		17	47
PARKING REQUIREMENT (Greater of A and B)			CAR	SCOOTER		
			17	47		
COMPOSITE PARKING ONE CAR WITH TWO SCOOTERS MAY BE ALLOWED.						
SIX SCOOTERS PARKING MAY BE ALLOWED TO BE CONVERTED IN ONE CAR PARKING 36/6)			6	11		
REQUIRE PARKING			23	14		
PROPOSED PARKING			23	14		

SCHEDULE OF DOOR / WINDOW			
TYPE	SIZE IN MM	AREA IN SQ.M	DESCRIPTION
D	1.000 x 2.100	2.100	TEAK WOOD PANELLED DOOR
D1	0.900 x 2.100	1.890	TEAK WOOD PANELLED DOOR
D2	0.750 x 2.100	1.575	TEAK WOOD PANELLED DOOR
W1	2.400 x 2.100	4.410	AL. SLIDING WINDOW (LIVING & BEDROOM)
W2	1.200 x 2.100	2.520	AL. SLIDING WINDOW (KITCHEN)
W3	0.800 x 1.375	0.720	AL. SLIDING WINDOW (KITCHEN)
W4	1.400 x 2.100	2.940	AL. SLIDING WINDOW
V	0.600 x 0.900	0.540	AL. LOUVERED VENTILATOR
J	1.400 x 1.350	1.890	FIXED WINDOW + GRILL + LOUVER OR SLIDING PANEL

BUA AREA STATEMENT	
FLOOR	BUA AREA IN SQ.M.
GROUND	20.513
FIRST	340.609
SECOND	340.609
THIRD	340.609
FOURTH	340.609
FIFTH	340.609
SIXTH	340.609
SEVENTH	223.274
TOTAL BUILT UP AREA	2287.441

WATER REQUIREMENT STATEMENT								
COMMERCIAL	COMMERCIAL BUA= 0.000							
	0.000 / 3 = 0.000					U/G - 100%= 0.000 LTR		
	0.000 X 70 = 0.000					O/H - 40% = 0.000 LTR		
A	NO. OF FLATS = 45 X5= 225 PERSON					U/G - 100%= 34155.000 LTR		
	225 X 135 = 30375.000 LTR							
B	NO. OF FLATS = 45							
	NO. OF OTHER UNITS = 2							
	(COMMUNITY HALL, SOC. OFFICE, CLUB HOUSE)							
	TOTAL UNITS = 47 X 0 0 LTR							
C	NO OF TOILETS - NUMBER OF FLATS= 66 -45					O/H - 60% = 20493.000 LTR		
	NO OF TOILETS - NUMBER OF FLATS= 21							
	21 X 180= 3780.000 LTR							
	A+B+C = 34155.000 LTR							
	FIRE FIGHTING		COMMERCIAL		DOMESTIC		FLUSHING	
WATER SUPPLY PROVDIED	U/G	O/H	U/G	O/H	U/G	O/H	U/G	O/H
	0	25000	0.000	0.000	23908.500	14345.100	10246.500	6147.900

CARPET AREA STATEMENT 1ST FLOOR					
FLOOR	RERA CARPET AREA	ENCLOSED BAL.	BALCONY	TOTAL CARPET AREA	CHAJJA
101	36.389	0	2.905	39.294	3.611
102	35.129	0	5.665	40.794	1.05
103	31.866	4.22	2.865	38.951	3.611
104	31.866	4.22	2.865	38.951	3.611
SOCIETY OFFICE/FITNESS CENTER,DRIVER ROOM					
106	40.469	0	2.9	43.369	3.787
107	23.260	0	2.118	25.378	1.5

CARPET AREA STATEMENT 2ND TO 6TH FLOOR					
FLOOR	RERA CARPET AREA	ENCLOSED BAL.	BALCONY	TOTAL CARPET AREA	CHAJJA
201-501	36.389	0	2.905	39.294	3.611
202-502	35.129	0	5.665	40.794	1.05
203-503	31.866	4.22	2.865	38.951	3.611
204-504	31.866	4.22	2.865	38.951	3.611
205-505	36.493	0	5.648	42.141	1.519
205-506	40.469	0	2.9	43.369	3.787
207-507	23.260	0	2.118	25.378	1.5

CARPET AREA STATEMENT 7TH FLOOR					
FLOOR	RERA CARPET AREA	ENCLOSED BAL.	BALCONY	TOTAL CARPET AREA	CHAJJA
202-502	35.129	0	5.665	40.794	1.05
203-503	31.866	4.22	2.865	38.951	3.611
204-504	31.866	4.22	2.865	38.951	3.611
205-505	36.493	0	5.648	42.141	1.519

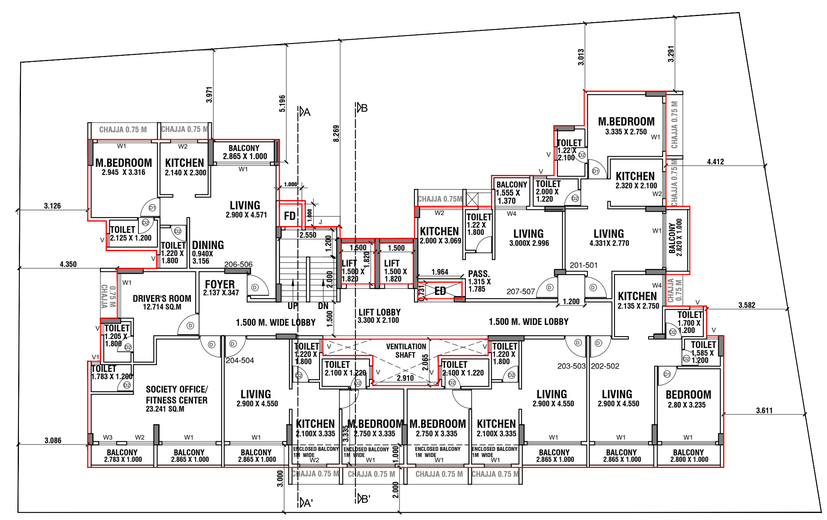

FIRST FLOOR PLAN

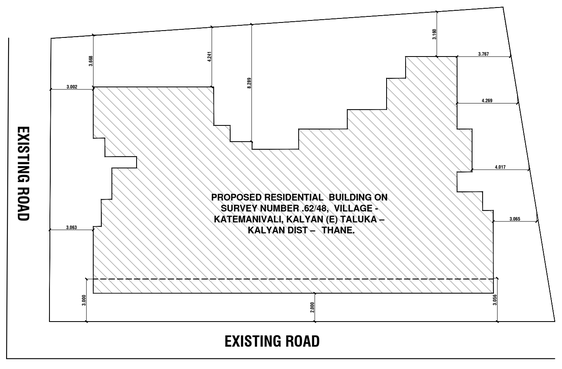

BLOCK PLAN
SCALE (NTS)

SURVEY NUMBER .62/48, KALYAN , THANE.

CONTENT OF SHEET — **SHEET- 01 / 02**

GROUND FLOOR PLAN, 1ST FLOOR PLAN, AREA DIAGRAM, BUA STATEMENT, DETAILS ,DP-REMARK
WATER TANK CALCULATION AND DETAILS
PARKING TABLE,SCHEDULE OF DOOR / WINDOW,DETAILS

APPROVAL STAMP OF KDMC

Proforma-1

Sr.No		Particulars	Area (sq.m)
1		**Area of plot (Minimum area of a, b, c to be considered)**	715.000
	a	As per ownership document (7/12, CTS extract)	715.000
	b	as per measurement sheet	715.000
	c	as per site	715.000
2		**Deductions for**	
	a	Proposed D.P./ D.P. Road widening Area/Service Road / Highway widening	0.000
	b	Any D.P. Reservation area	0.000
		(Total a+b)	0.000
3		**Balance area of plot (1-2)**	715.000
4		Amenity Space (if applicable)	
	a	Required -	0.000
	b	Adjustment of 2(b), if any -	0.000
	c	Balance Proposed -	0.000
5		**Net Plot Area (3-4 (c))**	715.000
6		**Recreational Open space (if applicable)**	
	a	Required -	0.000
	b	Proposed -	0.000
7		Internal Road area	0.000
8		**Plotable area (if applicable)**	715.000
9	a	Built up area with reference to Basic F.S.I. as per front road width (Sr. No. 5xbasic FSI 1.5) - Min. of 1.5 as per UDCPR	786.500
	b	Permissible commercial area	0.000
	c	Proposed commercial area (basic excluding ancillary)	0.000
10		**Addition of FSI on payment of premium**	
	a	Maximum permissible premium FSI - based on road width / TOD Zone. (plot area *0.3 premium FSI) **Plus Additional FSI as per Note 3 of 10.10.1 (plot area *0.1)**	357.500
	b	Proposed FSI on payment	375.000
11		**In-situ FSI / TDR loading**	
	a	In-situ area against D.P. road [2.0 x Sr. No. 2 (a)],if any	
		In-situ area against Amenity Space if handed over	
	b	[2.00 or1.85 x Sr. No. 4 (b)and /or(c)],	
	c	TDR area-	286.000
	d	Total in-situ / TDR loading proposed (11 (a)+(b)+(c))	286.000
12		**Additional FSI area under Chapter No. 7**	0.000
13		**Total entitlement of FSI in the proposal**	
	a	[9(a) + 10(b)+11(d)] or 12 whichever is applicable.	1447.500
	b	Permissible Ancillary Area FSI upto 60% or 80% ***on balance potential*** with payment of charges	868.500
	c	***Proposed Ancillary area FSI***	
	d	Total entitlement (a+b)	2316.000
14		Maximum utilization limit of F.S.I. (building potential) Permissible as per Road width ((as per Regulation No. 6.1 or 6.2 or 6.3 or 6.4 as applicable) x 1.6 or 1.8), **read with Note 3 of 10.10.1**	
15		Total Built-up Area in proposal (excluding area at Sr.No.17 b)	2287.441
	a	Existing Built-up Area	0.000
		Residential	0.000
		Commercial	0.000
	b	Proposed Built-up Area (as per 'P-line')	2287.441
		Residential	2287.441
		Commercial	0.000
	c	Total (a+b) (shall not be more than 13(d))	2287.441
16		F.S.I. Consumed (15/13) (should not be more than serial No.14 above.)	0.988
17		Area for Inclusive Housing, if any	
	a	Required (20% of Sr.No.5)	0.000
	b	Proposed	0.000

Distribution of proposed Built up area as per UDCPR

Sr.No	Particulars	Residential	Non- residential
1	Built up area with reference to Basic F.S.I.	1429.65	0.000
2	Additional FSI on payment of premium (Together shall not exceed 10 b)	0.00	0.00
3	Total proposed built up area (basic)	1429.65	0.000
4	Proposed Ancillary Area FSI	857.790	0.000
5	% of ancillary area FSI	60%	#DIV/0!
6	TOTAL PROPOSED BUILT-UP AREA (Together shall not exceed 13 d)	2287.44	0.00

Summary of proposed Pline area as per UDCPR

Sr.No	FLOOR	PLINE AREA (Comm.)	PLINE AREA (RESI.)	TOTAL
		A	B	C
1	GROUND	0.000	20.513	20.513
2	1ST FL		340.609	340.609
3	2ND FL		340.609	340.609
4	3rd FL		340.609	340.609
5	4th FL		340.609	340.609
6	5th FL		340.609	340.609
6	6th FL		340.609	340.609
7	7TH		223.274	223.274
9	TOTAL	0.000	2287.441	2287.441
10	BASIC FSI	0.000	1429.651	1429.651
11	ANCILLARY FSI	0.000	857.790	857.790

Certificate of Area:
Certified that the plot under reference was surveyed by me on_____ and the dimensions of sides etc. of plot stated on plan are as measured on site and the area so worked out tallies with the area stated in document of Ownership/ T.P. Scheme Records/ Land Records Department/City Survey records.

PROPOSED RESIDENTIAL BUILDING ON SURVEY NUMBER .62/48, Village - Katemanivali, Kalyan (E) Taluka – Kalyan Dist – Thane.

Certificate of Area
certified that the plot under reference was surveyed by me on .....and the dimensions of sides etc., of plot started on plan are as measured on site and the area so worked out tallies with the area stated in document of ownership / T.P.Scheme Records / Land Records Deparments / city survey records.

Signature
Prajakta Laxman chavan(REG. NO.:CA/2021/131882)

Owner's declaration
I/we undersigned hereby confirm that/we would abide by plan approved by Authority/Collector. I/We would execute the structure as per approved plans. Also I/We would execute the work under supervision of proper technical person so as to ensure the quality and safety at the work site.

For Vedant Realtors through their P.O.A holder Mauli Homes
LLP through its partner Bharatkumar Bhavan Patel .

NORTH

SCALE	:-	1:100
DATE	:-	10-03-2026
DRN. BY.	:-	PRAJAKTA
CHKD. BY	:-	PRAJAKTA
DRG. No	:-	01

NAME & ADDRESS OF ARCHITECT
PRAJAKTA LAXMAN CHAVAN ARCHITECTS
101, WING, DISMA COMPLEX , KALAMBOLI
NAVI MUMBAI 41018,

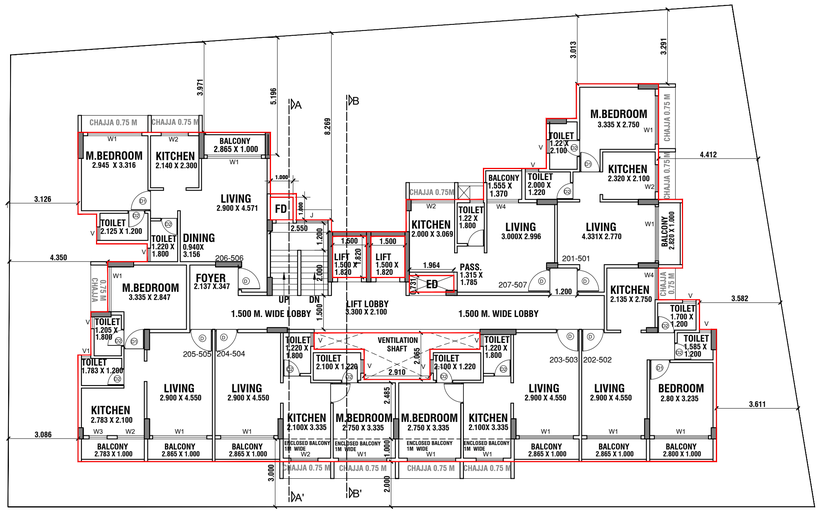

SECOND TO SIXTH FLOOR PLAN

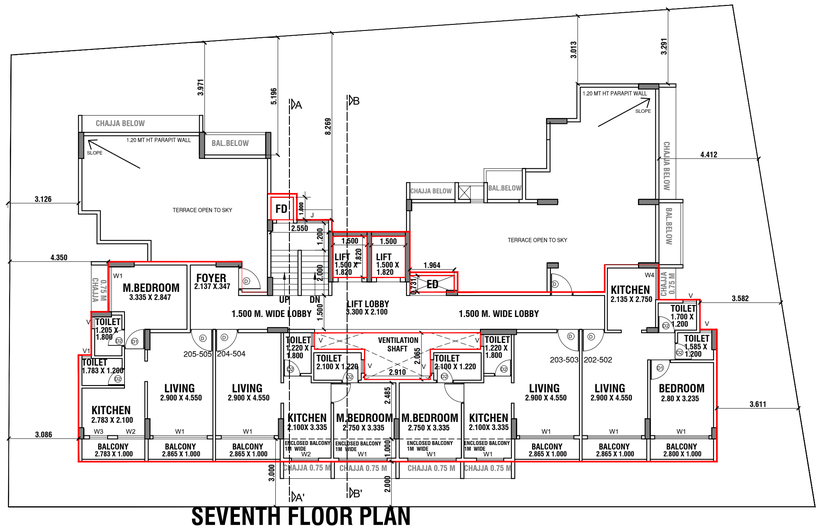

SEVENTH FLOOR PLAN

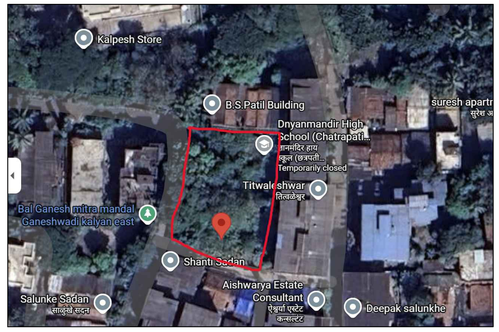

GOOGLE MAP

SCALE (NTS)

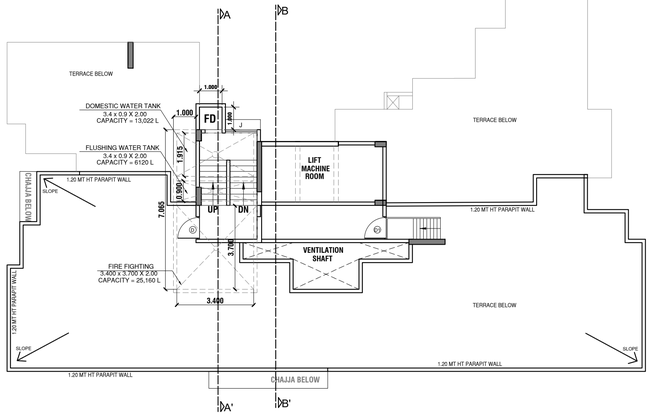

TERRACE FLOOR PLAN

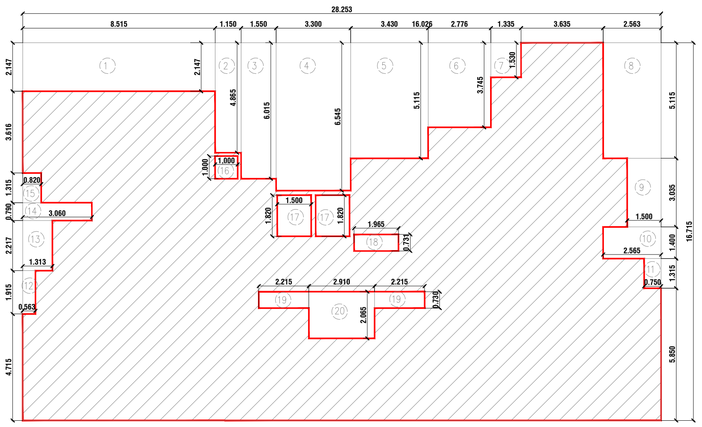

AREA DIAGRAM FOR 1ST TO 5TH FLOOR PLAN

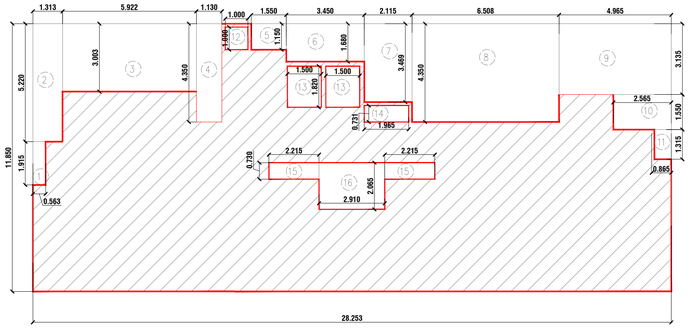

AREA DIAGRAM FOR 7TH FLOOR PLAN

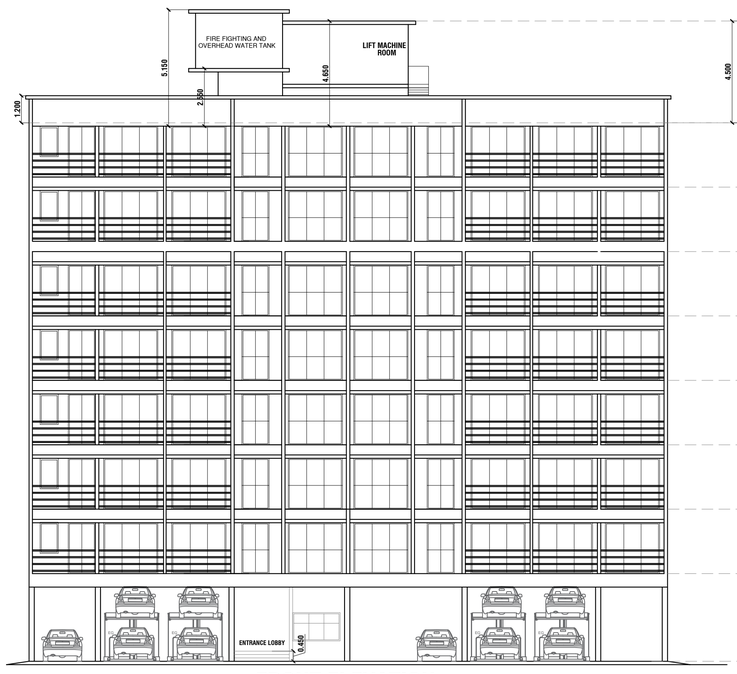

FRONT ELEVATION

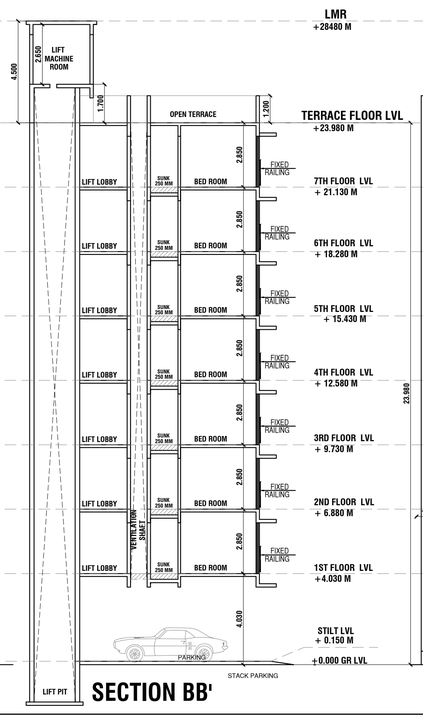

SECTION BB'

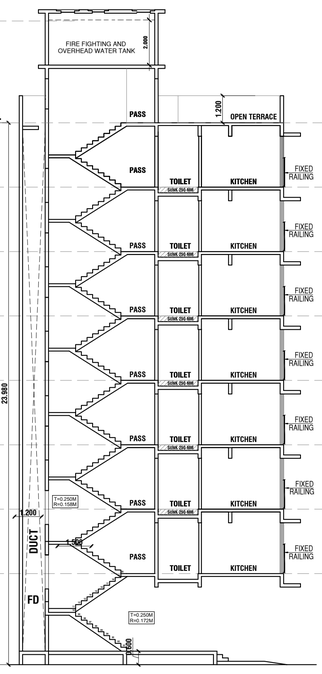

SECTION AA'

BUA CALCULATION OF 1 ST TO 6TH FLOOR

BLOCK	NO	X	LENGTH		BREADTH		AREA IN SQ.M.
(PQRS)	1	X	28.253	X	16.715	=	472.249
(A)						=	472.249
DEDUCTIONS							
1	1	X	8.515	X	2.147	=	18.282
2	1	X	1.150	X	4.865	=	5.595
3	1	X	1.550	X	6.015	=	9.323
4	1	X	3.300	X	6.545	=	21.599
5	1	X	3.430	X	5.115	=	17.544
6	1	X	2.776	X	3.745	=	10.396
7	1	X	1.335	X	1.530	=	2.043
8	1	X	2.562	X	5.115	=	13.105
9	1	X	1.500	X	3.035	=	4.553
10	1	X	2.565	X	1.400	=	3.591
11	1	X	0.750	X	1.315	=	0.986
12	1	X	0.563	X	1.915	=	1.078
13	1	X	1.313	X	2.217	=	2.911
14	1	X	3.060	X	0.790	=	2.417
15	1	X	0.820	X	1.315	=	1.078
16	1	X	1.000	X	1.000	=	1.000
17	2	X	1.500	X	1.820	=	5.460
18	1	X	1.965	X	0.731	=	1.436
19	2	X	2.215	X	0.730	=	3.234
20	1	X	2.910	X	2.065	=	6.009
(B)			TOTAL			=	131.640
GROSS AREA (A-B)			472.249	-	131.640	=	340.609
NET BUILT UP AREA OF THE FLOOR							340.609

BUA CALCULATION OF 7TH FLOOR

BLOCK	NO	X	LENGTH		BREADTH		AREA IN SQ.M.
(PQRS)	1	X	28.253	X	11.850	=	334.798
(A)						=	334.798
DEDUCTIONS							
1	1	X	0.563	X	1.915	=	1.078
2	1	X	1.313	X	5.220	=	6.854
3	1	X	5.922	X	3.003	=	17.784
4	1	X	1.130	X	4.350	=	4.916
5	1	X	1.550	X	1.150	=	1.783
6	1	X	3.450	X	1.680	=	5.796
7	1	X	3.469	X	2.115	=	7.337
8	1	X	6.508	X	4.350	=	28.310
9	1	X	4.965	X	3.135	=	15.565
10	1	X	2.565	X	1.550	=	3.976
11	1	X	0.865	X	1.315	=	1.137
12	1	X	1.000	X	1.000	=	1.000
13	2	X	1.500	X	1.820	=	5.460
14	1	X	0.731	x	1.965	=	1.436
15	2	X	2.215	x	0.730	=	3.234
16	1	x	2.910	x	2.065		6.009
(B)			TOTAL			=	111.674
GROSS AREA (A-B)			334.798	-	111.674	=	223.124
NET BUILT UP AREA OF THE FLOOR							223.124

SURVEY NUMBER .62/48, KALYAN , THANE.

CONTENT OF SHEET | **SHEET- 02 / 02**

2ND TO 7TH FLOOR PLAN ,1ST TO 7TH AREA DIAGRAM,
BUA STATEMENT, TERRACE FLOOR PLAN
SECTION AND ELEVATION

APPROVAL STAMP OF KDMC

PROPOSED RESIDENTIAL BUILDING ON SURVEY NUMBER .62/48, Village - Katemanivali, Kalyan (E) Taluka – Kalyan Dist – Thane.

Certificate of Area
certified that the plot under reference was surveyed by me on .....and the dimensions of sides etc., of plot started on plan are as measured on site and the area so worked out tallies with the area stated in document of ownership / T.P.Scheme Records / Land Records Deparments / city survey records.

Signature
Prajakta Laxman chavan(REG. NO.:CA/2021/131882)

Owner's declaration
I/we undersigned hereby confirm that/we would abide by plan approved by Authority/Collector. I/We would execute the structure as per approved plans. Also I/We would execute the work under supervision of proper technical person so as to ensure the quality and safety at the work site.

For Vedant Realtors through their P.O.A holder Mauli Homes
LLP through its partner Bharatkumar Bhavan Patel .

NORTH

SCALE	:- 1:100
DATE	:- 10-03-2026
DRN. BY.	:- PRAJAKTA
CHKD. BY	:- PRAJAKTA
DRG. No	:- 02

NAME & ADDRESS OF ARCHITECT

PRAJAKTA LAXMAN CHAVAN ARCHITECTS
101, WING, DISMA COMPLEX , KALAMBOLI
NAVI MUMBAI 41018,