VASANT SELEGTIONS															
BUILDING	FLOORS	FSI AREA						BALCONY	TERRACE	LIFT	LIFTWELL	DUCT	VENT	OTHER	TOTAL
		COMM.	RESI.	IND.	EDU.	INS.	MUZZ.	PROP.					SHAFT	DEDUCTION	FSI AREA
VASANT SELEGTIONS	GROUND FLOOR PLAN	467.700	316.016	0.000	0.000	0.000	0.000	0.000	0.000	21.001	0.000	0.000	0.000	6.410	807.306
VASANT SELEGTIONS	20TH	0.000	401.686	0.000	0.000	0.000	0.000	28.462	0.000	0.000	21.001	0.000	0.000	17.210	453.485
VASANT SELEGTIONS	7TH FLOOR PLAN	0.000	517.728	0.000	0.000	0.000	0.000	22.411	0.000	0.000	21.001	0.000	0.000	46.897	546.630
VASANT SELEGTIONS	6TH FLOOR PLAN	0.000	552.462	0.000	0.000	0.000	0.000	28.532	0.000	0.000	21.001	0.000	0.000	17.210	584.281
VASANT SELEGTIONS	1ST 4TH 10TH 11TH 14TH 16TH 17TH	0.000	3935.622	0.000	0.000	0.000	0.000	134.016	0.000	0.000	126.006	0.000	0.000	365.298	3429.316
VASANT SELEGTIONS	2ND 3RD 5TH 8TH 9TH 11TH 14TH 15TH 17TH 19	0.000	6450.290	0.000	0.000	0.000	0.000	285.320	0.000	0.000	210.010	0.000	0.000	172.100	6068.180
VASANT SELEGTIONS	MEZZANINE FLOOR PLAN	248.560	194.960	0.000	0.000	0.000	0.000	0.000	0.000	0.000	21.001	0.000	0.000	20.070	398.449
VASANT SELEGTIONS	TOTAL	744.310	13008.804	0.000	0.000	0.000	0.000	498.741	0.000	21.001	420.020	0.000	0.000	660.795	12272.299

FSI DETAILS											
9 Index	Basic FSI (on serial no 1)	Premium FSI (on serial no 2)	TDR/DR (on serial no 3)	Incentive FSI for green building Applicable (on basic FSI)	Additional FSI (16.10.1 Note 2)	Ancillary Area FSI (2.0+4.0)	Ancillary Area FSI (2.0+4.0)	Total	Inclusive Housing (18Plus) Applicable	Drawing Value
9.1 Permissible Index	1.100	0.500	0.900	0.000	0.000	0.000	0.000	2.500	0.000	0.000
9.2 Existing Consumed Index	0.000	0.000	0.000	0.000	0.000	0.000	0.000	0.000	0.000	0.000
9.3 Balance Index Left To be Consumed	1.100	0.500	0.900	0.000	0.000	0.000	0.000	0.000	0.000	0.000
9.4 Total Permissible PLine Area	3668.400	1622.000	2919.600	0.000	0.000	4329.323	324.848	12764.172	0.000	0.000
9.5 Proposed F Line Area (Column 7+8+9+10 +11+12 except 9.4)	3080.000	1622.000	2919.600	0.000	0.000	4325.651	324.848	12272.299	0.000	12272.299
9.6 Index Consumed	0.949	0.500	0.900	0.000	0.000	0.000	0.000	2.349	0.000	0.000

Carpet Area Table								
Building Name	Floor Name	Carpet name	Tenement No	Carpet Area	Enclosed Balcony Area	Normal Balcony Area	Weaseoite Area	Total Carpet Area
VASANT SELEGTIONS	2ND 3RD 5TH 8TH 9TH 11TH 14TH 16TH 17TH 19	1	10	65.474	0.000	14.266	0.000	65.474
VASANT SELEGTIONS	2ND 3RD 5TH 8TH 9TH 11TH 14TH 16TH 17TH 19	2	10	76.087	0.000	0.000	0.000	76.087
VASANT SELEGTIONS	2ND 3RD 5TH 8TH 9TH 11TH 14TH 16TH 17TH 19	3	10	69.357	0.000	0.000	0.000	69.357
VASANT SELEGTIONS	2ND 3RD 5TH 8TH 9TH 11TH 14TH 16TH 17TH 19	4	10	65.452	0.000	14.266	0.000	65.452
VASANT SELEGTIONS	2ND 3RD 5TH 8TH 9TH 11TH 14TH 16TH 17TH 19	5	10	76.097	0.000	0.000	0.000	76.097
VASANT SELEGTIONS	2ND 3RD 5TH 8TH 9TH 11TH 14TH 16TH 17TH 19	6	10	69.339	0.000	0.000	0.000	69.339
VASANT SELEGTIONS	1ST 4TH 10TH 11TH 14TH 16TH 18	1	6	50.230	0.000	8.100	0.000	50.230
VASANT SELEGTIONS	1ST 4TH 10TH 11TH 14TH 16TH 18	2	6	52.190	0.000	0.000	0.000	52.190
VASANT SELEGTIONS	1ST 4TH 10TH 11TH 14TH 16TH 18	3	6	69.357	0.000	0.000	0.000	69.357
VASANT SELEGTIONS	1ST 4TH 10TH 11TH 14TH 16TH 18	4	6	83.122	0.000	14.231	0.000	83.122
VASANT SELEGTIONS	1ST 4TH 10TH 11TH 14TH 16TH 18	5	6	59.897	0.000	0.000	0.000	59.897
VASANT SELEGTIONS	1ST 4TH 10TH 11TH 14TH 16TH 18	6	6	69.339	0.000	0.000	0.000	69.339
VASANT SELEGTIONS	6TH FLOOR PLAN	1	1	60.996	0.000	0.000	0.000	60.996
VASANT SELEGTIONS	6TH FLOOR PLAN	2	1	59.889	0.000	0.000	0.000	59.889
VASANT SELEGTIONS	6TH FLOOR PLAN	3	1	69.357	0.000	0.000	0.000	69.357
VASANT SELEGTIONS	6TH FLOOR PLAN	4	1	60.975	0.000	14.266	0.000	60.975
VASANT SELEGTIONS	6TH FLOOR PLAN	5	1	59.898	0.000	0.000	0.000	59.898
VASANT SELEGTIONS	6TH FLOOR PLAN	6	1	69.339	0.000	0.000	0.000	69.339
VASANT SELEGTIONS	7TH FLOOR PLAN	1	1	50.237	0.000	8.145	0.000	50.237
VASANT SELEGTIONS	7TH FLOOR PLAN	2	1	49.198	0.000	0.000	0.000	49.198
VASANT SELEGTIONS	7TH FLOOR PLAN	3	1	69.357	0.000	0.000	0.000	69.357
VASANT SELEGTIONS	7TH FLOOR PLAN	4	1	60.973	0.000	14.266	0.000	60.973
VASANT SELEGTIONS	7TH FLOOR PLAN	5	1	59.897	0.000	0.000	0.000	59.897
VASANT SELEGTIONS	7TH FLOOR PLAN	6	1	69.339	0.000	0.000	0.000	69.339
VASANT SELEGTIONS	20TH	1	1	65.474	0.000	0.000	0.000	65.474
VASANT SELEGTIONS	20TH	2	1	80.177	0.000	0.000	0.000	80.177
VASANT SELEGTIONS	20TH	3	1	65.474	0.000	14.231	0.000	65.474
VASANT SELEGTIONS	20TH	4	1	78.097	0.000	0.000	0.000	78.097
VASANT SELEGTIONS	GROUND FLOOR PLAN	1	1	469.625	0.000	0.000	0.000	469.625

Accomodation Reservation Detail

Reservation Details				Reservation Area Details			
Type	Name	Number	Total Area	Area Already acquired/under AR	Balance area to be acquired	Area of reservation under this proposal	Remarks

Type of Accomodation Reservation (Composite Type but individual Building/wing)

Reservation Details									
Reservation Type	Name	Number	Area of Reservation under this proposal	Required Area of Land as recommended	Required Area of Pot	Proposed Area for Reserved Loor	Required BUA of commercial/ amenity	Proposed BUA of commercial/ amenity	Status

Parking Check (Table 8B)									
			RATIO			Required			
Building Name	USE	TENAMENT AREA	car	scooter	NO OF Tenes/Area/Units	car	scooter	Transport Vehicle/Ambula nce/Min Bus	
VASANT SELEGTIONS	Commercial	- For every 100 sq.m. of floor area or fraction thereof	2	6	469.625	9.393	28.178	-	
VASANT SELEGTIONS	Residential	For every two tenements with carpet area upto 60 sq.m. (Total less than 60 sq.m.)	1	2	106	53.000	106.000	-	
VASANT SELEGTIONS	Residential	- For every tenement having carpet area more than 60 sq.m. but less than 150 sq.m.	1	1	6	6.000	6.000	-	
Total	-	-	-	-	-	68.393	140.178	-	
Visitors parking(5%)	-	-	-	-	-	2.950	5.600		
Total						71.343	145.778	0.000	

Parking Check As Per Multiplying Factor 0.800 (note: 1) If scooter equals to 1 car, proposed composite parking for (car+.32)							
	Required			Proposed			
Building Name	Car	Scooter	Transport Vehicle/Ambula nce/Min bus	Car	Scooter	Transport Vehicle/Ambula nce/Min bus	Status
Total	89	0	0	90	0	0	OK

Telecom Room			
Building	Req. Size	Prop. Size	Status
VASANT SELEGTIONS	Telecomroom	3.000X3.400	OK

SCHEDULE OF OPENING				
BLD NAME	NAME	LENGTH	HEIGHT	Nos.
VASANT SELEGTIONS	V	0.750	0.750	36
VASANT SELEGTIONS	V	0.586	0.750	6

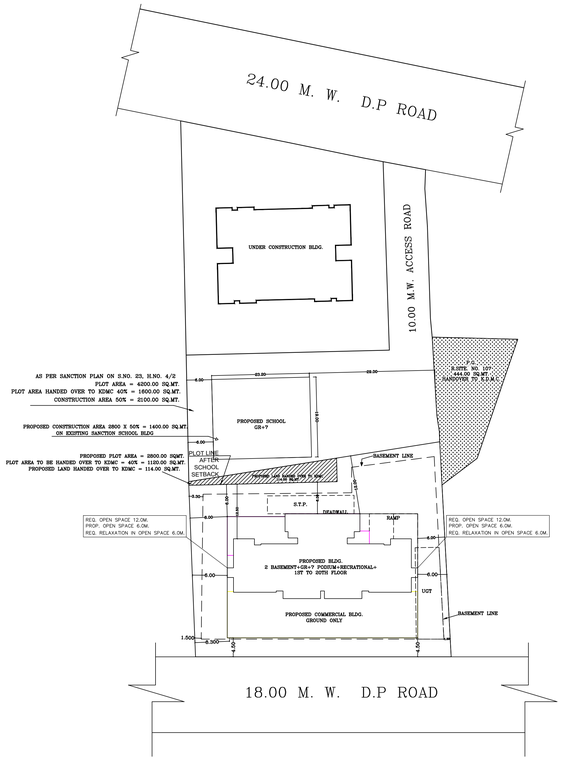

BLOCK PLAN
(SCALE 1 : 500)

LAYOUT PLAN

SCALE 1:500

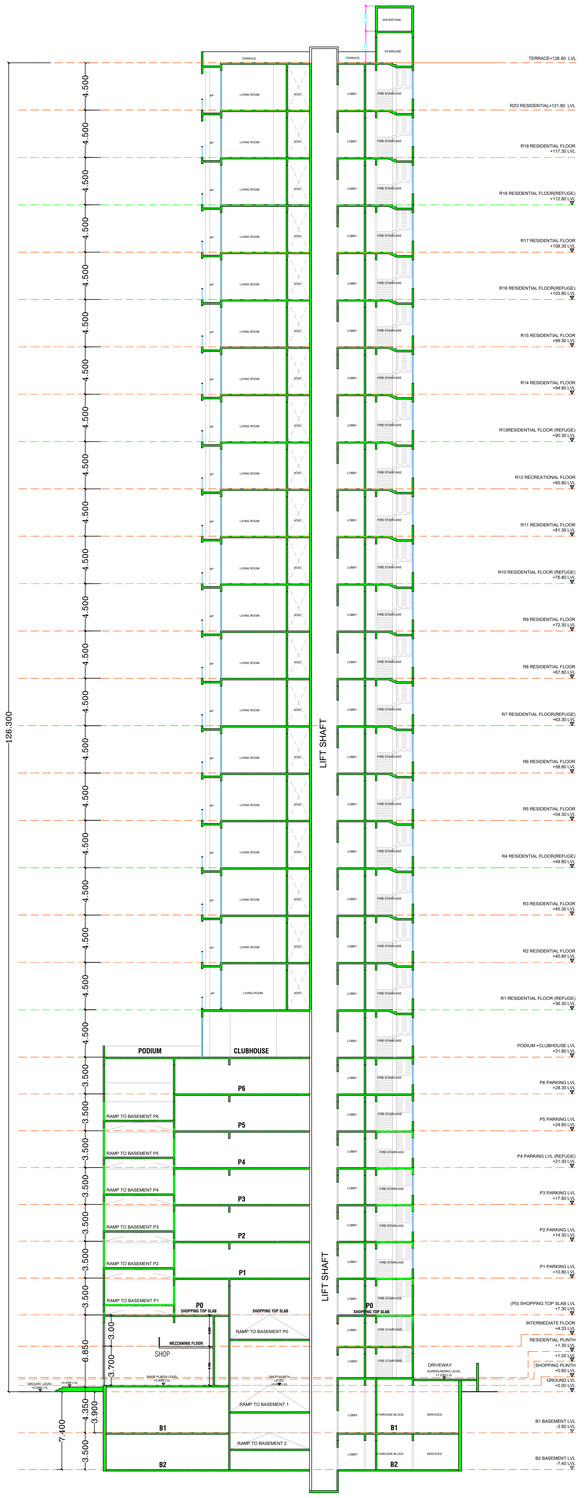

SECTION PLAN B–B

SCALE 1:200

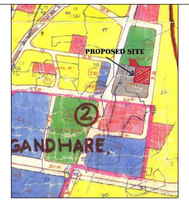

LOCATION PLAN

Project Details
Proposal code: KDMCC-25-135403
Zone Type: Residential Zone
Location: Non-Congested
Name of service: Accommodation reservations
Sub service:
City No./Survey No.: 23
Taluka: Section 2
Mouza: Gandhare
Prorata Value: 0.000
Separation/CRZ Zone Area: 0.000

LEGENDS:
FLOOR PLAN LEGEND
PROPOSED WORK (NEW/A RED)
EXISTING WORK TO REMAIN (LIGHT SHADE)
SECTION LINE SHOWN BLUE DOTTED
ENCLOSED BAL SHOWN BROWN
OPEN BAL SHOWN LIGHT BROWN
COVERED BAL SHOWN BROWN
EXISTING WORK BLUE NATURAL

Reserved for "Room of Approval plan"

LAYOUT PLAN | SHEET NO. 1/6

A.		AREA STATEMENT	
1	A)	AREA OF PLOT	
	a)	As per ownership document (7/12,cts extract) (2800.00 + 444.00)	3244.00
	b)	As per measurement sheet	
	c)	As per site	
2		DEDUCTIONS FOR	
	a)	D.P. ROAD AREA	
	b)	GARDEN RESERVATION AREA	444.00
	c)	P.S. RESERVATION	2800.00
		TOTAL (a+b+c)	
3		BALANCE AREA OF PLOT (1 Minus 2) P.S. RESERVATION	2800.00
4		AMMENITY SPACE IF APPLICABLE	
	a)	REQUIRED	
	b)	ADJUSTMENT OF IF ANY	
	c)	BALANCE PROPOSED	
5		NET PLOT AREA (3-4(C))	2800.00
6		RECREATIONAL OPEN SPACE (IF APPLICABLE)	
	a)	REQUIRED 10%	
	b)	PROPOSED	
7		INTERNAL ROAD AREA	
8		PLOTABLE AREA	
9		BUILT UP AREA WITH REFERANCE TO BASIC FSI AS PER FRONT ROAD WIDTH 2800.00 X 1.10 = 3080.00	3080.00
10		ADDITION OF FSI ON PAYMENT PREMIUM 3244 X 0.5	1622.00
	a)	MAXIMUM PERMISSIBLE PREMIUM FSI BASED ON ROAD WIDTH /TOD ZONE	
	b)	PROPOSED FSI ON PAYMENT OF PREMIUM	
11		IN-SITU FSI/TDR LOADING	
	a)	IN-SITU AREA AGAINST D.P. ROAD SR.NO.2 (a) AS PER SANCTION P.S.RESERVATION 444.00 X 2.00 = 888.00	888.00
	b)	IN-SITU AREA AGAINST AMENITY SPACE IF HANDED OVER (2.00 OR 1.85 X SR. NO.4 (b) AND / or (C)	
	c)	TDR AREA 3244.00 X 0.90 = 2919.60 - 888.00 = 2031.60	2031.60
	d)	TOTAL IN-SITU / TDR LOADING PROPOSED (11 (a)+(b)+(c)	2919.60
12		ADDITIONAL FSI AREA UNDER CHAPTER NO.7	
13		TOTAL ENTITLEMENT OF FSI IN THE PROPOSAL	
	a)	[9+10(b)+11(d)] or 12 WHICHEVER IS APPLICABLE	7621.60
	b)	ANCILLARY AREA FSI UPTO 60% OR 80% WITH PAYMENT OF CHARGES COMMERCIAL 406.061 X 0.8 = 324.848 RESIDENTIAL 7621.60 - 406.061 = 7215.539 X 0.6 = 4329.323 TOTAL = 4654.171 OUT OF THIS = 4654.171	4654.699
	c)	TOTAL ENTITLEMENT (a+b)	12272.299
14		MAXIMUM UTILISATION LIMIT OF FSI (BUILDING POTENTIAL) 1 PERMISSIBLE AS PER ROAD WIDTH As per Regulation no. 6.1 or 6.2 or 6.3 or 6.4 as applicable 2 x 1.0 or 1.5	
15		TOTAL BUILT UP AREA IN PROPOSAL (EXCLUDING AREA AT SR. NO.17(b)	
	a)	EXISTING BUILT UP AREA	12272.299
	a)	PROPOSED BUILT UP AREA (AS PER P LINE)	
	c)	TOTAL (a+b)	
16		FSI CONSUMED (15/13)	
17		AREA FOR INCLUSIVE HOUSING IF ANY	

Certificate of Area:
Certified that the plot under reference was surveyed by me on_____ and the dimensions of sides etc. of plot stated on plan are as measured on site and the area so worked out tallies with the area stated in document of Ownership/ T.P. Scheme Records/Land Records Department/City Survey records.

Signature
(Name of Architect/ Licensed Engineer/ Supervisor.)

Owner's Declaration -
I/We undersigned hereby confirm that I/We would abide by plans approved by Authority / Collector. I/We would execute the structure as per approved plans. Also I/We would execute the work under supervision of proper technical person so as to ensure the quality and safety at the work site.

Owner (s) name and signature

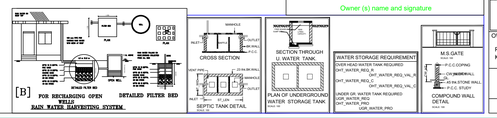

Proforma I : Area Statement

1. Area of plot (Minimum area of a, b, c to be considered)	3244.000
(a) As per ownership document (7/12, CTS extract)	3244.000
(b) as per TILR or City Survey measurement sheet	3244.000
(c) as per Demarcated drawing area	3244.000
LESS	
2.Area not in possession	0.000
3. Area Proposed for development (out of 1-2)	3244.000
4.Deductions for(out of 3)	
(a) Proposed D.P./ D.P. Road widening Area/Proposed DP road, Road under MMC act	0.000
(b) Any D.P. Reservation area	3244.000
(c) Green Belt	0.000
(Total a+b+c)	3244.000
5. Plot Under accommodation Reservation	3244.000
6.Recreational Open Space (Not applicable if plots are from sanctioned layout)	-
(a). If area is more than (5) 4000 sqmt - 10 % of (5) is required.	0.000
Proposed____	0.000
(b). If area is less than 4000 sqmt	-
(A)10 % Subject to minimum 200 sqmt(Not applicable if plots are from sanctioned layout or each plot admeasuring less than 4000sq.m regularised under gunthewari act)	0.000
Proposed _____	0.000
(B)Exemption to leave open space subject to availing basic F.S.I of 75 %	-
(C)Exemption to leave open space subject to payment of 10 % land value of land at (7) as per annual statement of rate.	-
Architect/ Licensed Engineer/ Supervisor name and signature	
Registration No. of Architect/ License no. of Licensed Engineer/ Supervisor: CA/2019/106930	

Name Of : Owner VASANT BUILDCON
THROUGH PARTNER: RITESH KIMTANI

Postal Address : 1902/1 Rosemary Vasant Valley,Khadakpada Village Gandhare,Kalyan,Thane,Maharashtra-421301
Phone No. 9980792297

DESCRIPTION OF PROJECT :

Type of Proposal : Mixed
BUILDING ON CTS. NO./SURVEY NO.-23, H.NO.4/2,S.NO.21/2

SITE ADDRESS :
S.NO. 23, H.NO.4/2,S.NO.21/2, AT GANDHARE, TAL.KALYAN WEST,THANE

Name Of Architect : Tejas Anil Nirgude

LOGO	ADDRESS OF OFFICE
	OFFICE - 5TH FLOOR, MIDTOWN EMBASSY, BEHIND VASANT VALLEY BUS DEPOT, OPP. NARAYANA SCHOOL, GANDHARE, KALYAN - 421301

OWNERS SIGN -	TECHNICAL PERSON SIGN
RITESH MUKESH KIMTANI Digitally signed by RITESH MUKESH KIMTANI Date: 2025.12.18 11:16:00 +05'30'	TEJAS ANIL NIRGUDE Digitally signed by TEJAS ANIL NIRGUDE Date: 2025.12.18 12:53:26 +05'30'

SCALE -	DATE: Date: 16/12/25
JOB NO - KDMCC-25-135403	CHECK BY - ANIL

SUBMISSION DRAWING

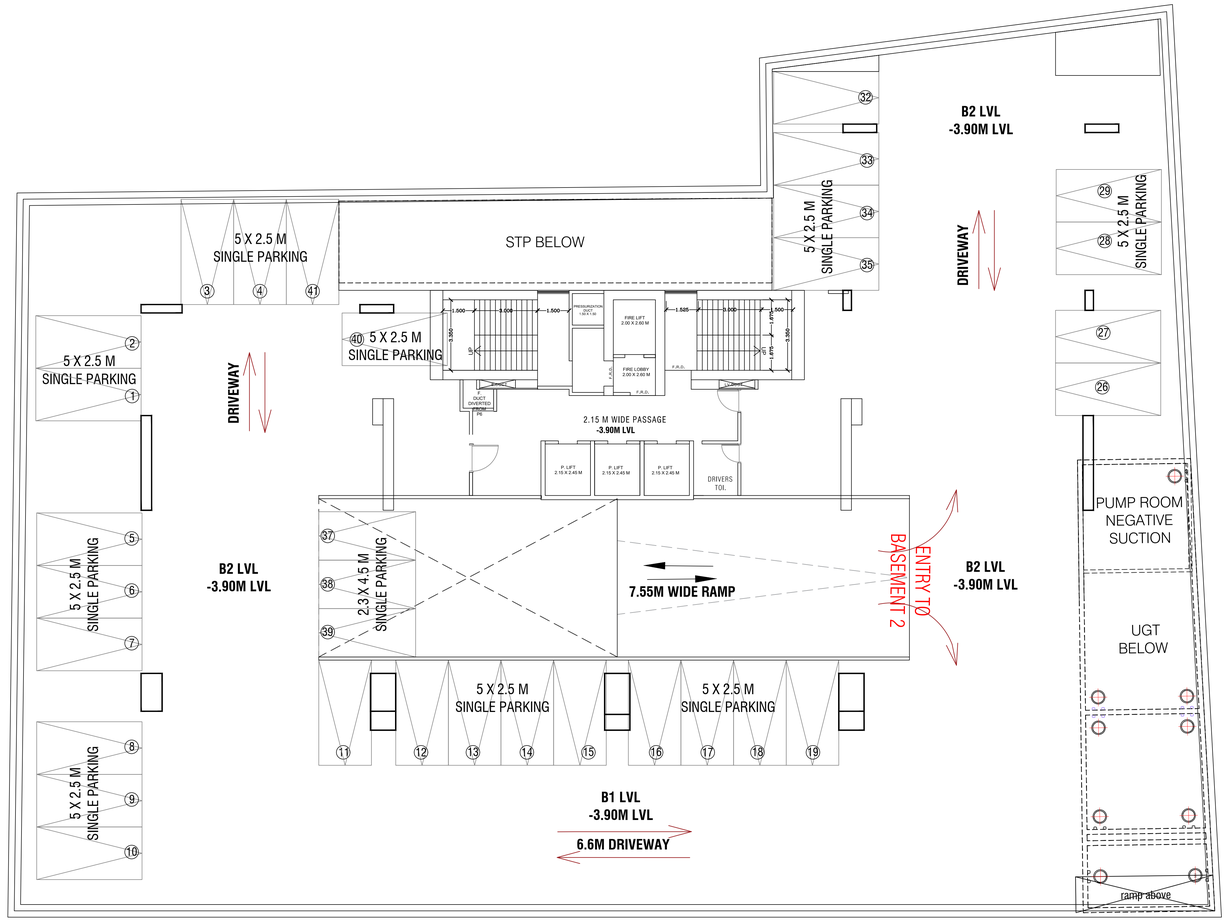

BASEMENT (B2) FLOOR PLAN
SCALE 1:100

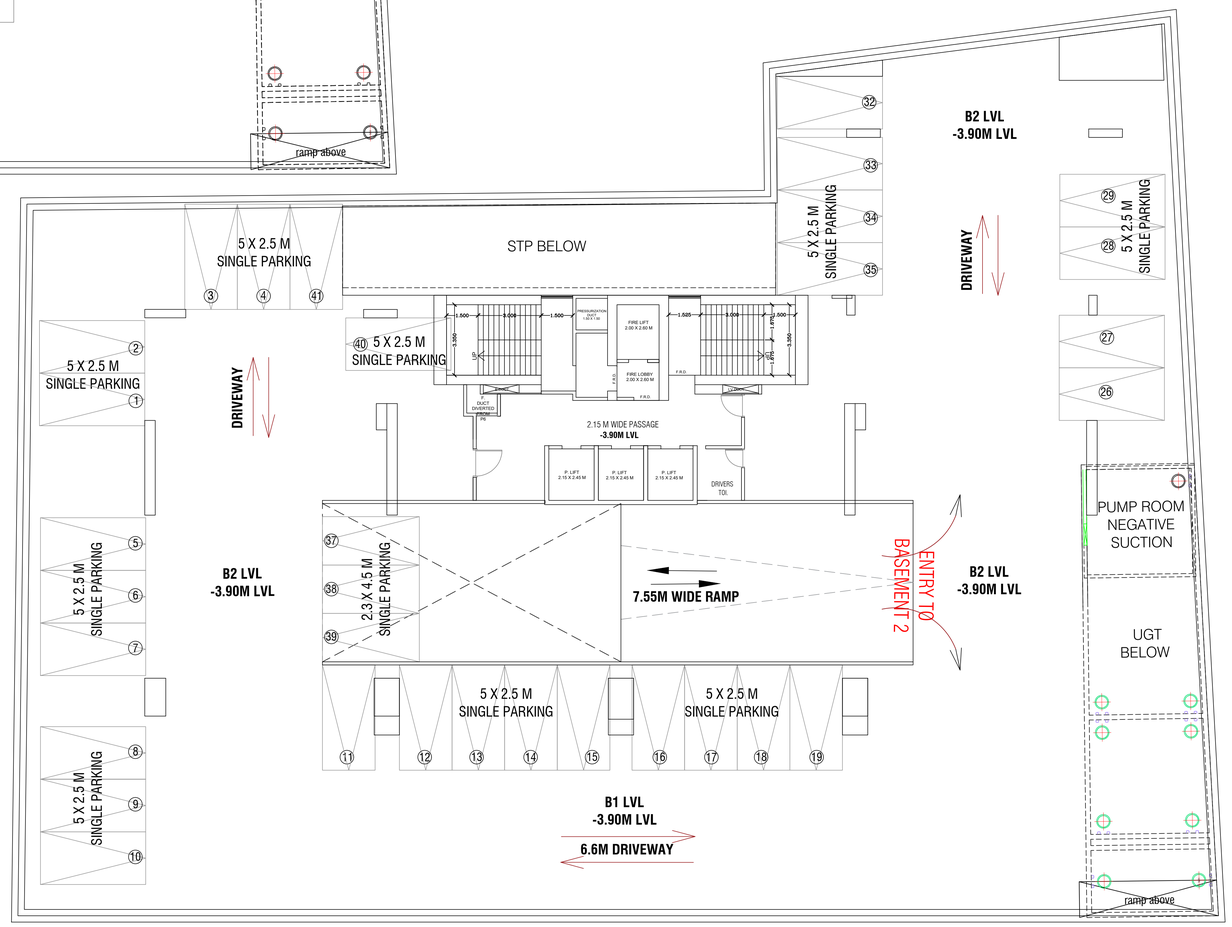

BASEMENT (B1) FLOOR PLAN
SCALE 1:100

Reserved for "RERA" or "Approval" plan

LAYOUT PLAN | SHEET NO. 2/6

Proforma I : Area Statement	
1. Area of plot (Minimum area of a, b, c to be considered) :	3244.000
(a) As per ownership document (7/12, CTS extract)	3244.000
(b) as per TILR or City Survey measurement sheet	3244.000
(c) as per Demarcated drawing area	3244.000
LESS	
2.Area not in possession	0.000
3. Area Proposed for development (out of 1-2)	3244.000
4.Deductions for(out of 3)	
(a) Proposed D.P./ D.P. Road widening Area/Proposed DP road, Road under MMC act	0.000
(b) Any D.P. Reservation area	3244.000
(c) Green Belt	0.000
(Total a+b+c)	3244.000
5. Plot Under accommodation Reservation	3244.000
6.Recreational Open Space (Not applicable if plots are from sanctioned layout)	-
(a). If area is more than (5) 4000 sqmt - 10 % of (5) is required.	0.000
Proposed___	0.000
(b). If area is less than 4000 sqmt	-
(A)10 % Subject to minimum 200 sqmt(Not applicable if plots are from sanctioned layout or each plot admesuring less than 4000sq.m regularised under gunthewari act)	0.000
Proposed ____	0.000
(B)Exemption to leave open space subject to availing basic F.S.I of 75 %	-
(C)Exemption to leave open space subject to payment of 10 % land value of land at (7) as per annual statement of rate.	-
Architect/ Licensed Engineer/ Supervisor name and signature	
Registration No. of Architect/ License no. of Licensed Engineer/ Supervisor: CA/2019/106930	

Name Of : Owner VASANT BUILDCON

Postal Address : 1902/1 Rosemary Vasant Valley,Khadakpada Village Gandhare,Kalyan,Thane,Maharashtra-421301
Phone No.:9860702207

DESCRIPTION OF PROJECT :

Type of Proposal : Mixed
BUILDING ON CTS. NO./SURVEY NO.-23

SITE ADDRESS :
S.NO. 23,H.NO.42/2,S.NO.21/2,AT GANDHARE TAL.KALYAN WEST,THANE

Name Of Architect : Tejas Anil Nirgude

LOGO	ADDRESS OF OFFICE
	OFFICE : 5TH FLOOR, MIDTOWN EMBASSY, BEHIND VASANT VALLEY BUS DEPOT, OPP. NARAYANA SCHOOL, GANDHARE, KALYAN - 421301

OWNERS SIGN -	TECHNICAL PERSON SIGN
RITESH MUKESH KIMTANI — Digitally signed by RITESH MUKESH KIMTANI Date: 2025.12.18 15:14:19 +05'30'	TEJAS ANIL NIRGUDE — Digitally signed by TEJAS ANIL NIRGUDE Date: 2025.12.18 12:54:09 +05'30'

SCALE -	DATE: Date: 16/12/25
JOB NO - KDMCC-25-135403	CHECK BY - ANIL

SUBMISSION DRAWING

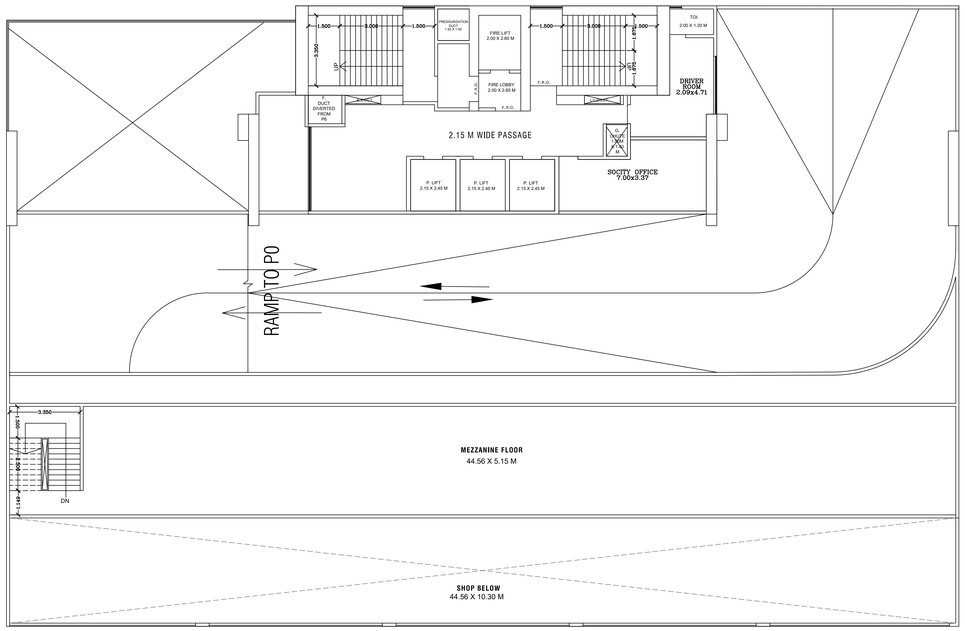

MEZZANINE FLOOR PLAN
SCALE 1:100

BUILT UP AREA CALCULATION FOR MEZZANINE FLOOR PLAN VASANT SELECTIONS			
AREA NAME	LENGTH	WIDTH	Area(Sq.M)
BLOCK	20.014	9.900	198.169
BLOCK AREA TOTAL =198.169Sq.M			
Void8	-	-	2.160
Void34	-	-	2.660
Void33	-	-	2.660
Void32	-	-	2.250
Void31	-	-	1.500
LIftWell24	-	-	5.250
LIftWell23	-	-	5.267
LIftWell22	-	-	5.267
LIftWell21	-	-	5.267
TOTAL Deduction =28.271Sq.M			
Net BuiltUp Area =169.898 Sq.M			

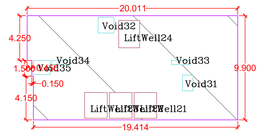

BUILT–UP AREA CALCULATION
MEZZANINE FLOOR
SCALE 1:200

BUILT UP AREA CALCULATION FOR MEZZANINE FLOOR PLAN VASANT SELECTIONS			
AREA NAME	LENGTH	WIDTH	Area(Sq.M)
BLOCK	45.250	5.449	246.580
BLOCK AREA TOTAL =246.580Sq.M			
Void36	-	-	10.400
TOTAL Deduction =10.400Sq.M			
Net BuiltUp Area =233.180 Sq.M			

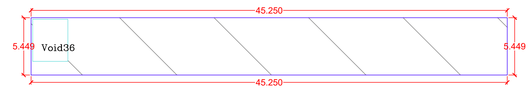

BUILT-UP AREA CALCULATION
MEZZANINE FLOOR
SCALE 1:200

BUILT UP AREA CALCULATION FOR GROUND FLOOR PLAN VASANT SELECTIONS			
AREA NAME	LENGTH	WIDTH	Area(Sq.M)
BLOCK	33.753	9.990	216.016
BLOCK AREA TOTAL =216.016Sq.M			
Void6	-	-	1.400
Void4	-	-	1.400
Void3	-	-	0.660
Void2	-	-	0.660
Void1	-	-	2.250
TOTAL Deduction =6.410Sq.M			
Net BuiltUp Area =209.606 Sq.M			

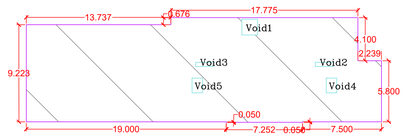

BUILT-UP AREA CALCULATION
GROUND FLOOR
SCALE 1:200

BUILT UP AREA CALCULATION FOR GROUND FLOOR PLAN VASANT SELECTIONS			
AREA NAME	LENGTH	WIDTH	Area(Sq.M)
BLOCK	45.250	11.000	497.750
BLOCK AREA TOTAL =497.750Sq.M			
TOTAL Deduction =0.000Sq.M			
Net BuiltUp Area =497.750 Sq.M			

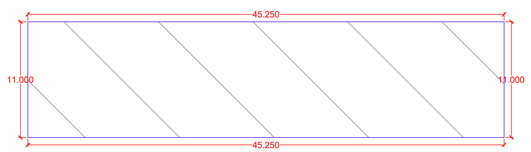

BUILT-UP AREA CALCULATION
GROUND FLOOR
SCALE 1:200

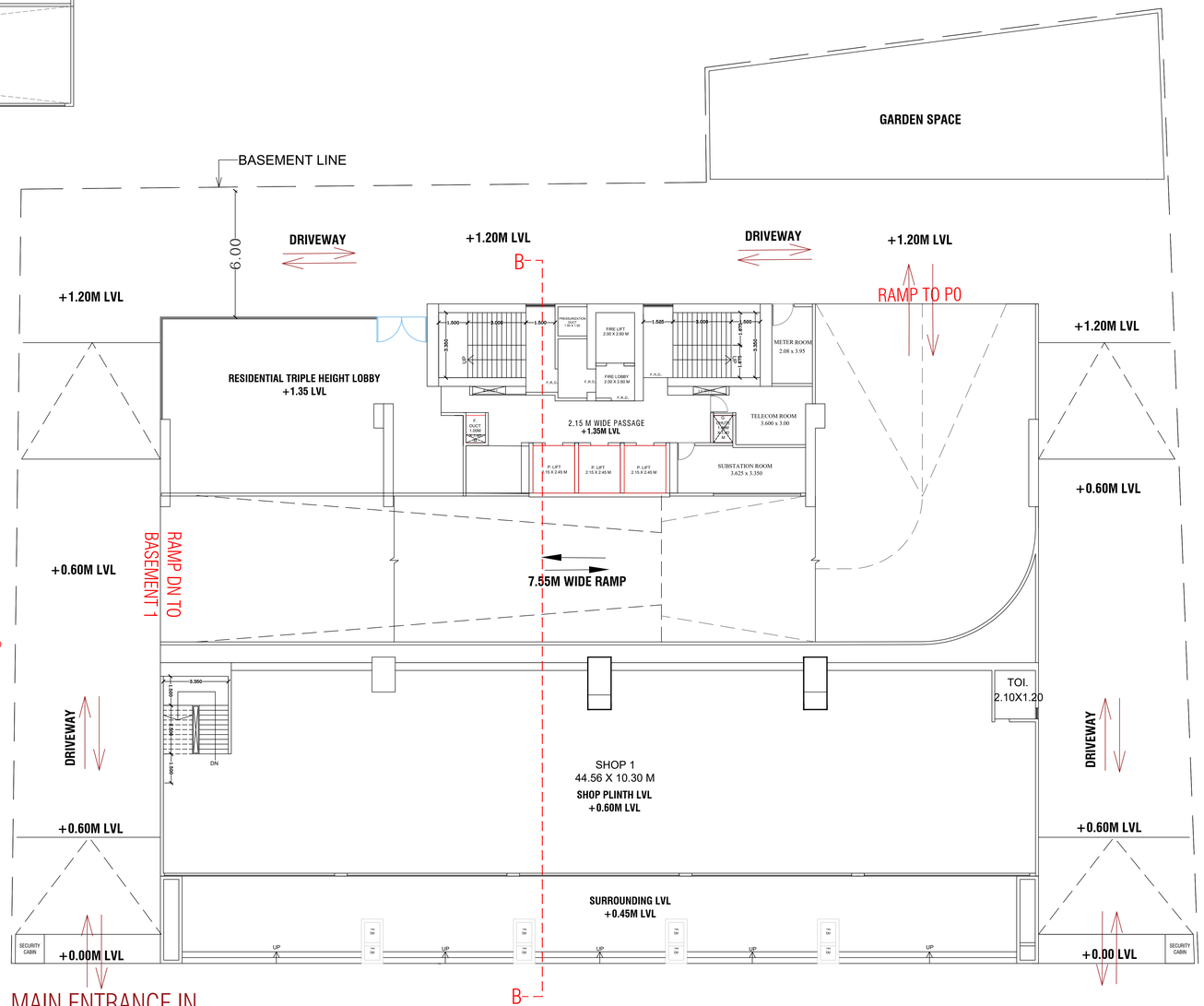

GROUND FLOOR PLAN
SCALE 1:100

Reserved for "Rough of Approval" plan

LAYOUT PLAN | SHEET NO. 3/6

Proforma I : Area Statement	
1. Area of plot (Minimum area of a, b, c to be considered)	3244.000
(a) As per ownership document (7/12, CTS extract)	3244.000
(b) as per TILR or City Survey measurement sheet	3244.000
(c) as per Demarcated drawing area	3244.000
LESS	
2.Area not in possession	0.000
3. Area Proposed for development (out of 1-2)	3244.000
4.Deductions for(out of 3)	
(a) Proposed D.P./ D.P. Road widening Area/Proposed DP road, Road under MMC act	0.000
(b) Any D.P. Reservation area	3244.000
(c) Green Belt	0.000
(Total a+b+c)	3244.000
5. Plot Under accommodation Reservation	3244.000
6.Recreational Open Space (Not applicable if plots are from sanctioned layout)	-
(a). If area is more than (5) 4000 sqmt - 10 % of (5) is required.	0.000
Proposed___	0.000
(b). If area is less than 4000 sqmt	-
(A)10 % Subject to minimum 200 sqmt(Not applicable if plots are from sanctioned layout or each plot admeuring less than 4000sq.m regularised under gunthewari act)	0.000
Proposed _____	0.000
(B)Exemption to leave open space subject to availing basic F.S.I of 75 %	-
(C)Exemption to leave open space subject to payment of 10 % land value of land at (7) as per annual statement of rate.	-
Architect/ Licensed Engineer/ Supervisor name and signature	
Registration No. of Architect/ License no. of Licensed Engineer/ Supervisor: CA/2019/106930	

Name Of : Owner VASANT BUILDCON

Postal Address : 1902/1 Rosemary Vasant Valley,Khadakpada Village Gandhare,Kalyan,Thane,Maharashtra-421301
Phone No.:9860792297

DESCRIPTION OF PROJECT :

Type of Proposal : Mixed
BUILDING ON CTS. NO./SURVEY NO.-23

SITE ADDRESS :
S.NO. 23,H.NO.4/2,S.NO.21/2,AT GANDHARE TAL.KALYAN WEST,THANE

Name Of Architect : Tejas Anil Nirgude

LOGO | ADDRESS OF OFFICE
OFFICE -
5TH FLOOR, MIDTOWN EMBASSY, BEHIND VASANT VALLEY BUS DEPOT, OPP. NARAYANA SCHOOL, GANDHARE, KALYAN - 421301

OWNERS SIGN - RITESH MUKESH KIMTANI — Digitally signed by RITESH MUKESH KIMTANI Date: 2025.12.16 09:58:17 +05'30'

TECHNICAL PERSON SIGN — TEJAS ANIL NIRGUDE — Digitally signed by TEJAS ANIL NIRGUDE Date: 2025.12.18 12:53:00 +05'30'

SCALE -	DATE: Date: 16/12/25
JOB NO - KDMCC-25-135403	CHECK BY - ANIL

SUBMISSION DRAWING

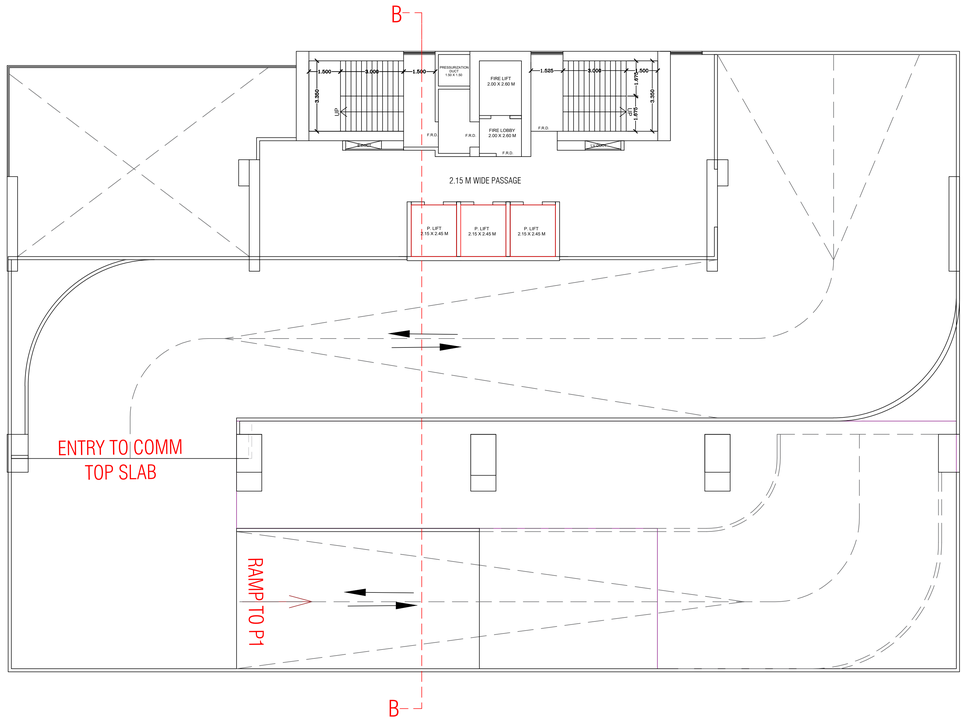

P0 LVL FLOOR PLAN
SCALE 1:100

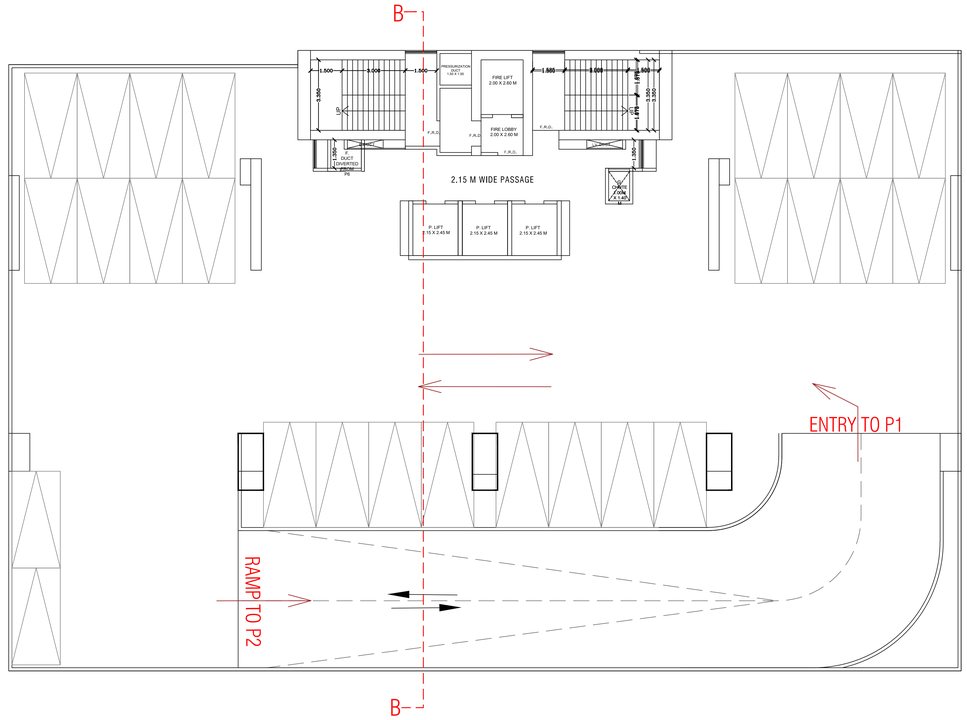

P1 TO P3 & P5 FLOOR PLAN
SCALE 1:100

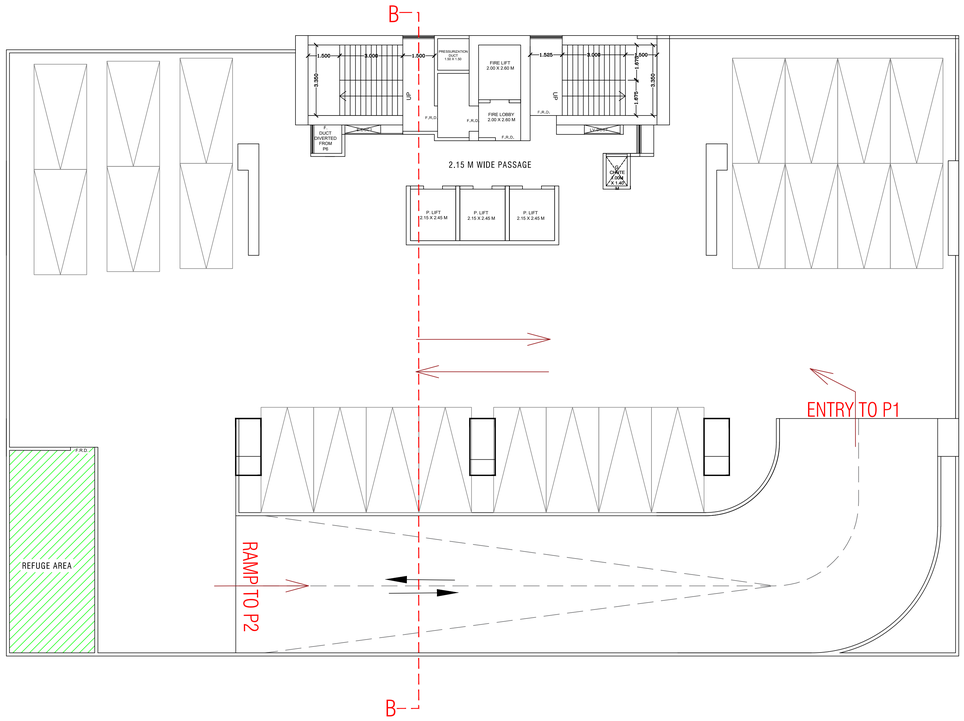

P4 LVL FLOOR PLAN
SCALE 1:100

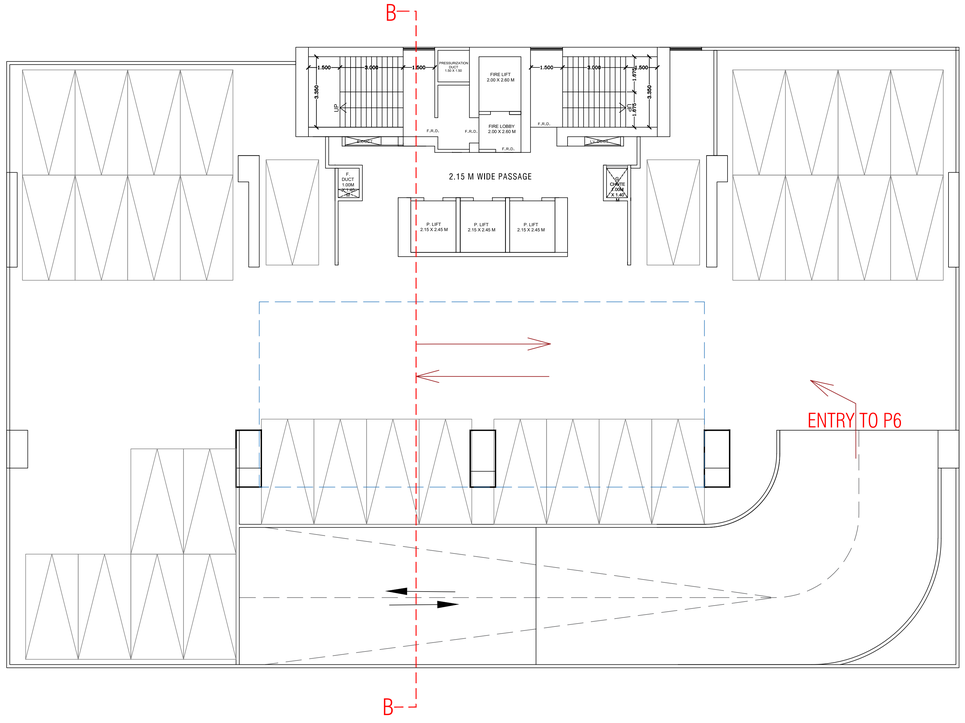

P6 LVL FLOOR PLAN
SCALE 1:100

Reserved for "Room of Approval" plan

LAYOUT PLAN | SHEET NO. 4/6

Proforma I : Area Statement	
1. Area of plot (Minimum area of a, b, c to be considered)	3244.000
(a) As per ownership document (7/12, CTS extract)	3244.000
(b) as per TILR or City Survey measurement sheet	3244.000
(c) as per Demarcated drawing area	3244.000
LESS	
2.Area not in possession	0.000
3. Area Proposed for development (out of 1-2)	3244.000
4.Deductions for(out of 3)	
(a) Proposed D.P./ D.P. Road widening Area/Proposed DP road, Road under MMC act	0.000
(b) Any D.P. Reservation area	3244.000
(c) Green Belt	0.000
(Total a+b+c)	3244.000
5. Plot Under accommodation Reservation	3244.000
6.Recreational Open Space (Not applicable if plots are from sanctioned layout)	-
(a). If area is more than (5) 4000 sqmt - 10 % of (5) is required.	0.000
Proposed___	0.000
(b). If area is less than 4000 sqmt	-
(A)10 % Subject to minimum 200 sqmt(Not applicable if plots are from sanctioned layout or each plot admesuring less than 4000sq.m regularised under gunthewari act)	0.000
Proposed _____	0.000
(B)Exemption to leave open space subject to availing basic F.S.I of 75 %	-
(C)Exemption to leave open space subject to payment of 10 % land value of land at (7) as per annual statement of rate.	-
Architect/ Licensed Engineer/ Supervisor name and signature	
Registration No. of Architect/ License no. of Licensed Engineer/ Supervisor: CA/2019/106930	

Name Of : Owner VASANT BUILDCON

Postal Address : 1902/1 Rosemary Vasant Valley,Khadakpada Village Gandhare,Kalyan,Thane,Maharashtra-421301
Phone No. 9980792297

DESCRIPTION OF PROJECT :

Type of Proposal : Mixed
BUILDING ON CTS. NO./SURVEY NO.:-23

SITE ADDRESS :
S.NO. 23,H.NO.4/2,S.NO.21/2,AT GANDHARE TAL.KALYAN WEST,THANE

Name Of Architect : Tejas Anil Nirgude

LOGO	ADDRESS OF OFFICE
	OFFICE - 5TH FLOOR, MIDTOWN EMBASSY, BEHIND VASANT VALLEY BUS DEPOT, OPP: NARAYANA SCHOOL, GANDHARE, KALYAN - 421301

OWNERS SIGN -	TECHNICAL PERSON SIGN
RITESH MUKESH KIMTANI — Digitally signed by RITESH MUKESH KIMTANI Date: 2025.12.16 15:21:19 +05'30'	TEJAS ANIL NIRGUDE — Digitally signed by TEJAS ANIL NIRGUDE Date: 2025.12.16 12:58:21 +05'30'

	SCALE -	DATE: Date: 16/12/25
	JOB NO - KDMCC-25-135403	CHECK BY - ANIL

SUBMISSION DRAWING

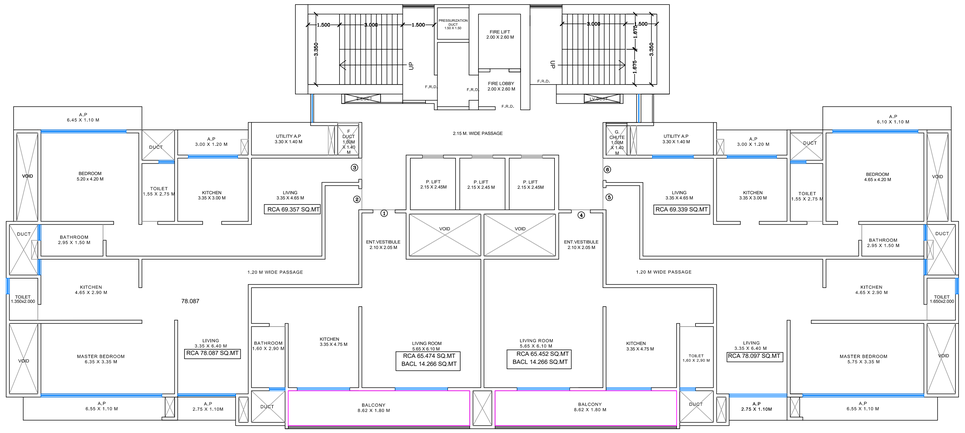

(2ND,3RD,5TH,8TH,9TH,11TH,14TH,15TH,17TH,19TH)
FLOOR PLAN
SCALE 1:100

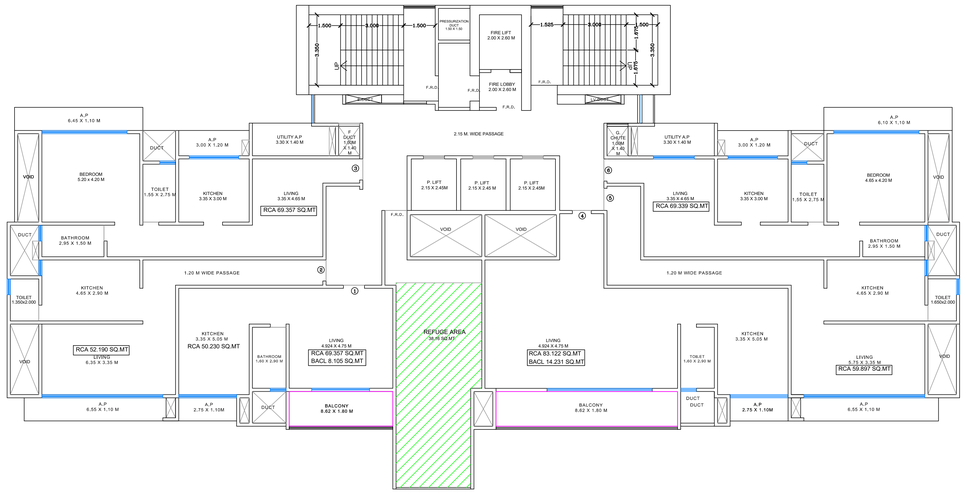

(1ST,4TH,10TH,13TH,16TH,18TH)
FLOOR PLAN
SCALE 1:100

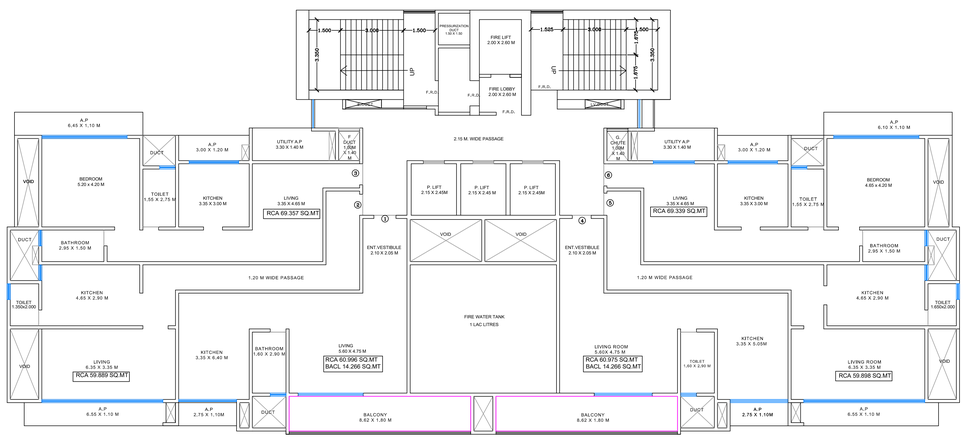

6TH FLOOR PLAN
SCALE 1:100

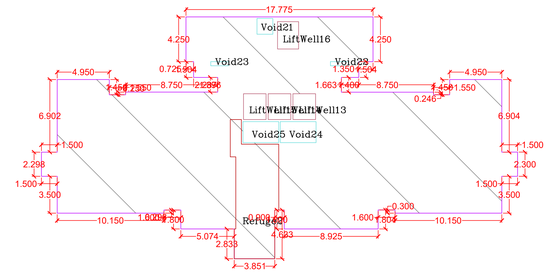

BUILT UP AREA CALCULATION FOR 1ST,4TH,10TH,13TH,16TH,18TH VARIANT BELAEDIONS			
AREA NAME	LENGTH	WIDTH	Area(Sq.M)
BLOCK	45.090	22.987	955.607
BLOCK AREA TOTAL =955.607Sq.M			
Refuge2	-	-	46.173
Void25	-	-	6.800
Void24	-	-	6.800
Void23	-	-	0.680
Void22	-	-	0.680
Void21	-	-	2.250
LiftWell16	-	-	5.250
LiftWell15	-	-	5.267
LiftWell14	-	-	5.267
LiftWell13	-	-	5.267
TOTAL Deduction =64.3645sq.M			
Net BuiltUp Area =871.93 Sq.M			

BUILT-UP AREA CACLCULATION
(2ND,3RD,5TH,8TH,9TH,11TH,14TH,15TH,17TH,19TH)
SCALE 1:200

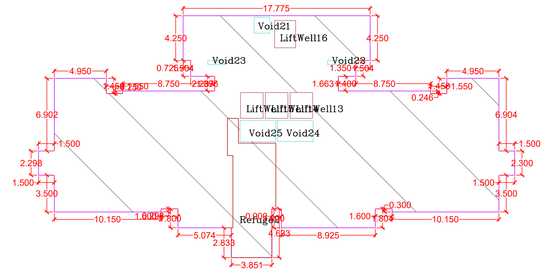

BUILT UP AREA CALCULATION FOR 1ST,4TH,10TH,13TH,16TH,18TH VARIANT BELAEDIONS			
AREA NAME	LENGTH	WIDTH	Area(Sq.M)
BLOCK	45.090	22.987	955.607
BLOCK AREA TOTAL =955.607Sq.M			
Refuge2	-	-	46.173
Void25	-	-	6.800
Void24	-	-	6.800
Void23	-	-	0.680
Void22	-	-	0.680
Void21	-	-	2.250
LiftWell16	-	-	5.250
LiftWell15	-	-	5.267
LiftWell14	-	-	5.267
LiftWell13	-	-	5.267
TOTAL Deduction =64.3645sq.M			
Net BuiltUp Area =871.93 Sq.M			

BUILT-UP AREA CACLCULATION
(1ST,4TH,10TH,13TH,16TH,18TH)
SCALE 1:200

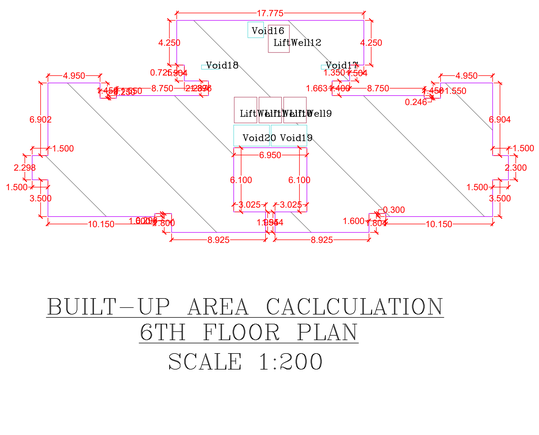

BUILT UP AREA CALCULATION FOR 6TH FLOOR PLAN VASANT BELAEDIONS			
AREA NAME	LENGTH	WIDTH	Area(Sq.M)
BLOCK	45.090	20.154	902.430
BLOCK AREA TOTAL =902.430Sq.M			
Void20	-	-	6.800
Void19	-	-	6.800
Void18	-	-	0.680
Void17	-	-	0.680
Void16	-	-	2.250
LiftWell12	-	-	5.250
LiftWell11	-	-	5.267
LiftWell10	-	-	5.267
LiftWell9	-	-	5.267
TOTAL Deduction =58.2115sq.M			
Net BuiltUp Area =844.2185 Sq.M			

BUILT-UP AREA CACLCULATION
6TH FLOOR PLAN
SCALE 1:200

Reserved for "Room of Approval" plan

LAYOUT PLAN | SHEET NO. 5/6

Proforma I : Area Statement

1. Area of plot (Minimum area of a, b, c to be considered)	3244.000
(a) As per ownership document (7/12, CTS extract)	3244.000
(b) as per TILR or City Survey measurement sheet	3244.000
(c) as per Demarcated drawing area	3244.000
LESS	
2.Area not in possession	0.000
3. Area Proposed for development (out of 1-2)	3244.000
4.Deductions for(out of 3)	
(a) Proposed D.P./ D.P. Road widening Area/Proposed DP road, Road under MMC act	0.000
(b) Any D.P. Reservation area	3244.000
(c) Green Belt	0.000
(Total a+b+c)	3244.000
5. Plot Under accommodation Reservation	3244.000
6.Recreational Open Space (Not applicable if plots are from sanctioned layout)	-
(a). If area is more than (5) 4000 sqmt - 10 % of (5) is required.	0.000
Proposed____	0.000
(b). If area is less than 4000 sqmt	-
(A)10 % Subject to minimum 200 sqmt(Not applicable if plots are from sanctioned layout or each plot admesuring less than 4000sq.m regularised under gunthewari act)	0.000
Proposed ____	0.000
(B)Exemption to leave open space subject to availing basic F.S.I of 75 %	-
(C)Exemption to leave open space subject to payment of 10 % land value of land at (7) as per annual statement of rate.	-
Architect/ Licensed Engineer/ Supervisor name and signature	
Registration No. of Architect/ License no. of Licensed Engineer/ Supervisor: CA/2019/106930	

Name Of : Owner VASANT BUILDCON

Postal Address : 1902/1 Rosemary Vasant Valley,Khadakpada Village Gandhare,Kalyan,Thane,Maharashtra-421301
Phone No.:9860792297

DESCRIPTION OF PROJECT :

Type of Proposal : Mixed
BUILDING ON CTS. NO./SURVEY NO.-23

SITE ADDRESS :
S.NO. 23,H.NO.4/2,S.NO.21/2,AT GANDHARE TAL.KALYAN WEST,THANE

Name Of Architect : Tejas Anil Nirgude

LOGO | ADDRESS OF OFFICE
OFFICE -
5TH FLOOR, MIDTOWN EMBASSY, BEHIND VASANT VALLEY BUS DEPOT, OPP. NARAYANA SCHOOL, GANDHARE, KALYAN - 421301

OWNERS SIGN - RITESH MUKESH KIMTANI — Digitally signed by RITESH MUKESH KIMTANI, Date: 2025.11.14 15:22:17 +05'30'

TECHNICAL PERSON SIGN — TEJAS ANIL NIRGUDE — Digitally signed by TEJAS ANIL NIRGUDE, Date: 2025.11.14 15:22:25 +05'30'

SCALE -	DATE: Date: 16/12/25
JOB NO - KDMCC-25-135403	CHECK BY - ANIL

SUBMISSION DRAWING

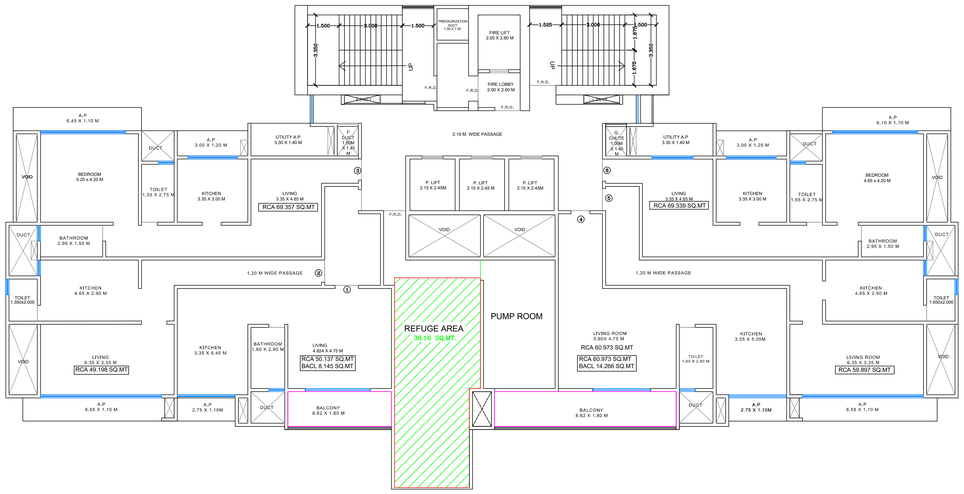

7TH FLOOR PLAN
SCALE 1:100

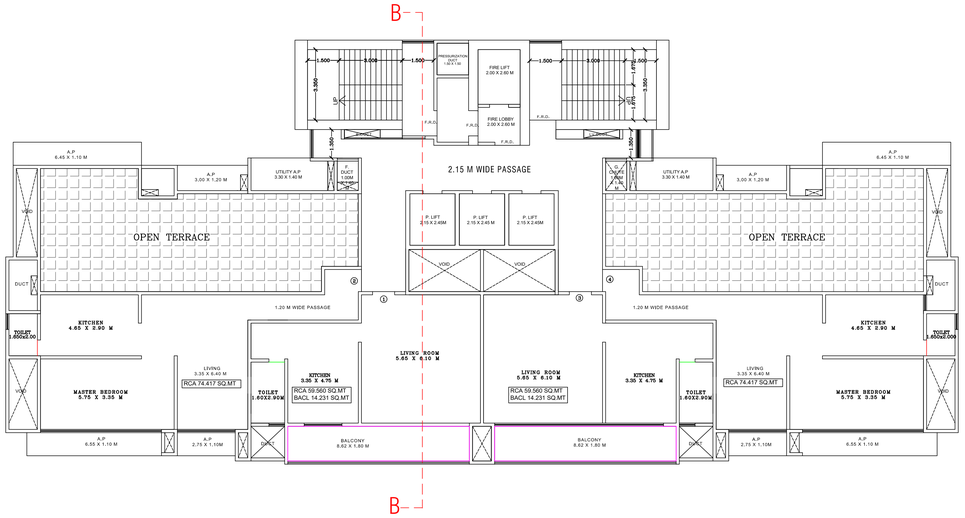

20TH FLOOR PLAN
SCALE 1:100

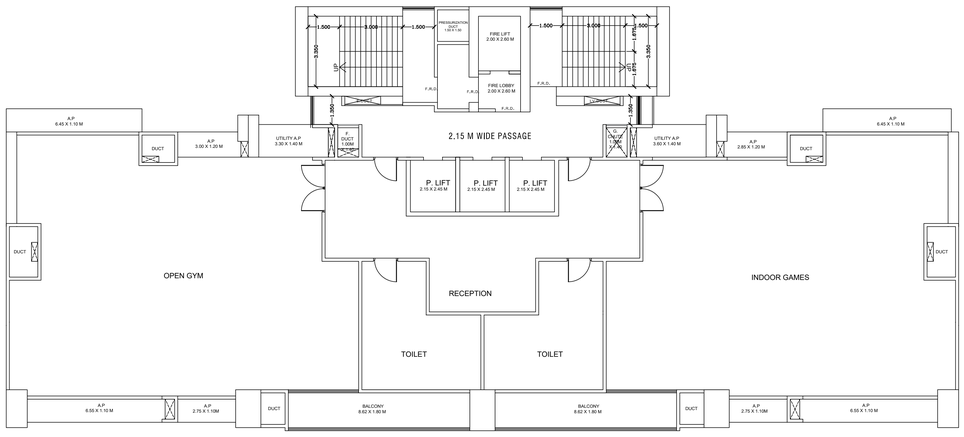

RECREATIONAL FLOOR PLAN(12TH FLOOR)
SCALE 1:100

BUILT-UP AREA CALCULATION FOR LIFT FLOOR PLAN SECTIONS

AREA NAME	LENGTH	WIDTH	Area(Sq.M)
BLOCK	45.250	20.154	917.726
BLOCK AREA TOTAL =917.726Sq.M			
Refuge1	-	-	29.687
Void13	-	-	8.800
Void14	-	-	6.600
Void13	-	-	0.660
Void12	-	-	0.660
Void11	-	-	2.250
LiftWell8	-	-	0.350
LiftWell7	-	-	0.267
LiftWell6	-	-	0.267
LiftWell5	-	-	0.267
TOTAL Deduction =87.666Sq.M			
Net BuiltUp Area =829.830 Sq.M			

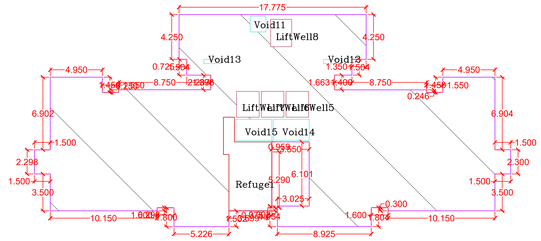

BUILT-UP AREA CACLCULATION
7TH FLOOR PLAN
SCALE 1:200

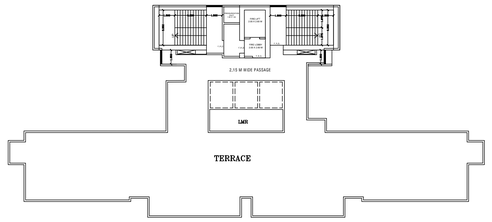

TERRACE PLAN
SCALE 1:200

BUILT-UP AREA CALCULATION FOR LIFT FLOOR PLAN SECTIONS

AREA NAME	LENGTH	WIDTH	Area(Sq.M)
BLOCK	45.250	20.154	917.726
BLOCK AREA TOTAL =917.726Sq.M			
Void10	-	-	8.800
Void9	-	-	8.800
Void8	-	-	0.660
Void7	-	-	0.660
Void6	-	-	2.250
LiftWell4	-	-	0.250
LiftWell3	-	-	0.267
LiftWell2	-	-	0.267
LiftWell1	-	-	0.267
TOTAL Deduction =38.215Sq.M			
Net BuiltUp Area =879.511 Sq.M			

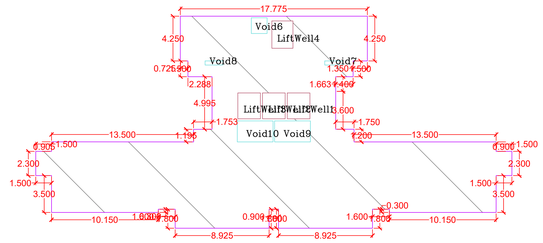

BUILT-UP AREA CACLCULATION
20TH FLOOR PLAN
SCALE 1:200

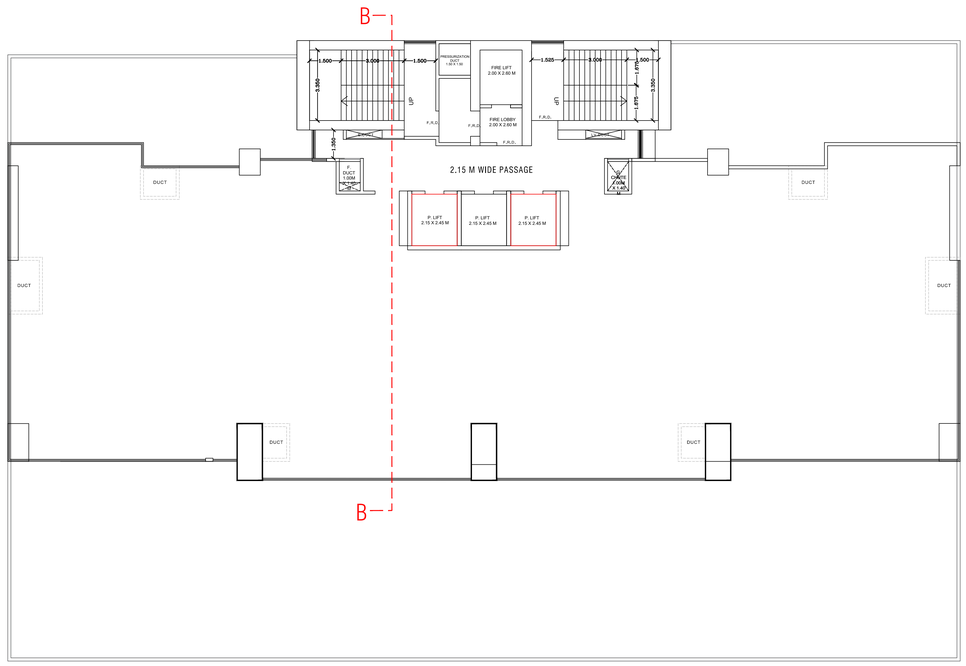

RECREATIONAL FLOOR PLAN
SCALE 1:100

Reserved for "Room for Approval" plan

LAYOUT PLAN | SHEET NO. 6/6

Proforma 1 : Area Statement

1. Area of plot (Minimum area of a, b, c to be considered)	3244.000
(a) As per ownership document (7/12, CTS extract)	3244.000
(b) as per TILR or City Survey measurement sheet	3244.000
(c) as per Demarcated drawing area	3244.000
LESS	
2.Area not in possession	0.000
3. Area Proposed for development (out of 1-2)	3244.000
4.Deductions for(out of 3)	
(a) Proposed D.P./ D.P. Road widening Area/Proposed DP road, Road under MMC act	0.000
(b) Any D.P. Reservation area	3244.000
(c) Green Belt	0.000
(Total a+b+c)	3244.000
5. Plot Under accommodation Reservation	3244.000
6.Recreational Open Space (Not applicable if plots are from sanctioned layout)	-
(a). If area is more than (5) 4000 sqmt - 10 % of (5) is required.	0.000
Proposed____	0.000
(b). If area is less than 4000 sqmt	-
(A)10 % Subject to minimum 200 sqmt(Not applicable if plots are from sanctioned layout or each plot adressuring less than 4000sq.m regularised under gunthewari act)	0.000
Proposed _____	0.000
(B)Exemption to leave open space subject to availing basic F.S.I of 75 %	-
(C)Exemption to leave open space subject to payment of 10 % land value of land at (7) as per annual statement of rate.	-
Architect/ Licensed Engineer/ Supervisor name and signature	
Registration No. of Architect/ License no. of Licensed Engineer/ Supervisor: CA/2019/106930	

Name Of : Owner VASANT BUILDCON

Postal Address : 1902/1 Rosemary Vasant Valley,Khadakpada Village Gandhare,Kalyan,Thane,Maharashtra-421301
Phone No. 9860792297

DESCRIPTION OF PROJECT :

Type of Proposal : Mixed
BUILDING ON CTS. NO./SURVEY NO.-23

SITE ADDRESS :
S.NO. 23,H.NO.4/2,S.NO.21/2,AT GANDHARE TAL.KALYAN WEST,THANE

Name Of Architect : Tejas Anil Nirgude

LOGO | ADDRESS OF OFFICE
OFFICE -
5TH FLOOR, MIDTOWN EMBASSY, BEHIND VASANT VALLEY BUS DEPOT, OPP. NARAYANA SCHOOL, GANDHARE, KALYAN - 421301

OWNERS SIGN - RITESH MUKESH KIMTANI — Digitally signed by RITESH MUKESH KIMTANI, Date: 2025.12.18 12:12:23 +05'30'

TECHNICAL PERSON SIGN — TEJAS ANIL NIRGUDE — Digitally signed by TEJAS ANIL NIRGUDE, Date: 2025.12.18 13:04:28 +05'30'

SCALE - | DATE: Date: 16/12/25
JOB NO - KDMCC-25-135403 | CHECK BY - ANIL

SUBMISSION DRAWING