Vaastutv															
BUILDING	FLOORS	FSI AREA						BALCONY	TERRACE	LIFT	LIFTWELL	DUCT	VENT	OTHER	TOTAL
		COMM.	RESI.	IND.	EDU.	INS.	MEZZ.	PROP.					SHAFT	DEDUCTION	FSI AREA
Vaastutv	7TH REFUGE FLOOR	0.000	493.799	0.000	0.000	0.000	0.000	54.287	0.000	0.000	13.940	18.505	0.000	21.983	439.371
Vaastutv	3RD TO 6TH AND 8TH FLOOR	0.000	2436.260	0.000	0.000	0.000	0.000	271.445	0.000	0.000	69.700	92.525	0.000	0.000	2274.035
Vaastutv	2ND FLOOR	0.000	487.252	0.000	0.000	0.000	0.000	54.287	0.000	0.000	13.940	18.505	0.000	0.000	454.807
Vaastutv	1ST FLOOR	502.297	54.888	0.000	0.000	0.000	0.000	59.669	0.000	0.000	19.698	0.000	0.000	6.546	530.941
Vaastutv	GROUND FLOOR	253.231	146.793	0.000	0.000	0.000	0.000	0.000	0.000	0.000	19.698	0.000	0.000	0.000	400.024
Vaastutv	TOTAL	755.528	3618.992	0.000	0.000	0.000	0.000	439.688	0.000	0.000	19.698	117.278	129.535	0.000	28.529	4099.178

FSI DETAILS											
9 Index	Basic FSI (on serial no 7)	Premium FSI (on serial no 3)	TDR/DR (on serial no 3)	Incentive FSI for green building ,If Applicable (on basic FSI)	Additional FSI (10.10.1 Note:3)	Ancillary Area 60% of (2+3+4+5)	Ancillary Area 80% of (2+3+4+5)	Total	Inclusive Housing (20%) If Applicable	Drawing Value
9.1 Permissible Index	1.100	0.500	1.400	0.000	0.000	0.000	0.000	3.000	0.000	0.000
9.2 Existing Consumed Index	0.000	0.000	0.000	0.000	0.000	0.000	0.000	0.000	0.000	0.000
9.3 Balance Index to be Consumed	1.100	0.500	1.400	0.000	0.000	0.000	0.000	0.000	0.000	0.000
9.4 Total Permissible PLine Area	1215.586	1595.000	4466.000	0.000	0.000	1292.160	330.320	8899.066	0.000	0.000
9.5 Proposed P Line Area (Should not exceed 9.4)	1215.500	0.000	1351.000	0.000	0.000	1202.358	330.320	4099.178	0.000	4099.178
9.6 Index Consumed	1.100	0.000	0.424	0.000	0.000	0.000	0.000	1.523	0.000	0.000

Telecom Room			
Building	Req. Size	Prop. Size	Status
Vaastutv	3.000X3.400	3.000X3.400	OK

SCHEDULE OF OPENING				
BLD NAME	NAME	LENGTH	HEIGHT	Nos.
Vaastutv	V	0.600	0.600	59

Area utilisation of Roads and Reservations						
Description of area utilisation			surrendered Area in(SqM)	Quatam of DR/TDR generation	Total Quatam of DR/TDR generation	Area considered for DR utilisation	Remaining area for DRC generation
BUILDING	Reservation type	reseravation no	Name				
-	-	30.000.m DP Road Widening	1861.301	3722.602	3722.602	0.000	0.000
-	-	30.000.m DP Road Widening	223.621	447.242	447.242	0.000	0.000
-	-	Total	2084.922	4169.844	4169.844	0.000	4169.844

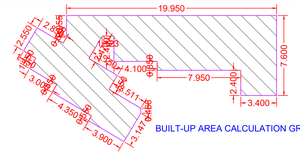

BUILT-UP AREA CALCULATION GROUND FLOOR Vaastutv

BUILT UP AREA CALCULATION FOR GROUND FLOOR Vaastutv			
AREA NAME	LENGTH	WIDTH	Area(Sq.M)
BLOCK	24.039	11.984	146.793
BLOCK AREA TOTAL =146.793Sq.M			
TOTAL Deduction =0.000Sq.M			
Net BuiltUp Area =146.793 Sq.M			

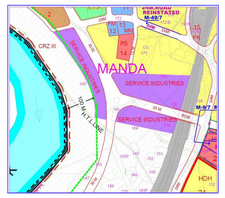

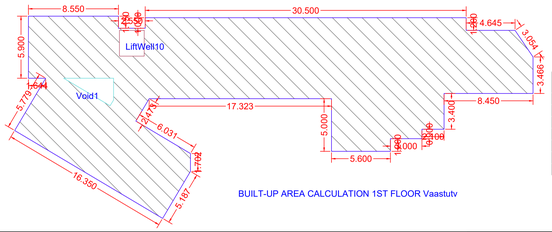

BUILT-UP AREA CALCULATION 1ST FLOOR Vaastutv

BUILT UP AREA CALCULATION FOR 1ST FLOOR Vaastutv			
AREA NAME	LENGTH	WIDTH	Area(Sq.M)
BLOCK	49.256	19.217	502.297
BLOCK AREA TOTAL =502.297Sq.M			
Void1	-	-	6.546
LiftWell10	-	-	5.758
TOTAL Deduction =12.3045Sq.M			
Net BuiltUp Area =489.993 Sq.M			

Project Details
Proposal code: KDMCC-25-137063
Zone Type: Residential Zone
Location: Non-Congested
Name of service: Building Development
Sub service:
Cts No./Survey No.: 164
Tahsil: Sector-7
Mouza: Manda
Prorata Value: 0.000
Separation/CRZ Zone Area: -

Owner Details		
Owner Name	Postal Address	Contact Number
MS Alliance Enterprises Through Mr Akhtar Shaikh POA,APNA GHAR BUILDERS DEVELOPERS Through partner Bhushan Vankudre and Others	Flat 902 building no 5 Niraj park,Khadakpada Amrut park road,Kakadpada,Thane,Maharashtra-421301	9920631775
Bhushan Anil Vankudre	kalyan	9920631775
Yogesh Pandurang Avhad	kalyan	
Rutuja Sanjay Gite	kalyan	

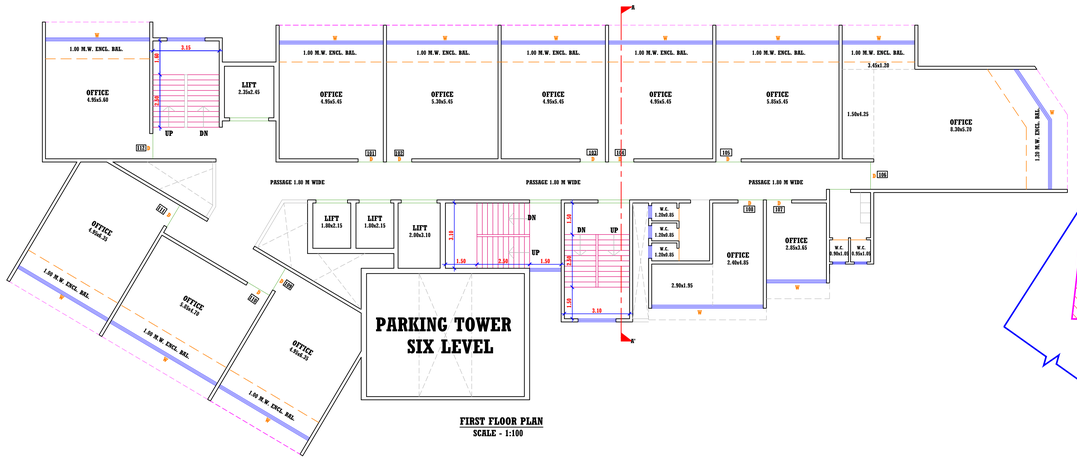

FIRST FLOOR PLAN
SCALE - 1:100

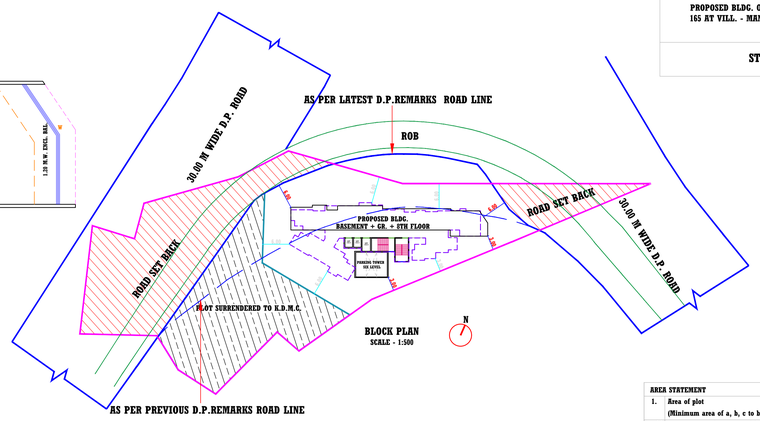

BLOCK PLAN
SCALE - 1:500

PROPOSED BLDG. ON PLOT BEARING S. NO. 164/3, 164/6, 164/7, 165 AT VILL. - MANDA, TAL. KALYAN, DIST. THANE.

STAMP OF APPROVAL

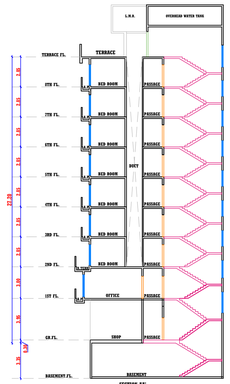

SECTION AA'
SCALE 1:100

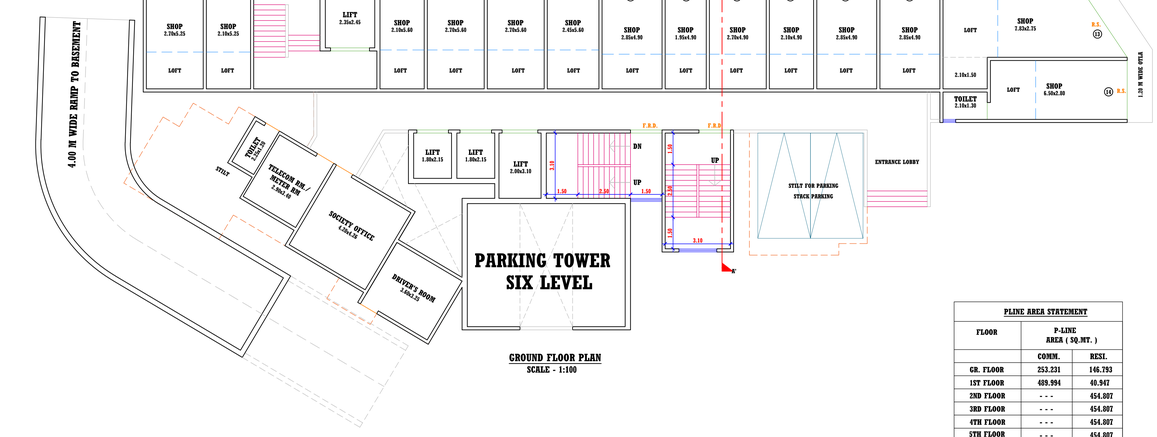

GROUND FLOOR PLAN
SCALE - 1:100

PARKING AREA STATEMENT

ONE PARKING AREA FOR EVERY TENEMENTS	Nos. OF FLATS	Nos. OF CAR	Nos. OF SCOOTER
1) FOR EVERY TENEMENT HAVING CARPET AREA OF 150 SQ.M. AND ABOVE 2 CAR & 3 SCOOTER	NIL	NIL	NIL
2) FOR EVERY TENEMENT HAVING CARPET AREA EQUAL TO OR ABOVE 80 SQ.M. BUT LESS THAN 150 SQ.M. 1 CAR & 3 SCOOTER	NIL	NIL	NIL
3) FOR EVERY TWO TENEMENT WITH EACH TENEMENT HAVING CARPET AREA EQUAL TO OR ABOVE 60 SQ.M. BUT LESS THAN 80 SQ.M. 1 CAR & 5 SCOOTER	21 NOS	10.50 NOS	21 NOS
4) FOR EVERY TWO TENEMENT WITH EACH TENEMENT HAVING CARPET AREA LESS THAN 40 SQ.M. BUT MORE THAN 30 SQ.M. 1 CAR & 2 SCOOTER	NIL	NIL	NIL
5) FOR EVERY TWO TENEMENTS WITH EACH TENEMENT HAVING CARPET AREA LESS THAN 30 SQ.M. 4 SCOOTER	35 NOS	NIL	35 NOS
6) SHOPS AND OTHER COMMERCIALS USERS AREA 201.00 SQ.MT. FOR EVERY 100 SQ.M. CARPET AREA OR FRACTION THEREOF (FOR 100 SQ.MT. 1 CAR & 5 SCOOTER PARKING)	NIL	2 NOS	10 NOS
7) OFFICE AREA 294.04 SQ.MT. FOR EVERY 200 SQ.M. CARPET AREA OR FRACTION THEREOF (FOR 200 SQ.MT. 3 CAR & 11 SCOOTER PARKING)	NIL	4 NOS	16 NOS
8) COMMUNITY HALL AND CLUB HOUSE AREA 00.00 SQ.MT. FOR EVERY 200 SQ.M. CARPET AREA (FOR 200 SQ.MT. 1 CAR & 5 SCOOTER PARKING)	NIL	NIL	NIL
9) ADDITION 5% RESI. VISITOR PARKING (5% of 1 TO 5)	NIL	1 NOS	3 NOS
10) TOTAL PARKING CAR	NIL	17.50 NOS	COMM. = 26 NOS RESI. = 59 NOS
TOTAL REQUIRED PARKING CAR & SCOOTER (00% of 10) AS PER UDCPR REGULATION NO. 8.2.2 TABLE NO.8C	NIL	14 NOS	80 NOS
TOTAL PROPOSED PARKING CAR	NIL	16 NOS	138 NOS

PLINE AREA STATEMENT		
FLOOR	P-LINE AREA (SQ.MT.)	
	COMM.	RESI.
GR. FLOOR	253.231	146.793
1ST FLOOR	489.994	40.947
2ND FLOOR	- - -	454.807
3RD FLOOR	- - -	454.807
4TH FLOOR	- - -	454.807
5TH FLOOR	- - -	454.807
6TH FLOOR	- - -	454.807
7TH FLOOR	- - -	439.371
8TH FLOOR	- - -	454.807
TOTAL	743.225	3355.953
TOTAL AREA	4099.178	

BUILT UP AREA CALCULATION FOR 1ST FLOOR Vaastutv			
AREA NAME	LENGTH	WIDTH	Area(Sq.M)
BLOCK	15.450	5.650	54.888
BLOCK AREA TOTAL =54.888Sq.M			
LiftWell13	-	-	3.870
LiftWell12	-	-	3.870
LiftWell11	-	-	6.200
TOTAL Deduction =13.940Sq.M			
Net BuiltUp Area =40.948 Sq.M			

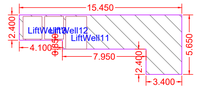

BUILT-UP AREA CALCULATION 1ST FLOOR Vaastutv

BUILT UP AREA CALCULATION FOR GROUND FLOOR Vaastutv			
AREA NAME	LENGTH	WIDTH	Area(Sq.M)
BLOCK	46.750	7.350	253.231
BLOCK AREA TOTAL =253.231Sq.M			
TOTAL Deduction =0.000Sq.M			
Net BuiltUp Area =253.231 Sq.M			

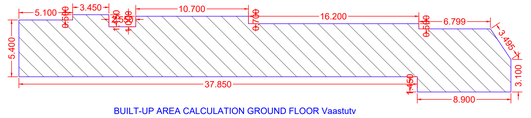

BUILT-UP AREA CALCULATION GROUND FLOOR Vaastutv

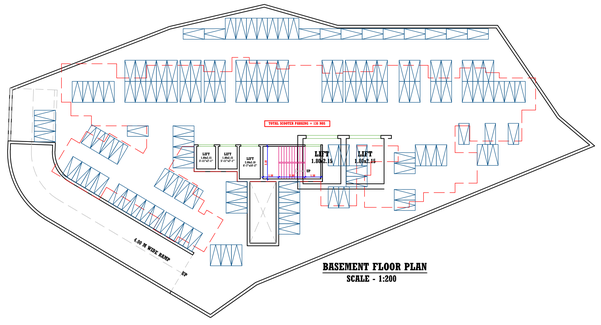

BASEMENT FLOOR PLAN
SCALE - 1:200

AREA STATEMENT		SQ.M.
1.	Area of plot (Minimum area of a, b, c to be considered)	
(a)	As per ownership document (7/12, CTS extract)	3190.000
(b)	as per measurement sheet (As per D.P. Remarks)	3190.000
(c)	as per site (As per possession)	- - -
2.	Deductions for	
(a)	Proposed D.P. / D.P. Road widening Area	2085.000
(b)	Any D.P. Reservation area	- - -
	(Total a+b)	- - -
3.	BALANCE AREA OF PLOT (1-2)	1105.000
4.	Amenity Space (if applicable)	
(a)	Required -	- - -
(b)	Adjustment of 2(b), if any -	- - -
(c)	Balance Proposed -	- - -
5.	Net Plot Area [3-4(c)]	1105.000
6.	Recreational Open space (if applicable)	
(a)	Required -	- - -
(b)	Proposed -	- - -
7.	Internal Road area	- - -
8.	Plotable area (if applicable)	- - -
9.	Built up area with reference to Basic F.S.I. as per front road width (Sr. No. 5 x basic FSI) (1105.000 x 1.10)	1215.500
10.	Addition of FSI on payment of premium	
(a)	Maximum permissible premium FSI - based on road width / TOD Zone	
(b)	Proposed FSI on payment of premium	
11.	In-situ FSI / TDR loading	
(a)	In-situ area against D.P. road	1351.000
(b)	In-situ area against Amenity Space if handed over [2.00 or 1.85 x Sr. No. 4 (b) and / or (c)]	- - -
(c)	TDR area	
(d)	Total in-situ / TDR loading proposed [11 (a) + (b) + (c)]	1351.000
12.	Additional FSI area under Chapter No. 7	- - -
13.	Total entitlement of FSI in the proposal	- - -
(a)	[9 + 10(b) + 11(d)] or 12 whichever is applicable	2566.500
(b)	Ancillary Area FSI upto 60% with payment of charges (COMM. 412.500 x 0.80) = 330.320 (RESI. 2153.60 x 0.60) = 1292.160 = 1202.358	1532.678
(c)	Total entitlement (a + b)	4099.178
14.	Maximum utilization limit of F.S.I. (building potential) Permissible as per Road width [(as per Regulation No. 6.1 or 6.2 or 6.3 or 6.4 as applicable) x 1.6 or 1.8)	- - -
15.	Total Built-up Area in proposal (excluding area at Sr. No. 17 b)	
(a)	Existing Built-up Area	- - -
(b)	Proposed Built-up Area (as per 'P-Line')	4099.178
(c)	Total (a + b)	4099.178
16.	F.S.I. Consumed (15/13) (should not be more than serial No. 14 above)	0.97
17.	Area for Inclusive Housing, if any	- - -
(a)	Required (20% of Sr. No. 5)	- - -
(b)	Proposed	- - -

P.O.A /OWNERS 'S NAME & SIGNATURE

STRUCTURAL ENGINEER'S CERTIFICATE

I HEREBY CERTIFY THAT THE STRUCTURAL DRAWINGS FOR THE ABOVE MENTIONED WORK ARE PREPARED BY US AND THE WORK, AS FAR AS STRUCTURAL DRAWINGS ARE CONCERNED, SHALL BE CARRIED OUT AS SPECIFIED IN APPENDIX "C".
I SHALL BE RESPONSIBLE FOR THE ADEQUACY OF THE STRUCTURAL DESIGN AS FAR AS STRUCTURAL DRAWINGS ARE CONCERNED

SIGNATURE AND NAME OF THE STRUCTURAL ENGINEER

CERTIFICATE OF AREA

CERTIFICATE OF AREA: CERTIFIED THAT THE PLOT UNDER REFERENCE WAS SURVEYED BY ME ON 03 02 2011 AND THE DIMENSIONS OF SIDES ETC. OF PLOT STATED ON PLAN ARE AS MEASURED ON SITE AND THE AREA 50 WORKED OUT 3190.00 SQ.MT. TALLIES WITH THE AREA STATED IN DOCUMENT OF OWNERSHIP/ T.P. SCHEME RECORDS/ LAND RECORDS DEPARTMENT/CITY SURVEY RECORDS. SIGNATURE

SIGNATURE OF ARCHITECT

OWNER'S DECLARATION

I/WE UNDERSIGNED HEREBY CONFIRM THAT I/WE WOULD ABIDE BY PLANS APPROVED BY AUTHORITY / COLLECTOR. I/WE WOULD EXECUTE THE STRUCTURE AS PER APPROVED PLANS. ALSO I/WE WOULD EXECUTE THE WORK UNDER SUPERVISION OF PROPER TECHNICAL PERSON SO AS TO ENSURE THE QUALITY AND SAFETY AT THE WORK SITE. OWNER (S) NAME AND SIGNATURE

EMERGE ARCHITECT & ASSOCIATES
ARCHITECTS, INTERIOR DESIGNERS & ENGINEERS
C-3 HIBISCUS APARTMENT, BARAVE ROAD, KALYAN (WEST) - 421 304. MOB. 909 666 6820.

(DHIRAJ BHARAT PATIL)
(ARCHITECT)

JOB NO.	DRAWING NO.	SCALE	DRAWN BY	CHECKED BY	REGISTRATION NO. OF ARCHITECT
	1	1:100	P.B.	Y.B.	CA / 2016 / 79531

Proforma I : Area Statement	
1. Area of plot (Minimum area of a, b, c to be considered)	3190.000
(a) As per ownership document (7/12, CTS extract)	3190.000
(b) as per TILR or City Survey measurement sheet	3190.000
(c) as per Demarcated drawing area	3521.271
LESS	-
2.Area not in possession	0.000
3. Area Proposed for development (out of 1-2)	3190.000
4.Deductions for	-
(a) Proposed D.P./ D.P. Road widening Area / Service Road / Highway widening	2084.922
(b) Any D.P. Reservation area	0.000
(c) Green Belt	0.000
Total (a+b+c)	2084.922
5.Balance area of plot (3-4)	1105.078
6. Amenity Space	0.000
(Applicable if (1) > 20000 sqmt	-
(Required -(a) Upto 20000 sqmt - Nil	-
(b) Above 20000 sqmt - (a) + 5% of Total area	0.000
7. Net Plot Area (5-6)	1105.078
8. Recreational Open Space	-
(a) If area (5) is more than 4000 sqmt - 10 % of (5) is required.	0.000
Proposed	0.000
(b) If area is less than 4000 sqmt -Check -	-
i) If it is full number like 1,2,125,419,etc. As per 7.12 abstract or City Survey Number - No Recreational open space is required	-
ii) If it is subdivision like 1/2 ,2/5 , 125/1 419/1 etc. then recreational open space is required.	-
(A) 10 % Subject to minimum 200 sqmt	0.000
Proposed	0.000
(B) Exemption to leave open space subject to availing basic F.S.I of 75 %	-
(C) Exemption to leave open space subject to payment of 10 % land value of land at (7) as per annual statement of rate	-
Architect/ Licensed Engineer/ Supervisor name and signature	
Registration No. of Architect/ License no. of Licensed Engineer/ Supervisor: CA/2016/79531	

Certificate of Area:
Certified that the plot under reference was surveyed by me on_____ and the dimensions of sides etc. of plot stated on plan are as measured on site and the area so worked out tallies with the area stated in document of Ownership/ T.P. Scheme Records/Land Records Department/City Survey records.

Signature
(Name of Architect/ Licensed Engineer/ Supervisor.)

Owner's Declaration -
I/We undersigned hereby confirm that I/We would abide by plans approved by Authority / Collector. I/We would execute the structure as per approved plans. Also I/We would execute the work under supervision of proper technical person so as to ensure the quality and safety at the work site.

Owner (s) name and signature

Bhushan Vankudre and Others,Bhushan Anil Vankudre,Yogesh Pandurang Avhad,Rutuja Sanjay Gite
Postal Address : Flat 902 building no 5 Niraj park,Khadakpada Amrut park road,Kakadpada,Thane,Maharashtra-421301,kalyan

DESCRIPTION OF PROJECT :
Type of Proposal : Mixed
BUILDING ON CTS. NO./SURVEY NO.-164

SITE ADDRESS :
S.NO 164, H.NO 3, S.NO 164, H.NO 6, S.NO 164, H.NO 7, S.NO 165, Village - Manda, Tal - Kalyan, Dist -Thane

Name Of Architect : Dhiraj Bharat Patil

LOGO	ADDRESS OF OFFICE OFFICE : C-7, Hibiscus Apartment, Barave Road, Kalyan west .
OWNERS SIGN -	TECHNICAL PERSON SIGN
SCALE -	DATE: Date: 10/12/25
JOB NO - KDMCC-25-137063	CHECK BY - zoom

SUBMISSION DRAWING

LEGENDS:
EXISTING WORK TO REMAIN
PROPOSED WORK SHOWN RED
EXISTING WORK TO BE DEMOLISHED LIGHT SKYBLUE AND SHOWN BLUE DOTTED
ROOF TERRACE SHOWN GREEN
TERRACE SHOWN DARK YELLOW
EXISTING WORK SHOWN GREY
EXISTING WORK BLUE HATCHED

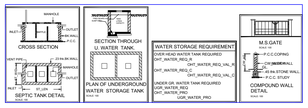

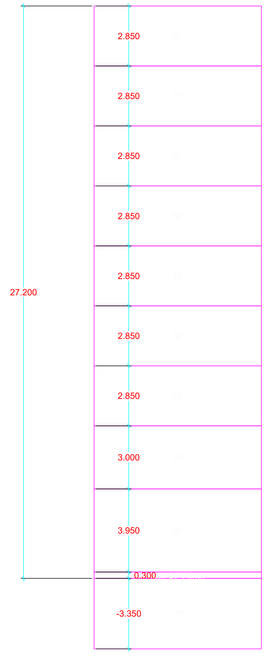

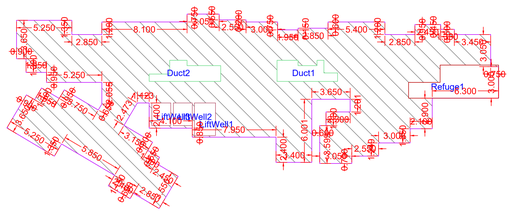

BUILT-UP AREA CALCULATION 7TH REFUGE FLOOR Vaastutv

BUILT UP AREA CALCULATION FOR 7TH REFUGE FLOOR Vaastutv

AREA NAME	LENGTH	WIDTH	Area(Sq.M)
BLOCK	46.723	18.484	493.799
			BLOCK AREA TOTAL =493.799Sq.M
Refuge1	-	-	21.983
LiftWell3	-	-	3.870
LiftWell2	-	-	3.870
LiftWell1	-	-	6.200
Duct2	-	-	9.465
Duct1	-	-	9.040
			TOTAL Deduction =54.428Sq.M
			Net BuiltUp Area =439.371 Sq.M

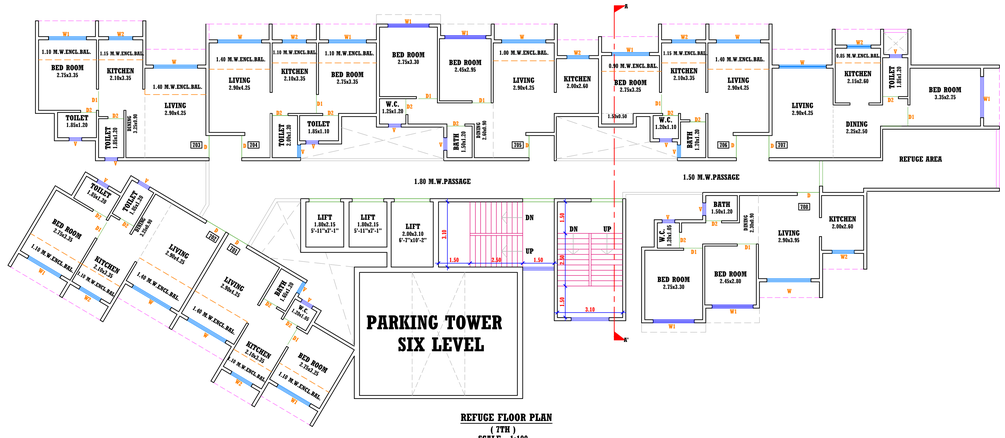

REFUGE FLOOR PLAN
(7TH)
SCALE - 1:100

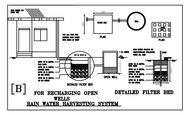

Parking Check (Table 8B)								
			RATIO			Required		
Building Name	USE	TENAMENT AREA	car	scooter	NO.Of Tene/Area/Units	car	scooter	Transport Vehicle/Ambulance /Mini Bus
Vaastutv	Commercial	For every 200 sq.m. carpet area or fraction thereof.	3	11	354.942	5.324	19.522	-
Vaastutv	Commercial	For every 100 sq.m. carpet area or fraction thereof	2	6	201.684	4.034	12.101	-
Vaastutv	Residential	For every two tenements with each tenement having carpet area equal to or above 40 sq.m. but less than 80 sq.m.	1	2	20	10.000	20.000	-
Vaastutv	Residential	For every two tenements with each tenement having carpet area less than 40 Sq.m. but more than 30 sq.m.	1	2	1	0.500	1.000	-
Vaastutv	Residential	For every two tenements with each tenement having carpet area less than 30 Sq.m.	0	2	35	0.000	35.000	-
Total	-	-	-	-	-	19.858	87.623	-
Visitors parking(5%)	-	-	-	-	-	0.525	2.800	-
Total	-	-	-	-	-	20.383	90.423	0.000

Parking Check As Per Multiplying Factor 0.800							
	Required			Proposed			
Building Name	Car	Scooter	Transport Vehicle/Ambulance /Mini bus	Car	Scooter	Transport Vehicle/Ambulance /Mini bus	Status
Total	16	84	0	16	138	0	OK

Carpet Area Table								
Building Name	Floor Name	Carpet name	Tenement No	Carpet Area	Enclosed Balcony Area	Normal Balcony Area	Mozzanine Area	Total Carpet Area
Vaastutv	GROUND FLOOR	SHOP 1	1	14.175	0.000	0.000	0.000	14.175
Vaastutv	GROUND FLOOR	SHOP 2	1	11.025	0.000	0.000	0.000	11.025
Vaastutv	GROUND FLOOR	SHOP 3	1	11.760	0.000	0.000	0.000	11.760
Vaastutv	GROUND FLOOR	SHOP 4	1	15.120	0.000	0.000	0.000	15.120
Vaastutv	GROUND FLOOR	SHOP 6	1	13.720	0.000	0.000	0.000	13.720
Vaastutv	GROUND FLOOR	SHOP 7	1	13.965	0.000	0.000	0.000	13.965
Vaastutv	GROUND FLOOR	SHOP 8	1	9.555	0.000	0.000	0.000	9.555
Vaastutv	GROUND FLOOR	SHOP 9	1	13.230	0.000	0.000	0.000	13.230
Vaastutv	GROUND FLOOR	SHOP 10	1	10.290	0.000	0.000	0.000	10.290
Vaastutv	GROUND FLOOR	SHOP 11	1	13.965	0.000	0.000	0.000	13.965
Vaastutv	GROUND FLOOR	SHOP 12	1	13.965	0.000	0.000	0.000	13.965
Vaastutv	GROUND FLOOR	SHOP 13	1	24.669	0.000	0.000	0.000	24.669
Vaastutv	GROUND FLOOR	SHOP 5	1	15.120	0.000	0.000	0.000	15.120
Vaastutv	GROUND FLOOR	SHOP 14	1	21.125	0.000	0.000	0.000	21.125
Vaastutv	1ST FLOOR	OFFICE 101	1	22.950	5.100	0.000	0.000	28.050
Vaastutv	1ST FLOOR	OFFICE 102	1	24.560	5.450	0.000	0.000	30.010
Vaastutv	1ST FLOOR	OFFICE 103	1	22.950	5.100	0.000	0.000	28.050
Vaastutv	1ST FLOOR	OFFICE 105	1	27.090	6.000	0.000	0.000	33.090
Vaastutv	1ST FLOOR	OFFICE 106	1	46.559	11.619	0.000	0.000	58.178
Vaastutv	1ST FLOOR	OFFICE 109	1	26.695	5.100	0.000	0.000	31.795
Vaastutv	1ST FLOOR	OFFICE 110	1	22.697	6.000	0.000	0.000	28.697
Vaastutv	1ST FLOOR	OFFICE 111	1	27.072	5.100	0.000	0.000	32.172
Vaastutv	1ST FLOOR	OFFICE 112	1	23.692	5.100	0.000	0.000	28.792
Vaastutv	1ST FLOOR	OFFICE 104	1	22.950	5.100	0.000	0.000	28.050
Vaastutv	1ST FLOOR	OFFICE 107	1	10.582	0.000	0.000	0.000	10.582
Vaastutv	1ST FLOOR	OFFICE 108	1	17.475	0.000	0.000	0.000	17.475
Vaastutv	2ND FLOOR	205	1	44.158	0.000	3.136	0.000	44.158
Vaastutv	2ND FLOOR	206	1	26.318	0.000	9.478	0.000	26.318
Vaastutv	2ND FLOOR	207	1	50.163	0.000	2.045	0.000	50.163
Vaastutv	2ND FLOOR	201	1	24.650	0.000	10.132	0.000	24.650
Vaastutv	2ND FLOOR	202	1	28.423	0.000	9.836	0.000	28.423
Vaastutv	2ND FLOOR	203	1	28.423	0.000	9.835	0.000	28.423
Vaastutv	2ND FLOOR	204	1	27.683	0.000	9.825	0.000	27.683
Vaastutv	2ND FLOOR	208	1	42.403	0.000	0.000	0.000	42.403
Vaastutv	3RD TO 6TH AND 8TH FLOOR	305;405;505;605;805 5	5	44.158	0.000	3.136	0.000	44.158
Vaastutv	3RD TO 6TH AND 8TH FLOOR	308;408;508;608;808 8	5	42.403	0.000	0.000	0.000	42.403
Vaastutv	3RD TO 6TH AND 8TH FLOOR	301;401;501;601;801 1	5	24.650	0.000	10.132	0.000	24.650
Vaastutv	3RD TO 6TH AND 8TH FLOOR	302;402;502;602;802 2	5	28.423	0.000	9.836	0.000	28.423
Vaastutv	3RD TO 6TH AND 8TH FLOOR	303;403;503;603;803 3	5	28.423	0.000	9.835	0.000	28.423
Vaastutv	3RD TO 6TH AND 8TH FLOOR	304;404;504;604;804 4	5	27.683	0.000	9.825	0.000	27.683
Vaastutv	3RD TO 6TH AND 8TH FLOOR	306;406;506;606;806 6	5	26.318	0.000	9.480	0.000	26.318
Vaastutv	3RD TO 6TH AND 8TH FLOOR	307;407;507;607;807 7	5	50.163	0.000	2.045	0.000	50.163
Vaastutv	7TH REFUGE FLOOR	701	1	24.650	0.000	10.132	0.000	24.650
Vaastutv	7TH REFUGE FLOOR	702	1	28.423	0.000	9.836	0.000	28.423
Vaastutv	7TH REFUGE FLOOR	703	1	28.423	0.000	9.835	0.000	28.423
Vaastutv	7TH REFUGE FLOOR	704	1	27.683	0.000	9.825	0.000	27.683
Vaastutv	7TH REFUGE FLOOR	705	1	44.158	0.000	3.136	0.000	44.158
Vaastutv	7TH REFUGE FLOOR	706	1	26.318	0.000	9.478	0.000	26.318
Vaastutv	7TH REFUGE FLOOR	707	1	36.295	0.000	2.045	0.000	36.295
Vaastutv	7TH REFUGE FLOOR	708	1	42.403	0.000	0.000	0.000	42.403

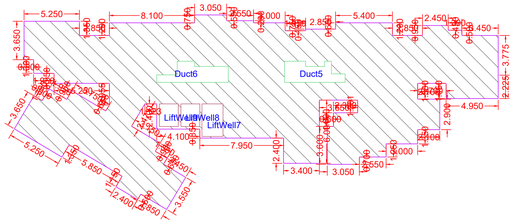

BUILT-UP AREA CALCULATION 2ND FLOOR Vaastutv

BUILT UP AREA CALCULATION FOR 2ND FLOOR Vaastutv

AREA NAME	LENGTH	WIDTH	Area(Sq.M)
BLOCK	45.973	18.484	487.252
			BLOCK AREA TOTAL =487.252Sq.M
LiftWell9	-	-	3.870
LiftWell8	-	-	3.870
LiftWell7	-	-	6.200
Duct6	-	-	9.465
Duct5	-	-	9.040
			TOTAL Deduction =32.445Sq.M
			Net BuiltUp Area =454.807 Sq.M

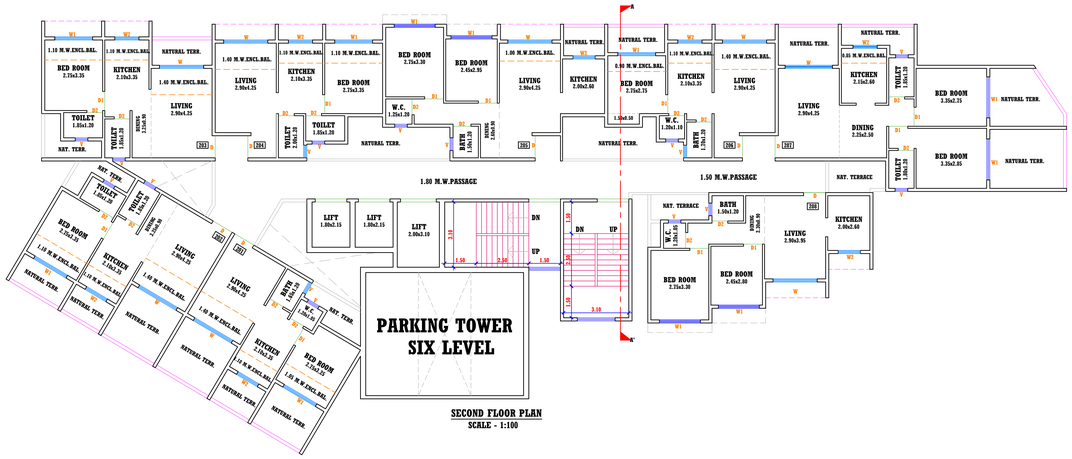

SECOND FLOOR PLAN
SCALE - 1:100

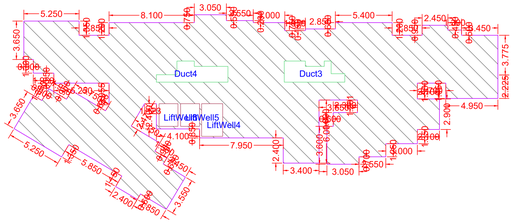

BUILT-UP AREA CALCULATION 3RD TO 6TH AND 8TH FLOOR Vaastutv

BUILT UP AREA CALCULATION FOR 3RD TO 6TH AND 8TH FLOOR Vaastutv

AREA NAME	LENGTH	WIDTH	Area(Sq.M)
BLOCK	45.973	18.484	487.252
			BLOCK AREA TOTAL =487.252Sq.M
LiftWell6	-	-	3.870
LiftWell5	-	-	3.870
LiftWell4	-	-	6.200
Duct4	-	-	9.465
Duct3	-	-	9.040
			TOTAL Deduction =32.445Sq.M
			Net BuiltUp Area =454.807 Sq.M

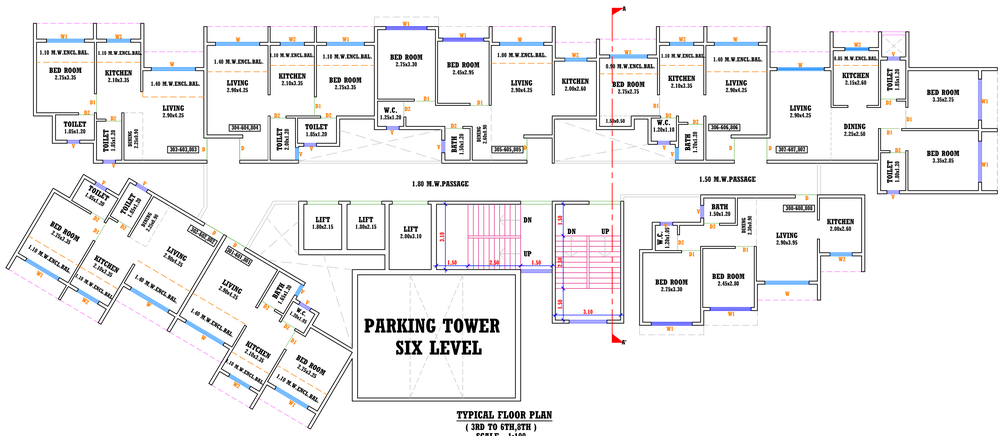

TYPICAL FLOOR PLAN
(3RD TO 6TH,8TH)
SCALE - 1:100

Proforma I : Area Statement

1. Area of plot (Minimum area of a, b, c to be considered)	3190.000
(a) As per ownership document (7/12, CTS extract)	3190.000
(b) as per TILR or City Survey measurement sheet	3190.000
(c) as per Demarcated drawing area LESS	3021.271
2.Area not in possession	0.000
3. Area Proposed for development (out of 1-2)	3190.000
4.Deductions for	-
(a) Proposed D.P./ D.P. Road widening Area / Service Road / Highway widening	2084.922
(b) Any D.P. Reservation area	0.000
(c) Green Belt	0.000
Total (a+b+c)	2084.922
5.Balance area of plot (3-4)	1105.078
6. Amenity Space	0.000
(Applicable if (1) > 20000 sqmt	-
(Required -(a) Upto 20000 sqmt - Nil	-
(b) Above 20000 sqmt - (a) + 5% of Total area	0.000
7. Net Plot Area (5-6)	1105.078
8. Recreational Open Space	-
(a) If area (5) is more than 4000 sqmt - 10 % of (5) is required.	0.000
Proposed	0.000
(b) If area is less than 4000 sqmt -Check -	-
(a) If it is full number like 1,2,125,419 etc. As per 7.12 abstract or City Survey Number - No Recreational open space is required	-
(b) If it is subdivison like 1/2 ,2/5 , 125/1 419/1 etc.then recreational open space is required.	-
(A) 10 % Subject to minimum 200 sqmt	0.000
Proposed	0.000
(B) Exemption to leave open space subject to availing basic F.S.I of 75 %	-
(C) Exemption to leave open space subject to payment of 10 % land value of land at (7) as per annual statement of rate.	-

Architect/ Licensed Engineer/ Supervisor name and signature

Registration No. of Architect/ License no. of Licensed Engineer/ Supervisor: CA/2016/79531

Certificate of Area:
Certified that the plot under reference was surveyed by me on_____, and the dimensions of sides etc. of plot stated on plan are as measured on site and the area so worked out tallies with the area stated in document of Ownership/ T.P. Scheme Records/Land Records Department/City Survey records.

Signature
(Name of Architect/ Licensed Engineer/ Supervisor.)

Owner's Declaration -
I/We undersigned hereby confirm that I/We would abide by plans approved by Authority / Collector. I/We would execute the structure as per approved plans. Also I/We would execute the work under supervision of proper technical person so as to ensure the quality and safety at the work site.

Owner (s) name and signature

Bhushan Vankudre and Others,Bhushan Anil Vankudre,Yogesh Pandurang Avhad,Rutuja Sanjay Gite
Postal Address : Flat 902 building no 5 Niraj
park,Khadakipada Amrut park
road,Kalyan(east),Thane,Maharashtra-421301,kalyan

DESCRIPTION OF PROJECT :

Type of Proposal : Mixed
BUILDING ON CTS. NO./SURVEY NO.-164

SITE ADDRESS :
S.NO 164, H.NO 3, S.NO 164, H.NO 6, S.NO 164, H.NO 7, S.NO 165, Village - Manda, Tal - Kalyan, Dist -Thane

Name Of Architect : Dhiraj Bharat Patil

LOGO	ADDRESS OF OFFICE OFFICE - C-7, Hibiscus Apartment, Barave Road, Kalyan west
OWNERS SIGN -	TECHNICAL PERSON SIGN
SCALE -	DATE: Date: 10/12/25
JOB NO - KDMCC-25-137063	CHECK BY - zoom

SUBMISSION DRAWING