Form of Statement 2
Proposed Building

Building No.	Floor No.	Total B-up Area of floor as per outer construction Line
1	2	3
1	GR. +1ST + 14(PT)	10425.54

Form of Statement 3
Area details of Apartment

Building No.	Floor No.	Apartment No.	Carpet area of apartment	Area of Bal. attached to Apart.	Area of Double height terraces attached to flat.
1	2	3	4	5	6
2	GR. +1ST + 14(PT)	12 SHOPS 152 FLATS	229.44 6852.93	-- 569.14	
TOTAL			7082.37	569.14	

PARKING AREA STATEMENT

RESI.AREA	REQUIRED NO'S OF PARKING		PROP. FLAT	PROPOSED NO'S OF PARKING	
	CAR. PARKING	TWO WHEELERS		CAR. PARKING	TWO WHEELERS
For every two tenements with each tenement having carpet area less than 30 Sq.m	0 NO'S	2 NO'S	2 NO'S	----	2.00 NO'S
For every two tenements with each tenement having carpet area less than 80 Sq.m. but more than 30 sq.m.	1 NO'S	2 NO'S	150 NO'S	75.00 NO'S	150.00 NO'S
For every tenement having carpet area equal to or above 80 sq.m. but less than 150 sq.m.	1 NO'S	2 NO'S	0	0.00 NO'S	0.00 NO'S
TOTAL			152 NO'S	75.00 NO'S	152.00 NO'S
visitor parking (5%)				3.75 NO'S	7.40 NO'S
For every 100 sq.m. carpet area or fraction thereof	2 NO'S	6 NO'S	229.44 / 100	4.58 NO'S	13.76 NO'S
TOTAL				83.33 NO'S	173.16 NO'S
			80% OF	66.66 NO'S.	149.53 NO'S
TOTAL PARKING PROVIDED	64.53 NOS. SCOOTERS CONVETED TO 10.75 CARS		66.66 NO'S. 10.75 NO'S. CARS. - 77.41 NO'S.	STILT - 54.00 NO'S. OPEN - 25.00 NO'S. TOTAL - 79.00 NO'S.	STILT - 28.00 NO'S. OPEN - 57.00 NO'S. TOTAL - 85.00 NO'S.

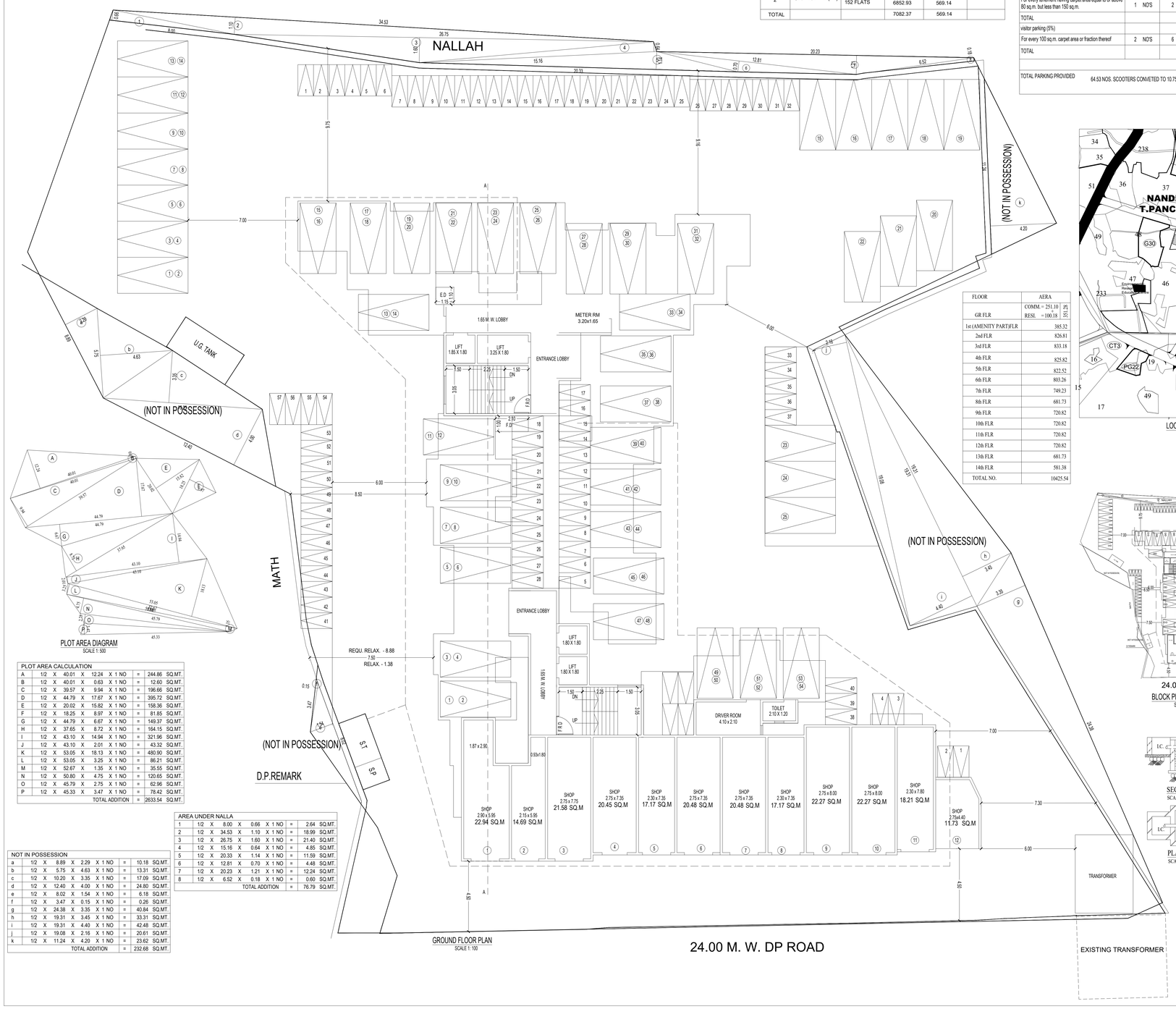

GROUND FLOOR PLAN
SCALE 1: 100

FLOOR	AERA
GR FLR	COMM. = 251.10 RESI. = 100.18 — 351.28
1st (AMENITY PART)FLR	385.32
2nd FLR	826.81
3rd FLR	833.18
4th FLR	825.82
5th FLR	822.52
6th FLR	803.26
7th FLR	749.23
8th FLR	681.73
9th FLR	720.82
10th FLR	720.82
11th FLR	720.82
12th FLR	720.82
13th FLR	681.73
14th FLR	581.38
TOTAL NO.	10425.54

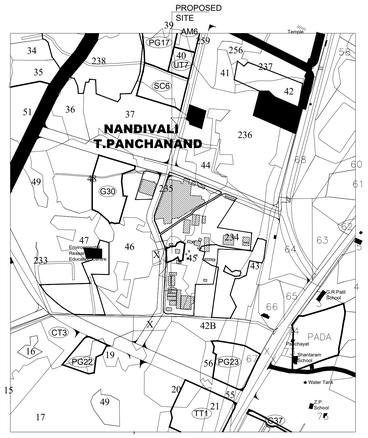

LOCATION PLAN
SCALE N T S

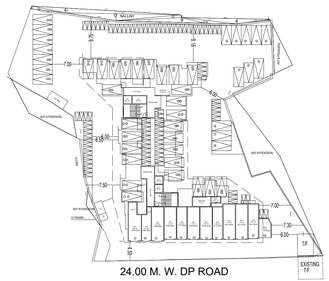

24.00 M. W. DP ROAD
BLOCK PLAN
SCALE 1: 500

PLOT AREA DIAGRAM
SCALE 1: 500

PLOT AREA CALCULATION										
A	1/2	X	40.01	X	12.24	X 1 NO	=	244.86	SQ.MT.
B	1/2	X	40.01	X	0.63	X 1 NO	=	12.60	SQ.MT.
C	1/2	X	39.57	X	9.94	X 1 NO	=	196.66	SQ.MT.
D	1/2	X	44.79	X	17.67	X 1 NO	=	395.72	SQ.MT.
E	1/2	X	20.02	X	15.82	X 1 NO	=	158.36	SQ.MT.
F	1/2	X	18.25	X	8.97	X 1 NO	=	81.85	SQ.MT.
G	1/2	X	44.79	X	6.67	X 1 NO	=	149.37	SQ.MT.
H	1/2	X	37.65	X	8.72	X 1 NO	=	164.15	SQ.MT.
I	1/2	X	43.10	X	14.94	X 1 NO	=	321.96	SQ.MT.
J	1/2	X	43.10	X	2.01	X 1 NO	=	43.32	SQ.MT.
K	1/2	X	53.05	X	18.13	X 1 NO	=	480.90	SQ.MT.
L	1/2	X	53.05	X	3.25	X 1 NO	=	86.21	SQ.MT.
M	1/2	X	52.67	X	1.35	X 1 NO	=	35.55	SQ.MT.
N	1/2	X	50.80	X	4.75	X 1 NO	=	120.65	SQ.MT.
O	1/2	X	45.79	X	2.75	X 1 NO	=	62.96	SQ.MT.
P	1/2	X	45.33	X	3.47	X 1 NO	=	78.42	SQ.MT.
						TOTAL ADDITION	=	2633.54	SQ.MT.

AREA UNDER NALLA										
1	1/2	X	8.00	X	0.66	X 1 NO	=	2.64	SQ.MT.
2	1/2	X	34.53	X	1.10	X 1 NO	=	18.99	SQ.MT.
3	1/2	X	26.75	X	1.60	X 1 NO	=	21.40	SQ.MT.
4	1/2	X	15.16	X	0.64	X 1 NO	=	4.85	SQ.MT.
5	1/2	X	20.33	X	1.14	X 1 NO	=	11.59	SQ.MT.
6	1/2	X	12.81	X	0.70	X 1 NO	=	4.48	SQ.MT.
7	1/2	X	20.23	X	1.21	X 1 NO	=	12.24	SQ.MT.
8	1/2	X	6.52	X	0.18	X 1 NO	=	0.60	SQ.MT.
						TOTAL ADDITION	=	76.79	SQ.MT.

NOT IN POSSESSION										
a	1/2	X	8.89	X	2.29	X 1 NO	=	10.18	SQ.MT.
b	1/2	X	5.75	X	4.63	X 1 NO	=	13.31	SQ.MT.
c	1/2	X	10.20	X	3.35	X 1 NO	=	17.09	SQ.MT.
d	1/2	X	12.40	X	4.00	X 1 NO	=	24.80	SQ.MT.
e	1/2	X	8.02	X	1.54	X 1 NO	=	6.18	SQ.MT.
f	1/2	X	3.47	X	0.15	X 1 NO	=	0.26	SQ.MT.
g	1/2	X	24.38	X	3.35	X 1 NO	=	40.84	SQ.MT.
h	1/2	X	19.31	X	3.45	X 1 NO	=	33.31	SQ.MT.
i	1/2	X	19.31	X	4.40	X 1 NO	=	42.48	SQ.MT.
j	1/2	X	19.08	X	2.16	X 1 NO	=	20.61	SQ.MT.
k	1/2	X	11.24	X	4.20	X 1 NO	=	23.62	SQ.MT.
						TOTAL ADDITION	=	232.68	SQ.MT.

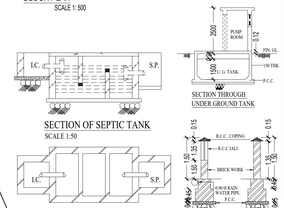

SECTION OF SEPTIC TANK
SCALE 1:50

SECTION THROUGH UNDER GROUND TANK

PLAN OF SEPTIC TANK
SCALE 1:50

SECTION OF COMPOUND WALL
SCALE 1:50

SCHEDULE OF DOORS & WINDOWS			
TYPE	SIZE	AREA	REMARKS
RS	2.10 X 2.40	5.04	ROLLING SHUTTER
D	0.99 X 2.13	2.11	T.W. PANNELLED DOOR
D1	0.91 X 2.13	1.94	T.W. PANNELLED DOOR
D2	0.76 X 1.98	1.50	T.W. PANNELLED DOOR
W	1.80 X 1.20	2.16	T.W. GLAZED WINDOW
W1	1.50 X 1.20	1.80	T.W. GLAZED WINDOW
W2	1.20 X 1.00	1.20	T.W. GLAZED WINDOW
V	0.61 X 0.90	0.55	T.W. LOUVERS WINDOW

DESCRIPTION OF PROPOSAL & PROPERTY

1 / 7

PROPOSED BUILDING ON PLOT BEARING
S.NO. 45 H No- 1, 2 & 6(p) OF VILLAGE - NANDIVLI TARFE PANCHANAD, DOMBIVALI , TAL- KALYAN, DIST.-THANE.

SWAMI CO. OP.HSG SOCIETY

STAMP OF APPROVAL OF PLAN

AREA STATEMENT		SQ.MT
1. AREA OF PLOT		
(MINIMUM AREA OF A, B, C TO BE CONSIDERED)		
(A) AS PER OWNERSHIP DOCUMENT (7/12, CTS EXTRACT)	1236.54 + 1057.00 = 340.00	2633.54
(B) AS PER MEASUREMENT SHEET	2633.54 - 232.68 (NOT IN POSSESSION)	2400.86
(C) AS PER SITE		
2. DEDUCTIONS FOR		
(A) PROPOSED D.P./ D.P. ROAD WIDENING AREA/SERVICE ROAD / HIGHWAY WIDENING		
(B) ANY D.P. RESERVATION AREA		
(B) ANY D.P. RESERVATION AREA	NALLA 76.79	
(TOTAL A+B)		76.79
3. BALANCE AREA OF PLOT (1-2)		2324.07
4. AMENITY SPACE (IF APPLICABLE)		
(A) REQUIRED -		
(B) ADJUSTMENT OF 2B), IF ANY -		
(C) BALANCE PROPOSED -		
5. NET PLOT AREA (3-4 (C))		2324.07
6. RECREATIONAL OPEN SPACE (IF APPLICABLE)		NIL
A) (A) REQUIRED -		
B) (B) PROPOSED -		
7. INTERNAL ROAD AREA		NIL
8. PLOTABLE AREA (IF APPLICABLE)		NIL
9. BUILT UP AREA WITH REFERENCE TO BASIC F.S.I. AS PER FRONT ROAD WIDTH		
(SR. NO. 5XBASIC FSI)	2324.07 x 1.10	2556.48
10. ADDITION OF FSI ON PAYMENT OF PREMIUM		
(A)MAXIMUM PERMISSIBLE PREMIUM FSI - BASED ON ROAD WIDTH / TOD ZONE.		
(B) PROPOSED FSI ON PAYMENT OF PREMIUM.	2400.86 x 0.50	1200.43
11. IN-SITU FSI / TDR LOADING		
(A)IN-SITU AREA AGAINST D.P. ROAD [2.0 X SR. NO. 2 (A)]IF ANY		NIL
(B)IN-SITU AREA AGAINST AMENITY SPACE IF HANDED OVER		NIL
(2.00 ORI.66 X SR. NO. 4 (B)AND /ORC)].	NALLA 76.79 x 2.00	153.58
(C)TOR AREA	2400.86 x1.15 = 2760.99 - 153.58	2607.41
(D) TOTAL IN-SITU / TDR LOADING PROPOSED (11 (A)+(B)+(C))		
12. ADDITIONAL FSI AREA UNDER CHAPTER NO. 7		
13. TOTAL ENTITLEMENT OF FSI IN THE PROPOSAL		NIL
(A) [9 + 10(B)+11(D)] OR 12 WHICHEVER IS APPLICABLE.		6517.90
(B) ANCILLARY AREA FSI UPTO 60% OR 80%WITH PAYMENT OF CHARGES.	COMM.- 251.10 /1.80X 80% = 111.60 RESI.- 10174.44 / 1.80 X 60% = 3815.41	3927.01
(C) TOTAL ENTITLEMENT (A+B)		10444.91
14. MAXIMUM UTILIZATION LIMIT OF F.S.I. (BUILDING POTENTIAL) PERMISSIBLE AS PER ROAD		
WIDTH [(AS PER REGULATION NO. 6.1 OR 6.2 OR 6.3 OR 6.4 AS APPLICABLE) X 1.6 OR 1.8]		
15. TOTAL BUILT-UP AREA IN PROPOSAL (EXCLUDING AREA AT SR.NO.17 B)		10425.54
(A) EXISTING BUILT-UP AREA		
(B) PROPOSED BUILT-UP AREA (AS PER 'P-LINE')		
(C) TOTAL (A+B)		10425.54
16. F.S.I. CONSUMED (15/13) (SHOULD NOT BE MORE THAN SERIAL NO.14 ABOVE.)		
17. AREA FOR INCLUSIVE HOUSING, IF ANY		NIL
(A) REQUIRED (25% OF SR.NO.3)		
(B) PROPOSED		

APPENDIX - C

The plans prepared by me are in accordance with the norms as specified by indian standard institute & i will be held responsoble for any harm caused in earthquake due to neglience of the standards.

engineers signature

Certificate of Area:

Certified that the plot under reference was surveyed by me on 10-12-2022 and the dimensions of sides etc. of plot stated on plan are as measured on site and the area so worked out 344.00 not tallies with the area stated in document of Ownership/ T.P. Scheme Records/ Land Records Department/City Survey records.

Signature
(Name of Architect/Licensed Engineer/Supervisor.)

NAME, ADDRESS & SIGNATURE OF OWNER

I/We undersigned hereby confirm that I/We would abide by plans approved by Authority / Collector. I/We would execute the structure as per approved plans. Also I/We would execute the work under supervision of proper technical person so as to ensure the quality and safety at the work site.

M/S. JALARAM DEVELOPERS
SHRI. DILIP PATEL
(P.O.A HOLDER)
104, JAGANNATH'S COMMERCE PLAZA,
NEAR GODREJ SHOWROOM,MANPADA ROAD, DOMBIVLI (E.)

JOB No.	DRG No.	SCALE	DRAWN BY	CHECKED BY	DATE
R.K. - 156	1	AS STATED			24- 02 - 2026

NAME, ADDRESS & SIGNATURE OF ARCHITECT

DEEP VINOD PATEL
Digitally signed by DEEP VINOD PATEL
Date: 2026.03.17 18:20:47 +05'30'

DEEP VINOD PATEL
CA / 2024 / 181059

R. K. ASSOCIATES
206,207,208,2nd FLOOR,
JAGANNATH'S COMMERCE PLAZA,
NEAR GODREJ SHOWROOM,
MANPADA ROAD, DOMBIVLI (E.)

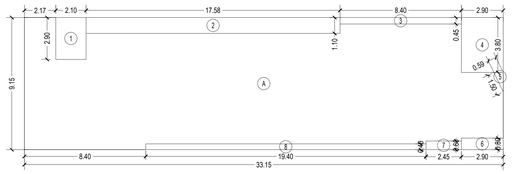

AREA DIAGRAM
GR.FLOOR (SCALE - 1:150)
(COMM.)

BUILT UP AREA CALCULATION COMM.

GROUND FLOOR								
A	33.15	X	9.15	X	1 NO	=	303.32	SQ.MT.
TOTAL ADDITION						=	303.32	SQ.MT.

DEDUCTIONS

1	2.10	X	2.90	X	1 NO	=	6.09	SQ.MT.
2	17.58	X	1.10	X	1 NO	=	19.34	SQ.MT.
3	8.40	X	0.45	X	1 NO	=	3.78	SQ.MT.
4	2.90	X	3.80	X	1 NO	=	11.02	SQ.MT.
5	1/2	X	1.50 X	0.59	X 1 NO	=	0.44	SQ.MT.
6	2.90	X	0.80	X	1 NO	=	2.32	SQ.MT.
7	2.45	X	0.60	X	1 NO	=	1.47	SQ.MT.
8	19.40	X	0.40	X	1 NO	=	7.76	SQ.MT.
TOTAL DEDUCTION						=	52.22	SQ.MT.
TOTAL BUILT UP AREA						=	251.10	SQ.MT.

BUILT UP AREA CALCULATION

GR. FLOOR (RESI.)								
D	22.60	X	27.45	X	1 NO	=	620.37	SQ.MT.
TOTAL ADDITION						=	620.37	SQ.MT.

DEDUCTIONS

1	15.25	X	1.80	X	1 NO	=	27.45	SQ.MT.
2	13.85	X	3.05	X	1 NO	=	42.24	SQ.MT.
3	15.25	X	15.50	X	1 NO	=	236.38	SQ.MT.
4	3.20	X	11.00	X	1 NO	=	35.20	SQ.MT.
5	4.15	X	14.05	X	1 NO	=	58.31	SQ.MT.
6	5.40	X	6.30	X	1 NO	=	34.02	SQ.MT.
7	3.30	X	3.90	X	1 NO	=	12.87	SQ.MT.
8	3.50	X	7.10	X	1 NO	=	24.85	SQ.MT.
9	6.50	X	4.85	X	1 NO	=	31.53	SQ.MT.
10	2.25	X	0.75	X	1 NO	=	1.69	SQ.MT.
11	1.80	X	1.80	X	2 NOS	=	6.48	SQ.MT.
12	1.85	X	1.80	X	1 NO	=	3.33	SQ.MT.
13	3.25	X	1.80	X	1 NO	=	5.85	SQ.MT.
TOTAL DEDUCTION						=	520.20	SQ.MT.
TOTAL BUILT UP AREA						=	100.17	SQ.MT.

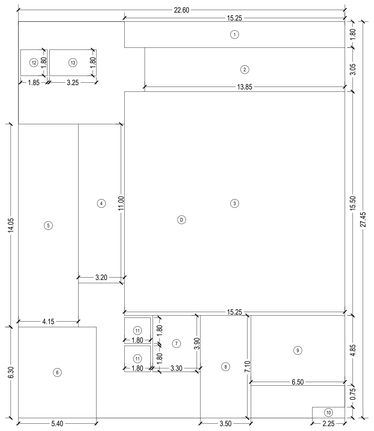

AREA DIAGRAM
GR. FLOOR (SCALE - 1:150)
(RESI.)

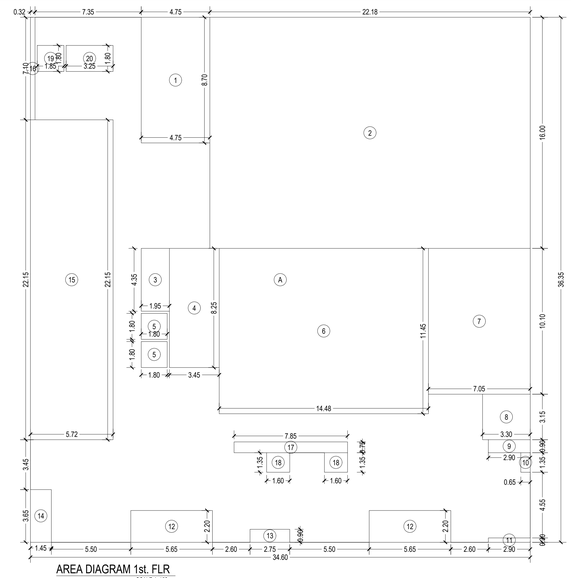

AREA DIAGRAM 1st. FLR
SCALE 1 :150

BUILT UP AREA CALCULATION

1st FLOOR								
A	34.60	X	36.35	X	1 NO	=	1257.71	SQ.MT.
TOTAL ADDITION						=	1257.71	SQ.MT.

DEDUCTIONS

1	4.75	X	8.70	X	1 NO	=	41.33	SQ.MT.
2	22.18	X	16.00	X	1 NO	=	354.88	SQ.MT.
3	1.95	X	4.35	X	1 NO	=	8.48	SQ.MT.
4	3.45	X	8.25	X	1 NO	=	28.46	SQ.MT.
5	1.80	X	1.80	X	2 NOS	=	6.48	SQ.MT.
6	14.48	X	11.45	X	1 NO	=	165.80	SQ.MT.
7	7.05	X	10.10	X	1 NO	=	71.21	SQ.MT.
8	3.30	X	3.15	X	1 NO	=	10.40	SQ.MT.
9	2.90	X	0.90	X	1 NO	=	2.61	SQ.MT.
10	0.65	X	1.35	X	1 NO	=	0.88	SQ.MT.
11	2.90	X	0.30	X	1 NO	=	0.87	SQ.MT.
12	5.65	X	2.20	X	2 NOS	=	24.86	SQ.MT.
13	2.75	X	0.90	X	1 NO	=	2.48	SQ.MT.
14	1.45	X	3.65	X	1 NO	=	5.29	SQ.MT.
15	5.72	X	22.15	X	1 NO	=	126.70	SQ.MT.
16	0.32	X	7.10	X	1 NO	=	2.27	SQ.MT.
17	7.85	X	0.75	X	1 NO	=	5.89	SQ.MT.
18	1.60	X	1.35	X	2 NOS	=	4.32	SQ.MT.
19	1.85	X	1.80	X	1 NO	=	3.33	SQ.MT.
20	3.25	X	1.80	X	1 NO	=	5.85	SQ.MT.
TOTAL DEDUCTION						=	872.39	SQ.MT.
TOTAL BUILT UP AREA						=	385.32	SQ.MT.

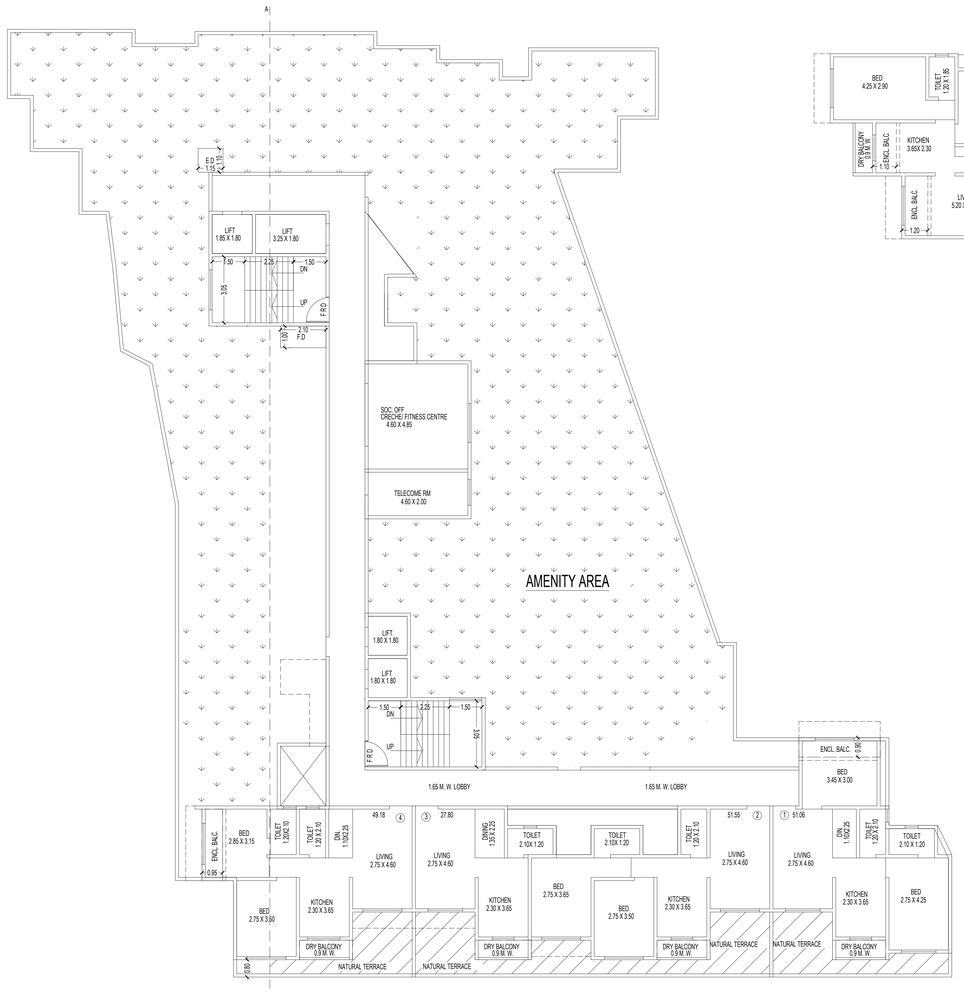

1st (AMENITY PART) FLOOR PLAN
SCALE 1: 100

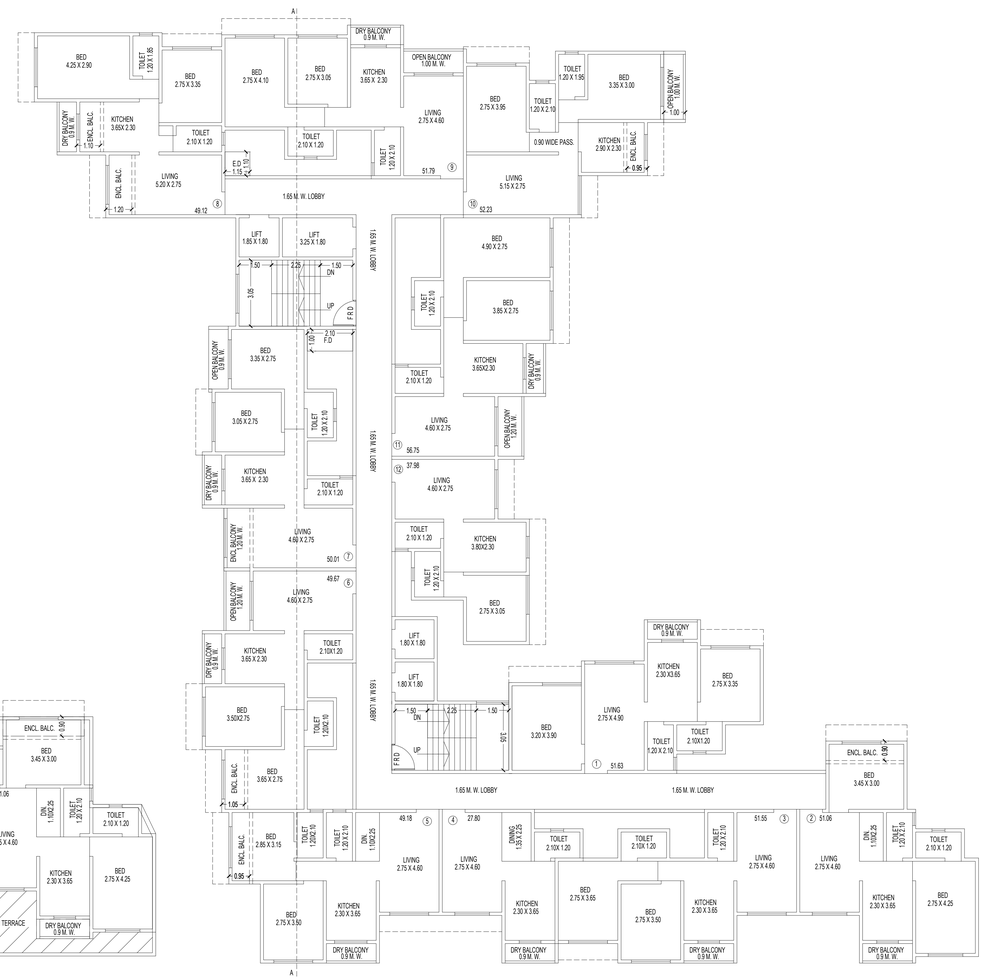

2nd FLOOR PLAN
SCALE 1: 100

DESCRIPTION OF PROPOSAL & PROPERTY

2 / 7

PROPOSED BUILDING ON PLOT BEARING S.NO. 45 H No- 1, 2 & 6(p) OF VILLAGE - NANDIVLI TARFE PANCHANAD, DOMBIVALI , TAL- KALYAN, DIST.-THANE.

SWAMI CO. OP.HSG SOCIETY

STAMP OF APPROVAL OF PLAN

APPENDIX - C

The plans prepared by me are in accordance with the norms as specified by indian standard institute & i will be held responsoble for any harm caused in earthquake due to neglience of the standards.

engineers signature

Certificate of Area:

Certified that the plot under reference was surveyed by me on 10-12-2022 and the dimensions of sides etc. of plot stated on plan are as measured on site and the area so worked out 344.00 not tallies with the area stated in document of Ownership/ T.P. Scheme Records/ Land Records Department/City Survey records.

Signature
(Name of Architect/Licensed Engineer/Supervisor.)

NAME, ADDRESS & SIGNATURE OF OWNER

I/We undersigned hereby confirm that I/We would abide by plans approved by Authority / Collector. I/We would execute the structure as per approved plans. Also I/We would execute the work under supervision of proper technical person so as to ensure the quality and safety at the work site.

M/S. JALARAM DEVELOPERS
SHRI. DILIP PATEL
(P.O.A HOLDER)
104, JAGANNATHS COMMERCE PLAZA,
NEAR GODREJ SHOWROOM,MANPADA ROAD, DOMBIVLI (E.)

JOB No.	DRG No.	SCALE	DRAWN BY	CHECKED BY	DATE
R.K. - 156	2	AS STATED			24- 02 - 2026

NAME, ADDRESS & SIGNATURE OF ARCHITECT

DEEP VINOD PATEL
Digitally signed by DEEP VINOD PATEL
Date: 2026.03.17 18:21:58 +05'30'

DEEP VINOD PATEL
CA / 2024 / 181059

R. K. ASSOCIATES
206,207,208,2nd FLOOR,
JAGANNATHS COMMERCE PLAZA,
NEAR GODREJ SHOWROOM,
MANPADA ROAD, DOMBIVLI (E.)

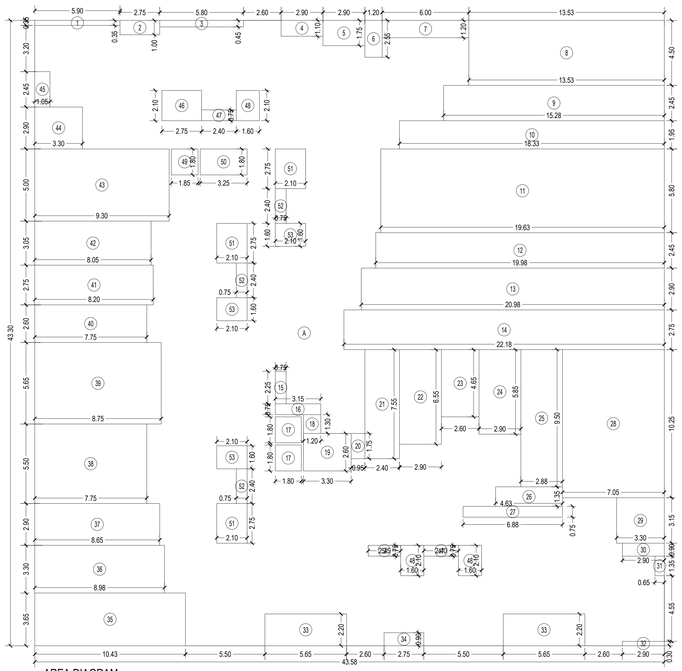

AREA DIAGRAM
2ND FLOOR (SCALE - 1:150)

BUILT UP AREA CALCULATION

TYPICAL FLOOR									
A	43.58	X	43.30	X	1	NO	=	1887.01	SQ.MT.
			TOTAL ADDITION				=	1887.01	SQ.MT.

DEDUCTIONS

1	5.90	X	0.35	X	1	NO	=	2.07	SQ.MT.
2	2.75	X	1.00	X	1	NO	=	2.75	SQ.MT.
3	5.80	X	0.45	X	1	NO	=	2.61	SQ.MT.
4	2.90	X	1.10	X	1	NO	=	3.19	SQ.MT.
5	2.90	X	1.75	X	1	NO	=	5.08	SQ.MT.
6	1.20	X	2.55	X	1	NO	=	3.06	SQ.MT.
7	6.00	X	1.20	X	1	NO	=	7.20	SQ.MT.
8	13.53	X	4.50	X	1	NO	=	60.89	SQ.MT.
9	15.28	X	2.45	X	1	NO	=	37.44	SQ.MT.
10	18.33	X	1.95	X	1	NO	=	35.74	SQ.MT.
11	19.63	X	5.80	X	1	NO	=	113.85	SQ.MT.
12	19.98	X	2.45	X	1	NO	=	48.95	SQ.MT.
13	20.98	X	2.90	X	1	NO	=	60.84	SQ.MT.
14	22.18	X	2.75	X	1	NO	=	61.00	SQ.MT.
15	0.75	X	2.25	X	1	NO	=	1.69	SQ.MT.
16	3.15	X	0.75	X	1	NO	=	2.36	SQ.MT.
17	1.80	X	1.80	X	2	NOS	=	6.48	SQ.MT.
18	1.20	X	1.30	X	1	NO	=	1.56	SQ.MT.
19	3.30	X	2.60	X	1	NO	=	8.58	SQ.MT.
20	0.95	X	1.75	X	1	NO	=	1.66	SQ.MT.
21	2.40	X	7.55	X	1	NO	=	18.12	SQ.MT.
22	2.90	X	6.55	X	1	NO	=	19.00	SQ.MT.
23	2.60	X	4.65	X	1	NO	=	12.09	SQ.MT.
24	2.90	X	5.85	X	1	NO	=	16.97	SQ.MT.
25	2.88	X	9.50	X	1	NO	=	27.36	SQ.MT.
26	4.63	X	1.35	X	1	NO	=	6.25	SQ.MT.
27	6.88	X	0.75	X	1	NO	=	5.16	SQ.MT.
28	7.05	X	10.25	X	1	NO	=	72.26	SQ.MT.
29	3.30	X	3.15	X	1	NO	=	10.40	SQ.MT.
30	2.90	X	0.90	X	1	NO	=	2.61	SQ.MT.
31	0.65	X	1.35	X	1	NO	=	0.88	SQ.MT.
32	2.90	X	0.30	X	1	NO	=	0.87	SQ.MT.
33	5.65	X	2.20	X	2	NOS	=	24.86	SQ.MT.
34	2.75	X	0.90	X	1	NO	=	2.48	SQ.MT.
35	10.43	X	3.65	X	1	NO	=	38.07	SQ.MT.
36	8.98	X	3.30	X	1	NO	=	29.63	SQ.MT.
37	8.65	X	2.90	X	1	NO	=	25.09	SQ.MT.
38	7.75	X	5.50	X	1	NO	=	42.63	SQ.MT.
39	8.75	X	5.65	X	1	NO	=	49.44	SQ.MT.
40	7.75	X	2.60	X	1	NO	=	20.15	SQ.MT.
41	8.20	X	2.75	X	1	NO	=	22.55	SQ.MT.
42	8.05	X	3.05	X	1	NO	=	24.55	SQ.MT.
43	9.30	X	5.00	X	1	NO	=	46.50	SQ.MT.
44	3.30	X	2.90	X	1	NO	=	9.57	SQ.MT.
45	1.05	X	2.45	X	1	NO	=	2.57	SQ.MT.
46	2.75	X	2.10	X	1	NO	=	5.78	SQ.MT.
47	2.40	X	0.75	X	2	NOS	=	3.60	SQ.MT.
48	1.60	X	2.10	X	3	NOS	=	10.08	SQ.MT.
49	1.85	X	1.80	X	1	NO	=	3.33	SQ.MT.
50	3.25	X	1.80	X	1	NO	=	5.85	SQ.MT.
51	2.10	X	2.75	X	3	NOS	=	17.33	SQ.MT.
52	0.75	X	2.40	X	3	NOS	=	5.40	SQ.MT.
53	2.10	X	1.60	X	3	NOS	=	10.08	SQ.MT.
54	2.25	X	0.75	X	1	NO	=	1.69	SQ.MT.
			TOTAL DEDUCTION				=	1060.20	SQ.MT.
TOTAL BUILT UP AREA							=	826.81	SQ.MT.

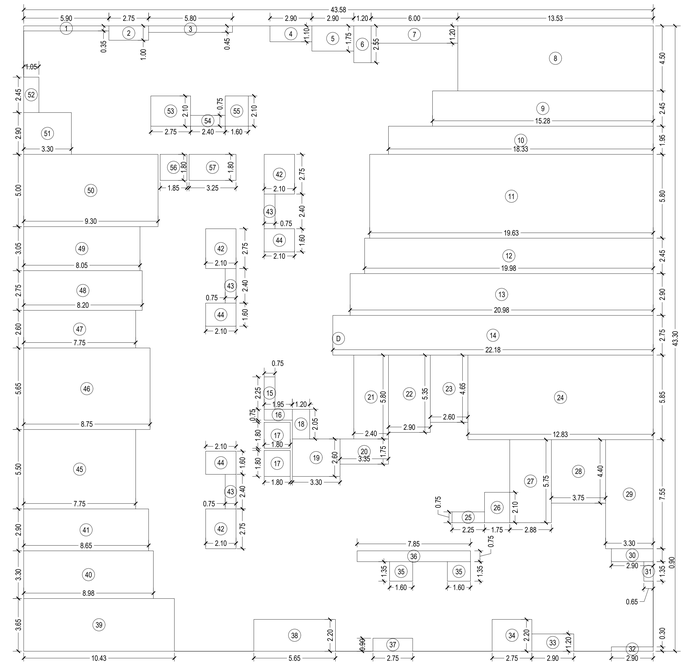

AREA DIAGRAM
3RD FLOOR (SCALE - 1:150)

BUILT UP AREA CALCULATION

3RD FLOOR									
D	43.58	X	43.30	X	1	NO	=	1887.01	SQ.MT.
			TOTAL ADDITION				=	1887.01	SQ.MT.

DEDUCTIONS

1	5.90	X	0.35	X	1	NO	=	2.07	SQ.MT.
2	2.75	X	1.00	X	1	NO	=	2.75	SQ.MT.
3	5.80	X	0.45	X	1	NO	=	2.61	SQ.MT.
4	2.90	X	1.10	X	1	NO	=	3.19	SQ.MT.
5	2.90	X	1.75	X	1	NO	=	5.08	SQ.MT.
6	1.20	X	2.55	X	1	NO	=	3.06	SQ.MT.
7	6.00	X	1.20	X	1	NO	=	7.20	SQ.MT.
8	13.53	X	4.50	X	1	NO	=	60.89	SQ.MT.
9	15.28	X	2.45	X	1	NO	=	37.44	SQ.MT.
10	18.33	X	1.95	X	1	NO	=	35.74	SQ.MT.
11	19.63	X	5.80	X	1	NO	=	113.85	SQ.MT.
12	19.98	X	2.45	X	1	NO	=	48.95	SQ.MT.
13	20.98	X	2.90	X	1	NO	=	60.84	SQ.MT.
14	22.18	X	2.75	X	1	NO	=	61.00	SQ.MT.
15	0.75	X	2.25	X	1	NO	=	1.69	SQ.MT.
16	1.95	X	0.75	X	1	NO	=	1.46	SQ.MT.
17	1.80	X	1.80	X	2	NOS	=	6.48	SQ.MT.
18	1.20	X	2.05	X	1	NO	=	2.46	SQ.MT.
19	3.30	X	2.60	X	1	NO	=	8.58	SQ.MT.
20	3.35	X	1.75	X	1	NO	=	5.86	SQ.MT.
21	2.40	X	5.80	X	1	NO	=	13.92	SQ.MT.
22	2.90	X	5.35	X	1	NO	=	15.52	SQ.MT.
23	2.60	X	4.65	X	1	NO	=	12.09	SQ.MT.
24	12.83	X	5.85	X	1	NO	=	75.06	SQ.MT.
25	2.25	X	0.75	X	1	NO	=	1.69	SQ.MT.
26	1.75	X	2.10	X	1	NO	=	3.68	SQ.MT.
27	2.88	X	5.75	X	1	NO	=	16.56	SQ.MT.
28	3.75	X	4.40	X	1	NO	=	16.50	SQ.MT.
29	3.30	X	7.55	X	1	NO	=	24.92	SQ.MT.
30	2.90	X	0.90	X	1	NO	=	2.61	SQ.MT.
31	0.65	X	1.35	X	1	NO	=	0.88	SQ.MT.
32	2.90	X	0.30	X	1	NO	=	0.87	SQ.MT.
33	2.90	X	1.20	X	1	NO	=	3.48	SQ.MT.
34	2.75	X	2.20	X	1	NO	=	6.05	SQ.MT.
35	1.60	X	1.35	X	2	NOS	=	4.32	SQ.MT.
36	7.85	X	0.75	X	1	NO	=	5.89	SQ.MT.
37	2.75	X	0.90	X	1	NO	=	2.48	SQ.MT.
38	5.65	X	2.20	X	1	NO	=	12.43	SQ.MT.
39	10.43	X	3.65	X	1	NO	=	38.07	SQ.MT.
40	8.98	X	3.30	X	1	NO	=	29.63	SQ.MT.
41	8.65	X	2.90	X	1	NO	=	25.09	SQ.MT.
42	2.10	X	2.75	X	3	NOS	=	17.33	SQ.MT.
43	0.75	X	2.40	X	3	NOS	=	5.40	SQ.MT.
44	2.10	X	1.60	X	3	NOS	=	10.08	SQ.MT.
45	7.75	X	5.50	X	1	NO	=	42.63	SQ.MT.
46	8.75	X	5.65	X	1	NO	=	49.44	SQ.MT.
47	7.75	X	2.60	X	1	NO	=	20.15	SQ.MT.
48	8.20	X	2.75	X	1	NO	=	22.55	SQ.MT.
49	8.05	X	3.05	X	1	NO	=	24.55	SQ.MT.
50	9.30	X	5.00	X	1	NO	=	46.50	SQ.MT.
51	3.30	X	2.90	X	1	NO	=	9.57	SQ.MT.
52	1.05	X	2.45	X	1	NO	=	2.57	SQ.MT.
53	2.75	X	2.10	X	1	NO	=	5.78	SQ.MT.
54	2.40	X	0.75	X	1	NO	=	1.80	SQ.MT.
55	1.60	X	2.10	X	1	NO	=	3.36	SQ.MT.
56	1.85	X	1.80	X	1	NO	=	3.33	SQ.MT.
57	3.25	X	1.80	X	1	NO	=	5.85	SQ.MT.
			TOTAL DEDUCTION				=	1053.83	SQ.MT.
TOTAL BUILT UP AREA [X - Y1]							=	833.18	SQ.MT.

3rd FOOR PLAN
SCALE 1: 100

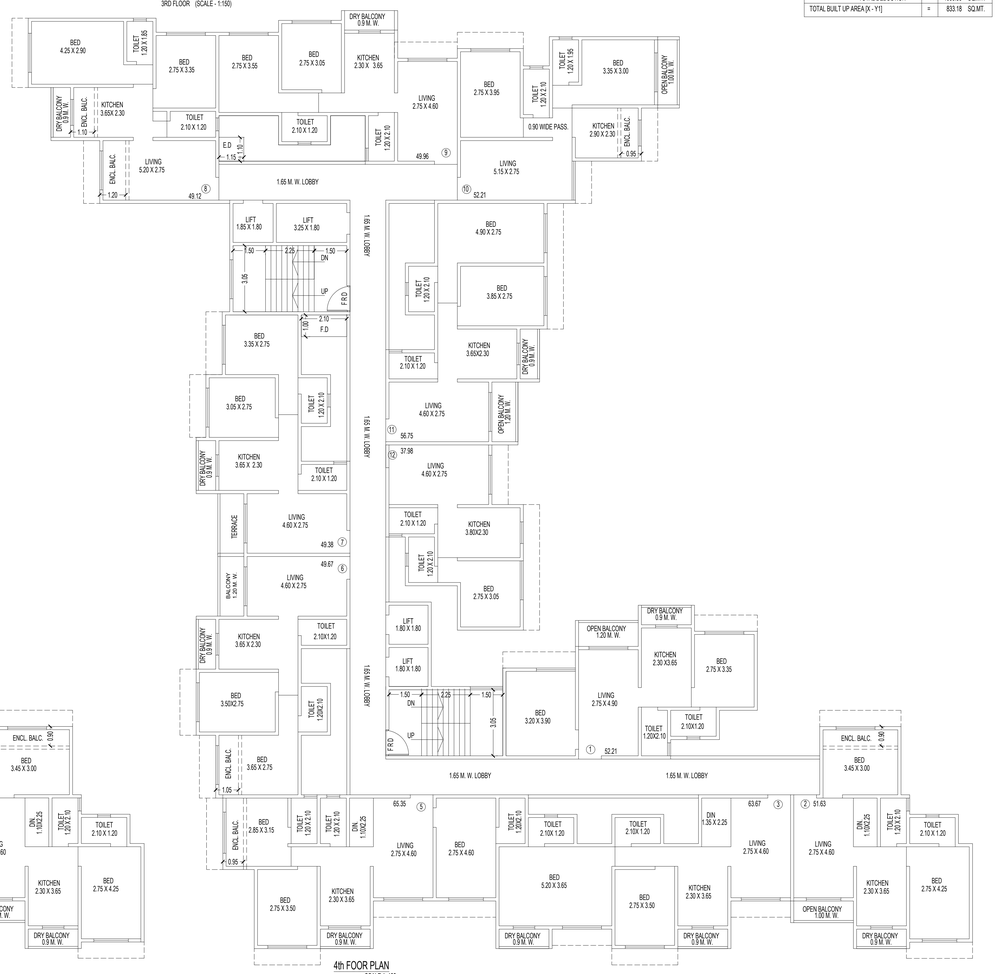

4th FOOR PLAN
SCALE 1: 100

DESCRIPTION OF PROPOSAL & PROPERTY

3 / 7

PROPOSED BUILDING ON PLOT BEARING S.NO. 45 H No- 1, 2 & 6(p) OF VILLAGE - NANDIVLI TARFE PANCHANAD, DOMBIVALI , TAL- KALYAN, DIST.-THANE.

SWAMI CO. OP.HSG SOCIETY

STAMP OF APPROVAL OF PLAN

APPENDIX - C

The plans prepared by me are in accordance with the norms as specified by indian standard institute & i will be held responsoble for any harm caused in earthquake due to neglience of the standards.

engineers signature

Certificate of Area:

Certified that the plot under reference was surveyed by me on 10-12-2022 and the dimensions of sides etc. of plot stated on plan are as measured on site and the area so worked out 344.00 not tallies with the area stated in document of Ownership/ T.P. Scheme Records/ Land Records Department/City Survey records.

Signature
(Name of Architect/Licensed Engineer/Supervisor.)

NAME, ADDRESS & SIGNATURE OF OWNER

I/We undersigned hereby confirm that I/We would abide by plans approved by Authority / Collector. I/We would execute the structure as per approved plans. Also I/We would execute the work under supervision of proper technical person so as to ensure the quality and safety at the work site.

M/S. JALARAM DEVELOPERS
SHRI. DILIP PATEL
(P.O.A HOLDER)
104, JAGANNATH'S COMMERCE PLAZA,
NEAR GODREJ SHOWROOM,MANPADA ROAD, DOMBIVLI (E.)

JOB.No.	DRG.No.	SCALE	DRAWN BY	CHECKED BY	DATE
R.K. - 156	3	AS STATED			24- 02 - 2026

NAME, ADDRESS & SIGNATURE OF ARCHITECT

DEEP VINOD PATEL
Digitally signed by DEEP VINOD PATEL
Date: 2026.03.17 18:23:31 +05'30'

DEEP VINOD PATEL
CA / 2024 / 181059

R. K. ASSOCIATES
206,207,208,2nd FLOOR,
JAGANNATH'S COMMERCE PLAZA,
NEAR GODREJ SHOWROOM,
MANPADA ROAD, DOMBIVLI (E.)

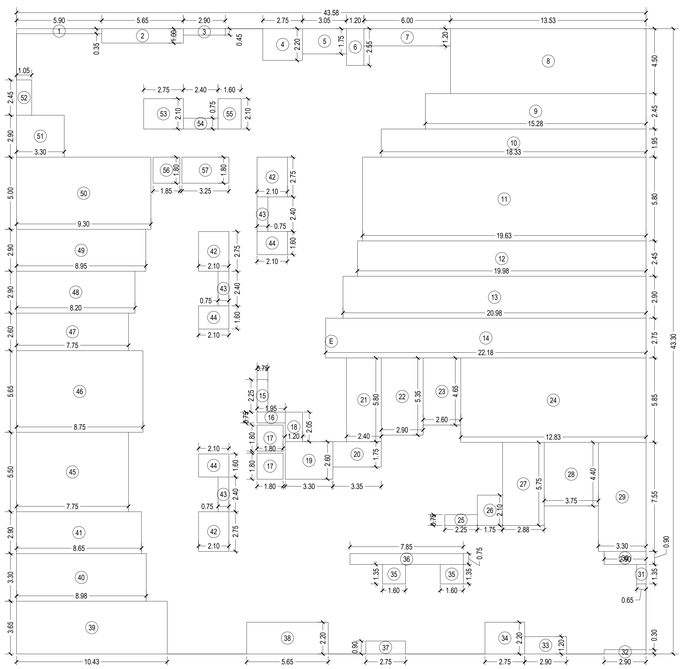

AREA DIAGRAM
4TH FLOOR (SCALE - 1:150)

BUILT UP AREA CALCULATION

4TH FLOOR								
E	43.58	X	43.30	X	1 NO	=	1887.01	SQ.MT.
			TOTAL ADDITION			=	1887.01	SQ.MT.

DEDUCTIONS

1	5.90	X	0.35	X	1 NO	=	2.07	SQ.MT.
2	5.65	X	1.00	X	1 NO	=	5.65	SQ.MT.
3	2.90	X	0.45	X	1 NO	=	1.31	SQ.MT.
4	2.75	X	2.20	X	1 NO	=	6.05	SQ.MT.
5	3.05	X	1.75	X	1 NO	=	5.34	SQ.MT.
6	1.20	X	2.55	X	1 NO	=	3.06	SQ.MT.
7	6.00	X	1.20	X	1 NO	=	7.20	SQ.MT.
8	13.53	X	4.50	X	1 NO	=	60.89	SQ.MT.
9	15.28	X	2.45	X	1 NO	=	37.44	SQ.MT.
10	18.33	X	1.95	X	1 NO	=	35.74	SQ.MT.
11	19.63	X	5.80	X	1 NO	=	113.85	SQ.MT.
12	19.98	X	2.45	X	1 NO	=	48.95	SQ.MT.
13	20.98	X	2.90	X	1 NO	=	60.84	SQ.MT.
14	22.18	X	2.75	X	1 NO	=	61.00	SQ.MT.
15	0.75	X	2.25	X	1 NO	=	1.69	SQ.MT.
16	1.95	X	0.75	X	1 NO	=	1.46	SQ.MT.
17	1.80	X	1.80	X	2 NOS	=	6.48	SQ.MT.
18	1.20	X	2.05	X	1 NO	=	2.46	SQ.MT.
19	3.30	X	2.60	X	1 NO	=	8.58	SQ.MT.
20	3.35	X	1.75	X	1 NO	=	5.86	SQ.MT.
21	2.40	X	5.80	X	1 NO	=	13.92	SQ.MT.
22	2.90	X	5.35	X	1 NO	=	15.52	SQ.MT.
23	2.60	X	4.65	X	1 NO	=	12.09	SQ.MT.
24	12.83	X	5.85	X	1 NO	=	75.06	SQ.MT.
25	2.25	X	0.75	X	1 NO	=	1.69	SQ.MT.
26	1.75	X	2.10	X	1 NO	=	3.68	SQ.MT.
27	2.88	X	5.75	X	1 NO	=	16.56	SQ.MT.
28	3.75	X	4.40	X	1 NO	=	16.50	SQ.MT.
29	3.30	X	7.55	X	1 NO	=	24.92	SQ.MT.
30	2.90	X	0.90	X	1 NO	=	2.61	SQ.MT.
31	0.65	X	1.35	X	1 NO	=	0.88	SQ.MT.
32	2.90	X	0.30	X	1 NO	=	0.87	SQ.MT.
33	2.90	X	1.20	X	1 NO	=	3.48	SQ.MT.
34	2.75	X	2.20	X	1 NO	=	6.05	SQ.MT.
35	1.60	X	1.35	X	2 NOS	=	4.32	SQ.MT.
36	7.85	X	0.75	X	1 NO	=	5.89	SQ.MT.
37	2.75	X	0.90	X	1 NO	=	2.48	SQ.MT.
38	5.65	X	2.20	X	1 NO	=	12.43	SQ.MT.
39	10.43	X	3.65	X	1 NO	=	38.07	SQ.MT.
40	8.98	X	3.30	X	1 NO	=	29.63	SQ.MT.
41	8.65	X	2.90	X	1 NO	=	25.09	SQ.MT.
42	2.10	X	2.75	X	3 NOS	=	17.33	SQ.MT.
43	0.75	X	2.40	X	3 NOS	=	5.40	SQ.MT.
44	2.10	X	1.60	X	3 NOS	=	10.08	SQ.MT.
45	7.75	X	5.50	X	1 NO	=	42.63	SQ.MT.
46	8.75	X	5.65	X	1 NO	=	49.44	SQ.MT.
47	7.75	X	2.60	X	1 NO	=	20.15	SQ.MT.
48	8.20	X	2.90	X	1 NO	=	23.78	SQ.MT.
49	8.95	X	2.90	X	1 NO	=	25.96	SQ.MT.
50	9.30	X	5.00	X	1 NO	=	46.50	SQ.MT.
51	3.30	X	2.90	X	1 NO	=	9.57	SQ.MT.
52	1.05	X	2.45	X	1 NO	=	2.57	SQ.MT.
53	2.75	X	2.10	X	1 NO	=	5.78	SQ.MT.
54	2.40	X	0.75	X	1 NO	=	1.80	SQ.MT.
55	1.60	X	2.10	X	1 NO	=	3.36	SQ.MT.
56	1.85	X	1.80	X	1 NO	=	3.33	SQ.MT.
57	3.25	X	1.80	X	1 NO	=	5.85	SQ.MT.
			TOTAL DEDUCTION			=	1061.19	SQ.MT.
TOTAL BUILT UP AREA [X - Y1]						=	825.82	SQ.MT.

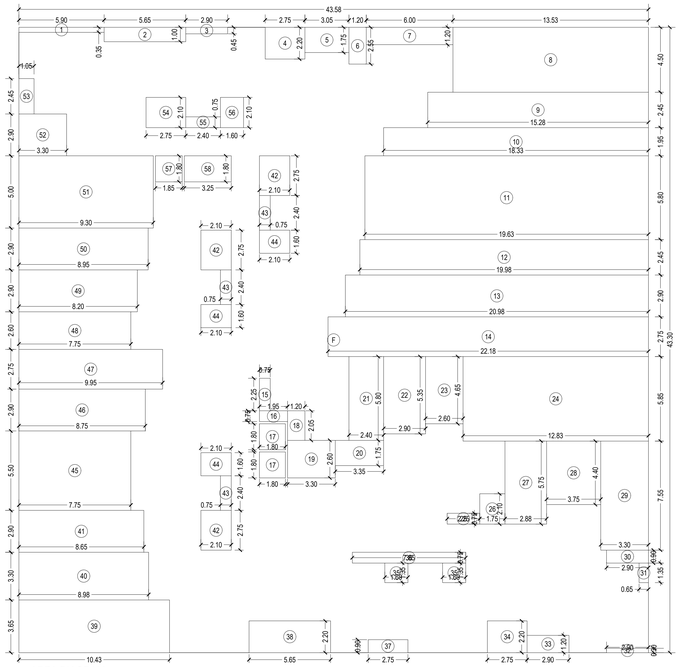

AREA DIAGRAM
5TH FLOOR (SCALE - 1:150)

BUILT UP AREA CALCULATION

5TH FLOOR								
F	43.58	X	43.30	X	1 NO	=	1887.01	SQ.MT.
			TOTAL ADDITION			=	1887.01	SQ.MT.

DEDUCTIONS

1	5.90	X	0.35	X	1 NO	=	2.07	SQ.MT.
2	5.65	X	1.00	X	1 NO	=	5.65	SQ.MT.
3	2.90	X	0.45	X	1 NO	=	1.31	SQ.MT.
4	2.75	X	2.20	X	1 NO	=	6.05	SQ.MT.
5	3.05	X	1.75	X	1 NO	=	5.34	SQ.MT.
6	1.20	X	2.55	X	1 NO	=	3.06	SQ.MT.
7	6.00	X	1.20	X	1 NO	=	7.20	SQ.MT.
8	13.53	X	4.50	X	1 NO	=	60.89	SQ.MT.
9	15.28	X	2.45	X	1 NO	=	37.44	SQ.MT.
10	18.33	X	1.95	X	1 NO	=	35.74	SQ.MT.
11	19.63	X	5.80	X	1 NO	=	113.85	SQ.MT.
12	19.98	X	2.45	X	1 NO	=	48.95	SQ.MT.
13	20.98	X	2.90	X	1 NO	=	60.84	SQ.MT.
14	22.18	X	2.75	X	1 NO	=	61.00	SQ.MT.
15	0.75	X	2.25	X	1 NO	=	1.69	SQ.MT.
16	1.95	X	0.75	X	1 NO	=	1.46	SQ.MT.
17	1.80	X	1.80	X	2 NOS	=	6.48	SQ.MT.
18	1.20	X	2.05	X	1 NO	=	2.46	SQ.MT.
19	3.30	X	2.60	X	1 NO	=	8.58	SQ.MT.
20	3.35	X	1.75	X	1 NO	=	5.86	SQ.MT.
21	2.40	X	5.80	X	1 NO	=	13.92	SQ.MT.
22	2.90	X	5.35	X	1 NO	=	15.52	SQ.MT.
23	2.60	X	4.65	X	1 NO	=	12.09	SQ.MT.
24	12.83	X	5.85	X	1 NO	=	75.06	SQ.MT.
25	2.25	X	0.75	X	1 NO	=	1.69	SQ.MT.
26	1.75	X	2.10	X	1 NO	=	3.68	SQ.MT.
27	2.88	X	5.75	X	1 NO	=	16.56	SQ.MT.
28	3.75	X	4.40	X	1 NO	=	16.50	SQ.MT.
29	3.30	X	7.55	X	1 NO	=	24.92	SQ.MT.
30	2.90	X	0.90	X	1 NO	=	2.61	SQ.MT.
31	0.65	X	1.35	X	1 NO	=	0.88	SQ.MT.
32	2.90	X	0.30	X	1 NO	=	0.87	SQ.MT.
33	2.90	X	1.20	X	1 NO	=	3.48	SQ.MT.
34	2.75	X	2.20	X	1 NO	=	6.05	SQ.MT.
35	1.60	X	1.35	X	2 NOS	=	4.32	SQ.MT.
36	7.85	X	0.75	X	1 NO	=	5.89	SQ.MT.
37	2.75	X	0.90	X	1 NO	=	2.48	SQ.MT.
38	5.65	X	2.20	X	1 NO	=	12.43	SQ.MT.
39	10.43	X	3.65	X	1 NO	=	38.07	SQ.MT.
40	8.98	X	3.30	X	1 NO	=	29.63	SQ.MT.
41	8.65	X	2.90	X	1 NO	=	25.09	SQ.MT.
42	2.10	X	2.75	X	3 NOS	=	17.33	SQ.MT.
43	0.75	X	2.40	X	3 NOS	=	5.40	SQ.MT.
44	2.10	X	1.60	X	3 NOS	=	10.08	SQ.MT.
45	7.75	X	5.50	X	1 NO	=	42.63	SQ.MT.
46	8.75	X	2.90	X	1 NO	=	25.38	SQ.MT.
47	9.95	X	2.75	X	1 NO	=	27.36	SQ.MT.
48	7.75	X	2.60	X	1 NO	=	20.15	SQ.MT.
49	8.20	X	2.90	X	1 NO	=	23.78	SQ.MT.
50	8.95	X	2.90	X	1 NO	=	25.96	SQ.MT.
51	9.30	X	5.00	X	1 NO	=	46.50	SQ.MT.
52	3.30	X	2.90	X	1 NO	=	9.57	SQ.MT.
53	1.05	X	2.45	X	1 NO	=	2.57	SQ.MT.
54	2.75	X	2.10	X	1 NO	=	5.78	SQ.MT.
55	2.40	X	0.75	X	1 NO	=	1.80	SQ.MT.
56	1.60	X	2.10	X	1 NO	=	3.36	SQ.MT.
57	1.85	X	1.80	X	1 NO	=	3.33	SQ.MT.
58	3.25	X	1.80	X	1 NO	=	5.85	SQ.MT.
			TOTAL DEDUCTION			=	1064.49	SQ.MT.
TOTAL BUILT UP AREA [X - Y1]						=	822.52	SQ.MT.

5th FOOR PLAN
SCALE 1: 100

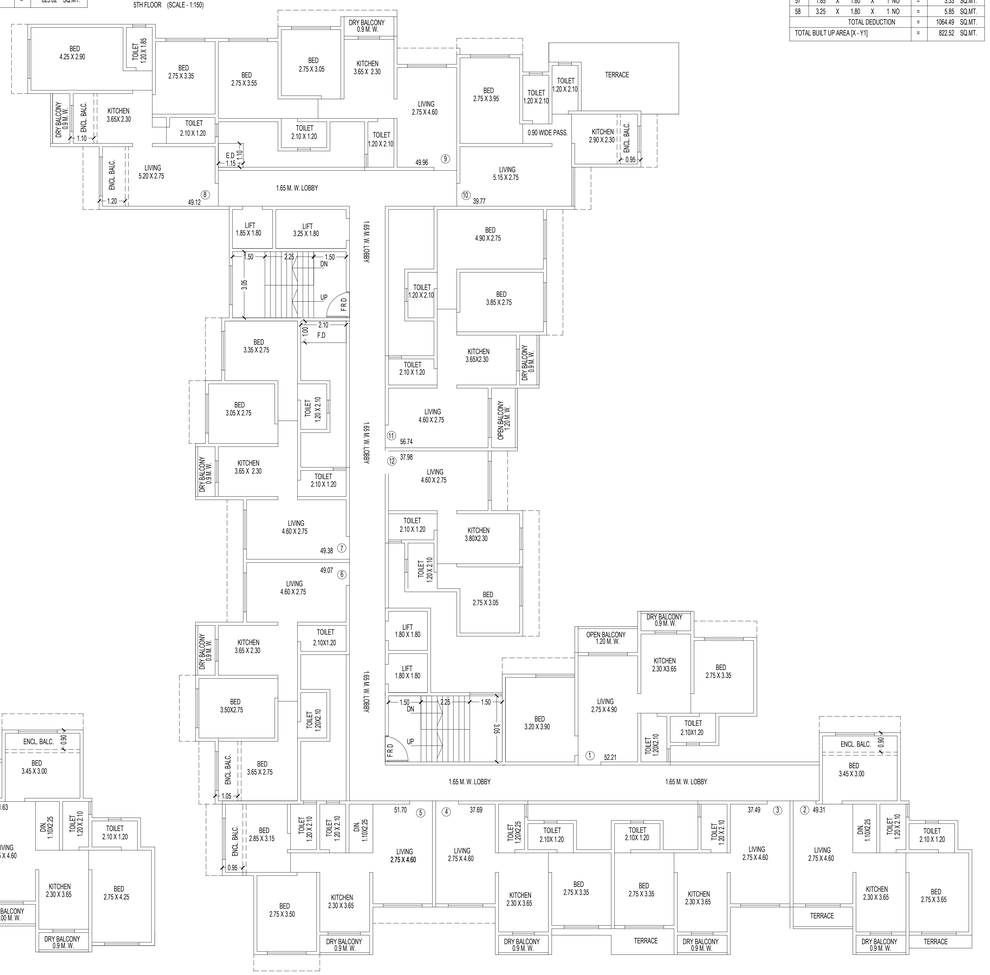

6th FOOR PLAN
SCALE 1: 100

DESCRIPTION OF PROPOSAL & PROPERTY

4 / 7

PROPOSED BUILDING ON PLOT BEARING S.NO. 45 H No- 1, 2 & 6(p) OF VILLAGE - NANDIVLI TARFE PANCHANAD, DOMBIVALI , TAL- KALYAN, DIST.-THANE.

SWAMI CO. OP.HSG SOCIETY

STAMP OF APPROVAL OF PLAN

APPENDIX - C

The plans prepared by me are in accordance with the norms as specified by indian standard institute & i will be held responsoble for any harm caused in earthquake due to neglience of the standards.

engineers signature

Certificate of Area:

Certified that the plot under reference was surveyed by me on 10-12-2022 and the dimensions of sides etc. of plot stated on plan are as measured on site and the area so worked out 344.00 not tallies with the area stated in document of Ownership/ T.P. Scheme Records/ Land Records Department/City Survey records.

Signature
(Name of Architect/Licensed Engineer/Supervisor.)

NAME, ADDRESS & SIGNATURE OF OWNER

I/We undersigned hereby confirm that I/We would abide by plans approved by Authority / Collector. I/We would execute the structure as per approved plans. Also I/We would execute the work under supervision of proper technical person so as to ensure the quality and safety at the work site.

M/S. JALARAM DEVELOPERS
SHRI. DILIP PATEL
(P.O.A HOLDER)
104, JAGANNATH'S COMMERCE PLAZA,
NEAR GODREJ SHOWROOM,MANPADA ROAD, DOMBIVLI (E.)

JOB No.	DRG No.	SCALE	DRAWN BY	CHECKED BY	DATE
R.K. - 156	4	AS STATED			24- 02 - 2026

NAME, ADDRESS & SIGNATURE OF ARCHITECT

DEEP VINOD PATEL
Digitally signed by DEEP VINOD PATEL
Date: 2026.03.17 18:24:54 +05'30'

DEEP VINOD PATEL
CA / 2024 / 181059

R. K. ASSOCIATES
206,207,208,2nd FLOOR,
JAGANNATH'S COMMERCE PLAZA,
NEAR GODREJ SHOWROOM,
MANPADA ROAD, DOMBIVLI (E.)

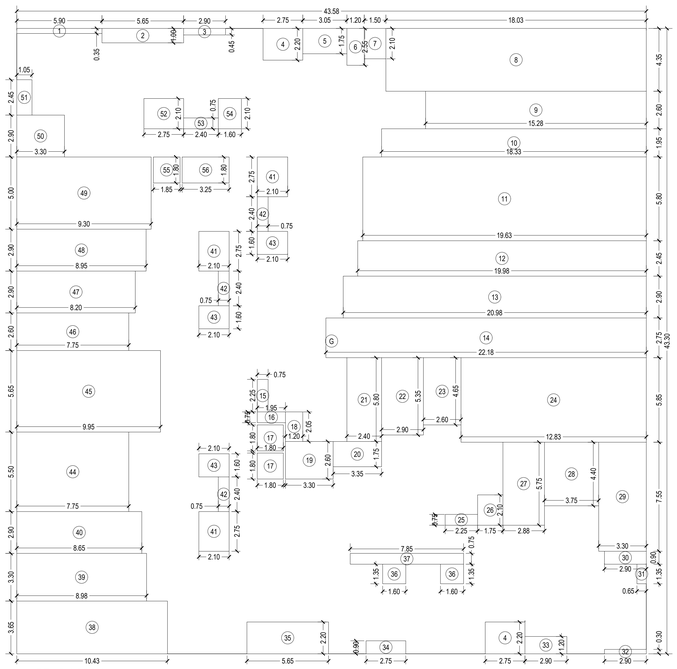

AREA DIAGRAM
6TH FLOOR (SCALE - 1:150)

BUILT UP AREA CALCULATION

6TH FLOOR							
G	43.58	X	43.30	X	1 NO	=	1887.01 SQ.MT.
TOTAL ADDITION						=	1887.01 SQ.MT.

DEDUCTIONS

1	5.90	X	0.35	X	1 NO	=	2.07 SQ.MT.
2	5.65	X	1.00	X	1 NO	=	5.65 SQ.MT.
3	2.90	X	0.45	X	1 NO	=	1.31 SQ.MT.
4	2.75	X	2.20	X	2 NOS	=	12.10 SQ.MT.
5	3.05	X	1.75	X	1 NO	=	5.34 SQ.MT.
6	1.20	X	2.65	X	1 NO	=	3.06 SQ.MT.
7	1.50	X	2.10	X	1 NO	=	3.15 SQ.MT.
8	18.03	X	4.35	X	1 NO	=	78.43 SQ.MT.
9	15.28	X	2.60	X	1 NO	=	39.73 SQ.MT.
10	18.33	X	1.95	X	1 NO	=	35.74 SQ.MT.
11	19.63	X	5.80	X	1 NO	=	113.85 SQ.MT.
12	19.98	X	2.45	X	1 NO	=	48.95 SQ.MT.
13	20.98	X	2.90	X	1 NO	=	60.84 SQ.MT.
14	22.18	X	2.75	X	1 NO	=	61.00 SQ.MT.
15	0.75	X	2.25	X	1 NO	=	1.69 SQ.MT.
16	1.95	X	0.75	X	1 NO	=	1.46 SQ.MT.
17	1.80	X	1.80	X	2 NOS	=	6.48 SQ.MT.
18	1.20	X	2.05	X	1 NO	=	2.46 SQ.MT.
19	3.30	X	2.60	X	1 NO	=	8.58 SQ.MT.
20	3.35	X	1.75	X	1 NO	=	5.86 SQ.MT.
21	2.40	X	5.80	X	1 NO	=	13.92 SQ.MT.
22	2.90	X	5.35	X	1 NO	=	15.52 SQ.MT.
23	2.60	X	4.65	X	1 NO	=	12.09 SQ.MT.
24	12.83	X	5.85	X	1 NO	=	75.06 SQ.MT.
25	2.25	X	0.75	X	1 NO	=	1.69 SQ.MT.
26	1.75	X	2.10	X	1 NO	=	3.68 SQ.MT.
27	2.88	X	5.75	X	1 NO	=	16.56 SQ.MT.
28	3.75	X	4.40	X	1 NO	=	16.50 SQ.MT.
29	3.30	X	7.55	X	1 NO	=	24.92 SQ.MT.
30	2.90	X	0.90	X	1 NO	=	2.61 SQ.MT.
31	0.65	X	1.35	X	1 NO	=	0.88 SQ.MT.
32	2.90	X	0.30	X	1 NO	=	0.87 SQ.MT.
33	2.90	X	1.20	X	1 NO	=	3.48 SQ.MT.
34	2.75	X	0.90	X	1 NO	=	2.48 SQ.MT.
35	5.65	X	2.20	X	1 NO	=	12.43 SQ.MT.
36	1.60	X	1.35	X	2 NOS	=	4.32 SQ.MT.
37	7.85	X	0.75	X	1 NO	=	5.89 SQ.MT.
38	10.43	X	3.65	X	1 NO	=	38.07 SQ.MT.
39	8.98	X	3.30	X	1 NO	=	29.63 SQ.MT.
40	8.65	X	2.90	X	1 NO	=	25.09 SQ.MT.
41	2.10	X	2.75	X	3 NOS	=	17.33 SQ.MT.
42	0.75	X	2.40	X	3 NOS	=	5.40 SQ.MT.
43	2.10	X	1.60	X	3 NOS	=	10.08 SQ.MT.
44	7.75	X	5.50	X	1 NO	=	42.63 SQ.MT.
45	9.95	X	5.65	X	1 NO	=	56.22 SQ.MT.
46	7.75	X	2.60	X	1 NO	=	20.15 SQ.MT.
47	8.20	X	2.90	X	1 NO	=	23.78 SQ.MT.
48	8.95	X	2.90	X	1 NO	=	25.96 SQ.MT.
49	9.30	X	5.00	X	1 NO	=	46.50 SQ.MT.
50	3.30	X	2.90	X	1 NO	=	9.57 SQ.MT.
51	1.05	X	2.45	X	1 NO	=	2.57 SQ.MT.
52	2.75	X	2.10	X	1 NO	=	5.78 SQ.MT.
53	2.40	X	0.75	X	1 NO	=	1.80 SQ.MT.
54	1.60	X	2.10	X	1 NO	=	3.36 SQ.MT.
55	1.85	X	1.80	X	1 NO	=	3.33 SQ.MT.
56	3.25	X	1.80	X	1 NO	=	5.85 SQ.MT.
TOTAL DEDUCTION						=	1083.75 SQ.MT.
TOTAL BUILT UP AREA [X - Y1]						=	803.26 SQ.MT.

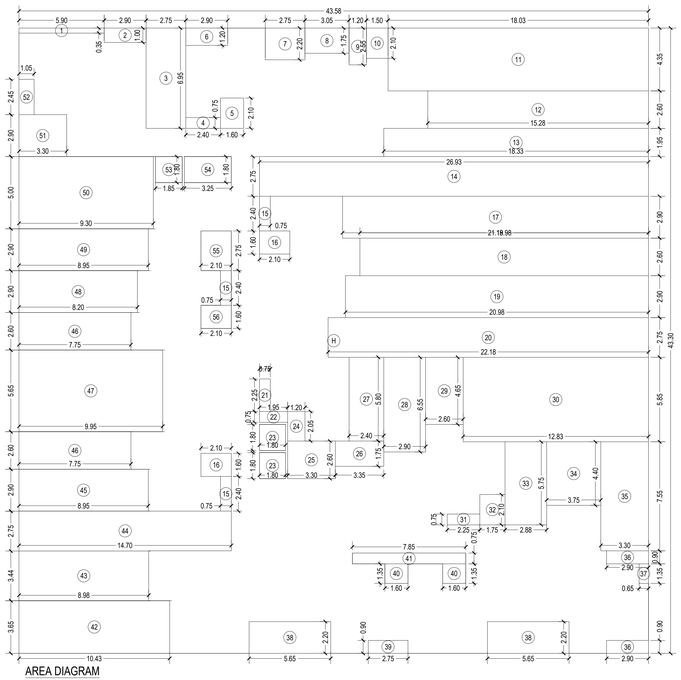

AREA DIAGRAM
7TH FLOOR (SCALE - 1:150)

BUILT UP AREA CALCULATION

7TH FLOOR							
H	43.58	X	43.30	X	1 NO	=	1887.01 SQ.MT.
TOTAL ADDITION						=	1887.01 SQ.MT.

DEDUCTIONS

1	5.90	X	0.35	X	1 NO	=	2.07 SQ.MT.
2	2.90	X	1.00	X	1 NO	=	2.90 SQ.MT.
3	2.75	X	6.95	X	1 NO	=	19.11 SQ.MT.
4	2.40	X	0.75	X	1 NO	=	1.80 SQ.MT.
5	1.60	X	2.10	X	1 NO	=	3.36 SQ.MT.
6	2.90	X	1.20	X	1 NO	=	3.48 SQ.MT.
7	2.75	X	2.20	X	1 NO	=	6.05 SQ.MT.
8	3.05	X	1.75	X	1 NO	=	5.34 SQ.MT.
9	1.20	X	2.55	X	1 NO	=	3.06 SQ.MT.
10	1.50	X	2.10	X	1 NO	=	3.15 SQ.MT.
11	18.03	X	4.35	X	1 NO	=	78.43 SQ.MT.
12	15.28	X	2.60	X	1 NO	=	39.73 SQ.MT.
13	18.33	X	1.95	X	1 NO	=	35.74 SQ.MT.
14	26.93	X	2.75	X	1 NO	=	74.06 SQ.MT.
15	0.75	X	2.40	X	3 NOS	=	5.40 SQ.MT.
16	2.10	X	1.60	X	2 NOS	=	6.72 SQ.MT.
17	21.18	X	2.90	X	1 NO	=	61.42 SQ.MT.
18	19.98	X	2.60	X	1 NO	=	51.95 SQ.MT.
19	20.98	X	2.90	X	1 NO	=	60.84 SQ.MT.
20	22.18	X	2.75	X	1 NO	=	61.00 SQ.MT.
21	0.75	X	2.25	X	1 NO	=	1.69 SQ.MT.
22	1.95	X	0.75	X	1 NO	=	1.46 SQ.MT.
23	1.80	X	1.80	X	2 NOS	=	6.48 SQ.MT.
24	1.20	X	2.05	X	1 NO	=	2.46 SQ.MT.
25	3.30	X	2.60	X	1 NO	=	8.58 SQ.MT.
26	3.35	X	1.75	X	1 NO	=	5.86 SQ.MT.
27	2.40	X	5.80	X	1 NO	=	13.92 SQ.MT.
28	2.90	X	6.55	X	1 NO	=	19.00 SQ.MT.
29	2.60	X	4.65	X	1 NO	=	12.09 SQ.MT.
30	12.83	X	5.85	X	1 NO	=	75.06 SQ.MT.
31	2.25	X	0.75	X	1 NO	=	1.69 SQ.MT.
32	1.75	X	2.10	X	1 NO	=	3.68 SQ.MT.
33	2.88	X	5.75	X	1 NO	=	16.56 SQ.MT.
34	3.75	X	4.40	X	1 NO	=	16.50 SQ.MT.
35	3.30	X	7.55	X	1 NO	=	24.92 SQ.MT.
36	2.90	X	0.90	X	2 NOS	=	5.22 SQ.MT.
37	0.65	X	1.35	X	1 NO	=	0.88 SQ.MT.
38	5.65	X	2.20	X	2 NOS	=	24.86 SQ.MT.
39	2.75	X	0.90	X	1 NO	=	2.48 SQ.MT.
40	1.60	X	1.35	X	2 NOS	=	4.32 SQ.MT.
41	7.85	X	0.75	X	1 NO	=	5.89 SQ.MT.
42	10.43	X	3.65	X	1 NO	=	38.07 SQ.MT.
43	8.98	X	3.44	X	1 NO	=	30.89 SQ.MT.
44	14.70	X	2.75	X	1 NO	=	40.43 SQ.MT.
45	8.95	X	2.90	X	1 NO	=	25.96 SQ.MT.
46	7.75	X	2.60	X	2 NOS	=	40.30 SQ.MT.
47	9.95	X	5.65	X	1 NO	=	56.22 SQ.MT.
48	8.20	X	2.90	X	1 NO	=	23.78 SQ.MT.
49	8.95	X	2.90	X	1 NO	=	25.96 SQ.MT.
50	9.30	X	5.00	X	1 NO	=	46.50 SQ.MT.
51	3.30	X	2.90	X	1 NO	=	9.57 SQ.MT.
52	1.05	X	2.45	X	1 NO	=	2.57 SQ.MT.
53	1.85	X	1.80	X	1 NO	=	3.33 SQ.MT.
54	3.25	X	1.80	X	1 NO	=	5.85 SQ.MT.
55	2.10	X	2.75	X	1 NO	=	5.78 SQ.MT.
56	2.10	X	1.60	X	1 NO	=	3.36 SQ.MT.
TOTAL DEDUCTION						=	1137.78 SQ.MT.
TOTAL BUILT UP AREA [X - Y1]						=	749.23 SQ.MT.

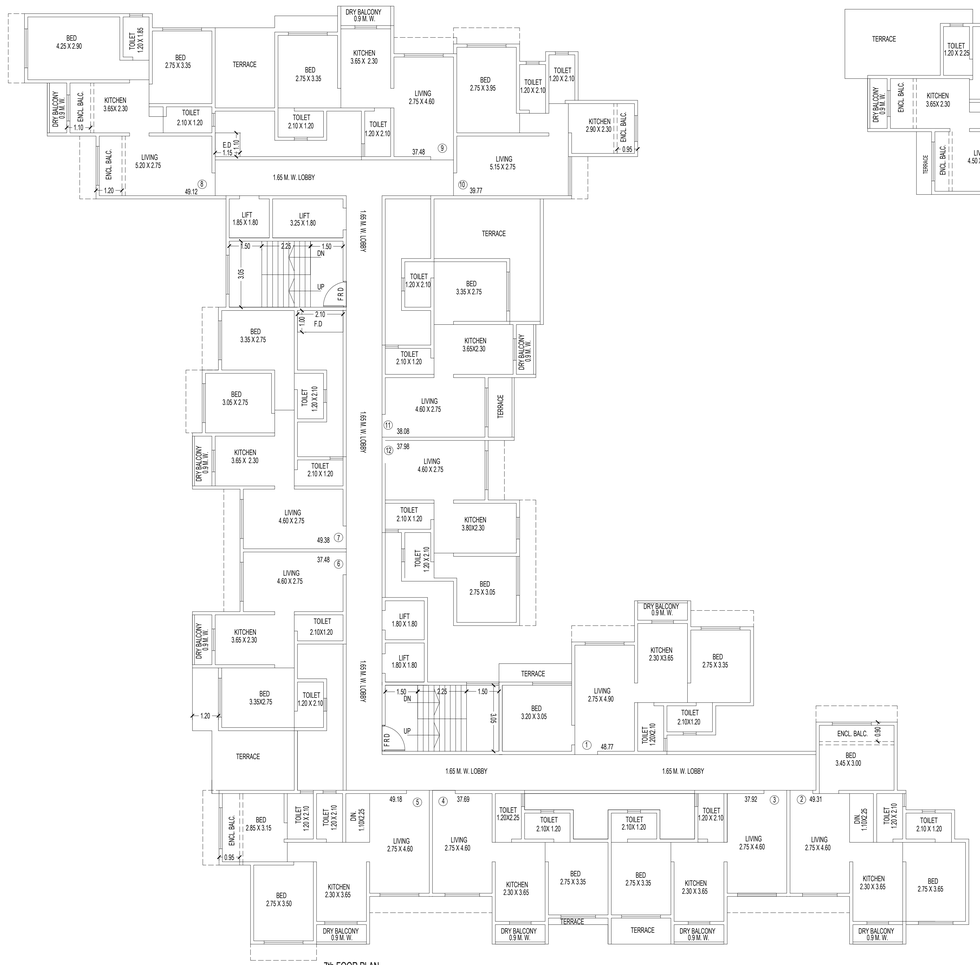

7th FOOR PLAN
SCALE 1: 100

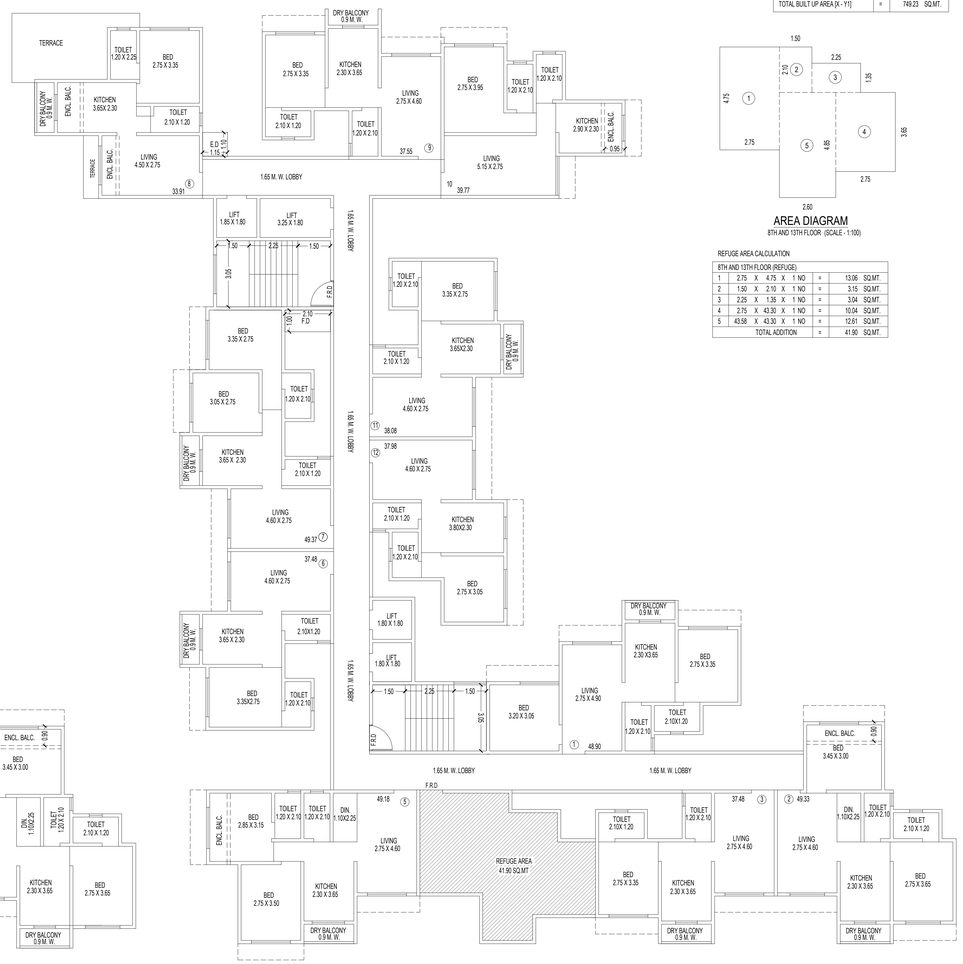

8TH & 13TH FLOOR PLAN
SCALE 1: 100

AREA DIAGRAM
8TH AND 13TH FLOOR (SCALE - 1:100)

REFUGE AREA CALCULATION

8TH AND 13TH FLOOR (REFUGE)							
1	2.75	X	4.75	X	1 NO	=	13.06 SQ.MT.
2	1.50	X	2.10	X	1 NO	=	3.15 SQ.MT.
3	2.25	X	1.35	X	1 NO	=	3.04 SQ.MT.
4	2.75	X	43.30	X	1 NO	=	10.04 SQ.MT.
5	43.58	X	43.30	X	1 NO	=	12.61 SQ.MT.
TOTAL ADDITION						=	41.90 SQ.MT.

DESCRIPTION OF PROPOSAL & PROPERTY

5 / 7

PROPOSED BUILDING ON PLOT BEARING S.NO. 45 H No- 1, 2 & 6(p) OF VILLAGE - NANDIVLI TARFE PANCHANAD, DOMBIVALI , TAL- KALYAN, DIST.-THANE.

SWAMI CO. OP.HSG SOCIETY

STAMP OF APPROVAL OF PLAN

APPENDIX - C

The plans prepared by me are in accordance with the norms as specified by indian standard institute & i will be held responsoble for any harm caused in earthquake due to neglience of the standards.

engineers signature

Certificate of Area:

Certified that the plot under reference was surveyed by me on 10-12-2022 and the dimensions of sides etc. of plot stated on plan are as measured on site and the area so worked out 344.00 not tallies with the area stated in document of Ownership/ T.P. Scheme Records/ Land Records Department/City Survey records.

Signature
(Name of Architect/Licensed Engineer/Supervisor.)

NAME, ADDRESS & SIGNATURE OF OWNER

I/We undersigned hereby confirm that I/We would abide by plans approved by Authority / Collector. I/We would execute the structure as per approved plans. Also I/We would execute the work under supervision of proper technical person so as to ensure the quality and safety at the work site.

M/S. JALARAM DEVELOPERS
SHRI. DILIP PATEL
(P.O.A HOLDER)
104, JAGANNATH'S COMMERCE PLAZA,
NEAR GODREJ SHOWROOM,MANPADA ROAD, DOMBIVLI (E.)

JOB No.	DRG No.	SCALE	DRAWN BY	CHECKED BY	DATE
R.K. - 156	5	AS STATED			24- 02 - 2026

NAME, ADDRESS & SIGNATURE OF ARCHITECT

DEEP VINOD PATEL
Digitally signed by DEEP VINOD PATEL
Date: 2026.03.20 01:15:52 +05'30'

DEEP VINOD PATEL
CA / 2024 / 181059

R. K. ASSOCIATES
206,207,208,2nd FLOOR,
JAGANNATH'S COMMERCE PLAZA,
NEAR GODREJ SHOWROOM,
MANPADA ROAD, DOMBIVLI (E.)

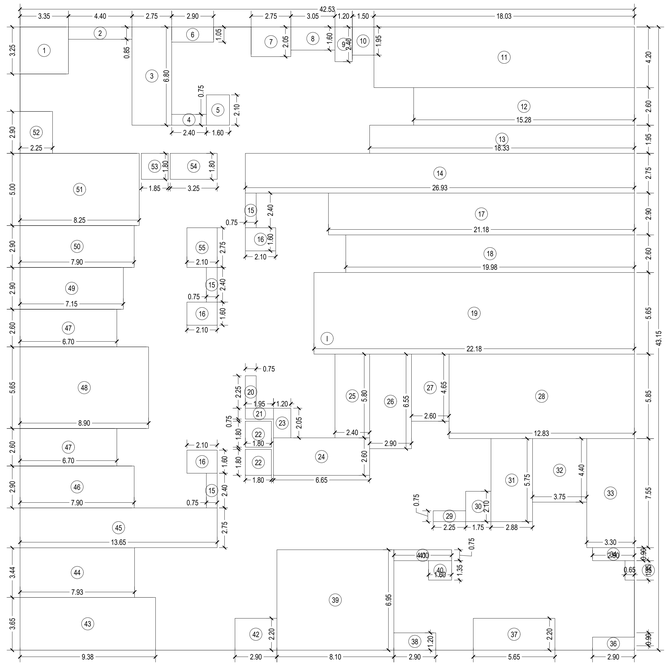

AREA DIAGRAM
8TH FLOOR (SCALE - 1:150)

BUILT UP AREA CALCULATION

8TH FLOOR								
I	42.53	X	43.15	X	1 NO	=	1835.17	SQ.MT.
TOTAL ADDITION						=	1835.17	SQ.MT.

DEDUCTIONS

1	3.35	X	3.25	X	1 NO	=	10.89	SQ.MT.
2	4.40	X	0.85	X	1 NO	=	3.74	SQ.MT.
3	2.75	X	6.80	X	1 NO	=	18.70	SQ.MT.
4	2.40	X	0.75	X	1 NO	=	1.80	SQ.MT.
5	1.60	X	2.10	X	1 NO	=	3.36	SQ.MT.
6	2.90	X	1.05	X	1 NO	=	3.05	SQ.MT.
7	2.75	X	2.05	X	1 NO	=	5.64	SQ.MT.
8	3.05	X	1.60	X	1 NO	=	4.88	SQ.MT.
9	1.20	X	2.40	X	1 NO	=	2.88	SQ.MT.
10	1.50	X	1.95	X	1 NO	=	2.93	SQ.MT.
11	18.03	X	4.20	X	1 NO	=	75.73	SQ.MT.
12	15.28	X	2.60	X	1 NO	=	39.73	SQ.MT.
13	18.33	X	1.95	X	1 NO	=	35.74	SQ.MT.
14	26.93	X	2.75	X	1 NO	=	74.06	SQ.MT.
15	0.75	X	2.40	X	3 NOS	=	5.40	SQ.MT.
16	2.10	X	1.60	X	3 NOS	=	10.08	SQ.MT.
17	21.18	X	2.90	X	1 NO	=	61.42	SQ.MT.
18	19.98	X	2.60	X	1 NO	=	51.95	SQ.MT.
19	22.18	X	5.65	X	1 NO	=	125.32	SQ.MT.
20	0.75	X	2.25	X	1 NO	=	1.69	SQ.MT.
21	1.95	X	0.75	X	1 NO	=	1.46	SQ.MT.
22	1.80	X	1.80	X	2 NOS	=	6.48	SQ.MT.
23	1.20	X	2.05	X	1 NO	=	2.46	SQ.MT.
24	6.65	X	2.60	X	1 NO	=	17.29	SQ.MT.
25	2.40	X	5.80	X	1 NO	=	13.92	SQ.MT.
26	2.90	X	6.55	X	1 NO	=	19.00	SQ.MT.
27	2.60	X	4.65	X	1 NO	=	12.09	SQ.MT.
28	12.83	X	5.85	X	1 NO	=	75.06	SQ.MT.
29	2.25	X	0.75	X	1 NO	=	1.69	SQ.MT.
30	1.75	X	2.10	X	1 NO	=	3.68	SQ.MT.
31	2.88	X	5.75	X	1 NO	=	16.56	SQ.MT.
32	3.75	X	4.40	X	1 NO	=	16.50	SQ.MT.
33	3.30	X	7.55	X	1 NO	=	24.92	SQ.MT.
34	2.90	X	0.90	X	1 NO	=	2.61	SQ.MT.
35	0.65	X	1.35	X	1 NO	=	0.88	SQ.MT.
36	2.90	X	0.90	X	1 NO	=	2.61	SQ.MT.
37	5.65	X	2.20	X	1 NO	=	12.43	SQ.MT.
38	2.90	X	1.20	X	1 NO	=	3.48	SQ.MT.
39	8.10	X	6.95	X	1 NO	=	56.30	SQ.MT.
40	1.60	X	1.35	X	1 NO	=	2.16	SQ.MT.
41	4.00	X	0.75	X	1 NO	=	3.00	SQ.MT.
42	2.90	X	2.20	X	1 NO	=	6.38	SQ.MT.
43	9.38	X	3.65	X	1 NO	=	34.24	SQ.MT.
44	7.93	X	3.44	X	1 NO	=	27.28	SQ.MT.
45	13.65	X	2.75	X	1 NO	=	37.54	SQ.MT.
46	7.90	X	2.90	X	1 NO	=	22.91	SQ.MT.
47	6.70	X	2.60	X	2 NOS	=	34.84	SQ.MT.
48	8.90	X	5.65	X	1 NO	=	50.29	SQ.MT.
49	7.15	X	2.90	X	1 NO	=	20.74	SQ.MT.
50	7.90	X	2.90	X	1 NO	=	22.91	SQ.MT.
51	8.25	X	5.00	X	1 NO	=	41.25	SQ.MT.
52	2.25	X	2.90	X	1 NO	=	6.53	SQ.MT.
53	1.85	X	1.80	X	1 NO	=	3.33	SQ.MT.
54	3.25	X	1.80	X	1 NO	=	5.85	SQ.MT.
55	2.10	X	2.75	X	1 NO	=	5.78	SQ.MT.
TOTAL DEDUCTION						=	1153.44	SQ.MT.
TOTAL BUILT UP AREA [X - Y1]						=	681.73	SQ.MT.

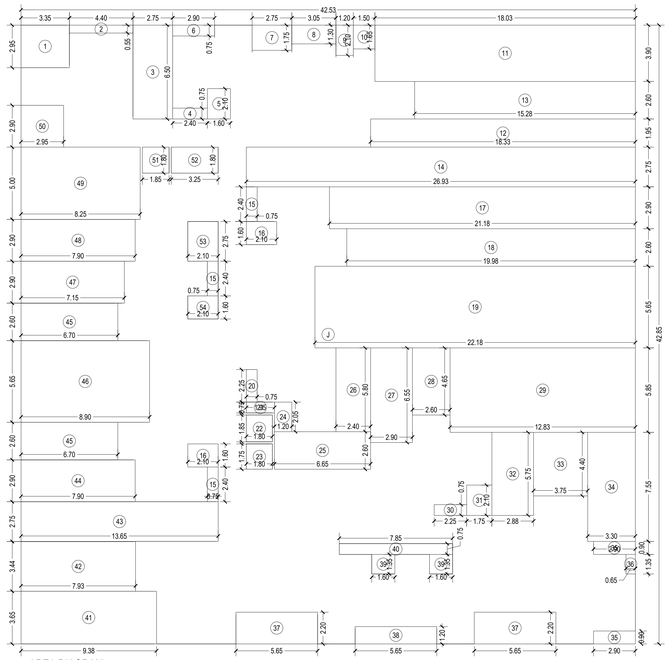

AREA DIAGRAM
9TH, 10TH, 11TH & 12TH FLOOR
(SCALE - 1:150)

BUILT UP AREA CALCULATION

9TH, 10TH, 11TH & 12TH FLOOR								
J	42.53	X	42.85	X	1 NO	=	1822.41	SQ.MT.
TOTAL ADDITION						=	1822.41	SQ.MT.

DEDUCTIONS

1	3.35	X	2.95	X	1 NO	=	9.88	SQ.MT.
2	4.40	X	0.55	X	1 NO	=	2.42	SQ.MT.
3	2.75	X	6.50	X	1 NO	=	17.88	SQ.MT.
4	2.40	X	0.75	X	1 NO	=	1.80	SQ.MT.
5	1.60	X	2.10	X	1 NO	=	3.36	SQ.MT.
6	2.90	X	0.75	X	1 NO	=	2.18	SQ.MT.
7	2.75	X	1.75	X	1 NO	=	4.81	SQ.MT.
8	3.05	X	1.30	X	1 NO	=	3.97	SQ.MT.
9	1.20	X	2.10	X	1 NO	=	2.52	SQ.MT.
10	1.50	X	1.65	X	1 NO	=	2.48	SQ.MT.
11	18.03	X	3.90	X	1 NO	=	70.32	SQ.MT.
12	18.33	X	1.95	X	1 NO	=	35.74	SQ.MT.
13	15.28	X	2.60	X	1 NO	=	39.73	SQ.MT.
14	26.93	X	2.75	X	1 NO	=	74.06	SQ.MT.
15	0.75	X	2.40	X	3 NOS	=	5.40	SQ.MT.
16	2.10	X	1.60	X	2 NOS	=	6.72	SQ.MT.
17	21.18	X	2.90	X	1 NO	=	61.42	SQ.MT.
18	19.98	X	2.60	X	1 NO	=	51.95	SQ.MT.
19	22.18	X	5.65	X	1 NO	=	125.32	SQ.MT.
20	0.75	X	2.25	X	1 NO	=	1.69	SQ.MT.
21	1.95	X	0.75	X	1 NO	=	1.46	SQ.MT.
22	1.80	X	1.85	X	1 NO	=	3.33	SQ.MT.
23	1.80	X	1.75	X	1 NO	=	3.15	SQ.MT.
24	1.20	X	2.05	X	1 NO	=	2.46	SQ.MT.
25	6.65	X	2.60	X	1 NO	=	17.29	SQ.MT.
26	2.40	X	5.80	X	1 NO	=	13.92	SQ.MT.
27	2.90	X	6.55	X	1 NO	=	19.00	SQ.MT.
28	2.60	X	4.65	X	1 NO	=	12.09	SQ.MT.
29	12.83	X	5.85	X	1 NO	=	75.06	SQ.MT.
30	2.25	X	0.75	X	1 NO	=	1.69	SQ.MT.
31	1.75	X	2.10	X	1 NO	=	3.68	SQ.MT.
32	2.88	X	5.75	X	1 NO	=	16.56	SQ.MT.
33	3.75	X	4.40	X	1 NO	=	16.50	SQ.MT.
34	3.30	X	7.55	X	1 NO	=	24.92	SQ.MT.
35	2.90	X	0.90	X	2 NOS	=	5.22	SQ.MT.
36	0.65	X	1.35	X	1 NO	=	0.88	SQ.MT.
37	5.65	X	2.20	X	2 NOS	=	24.86	SQ.MT.
38	5.65	X	1.20	X	1 NO	=	6.78	SQ.MT.
39	1.60	X	1.35	X	2 NOS	=	4.32	SQ.MT.
40	7.85	X	0.75	X	1 NO	=	5.89	SQ.MT.
41	9.38	X	3.65	X	1 NO	=	34.24	SQ.MT.
42	7.93	X	3.44	X	1 NO	=	27.28	SQ.MT.
43	13.65	X	2.75	X	1 NO	=	37.54	SQ.MT.
44	7.90	X	2.90	X	1 NO	=	22.91	SQ.MT.
45	6.70	X	2.60	X	2 NOS	=	34.84	SQ.MT.
46	8.90	X	5.65	X	1 NO	=	50.29	SQ.MT.
47	7.15	X	2.90	X	1 NO	=	20.74	SQ.MT.
48	7.90	X	2.90	X	1 NO	=	22.91	SQ.MT.
49	8.25	X	5.00	X	1 NO	=	41.25	SQ.MT.
50	2.95	X	2.90	X	1 NO	=	8.56	SQ.MT.
51	1.85	X	1.80	X	1 NO	=	3.33	SQ.MT.
52	3.25	X	1.80	X	1 NO	=	5.85	SQ.MT.
53	2.10	X	2.75	X	1 NO	=	5.78	SQ.MT.
54	2.10	X	1.60	X	1 NO	=	3.36	SQ.MT.
TOTAL DEDUCTION						=	1101.59	SQ.MT.
TOTAL BUILT UP AREA [X - Y1]						=	720.82	SQ.MT.

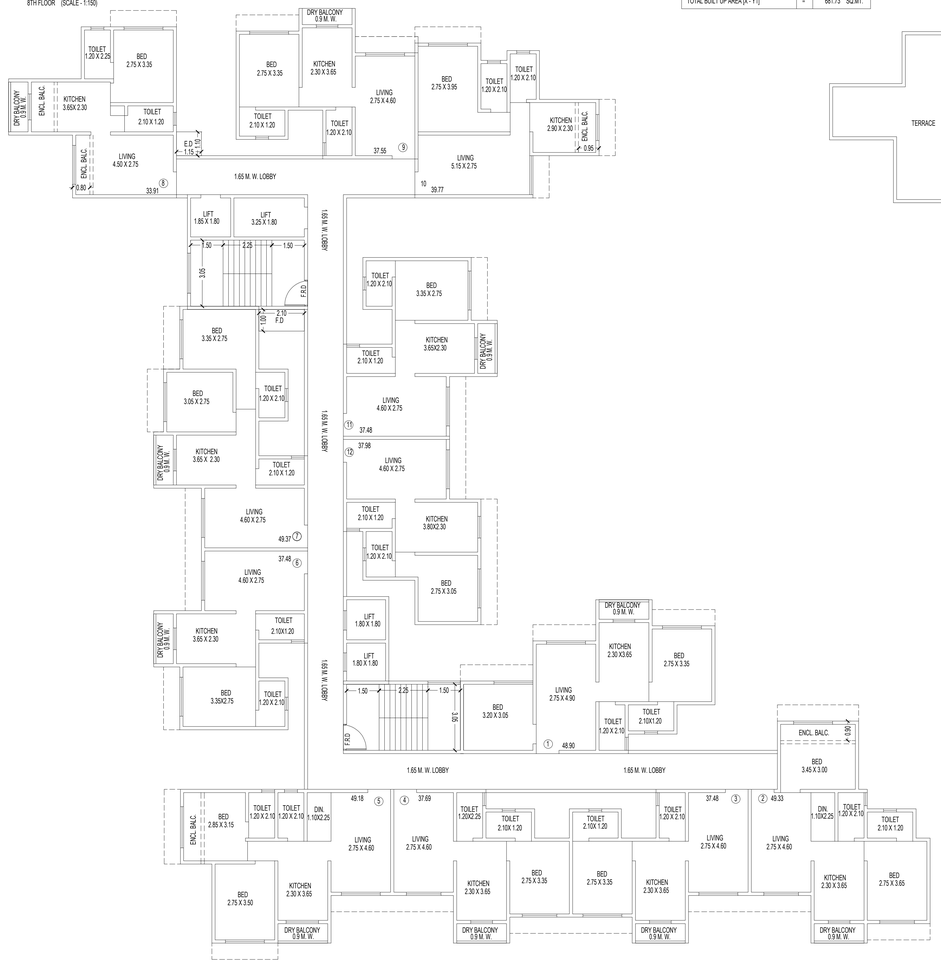

9TH, 10TH, 11TH & 12TH FLOOR PLAN
SCALE 1: 100

14TH FLOOR PLAN
SCALE 1: 100

DESCRIPTION OF PROPOSAL & PROPERTY

PROPOSED BUILDING ON PLOT BEARING S.NO. 45 H No- 1, 2 & 6(p) OF VILLAGE - NANDIVLI TARFE PANCHANAD, DOMBIVALI , TAL- KALYAN, DIST.-THANE.

SWAMI CO. OP.HSG SOCIETY

STAMP OF APPROVAL OF PLAN

APPENDIX - C

The plans prepared by me are in accordance with the norms as specified by indian standard institute & i will be held responsoible for any harm caused in earthquake due to neglience of the standards.

engineers signature

Certificate of Area:

Certified that the plot under reference was surveyed by me on 10-12-2022 and the dimensions of sides etc. of plot stated on plan are as measured on site and the area so worked out 344.00 not tallies with the area stated in document of Ownership/ T.P. Scheme Records/ Land Records Department/City Survey records.

Signature
(Name of Architect/Licensed Engineer/Supervisor.)

NAME, ADDRESS & SIGNATURE OF OWNER

I/We undersigned hereby confirm that I/We would abide by plans approved by Authority / Collector. I/We would execute the structure as per approved plans. Also I/We would execute the work under supervision of proper technical person so as to ensure the quality and safety at the work site.

M/S. JALARAM DEVELOPERS
SHRI. DILIP PATEL
(P.O.A HOLDER)
104, JAGANNATH'S COMMERCE PLAZA,
NEAR GODREJ SHOWROOM,MANPADA ROAD, DOMBIVLI (E.)

JOB No.	DRG No.	SCALE	DRAWN BY	CHECKED BY	DATE
R.K. - 156	6	AS STATED			24- 02 - 2026

NAME, ADDRESS & SIGNATURE OF ARCHITECT

DEEP VINOD PATEL
Digitally signed by DEEP VINOD PATEL
Date: 2026.03.17 18:27:09 +05'30'

DEEP VINOD PATEL
CA / 2024 / 181059

R. K. ASSOCIATES
206,207,208,2nd FLOOR,
JAGANNATH'S COMMERCE PLAZA,
NEAR GODREJ SHOWROOM,
MANPADA ROAD, DOMBIVLI (E.)

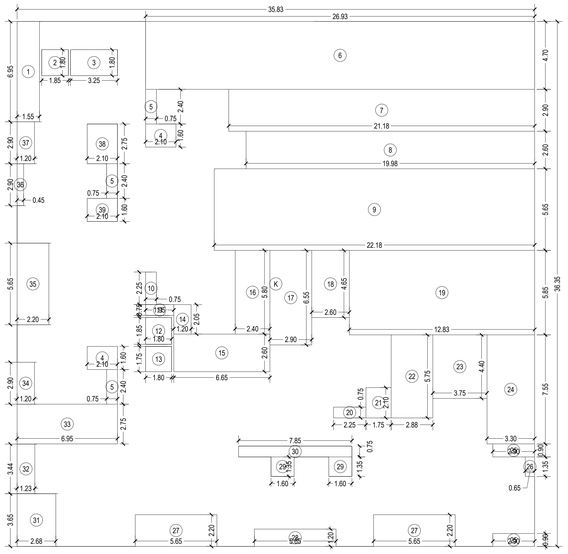

AREA DIAGRAM
14TH FLOOR (SCALE - 1:150)

BUILT UP AREA CALCULATION

14TH FLOOR								
K	35.83	X	36.35	X	1 NO	=	1302.42	SQ.MT.
TOTAL ADDITION						=	1302.42	SQ.MT.

DEDUCTIONS

1	1.55	X	6.95	X	1 NO	=	10.77	SQ.MT.
2	1.85	X	1.80	X	1 NO	=	3.33	SQ.MT.
3	3.25	X	1.80	X	1 NO	=	5.85	SQ.MT.
4	2.10	X	1.60	X	2 NOS	=	6.72	SQ.MT.
5	0.75	X	2.40	X	3 NOS	=	5.40	SQ.MT.
6	26.93	X	4.70	X	1 NO	=	126.57	SQ.MT.
7	21.18	X	2.90	X	1 NO	=	61.42	SQ.MT.
8	19.98	X	2.60	X	1 NO	=	51.95	SQ.MT.
9	22.18	X	5.65	X	1 NO	=	125.32	SQ.MT.
10	0.75	X	2.25	X	1 NO	=	1.69	SQ.MT.
11	1.95	X	0.75	X	1 NO	=	1.46	SQ.MT.
12	1.80	X	1.85	X	1 NO	=	3.33	SQ.MT.
13	1.80	X	1.75	X	1 NO	=	3.15	SQ.MT.
14	1.20	X	2.05	X	1 NO	=	2.46	SQ.MT.
15	6.65	X	2.60	X	1 NO	=	17.29	SQ.MT.
16	2.40	X	5.80	X	1 NO	=	13.92	SQ.MT.
17	2.90	X	6.55	X	1 NO	=	19.00	SQ.MT.
18	2.60	X	4.65	X	1 NO	=	12.09	SQ.MT.
19	12.83	X	5.85	X	1 NO	=	75.06	SQ.MT.
20	2.25	X	0.75	X	1 NO	=	1.69	SQ.MT.
21	1.75	X	2.10	X	1 NO	=	3.68	SQ.MT.
22	2.88	X	5.75	X	1 NO	=	16.56	SQ.MT.
23	3.75	X	4.40	X	1 NO	=	16.50	SQ.MT.
24	3.30	X	7.55	X	1 NO	=	24.92	SQ.MT.
25	2.90	X	0.90	X	2 NOS	=	5.22	SQ.MT.
26	0.65	X	1.35	X	1 NO	=	0.88	SQ.MT.
27	5.65	X	2.20	X	2 NOS	=	24.86	SQ.MT.
28	5.65	X	1.20	X	1 NO	=	6.78	SQ.MT.
29	1.60	X	1.35	X	2 NOS	=	4.32	SQ.MT.
30	7.85	X	0.75	X	1 NO	=	5.89	SQ.MT.
31	2.68	X	3.65	X	1 NO	=	9.78	SQ.MT.
32	1.23	X	3.44	X	1 NO	=	4.23	SQ.MT.
33	6.95	X	2.75	X	1 NO	=	19.11	SQ.MT.
34	1.20	X	2.90	X	1 NO	=	3.48	SQ.MT.
35	2.20	X	5.65	X	1 NO	=	12.43	SQ.MT.
36	0.45	X	2.90	X	1 NO	=	1.31	SQ.MT.
37	1.20	X	2.90	X	1 NO	=	3.48	SQ.MT.
38	2.10	X	2.75	X	1 NO	=	5.78	SQ.MT.
39	2.10	X	1.60	X	1 NO	=	3.36	SQ.MT.
TOTAL DEDUCTION						=	721.04	SQ.MT.
TOTAL BUILT UP AREA [X - Y1]						=	581.38	SQ.MT.

TERRACE FLOOR PLAN
SCALE 1: 200



SECTION A A
SCALE 1: 100

DESCRIPTION OF PROPOSAL & PROPERTY

7 / 7

PROPOSED BUILDING ON PLOT BEARING S.NO. 45 H No- 1, 2 & 6(p) OF VILLAGE - NANDIVLI TARFE PANCHANAD, DOMBIVALI , TAL- KALYAN, DIST.-THANE.

SWAMI CO. OP.HSG SOCIETY

STAMP OF APPROVAL OF PLAN

APPENDIX - C

The plans prepared by me are in accordance with the norms as specified by indian standard institute & i will be held responsoble for any harm caused in earthquake due to neglience of the standards.

engineers signature

Certificate of Area:

Certified that the plot under reference was surveyed by me on 10-12-2022 and the dimensions of sides etc. of plot stated on plan are as measured on site and the area so worked out 344.00 not tallies with the area stated in document of Ownership/ T.P. Scheme Records/ Land Records Department/City Survey records.

Signature
(Name of Architect/Licensed Engineer/Supervisor.)

NAME, ADDRESS & SIGNATURE OF OWNER

I/We undersigned hereby confirm that I/We would abide by plans approved by Authority / Collector. I/We would execute the structure as per approved plans. Also I/We would execute the work under supervision of proper technical person so as to ensure the quality and safety at the work site.

M/S. JALARAM DEVELOPERS
SHRI. DILIP PATEL
(P.O.A HOLDER)
104, JAGANNATH'S COMMERCE PLAZA,
NEAR GODREJ SHOWROOM,MANPADA ROAD, DOMBIVLI (E.)

JOB No.	DRG No.	SCALE	DRAWN BY	CHECKED BY	DATE
R.K. - 156	7	AS STATED			24- 02 - 2026

NAME, ADDRESS & SIGNATURE OF ARCHITECT

DEEP VINOD PATEL
Digitally signed by DEEP VINOD PATEL
Date: 2026.03.20 01:17:25 +05'30'

DEEP VINOD PATEL
CA / 2024 / 181059

R. K. ASSOCIATES
206,207,208,2nd FLOOR,
JAGANNATH'S COMMERCE PLAZA,
NEAR GODREJ SHOWROOM,
MANPADA ROAD, DOMBIVLI (E.)