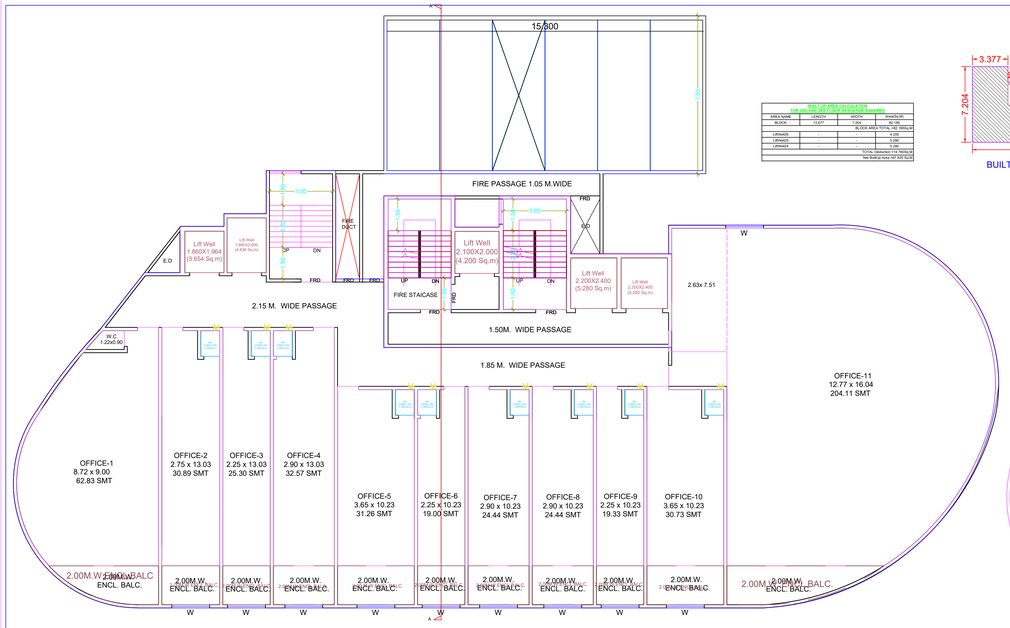

2ND & 3RD FLOOR PLAN

SCALE-1:100

BUILT-UP AREA CALCULATION FOR 2ND AND 3RD FLOOR AKSHATAM AARAMBH

AREA NAME	LENGTH	WIDTH	Area(Sq.M)
BLOCK	13.677	7.204	92.180
		BLOCK AREA TOTAL =92.180SqM	
LIFRAMES	-	-	4.200
LIFRAMES	-	-	5.280
LIFRAMES	-	-	5.280
TOTAL Deduction =14.760SqM			
Net Builtup Area =377.420 SqM			

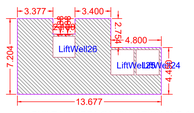

BUILT-UP AREA CALCULATION 2ND AND 3RD FLOOR AKSHATAM AARAMBH

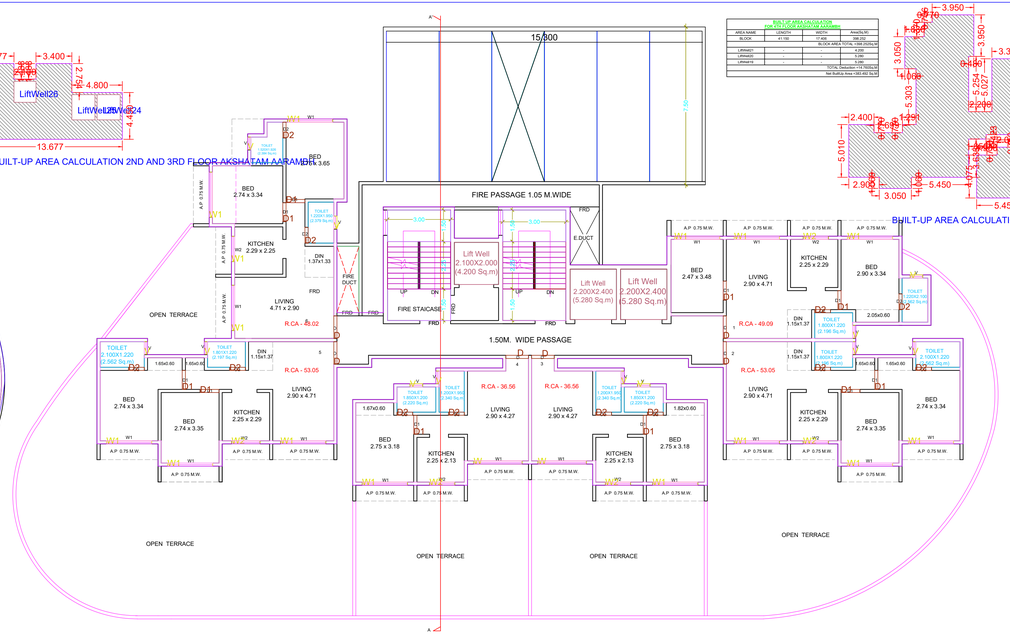

4TH FLOOR PLAN

BUILT-UP AREA CALCULATION FOR 4TH FLOOR AKSHATAM AARAMBH

AREA NAME	LENGTH	WIDTH	Area(Sq.M)
BLOCK	61.180	15.800	966.262
		BLOCK AREA TOTAL =966.262SqM	
LIFRAMES	-	-	4.200
LIFRAMES	-	-	5.280
LIFRAMES	-	-	5.280
TOTAL Deduction =14.760SqM			
Net Builtup Area =1024.982 SqM			

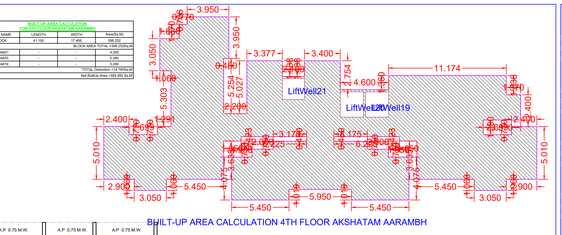

BUILT-UP AREA CALCULATION 4TH FLOOR AKSHATAM AARAMBH

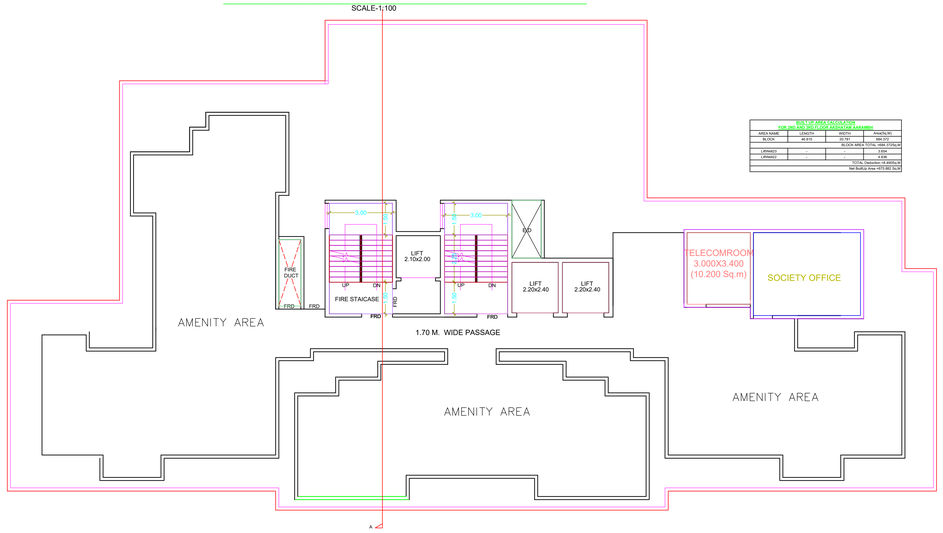

BUILT-UP AREA CALCULATION FOR 17TH FLOOR AKSHATAM AARAMBH

AREA NAME	LENGTH	WIDTH	Area(Sq.M)
BLOCK	46.875	15.750	738.272
		BLOCK AREA TOTAL =738.272SqM	
LIFRAMES	-	-	4.200
LIFRAMES	-	-	5.280
TOTAL Deduction =9.480SqM			
Net Builtup Area =728.792 SqM			

17TH FLOOR PLAN

SCALE-1:100

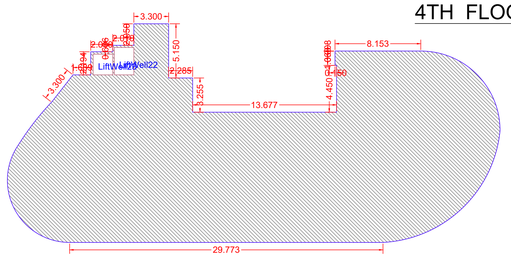

BUILT-UP AREA CALCULATION 2ND AND 3RD FLOOR AKSHATAM AARAMBH

BUILT-UP AREA CALCULATION FOR 5TH 7TH TO 10TH 12TH TO 15TH FLOOR AKSHATAM AARAMBH

AREA NAME	LENGTH	WIDTH	Area(Sq.M)
BLOCK	61.180	17.406	966.262
		BLOCK AREA TOTAL =966.262SqM	
LIFRAMES	-	-	4.200
LIFRAMES	-	-	5.280
LIFRAMES	-	-	5.280
TOTAL Deduction =14.760SqM			
Net Builtup Area =1051.982 SqM			

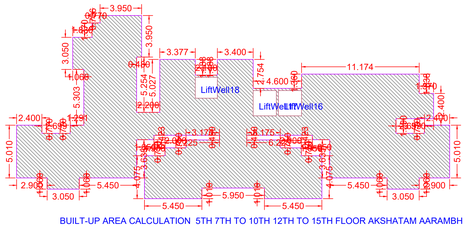

BUILT-UP AREA CALCULATION 5TH 7TH TO 10TH 12TH TO 15TH FLOOR AKSHATAM AARAMBH

BUILT-UP AREA CALCULATION FOR 6TH 11TH 16TH FLOOR AKSHATAM AARAMBH

AREA NAME	LENGTH	WIDTH	Area(Sq.M)
BLOCK	41.100	17.406	715.386
Refuge1	-	-	23.494
LIFRAMES	-	-	4.200
LIFRAMES	-	-	5.280
LIFRAMES	-	-	5.280
TOTAL Deduction =38.254SqM			
Net Builtup Area =677.012 SqM			

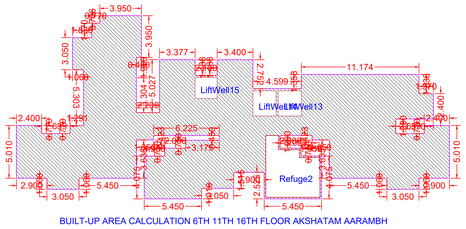

BUILT-UP AREA CALCULATION 6TH 11TH 16TH FLOOR AKSHATAM AARAMBH

BUILT-UP AREA CALCULATION FOR 17TH FLOOR AKSHATAM AARAMBH

AREA NAME	LENGTH	WIDTH	Area(Sq.M)
BLOCK	8.540	4.241	36.207
		BLOCK AREA TOTAL =36.207SqM	
TOTAL Deduction =0.000SqM			
Net Builtup Area =36.207 SqM			

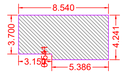

BUILT-UP AREA CALCULATION 17TH FLOOR AKSHATAM AARAMBH

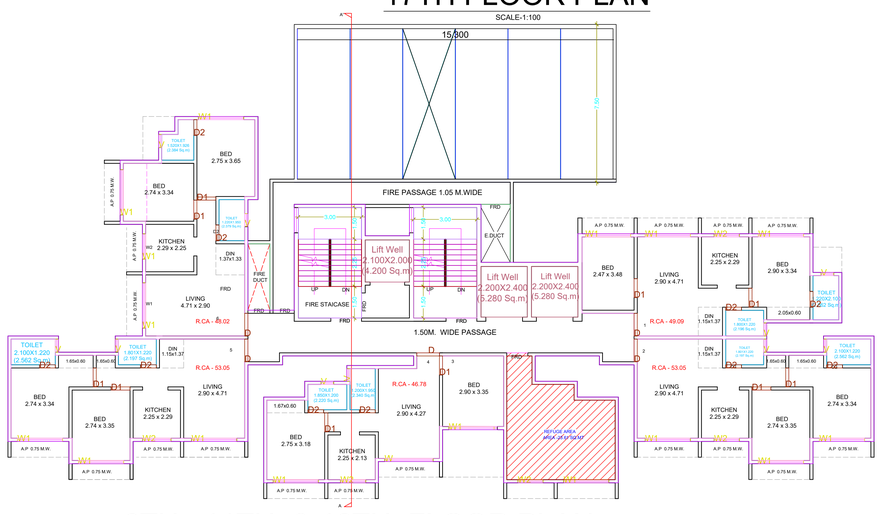

6TH , 11TH & 16TH FLOOR PLAN

SCALE-1:100

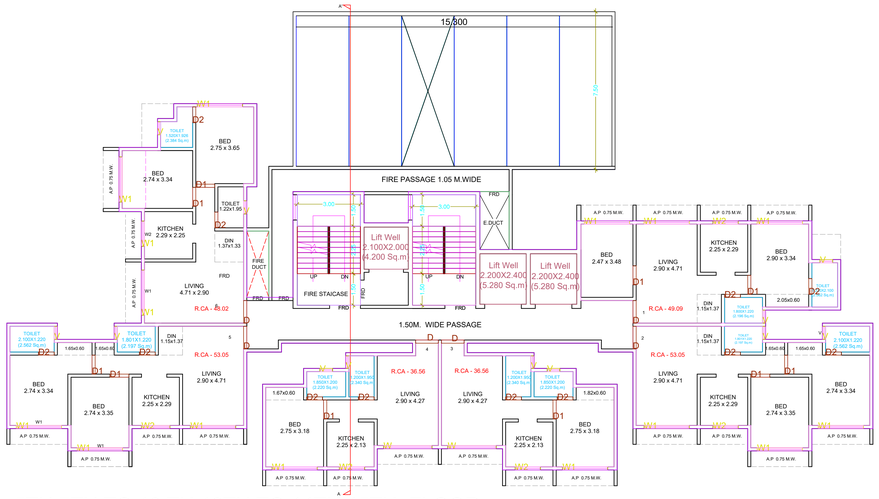

5TH 7TH TO 10 TH 12TH TO 14TH,15TH FLOOR

SCALE-1:100

Proforma I : Area Statement	
1. Area of plot (Minimum area of a, b, c to be considered)	2010.000
(a) As per ownership document (7/12, CTS extract)	2010.000
(b) as per TILR or City Survey measurement sheet	2010.000
(c) as per Demarcated drawing area LESS	2010.000
2.Area not in possession	0.000
3. Area Proposed for development (out of 1-2)	2010.000
4.Deductions for (a) Proposed D.P./ D.P. Road widening Area / Service Road / Highway widening	0.000
(b) Any D.P. Reservation area	0.000
(c) Green Belt	0.000
Total (a+b+c)	0.000
5.Balance area of plot (3-4)	2010.000
6. Amenity Space	0.000
(Applicabe if (1) > 20000 sqmt	-
(Required -(a) Upto 20000 sqmt - Nil	-
(b) Above 20000 sqmt - (a) + 5% of Total area	0.000
7. Net Plot Area (5-6)	2010.000
8. Recreational Open Space	-
(a) If area (5) is more than 4000 sqmt - 10 % of (5) is required.	0.000
Proposed	0.000
(b) If area is less than 4000 sqmt -Check -	-
i) If it is full number like 1,2,125,419,etc. As per 7.12 abstract or City Survey Number - No Recreational open space is required	-
ii) If it is subdivision like 1/2 ,2/5 , 125/1 419/1 etc.then recreational open space is required.	-
(A) 10 % Subject to minimum 200 sqmt	0.000
Proposed	0.000
(B) Exemption to leave open space subject to availing basic F.S.I of 75 %	-
(C) Exemption to leave open space subject to payment of 10 % land value of land at (7) as per annual statement of rate	-

Architect/ Licensed Engineer/ Supervisor name and signature

Registration No. of Architect/ License no. of Licensed Engineer/ Supervisor: CA/2019/106930

Certificate of Area:
Certified that the plot under reference was surveyed by me on_____ and the dimensions of sides etc. of plot stated on plan are as measured on site and the area so worked out tallies with the area stated in document of Ownership/ T.P. Scheme Records/Land Records Department/City Survey records.

Signature
(Name of Architect/ Licensed Engineer/ Supervisor.)

Owner's Declaration -

I/We undersigned hereby confirm that I/We would abide by plans approved by Authority / Collector. I/We would execute the structure as per approved plans. Also I/We would execute the work under supervision of proper technical person so as to ensure the quality and safety at the work site.

Owner (s) name and signature

Name Of : Owner MAULI KRUPA DEVELOPERS

Postal Address : 1703-A-2 Vertex Solitaire,Kalyan
Bhiwandi Road,Kalyan,Thane,Maharashtra-421301

Phone No. 9324766367

DESCRIPTION OF PROJECT :

Type of Proposal : Mixed
BUILDING ON CTS. NO./SURVEY NO.-11

SITE ADDRESS :
S.NO.11 H.NO. 4A AND 4B AT VILLAGE KOLIVLI TALUKA KALYAN DIST THANE

Name Of Architect : Tejas Anil Niravde

LOGO	ADDRESS OF OFFICE
	OFFICE : 5TH FLOOR, MIDTOWN EMBASSY, BEHIND VASANT VALLEY BUS DEPOT, OPP. NARAYANA SCHOOL, GANDHARE, KALYAN - 421301
OWNERS SIGN -	TECHNICAL PERSON SIGN
SCALE -	DATE: Date: 18/12/25
JOB NO - KDMCC-25-139643	CHECK BY - zoom

SUBMISSION DRAWING