LAYOUT + FLOOR PLANS SHEET NO : 1/02

SAPTASHRI														
BUILDING	FLOORS	FSI AREA						BALCONY	TERRACE	LIFT	LIFTWELL	DUCT	VENT SHAFT	OTHER DEDUCTION	TOTAL FSI AREA
		COMM.	RESI.	IND.	EDU.	INS.	MEZZ.	PROP.							
SAPTASHRI	7TH FLOOR	0.000	338.735	0.000	0.000	0.000	0.000	34.588	0.000	0.000	2.250	11.821	0.000	0.000	324.664
SAPTASHRI	6TH FLOOR	0.000	341.695	0.000	0.000	0.000	0.000	38.199	0.000	0.000	2.250	12.603	0.000	0.000	326.842
SAPTASHRI	5TH FLOOR	0.000	347.345	0.000	0.000	0.000	0.000	43.999	0.000	0.000	2.250	12.603	0.000	0.000	332.492
SAPTASHRI	2ND TO 4TH FLOOR	0.000	1042.035	0.000	0.000	0.000	0.000	131.997	0.000	0.000	6.750	37.809	0.000	0.000	997.476
SAPTASHRI	1ST FLOOR	338.825	11.520	0.000	0.000	0.000	0.000	43.922	0.000	0.000	2.250	5.430	0.000	11.346	331.319
SAPTASHRI	GROUND FLOOR	192.566	43.768	0.000	0.000	0.000	0.000	0.000	0.000	0.000	2.250	0.000	0.000	0.000	236.334
SAPTASHRI	TOTAL	531.391	2125.098	0.000	0.000	0.000	0.000	292.705	0.000	2.250	15.750	80.266	0.000	11.346	2549.127

Carpet Area Table									
Building Name	Floor Name	Carpet name	Tenement No	Carpet Area	Enclosed Balcony Area	Normal Balcony Area	Mezzanine Area	Total Carpet Area
SAPTASHRI	GROUND FLOOR	1	1	35.880	0.000	0.000	0.000	35.880
SAPTASHRI	GROUND FLOOR	2	1	26.680	0.000	0.000	0.000	26.680
SAPTASHRI	GROUND FLOOR	3	1	22.743	0.000	0.000	0.000	22.743
SAPTASHRI	GROUND FLOOR	4	1	18.097	0.000	0.000	0.000	18.097
SAPTASHRI	GROUND FLOOR	5	1	23.588	0.000	0.000	0.000	23.588
SAPTASHRI	GROUND FLOOR	6	1	10.229	0.000	0.000	0.000	10.229
SAPTASHRI	GROUND FLOOR	7	1	9.450	0.000	0.000	0.000	9.450
SAPTASHRI	GROUND FLOOR	8	1	8.387	0.000	0.000	0.000	8.387
SAPTASHRI	GROUND FLOOR	9	1	7.030	0.000	0.000	0.000	7.030
SAPTASHRI	1ST FLOOR	1	1	42.100	8.050	0.000	0.000	50.150
SAPTASHRI	1ST FLOOR	2	1	59.170	8.200	2.550	0.000	67.370
SAPTASHRI	1ST FLOOR	3	1	52.004	9.075	2.677	0.000	61.079
SAPTASHRI	1ST FLOOR	4	1	26.705	0.000	2.337	0.000	26.705
SAPTASHRI	1ST FLOOR	5	1	46.815	8.483	2.550	0.000	55.298
SAPTASHRI	2ND TO 4TH FLOOR	1	3	38.477	8.050	0.000	0.000	46.527
SAPTASHRI	2ND TO 4TH FLOOR	2	3	59.148	8.328	2.550	0.000	67.476
SAPTASHRI	2ND TO 4TH FLOOR	3	3	52.034	9.023	2.678	0.000	61.057
SAPTASHRI	2ND TO 4TH FLOOR	4	3	38.858	0.000	2.337	0.000	38.858
SAPTASHRI	2ND TO 4TH FLOOR	5	3	45.788	8.483	2.550	0.000	54.271
SAPTASHRI	5TH FLOOR	1	1	38.477	8.050	0.000	0.000	46.527
SAPTASHRI	5TH FLOOR	2	1	59.148	8.328	2.550	0.000	67.476
SAPTASHRI	5TH FLOOR	3	1	52.034	9.023	2.678	0.000	61.057
SAPTASHRI	5TH FLOOR	4	1	38.858	0.000	2.337	0.000	38.858
SAPTASHRI	5TH FLOOR	5	1	45.788	8.483	2.550	0.000	54.271
SAPTASHRI	6TH FLOOR	1	1	38.477	2.250	0.000	0.000	40.727
SAPTASHRI	6TH FLOOR	2	1	59.148	8.328	2.550	0.000	67.476
SAPTASHRI	6TH FLOOR	3	1	52.034	5.773	2.678	0.000	57.807
SAPTASHRI	6TH FLOOR	4	1	38.858	0.000	2.337	0.000	38.858
SAPTASHRI	6TH FLOOR	5	1	45.788	8.483	2.550	0.000	54.271
SAPTASHRI	7TH FLOOR	1	1	38.477	2.250	0.000	0.000	40.727
SAPTASHRI	7TH FLOOR	2	1	59.148	8.328	2.550	0.000	67.476
SAPTASHRI	7TH FLOOR	3	1	23.445	5.750	0.000	0.000	29.195
SAPTASHRI	7TH FLOOR	4	1	37.225	3.460	0.000	0.000	40.685
SAPTASHRI	7TH FLOOR	5	1	35.235	2.850	0.000	0.000	38.085

Existing Building / Tenement Details												
Sr.No	Building/Tenement No.	Carpet Area Per Tenement	BUA Per Tenement	Status Of Occupant	Number Of Tenements	Residential Non Residential	For Tenement Carpet below 27.75SqM, Min 27.87 Sqm to be added	Total	Incentive 30%/60% per Tenement for owner	Total incentive	15 Sqm BUA addition per tenement	Total of 15 sqmt Addition	Total
0	1	30.100	36.120	Owner	1	Residential	0.000	0.000	10.840	0.000	15.000	15.000	51.120
1	2	39.020	46.820	Owner	2	Residential	0.000	0.000	14.050	0.000	15.000	30.000	123.640
2	3	40.130	48.160	Owner	3	Residential	0.000	0.000	14.450	0.000	15.000	45.000	189.480
3	4	26.110	31.330	Owner	1	Residential	1.760	1.760	9.400	0.000	15.000	15.000	48.090

FSI DETAILS										
10 Index	Basic FSI/Exst BUA (on serial no 7)	Incentive FSI as per 7.6.1	Premium FSI (on serial no 7)	TDR/DR (on serial no 3)	Rehab Incentive FSI as per 7.6.2	Incentive fsi for green building If Applicable (on basic FSI)	Ancillary Area(60% of 2 + 3+4+5)	Ancillary Area(80% of 2 + 3+4+5)	Total	Drawing Value
10.1 Permissible Index	1.100	30%/15 sq.mtr per ten.	0.500	0.900	50%	0.000	0.000	0.000	2.500	0.000
10.2 Total Entitlement of FSI as per Reg.7.6.1 & 7.6.2	1.100	0.000	0.500	0.900	-	0.000	0.000	0.000	2.500	0.000
10.3 FSI Permissible for Redevelopment(Max of 10.1 and 10.2)	1.100	0.000	0.500	0.900	-	0.000	0.000	0.000	0.000	0.000
10.4 Existing Consumed Index	0.000	0.000	0.500	0.900	<td.sqft>/<td.sqft>	0.000	0.000	0.000	0.000	-
10.5 Balance Index to be Consumed (10.3 - 10.4)	1.100	0.000	0.000	0.000	<td.sqft>/<td.sqft>	0.000	0.000	0.000	0.000	-
10.6 Total Permissible (P Line Area)	591.668	0.000	291.550	524.790	0.000	0.000	764.630	226.718	2399.356	0.000
10.7 Proposed P line Area (should not exceed 10.4)	779.180	0.000	253.811	524.790	0.000	0.000	764.629	226.717	2549.127	2549.127
10.8 Index Consumed	1.449	0.000	0.435	0.900	0.000	0.000	0.000	0.000	2.784	0.000

SCHEDULE OF OPENING				
ELD NAME	NAME	LENGTH	HEIGHT	Nos.
SAPTASHRI	V	0.600	0.750	45

SCHEDULE OF OPENING				
ELD NAME	NAME	LENGTH	HEIGHT	Nos.
SAPTASHRI	F.R.D	1.200	2.100	8

Telecom Room			
Building	Req. Size	Prop. Size	Status
SAPTASHRI	OtherTelecomRoom	3.150X3.250	OK

Area utilisation of Roads and Reservations						
Description of area utilisation			surrendered Area in(Sq.M)	Quatam of DR/TDR generation	Total Quatam of DR/TDR generation	Area considered for DR utilisation	Remaining area for DRC generation
BUILDING	Reservation type	reservation no.	Name				
-	-	15.000 m. DP Road Widening	45.220	90.440	90.440	0.000	0.000
-	-	Total	45.220	90.440	90.440	0.000	90.440

Parking Check (Table 8B)								
			RATIO			Required		
Building Name	USE	TENAMENT AREA	car	scooter	NO.OF Tena/Area/Units	car	scooter	Transport Vehicle/Ambulance /Mini Bus
SAPTASHRI	Commercial	For every 200 sq.m. carpet area or fraction thereof	3	11	260.602	3.909	14.333	-
SAPTASHRI	Commercial	For every 100 sq.m. carpet area or fraction thereof	2	6	162.085	3.242	9.725	-
SAPTASHRI	Residential	For every two tenements with each tenement having carpet area less than 40 Sq.m. but more than 30 sq.m.	1	2	6	3.000	6.000	-
SAPTASHRI	Residential	For every two tenements with each tenement having carpet area equal to or above 40 sq.m. but less than 80 sq.m.	1	2	23	11.500	23.000	-
SAPTASHRI	Residential	For every two tenements with each tenement having carpet area less than 30 Sq.m.	0	2	1	0.000	1.000	-
Total	-	-	-	-	-	21.651	54.058	-
Visitors parking(5%)	-	-	-	-	-	0.725	1.500	-
Total	-	-	-	-	-	22.376	55.558	0.000

Parking Check As Per Multiplying Factor 0.000 (note: 1) 6 scooter equals to 1 car, proposed composite parking for car= 4)							
	Required			Proposed			
Building Name	Car	Scooter	Transport Vehicle/Ambulance /Mini bus	Car	Scooter	Transport Vehicle/Ambulance /Mini bus	Status
Total	22	27	0	22	33	0	OK

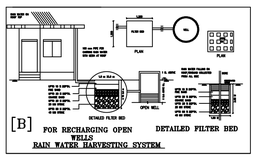

LEGENDS:
PLOT BOUNDERY SHOWN WHITE
PROPOSED WORK SHOWN RED
EXISTING WORK SHOWN GREY LIGHT
WATER LINE SHOWN BLUE DOTTED
ENCLOSED BAL SHOWN BROWN
TERRACE SHOWN DARK YELLOW
OPEN BAL SHOWN BRIAN
EXISTING SHOWN BLUE HATCHED

PROJECT DETAIL
Proposal code: KDMCC-25-138122
Zone Type: Residential Zone
Location: Non-Congested
Name of service: Redevelopment For Dangerous Building
Sub service: Redevelopment of multi-dwelling building of owner and tenanted building
Cts No./Survey No.: 93
Tahsil: Sector-5
Mouza: Ayregaon
Prorata Value: 0.000
Separation/CRZ Zone Area: -

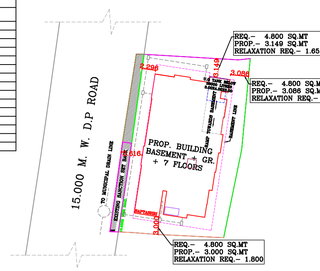

LAYOUT PLAN
SCALE 1:500

AREA STATEMENT		IN SQ.MT
1	(A) AREA OF PLOT	
	(a) AS PER OWNERSHIP DOCUMENT (7/12, CTS EXTRACT)	583.100
	(b) AS PER MEASUREMENT SHEET	583.100
	(c) AS PER POSSESSION	583.100
2	DEDUCTIONS FOR	
	(a) 15.00 M. W. D.P. ROAD AREA	45.220
3	BALANCE PLOT AREA (1 Minus 2)	537.880
4	AMENITY SPACE IF APPLICABLE	--
	(a) REQUIRED	
	(b) ADJUSTMENT OF IF ANY	
	(c) BALANCE PROPOSED	
5	NET PLOT AREA (3-4(c))	537.880
6	RECREATIONAL OPEN SPACE (IF APPLICABLE)	--
	(a) REQUIRED	
	(b) PROPOSED	
7	INTERNAL ROAD AREA	--
8	PLOTABLE AREA	--
9	BUILT UP AREA WITH REFERENCE TO BASIC FSI AS PER FRONT ROAD WIDTH (SR.NO: 5 X BASIC FSI) (537.880 X 1.10) = 591.668 PROTECTED FSI (62.512 X 1.00) = 62.512	674.180
10	ADDITION OF FSI ON PAYMENT PREMIUM	
	(a) MAXIMUM PERMISSIBLE PREMIUM FSI BASED ON ROAD WIDTH /TOD ZONE	--
	(b) PROPOSED FSI ON PAYMENT OF PREMIUM (583.100 X 0.50 = 291.550) (OUT OF THIS = 253.811)	253.811
11	IN-SITU FSI/TDR LOADING	--
	(a) IN-SITU AREA AGAINST D.P. ROAD SR.NO:2 (a) D.P. RESERVATION SR.NO.2 (b) (45.220 X 1.00 = 45.220)	45.220
	(b) IN-SITU AREA AGAINST AMENITY SPACE IF HANDED OVER (2.00 OR 1.85 X SR. NO:4 (b) AND/or (C)	
	(c) TDR AREA (583.100 X 0.90 = 524.790 – 45.220 = 479.570)	479.570
	(d) TOTAL IN-SITU / TDR LOADING PROPOSED (11 (a)+(b)+(c)	524.790
12	ADDITIONAL FSI AREA UNDER CHAPTER NO.7 (FOR SOC. REDEVELOPMENT AS PER 7.6.1) (7 X 15.00 = 105.000)	105.000
13	TOTAL ENTITLEMENT OF FSI IN THE PROPOSAL	
	(a) [9+10(b)+11(d) or 12 WHICHEVER IS APPLICABLE	1557.781
	(b) ANCILLARY AREA FSI UPTO 60% OR MORE WITH PAYMENT OF CHARGES COMMERCIAL AREA = 283.397 X 60% = 226.717 SQ.MT RESIDENTIAL AREA = 1274.384 X 60% = 764.630 SQ.MT	991.347
	(c) TOTAL ENTITLEMENT (a+b)	2549.128
14	MAXIMUM UTILIZATION LIMIT OF FSI (BUILDING POTENTIAL) PERMISSIBLE AS PER ROAD WIDTH As per Regulation no. 6.1 or 6.2 or 6.3 or 6.4 as applicable) x 1.6 or 1.8	--
15	TOTAL BUILT UP AREA IN PROPOSAL (EXCLUDING AREA AT SR. NO.17(b)	
	(a) EXISTING SANCTION BUILT UP AREA	
	(b) PROPOSED BUILT UP AREA (AS PER P LINE)	2549.127
	(c) TOTAL (a+b)	
16	FSI CONSUMED (15/13)	--
17	AREA FOR INCLUSIVE HOUSING IF ANY	
	(a) REQUIRED (20% OF SR. NO.5)	
	(b) PROPOSED (20% OF SR. NO.5)	

Reserved for Stamps till Approval plan

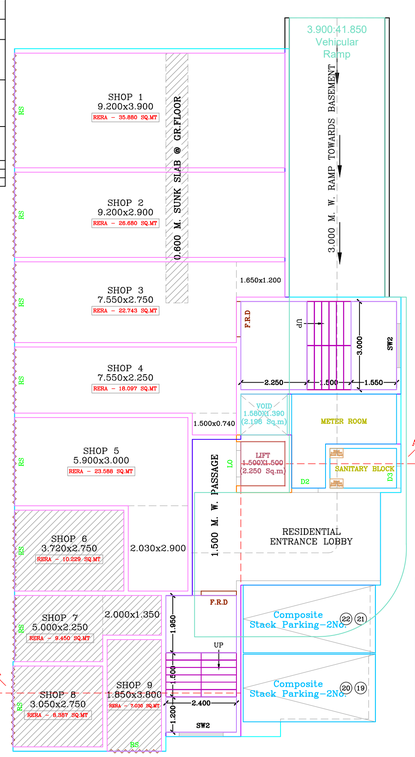

GROUND FLOOR PLAN
(SCALE 1:100)

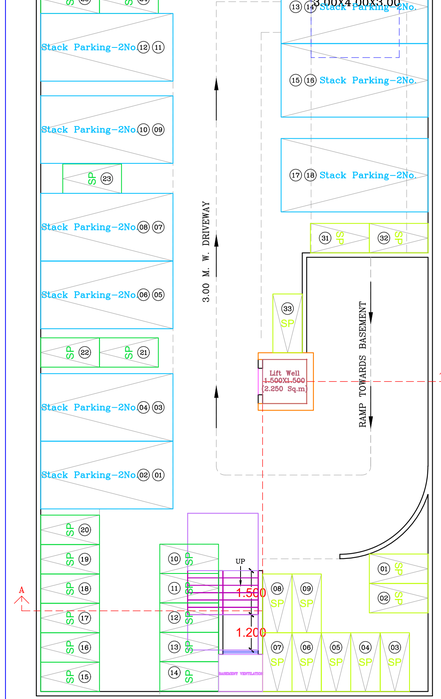

BASEMENT FLOOR PLAN
(SCALE 1:100)

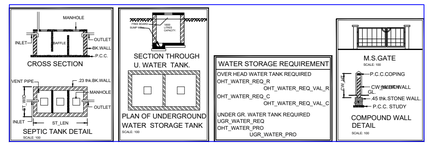

BUILT UP AREA CALCULATION FOR 1ST FLOOR SAPTASHRI			
AREA NAME	LENGTH	WIDTH	Area(Sq.M)
BLOCK	26.050	14.930	338.825
		BLOCK AREA TOTAL =338.825Sq.M	
Void2	-	-	9.150
Void1	-	-	2.196
Lift9to6	-	-	2.250
Duct9	-	-	5.430
		TOTAL Deduction =19.026Sq.M	
		Net BuiltUp Area =319.799 Sq.M	

BUILT UP AREA CALCULATION FOR 1ST FLOOR SAPTASHRI			
AREA NAME	LENGTH	WIDTH	Area(Sq.M)
BLOCK	4.800	2.400	11.520
		BLOCK AREA TOTAL =11.520Sq.M	
		TOTAL Deduction =0.000Sq.M	
		Net BuiltUp Area =11.520 Sq.M	

BUILT-UP AREA CALCULATION 1ST FLOOR SAPTASHRI
SCALE 1:200 (RESIDENTIAL)

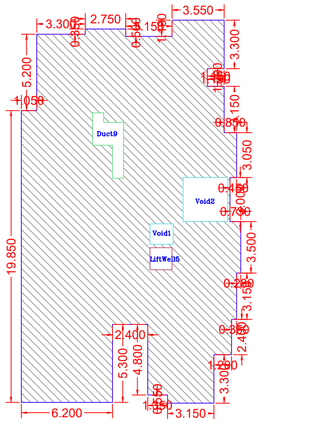

BUILT-UP AREA CALCULATION 1ST FLOOR SAPTASHRI
SCALE 1:200 (COMMERCIAL)

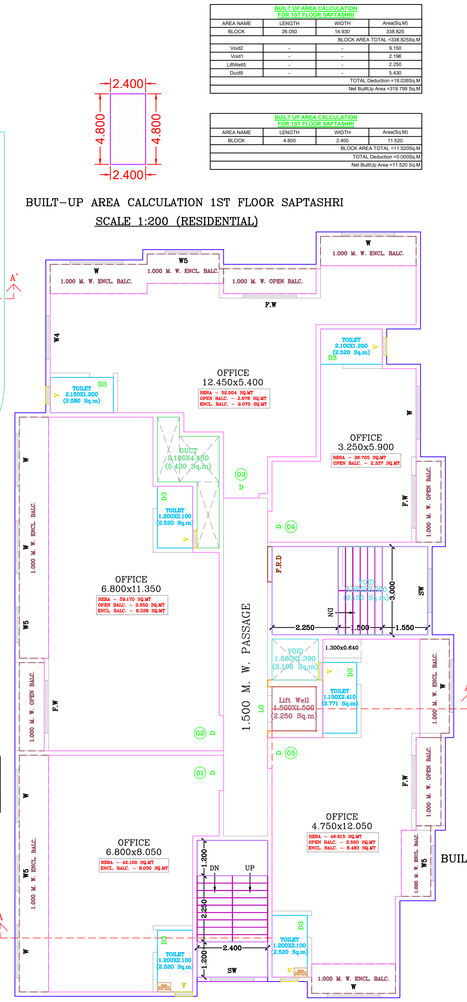

1ST FLOOR PLAN
(SCALE 1:100)

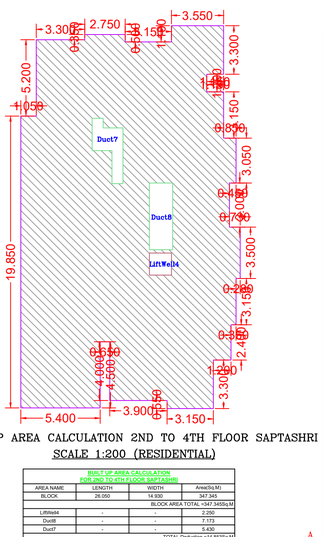

BUILT-UP AREA CALCULATION 2ND TO 4TH FLOOR SAPTASHRI
SCALE 1:200 (RESIDENTIAL)

BUILT UP AREA CALCULATION FOR 2ND TO 4TH FLOOR SAPTASHRI			
AREA NAME	LENGTH	WIDTH	Area(Sq.M)
BLOCK	26.050	14.930	347.345
		BLOCK AREA TOTAL =347.345Sq.M	
Lift9to4	-	-	2.250
Duct8	-	-	7.173
Duct7	-	-	5.430
		TOTAL Deduction =14.853Sq.M	
		Net BuiltUp Area =332.492 Sq.M	

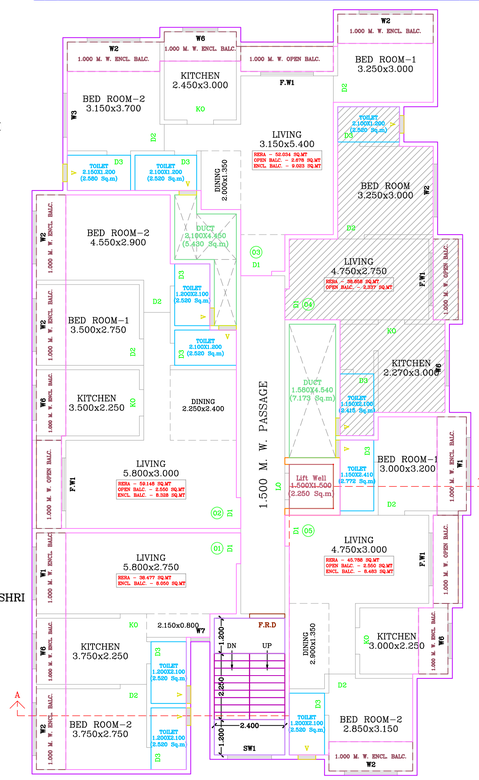

2ND TO 4TH FLOOR PLAN
(SCALE 1:100)

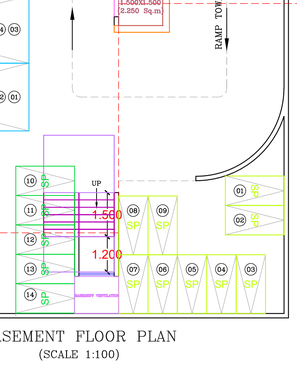

BUILT-UP AREA CALCULATION GROUND FLOOR SAPTASHRI
SCALE 1:200 (COMMERCIAL)

BUILT UP AREA CALCULATION FOR GROUND FLOOR SAPTASHRI			
AREA NAME	LENGTH	WIDTH	Area(Sq.M)
BLOCK	23.900	13.200	192.566
		BLOCK AREA TOTAL =192.566Sq.M	
		TOTAL Deduction =0.000Sq.M	
		Net BuiltUp Area =192.566 Sq.M	

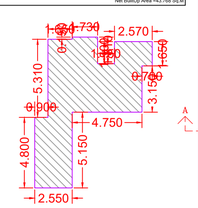

BUILT-UP AREA CALCULATION GROUND FLOOR SAPTASHRI
SCALE 1:200 (RESIDENTIAL)

BUILT UP AREA CALCULATION FOR GROUND FLOOR SAPTASHRI			
AREA NAME	LENGTH	WIDTH	Area(Sq.M)
BLOCK	10.260	8.000	43.768
		BLOCK AREA TOTAL =43.768Sq.M	
		TOTAL Deduction =0.000Sq.M	
		Net BuiltUp Area =43.768 Sq.M	

Proforma I : Area Statement

1. Area of plot(Minimum area of a, b, c to be considered) or area of subplot with sanctioned layout No. and subplot No.	583.100
(a) As per ownership document (7/12, CTS extract)	583.100
(b) as per TILR or City Survey measurement sheet	583.100
(c) as per Demarcated drawing area	603.554
LESS	
2.Area not in possession	0.000
3. Area Proposed for development (out of 1-2)	583.100
4.Deductions for(out of 3)	
(a) Proposed D.P./ D.P. Road widening Area/Proposed DP road, Road under MMC act	45.220
(b) Any D.P. Reservation area	0.000
(c) Green Belt	0.000
(Total a+b+c)	45.220
5. Balance area of plot (3-4)	537.880
6. Amenity Space Proposed	0.000
(Required -(a) Upto 20,000 sqmt - Nil	-
(b) Above 20,000 and more - (a) + 5% of Total area	0.000
7. Net Plot Area (5-6)	537.880
8.Recreational Open Space (Not applicable if plots are from sanctioned layout)	-
(a). If area is more than (5) 4000 sqmt - 10 % of (5) is required.	0.000
Proposed___	0.000
(A)10 % Subject to minimum 200 sqmt(Not applicable if plots are from sanctioned layout or each plot admesuring less than 4000sq.m regularised under gunthewari act)	0.000
Proposed ___	0.000
(B)Exemption to leave open space subject to availing basic F.S.I of 75 %	-
(C)Exemption to leave open space subject to payment of 10 % land value of land at (7) as per annual statement of rate.	-
If (5) > 4000sq.m then Land admesuring 20% of (5) is to be utilised for inclusive housing	0.000
Proposed Area	0.000

Architect/ Licensed Engineer/ Supervisor name and signature

Registration No. of Architect/ License no. of Licensed Engineer/ Supervisor: CA/2019/106930

Certificate of Area:
Certified that the plot under reference was surveyed by me on_____ and the dimensions of sides etc. of plot stated on plan are as measured on site and the area so worked out tallies with the area stated in document of Ownership/ T.P. Scheme Records/Land Records Department/City Survey records.

Signature
(Name of Architect/ Licensed Engineer/ Supervisor.)

Owner's Declaration -
I/We undersigned hereby confirm that I/We would abide by plans approved by Authority / Collector. I/We would execute the structure as per approved plans. Also I/We would execute the work under supervision of proper technical person so as to ensure the quality and safety at the work site.

Owner (s) name and signature

JOB NO :982

NAME OF OWNER: M/S. PINNACLE PIONEERS THROUGH C.A HOLDER: MR. SAGAR WAMAN SANGLE

POSTAL ADDRESS: BUILDING NO: 05, 7TH FLOOR, FLAT NO 706, CYPRESS, VASANT VALLEY CHS, KHADAKPADA, KALYAN (WEST), THANE, MAHARASHTRA - 421301.
PHONE NO.: 9833303233

DESCRIPTION OF PROJECT :

Type of Proposal : Mixed
PROPOSED REDEVELOPMENT BUILDING PLAN ON PLOT BEARING CTS NO. 875, 876, S.NO. 93/A/134, PLOT NO:151, 152

SITE ADDRESS :
PROPOSED REDEVELOPMENT BUILDING PLAN ON PLOT BEARING CTS NO. 875, 876, S.NO. 93/A/134, PLOT NO:151, 152 AT VILLAGE: AYREGAON, TALUKA: KALYAN, DISTRICT: THANE.

Name Of Architect : Tejas Anil Nirgude

LOGO	ADDRESS OF OFFICE
	OFFICE - 5TH FLOOR, MIDTOWN EMBASSY, BEHIND VASANT VALLEY BUS DEPOT, OPP. NARAYANA SCHOOL, GANDHARE, KALYAN - 421301
OWNERS SIGN -	TECHNICAL PERSON SIGN

SCALE -	DATE: Date: 27/12/25
JOB NO - KDMCC-25-138122	CHECK BY - ANIL

SUBMISSION DRAWING

FLOOR PLANS + SECTION	SHEET NO : 2/02

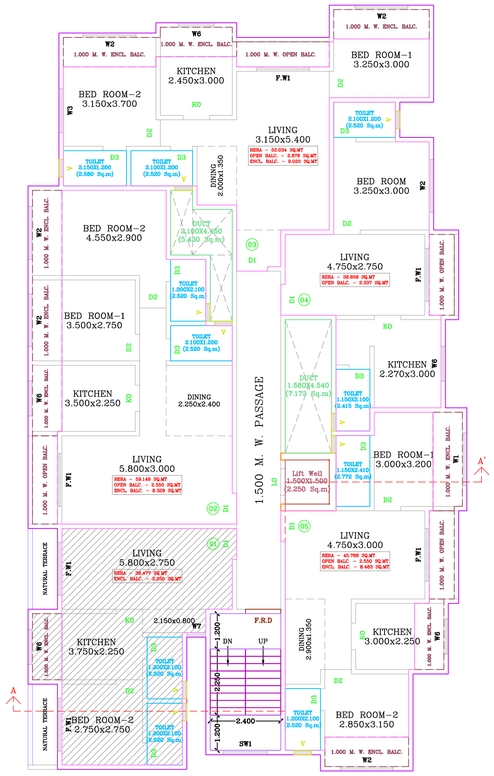

6TH FLOOR PLAN
(SCALE 1:100)

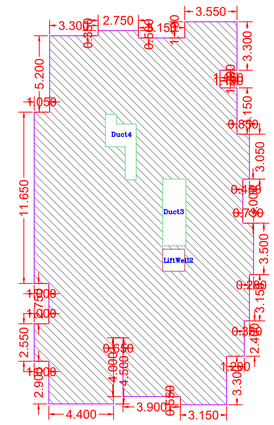

BUILT-UP AREA CALCULATION 6TH FLOOR SAPTASHRI
SCALE 1:200 (RESIDENTIAL)

BUILT UP AREA CALCULATION FOR 6TH FLOOR SAPTASHRI

AREA NAME	LENGTH	WIDTH	Area(Sq.M)
BLOCK	26.050	14.930	341.695
		BLOCK AREA TOTAL =341.695Sq.M	
LiftWell2	-	-	2.250
Duct4	-	-	5.430
Duct3	-	-	7.173
		TOTAL Deduction =14.853Sq.M	
		Net BuiltUp Area =326.842 Sq.M	

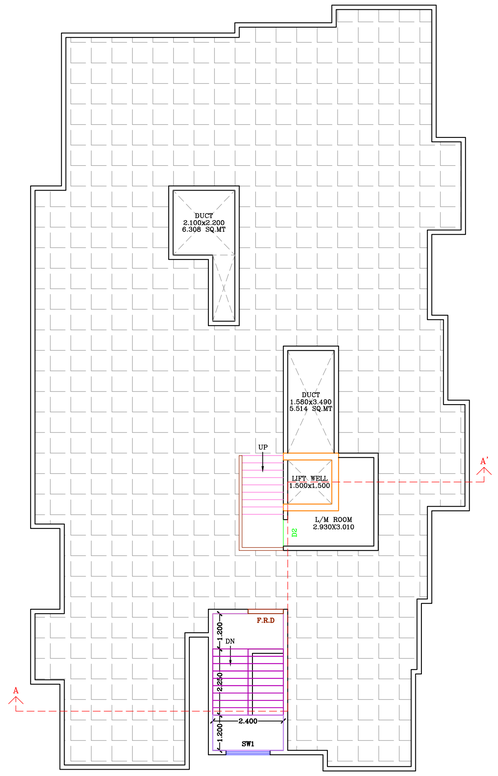

TERRACE FLOOR PLAN
(SCALE 1:100)

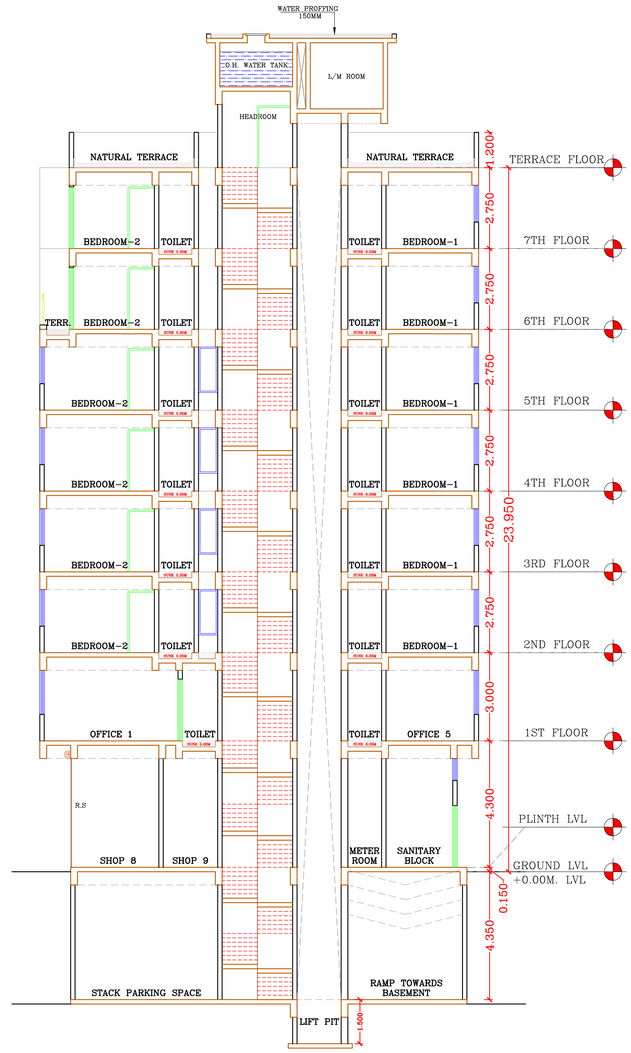

SECTION AA'
SCALE 1:100

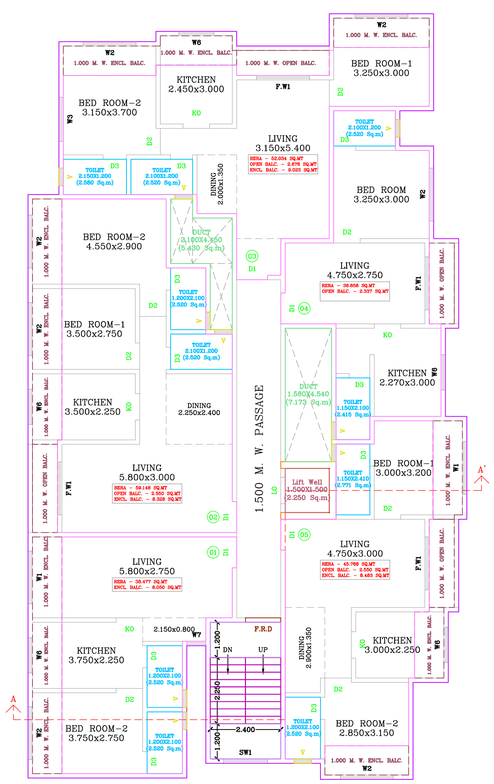

5TH FLOOR PLAN
(SCALE 1:100)

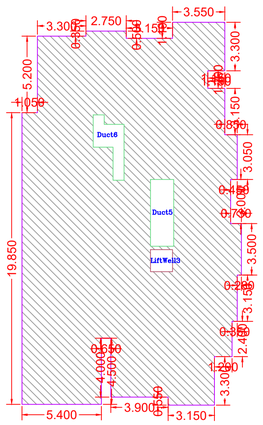

BUILT-UP AREA CALCULATION 5TH FLOOR SAPTASHRI
SCALE 1:200 (RESIDENTIAL)

BUILT UP AREA CALCULATION FOR 5TH FLOOR SAPTASHRI

AREA NAME	LENGTH	WIDTH	Area(Sq.M)
BLOCK	26.050	14.930	347.345
		BLOCK AREA TOTAL =347.345Sq.M	
LiftWell3	-	-	2.250
Duct6	-	-	5.430
Duct5	-	-	7.173
		TOTAL Deduction =14.853Sq.M	
		Net BuiltUp Area =332.492 Sq.M	

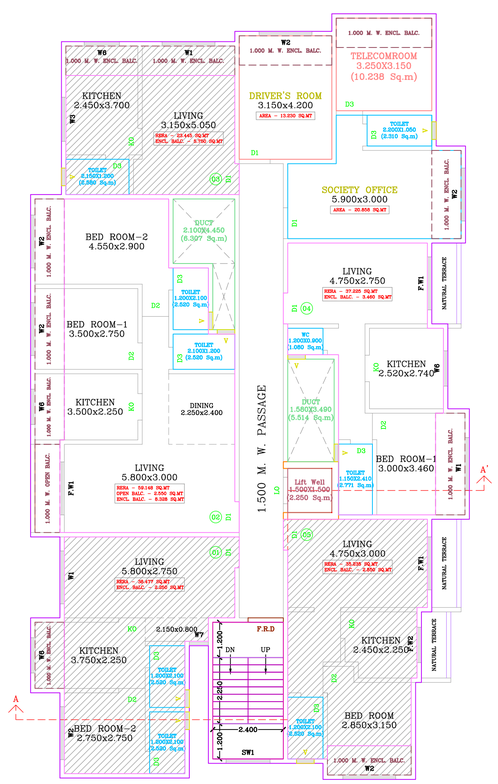

7TH FLOOR PLAN
(SCALE 1:100)

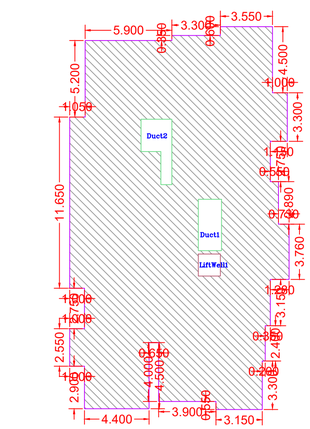

BUILT-UP AREA CALCULATION 7TH FLOOR SAPTASHRI
SCALE 1:200 (RESIDENTIAL)

BUILT UP AREA CALCULATION FOR 7TH FLOOR SAPTASHRI

AREA NAME	LENGTH	WIDTH	Area(Sq.M)
BLOCK	26.050	14.930	338.735
		BLOCK AREA TOTAL =338.735Sq.M	
LiftWell1	-	-	2.250
Duct2	-	-	6.307
Duct1	-	-	5.914
		TOTAL Deduction =14.071Sq.M	
		Net BuiltUp Area =324.664 Sq.M	

Reserved for Stamps of Approval plan

Proforma I : Area Statement	
1. Area of plot(Minimum area of a, b, c to be considered) or area of subplot with sanctioned layout No. and subplot No.	583.100
(a) As per ownership document (7/12, CTS extract)	583.100
(b) as per TILR or City Survey measurement sheet	583.100
(c) as per Demarcated drawing area	603.554
LESS	
2.Area not in possession	0.000
3. Area Proposed for development (out of 1-2)	583.100
4.Deductions for(out of 3)	
(a) Proposed D.P./ D.P. Road widening Area/Proposed DP road, Road under MMC act	45.220
(b) Any D.P. Reservation area	0.000
(c) Green Belt	0.000
(Total a+b+c)	45.220
5. Balance area of plot (3-4)	537.880
6. Amenity Space Proposed	0.000
(Required -(a) Upto 20,000 sqmt - Nil	-
(b) Above 20,000 and more - (a) + 5% of Total area	0.000
7. Net Plot Area (5-6)	537.880
8.Recreational Open Space (Not applicable if plots are from sanctioned layout)	-
(a). If area is more than (5) 4000 sqmt - 10 % of (5) is required.	0.000
Proposed _____	0.000
(A)10 % Subject to minimum 200 sqmt(Not applicable if plots are from sanctioned layout or each plot admesuring less than 4000sq.m regularised under gunthewari act)	0.000
Proposed _____	0.000
(B)Exemption to leave open space subject to availing basic F.S.I of 75 %	-
(C)Exemption to leave open space subject to payment of 10 % land value of land at (7) as per annual statement of rate.	-
If (5) > 4000sq.m then Land admesuring 20% of (5) is to be utilised for inclusive housing	0.000
Proposed Area	0.000
Architect/ Licensed Engineer/ Supervisor name and signature	
Registration No. of Architect/ License no. of Licensed Engineer/ Supervisor: CA/2019/106930	
Certificate of Area: Certified that the plot under reference was surveyed by me on_____ and the dimensions of sides etc. of plot stated on plan are as measured on site and the area so worked out tallies with the area stated in document of Ownership/ T.P. Scheme Records/Land Records Department/City Survey records. Signature (Name of Architect/ Licensed Engineer/ Supervisor.)	
Owner's Declaration - I/We undersigned hereby confirm that I/We would abide by plans approved by Authority / Collector. I/We would execute the structure as per approved plans. Also I/We would execute the work under supervision of proper technical person so as to ensure the quality and safety at the work site. Owner (s) name and signature	

JOB NO :982

NAME OF OWNER: M/S. PINNACLE PIONEERS THROUGH
C.A HOLDER: MR. SAGAR WAMAN SANGLE

POSTAL ADDRESS: BUILDING NO: 05, 7TH FLOOR, FLAT NO 706, CYPRESS, VASANT VALLEY CHS, KHADAKPADA, KALYAN (WEST), THANE, MAHARASHTRA - 421301.

PHONE NO : 9833303233

DESCRIPTION OF PROJECT :

Type of Proposal : Mixed
PROPOSED REDEVELOPMENT BUILDING PLAN ON PLOT BEARING CTS NO. 875, 876, S.NO. 93/A/134, PLOT NO:151, 152

SITE ADDRESS :
PROPOSED REDEVELOPMENT BUILDING PLAN ON PLOT BEARING CTS NO. 875, 876, S.NO. 93/A/134, PLOT NO:151, 152 AT VILLAGE: AYREGAON, TALUKA: KALYAN, DISTRICT: THANE.

Name Of Architect : Tejas Anil Nirgude

LOGO	ADDRESS OF OFFICE
	OFFICE - 5TH FLOOR, MIDTOWN EMBASSY, BEHIND VASANT VALLEY BUS DEPOT, OPP. NARAYANA SCHOOL, GANDHARE, KALYAN - 421301

OWNERS SIGN -	TECHNICAL PERSON SIGN
SCALE -	DATE: Date: 27/12/25
JOB NO - KDMCC-25-138122	CHECK BY - ANIL

SUBMISSION DRAWING