PRODUCED BY AN AUTODESK EDUCATIONAL PRODUCT

BLOCK PLAN
SCALE:- 1:500

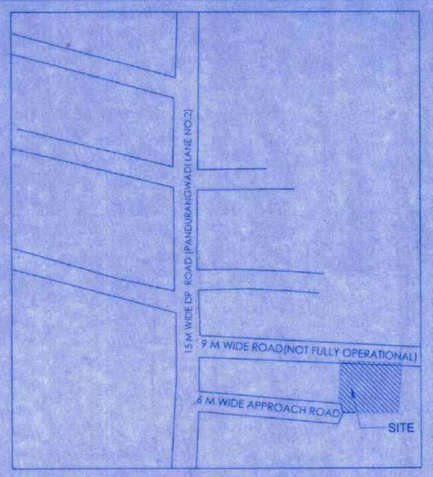

LOCATION PLAN
NOT TO SCALE

PARKING AREA STATEMENT AS PER UDCPR FOR PROPOSED AREA

PARKING AREA AS PER GIVEN BELOW	REQUIRED NOS		REMARKS	NO OF FLAT	CAR	SCOOTER
	CAR	SCOOTER				
FOR EVERY TENEMENT HAVING CARPET AREA OF 150 SQ.M AND ABOVE	2	3	IN ADDITION 5% VISITOR PARKING		-	-
FOR EVERY TENEMENT HAVING CARPET AREA EQUAL TO OR ABOVE 80 SQ.M BUT LESS THAN 150 SQ.M	1	3	IN ADDITION 5% VISITOR PARKING	-	-	-
FOR EVERY TWO TENEMENTS WITH EACH TENEMENT HAVING CARPET AREA EQUAL TO OR ABOVE 40 SQ.M BUT LESS THAN 80 SQ.M	1	5	IN ADDITION 5% VISITOR PARKING	4	2.10	5.25
FOR EVERY TWO TENEMENTS WITH EACH TENEMENT HAVING CARPET AREA LESS THAN 40 SQ.M BUT MORE THAN 30 SQ.M	1	2	IN ADDITION 5% VISITOR PARKING	17	8.92	17.85
FOR EVERY TWO TENEMENTS WITH EACH TENEMENT HAVING CARPET AREA LESS THAN 30 SQ.M	0	4	IN ADDITION 5% VISITOR PARKING	1	-	2.1
TOTAL NOS OF CAR & SCOOTERS IN THE PLOT					11.02	25.20
TOTAL REQUIRED NOS OF CAR & SCOOTERS IN THE PLOT (0.8)					8.81	20.16
				SAY	9	21
COMPOSITE PARKING (6 SCOOTER = 1 CAR)					4	-24
REQUIRED PARKING INCLUDING COMPOSITE PARKING					13	0
TOTAL PROPOSED NOS CAR & SCOOTERS IN THE PLOTS					16	0

STAMP OF APPROVAL OF PLAN.

OFFICE OF THE KALYAN DOMBIVLI MUNICIPAL CORPORATION, KALYAN.

Building Permit No. :- KDMC/TPD/BP/DOM/2022-23/22.

Date :- 06/07/2022

SANCTIONED

ASSISTANT DIRECTOR OF TOWN PLANNING
Kalyan-Dombivli Municipal Corporation

THE DRAWINGS SUBMITTED BY ME ARE IN ACCORDANCE WITH THE TERMS AS SPECIFIED INDIAN STANDARD INSTITUTE AND I SHALL BE HELD RESPONSIBLE FOR ANY HARM CAUSED IN EARTHQUAKE DUE TO NEGLIGENCE OF THE STANDARDS.

I HEREBY CERTIFIED THAT THE PROPOSED CONSTRUCTION IS AS PER THE NORMS AS SPECIFIED BY INDIAN STANDARD INSTITUTE FOR THE RESISTANCE OF EARTHQUAKE.

MADHAV B. CHIKODI B.E. M.E. F.IV.
REG. STRUCTURAL ENGINEER
K.D.M.C. LIC. NO. - 510

SIGNATURE OF R.C.C. CONSULTANT

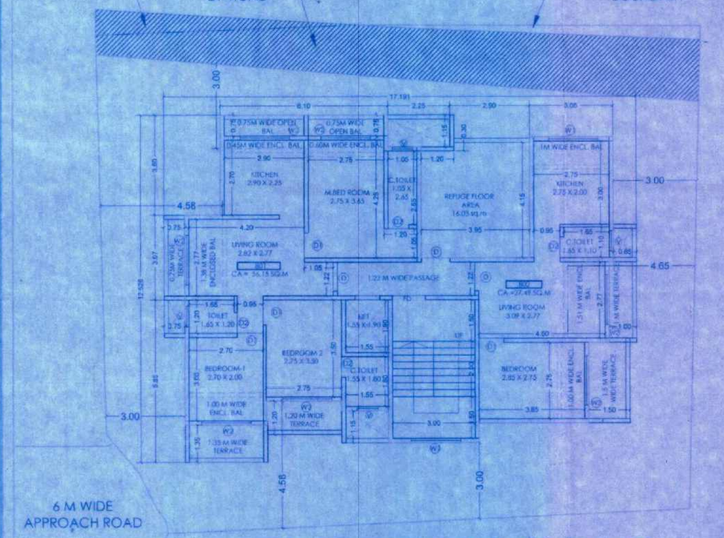

SITE PLAN WITH PROPOSED EIGHTH FLOOR PLAN (SCALE :- 1:100)

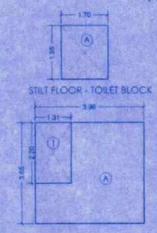

STILT FLOOR - TOILET BLOCK

STILT FLOOR - ENTRANCE LOBBY

PROPOSED P-LINE AREA FOR TOILET BLOCK AT STILT FLOOR		
AREA OF BLOCK		
A	1.70 X 1.95 X 1 NO	3.31 SQ.M

PROPOSED P-LINE AREA FOR ENTRANCE LOBBY		
AREA OF BLOCK		
A	3.96 X 3.65 X 1 NO	14.45
	TOTAL ADDITION (A)	14.45
	DEDUCTION	
1	1.31 X 2.20 X 1 NO	2.88
	TOTAL DEDUCTION (B)	2.88
	TOTAL P- LINE AREA (A-B)	11.57 SQ.M

AREA UNDER ROAD		
AREA OF BLOCK		
A	0.50 X 9.50 X 0.90 X 1 NO	4.27
B	0.50 X 13.11 X 0.90X 1 NO	5.89
C	0.50 X 22.5 X 2.35 X 1 NO	26.44
D	0.50 X 0.13 X 2.35 X 1 NO	0.15
	TOTAL	36.75
TOTAL AREA OF PLOT		36.75 SQ.M

NET PLOT AREA STATEMENT		
AREA OF BLOCK		
1	0.50 X 8.59 X10.90 X 1 NO	46.81
2	0.50 X 18.49 X 12.92 X 1 NO	119.44
3	0.50 X8 .62 X 12.92 X 1 NO	55.62
4	0.50 X 18.51 X 10.90 X 1 NO	100.88
5	0.50 X 18.72 X 2.92 X 1 NO	27.33
6	0.50 X 2.17 X 2.92 X 1 NO	3.17
	TOTAL	353.25
TOTAL AREA OF PLOT		353.25SQ.M

AREA IN POSSESSION BUT OUTSIDE MINIMUM BOUNDARY		
AREA OF BLOCK		
a	0.50 X 12.00 X 0.50 X 1 NO	3.00
	TOTAL	3.00
TOTAL AREA OF PLOT		3.00 SQ.M

AREA UNDER EXISTING DP ROAD		
AREA OF BLOCK		
1	0.50 X 10.87 X 0.92 X 1 NO	5.00
	TOTAL	5.00
TOTAL AREA OF PLOT		5.00 SQ.M

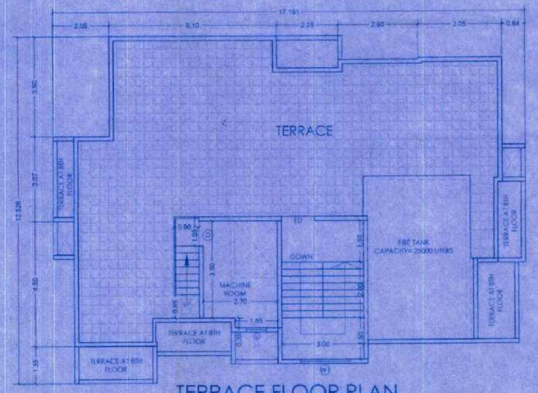

TERRACE FLOOR PLAN
SCALE :- 1:100

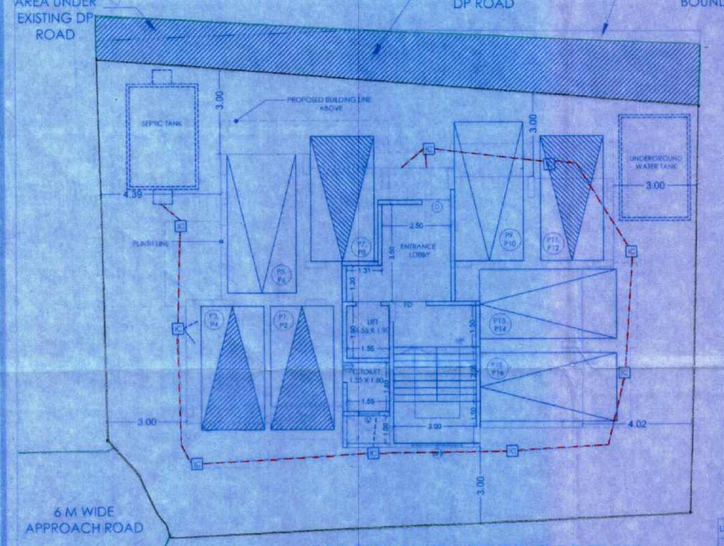

SITE PLAN WITH STILT FLOOR PLAN
SCALE :- 1:100

LEGEND - CAR PARKING

PARKING - 2.5M X 5.0M

PARKING - 2.35M X 4.5M

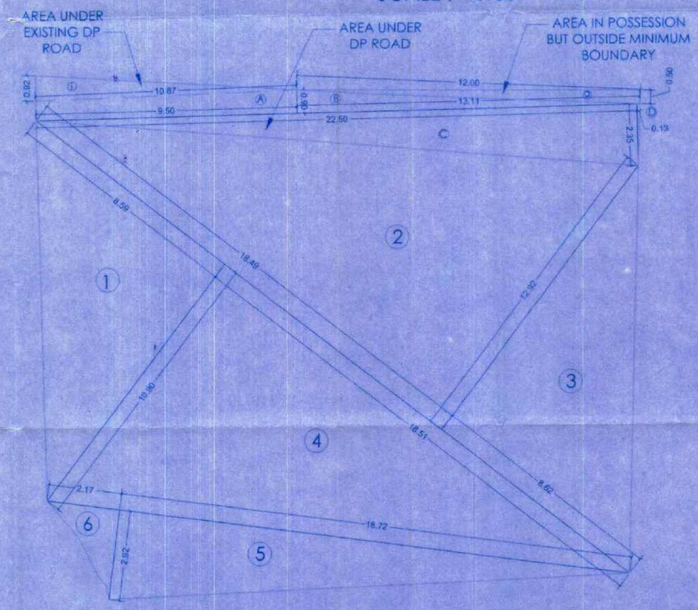

PLOT AREA DIAGRAM
SCALE :- 1:100

NOTE :- CARPET AREA (CA) MENTIONED IN THE FLATS IS AS PER CURRENT RERA GUIDELINES.

PROFORMA

SR.NO	AREA STATEMENT	SQ. MT.
	REDEVELOMENT OF RASHMIPRIYA CO-OP HSG.SOCIETY LTD ON PLOT NO.45 S.NO.84 H.NO.2/F BY SHREE RIDDHI SIDDHI INFRA PROJECT THROUGH P.O.A. HOLDER SHRI. SUDESH SHRIKANT CHUDNAIK AND OTHERS MOUJE-GAJABANDHAN PATHARLI, DOMBIVLI(EAST), TAL-KALYAN,DIST-THANE.	
	AREA OF PLOT (MINIMUM AREA OF D.P. TO BE CONSIDERED)	
	a) AS PER OWNERSHIP DOCUMENT(7/12 EXTRACT)	298.00
	b) AS PER OWNERSHIP DOCUMENT(C.T.S.EXTRACT)	
	c) AS PER MEASUREMENT SHEET	
	d) NOT IN POSSESSION	3.00
	e) AS PER SITE (MINIMUM BOUNDARY)	352.00
2	DEDUCTION FOR PROPOSED D.P.R/D.P.ROAD WIDENING AREA(7.5M WIDE ROAD/HIGHWAY WIDENING=38.75+5.00 sq.m)	41.75
	a) ANY D.P.RESERVATION AREA	
	TOTAL (A-B)	41.75
3	BALANCE AREA OF PLOT (1 - 2)	353.25
4	AMENITY SPACE (IF APPLICABLE)	
	a) REQUIRED	
	b) ADJUSTMENT OF 2 (b) , IF ANY	
	c) BALANCE PROPOSED	
5	NET AREA OF PLOT(3-4(c))	353.25
6	RECREATIONAL OPEN SPACE(IF APPLICABLE)	
	a) REQUIRED	
	b) PROPOSED	
7	INTERNAL ROAD AREA	
8	PLOTABLE AREA (IF APPLICABLE)	
9	BUILT UP AREA WITH REFERENCE TO BASIC F.S.I AS PER FRONT ROAD WIDTH (SR.NO.5 X BASIC FSI)	588.95
10	ADDITION OF FSI ON PAYMENT OF PREMIUM	
	a) MAXIMUM PERMISSIBLE PREMIUM FSI BASED ON ROAD WIDTH / TOD ZONE	
	b) PROPOSED FSI ON PAYMENT OF PREMIUM	197.50
11	TOTAL FSI (10(b) + 10(a))	
	a) IN SITU AREA AGAINST D.P.ROAD (3.0 X 3.8 NO.2) (IF ANY)	63.50
	b) IN SITU AREA AGAINST AMENITY SPACE (IF HANDED OVER) (2.0 OR 1.85 X SR.NO.4(b)) AND / OR(c)	
	c) TDR AREA	
	d) TOTAL IN SITU / TDR LOADING PROPOSED (11(a) + (b) + (c))	63.50
12	ADDITIONAL FSI AREA UNDER CHAPTER NO.7 (RESTRICTATION NO.17(5) -18 (BCR 2017)(PART-3)(SEC-37)(1A)(1B)1& SEC 20(4) (MODIFICATION) (00-13 DATED 02-12-21)	180.00
13	TOTAL ENTITLEMENT OF FSI IN THE PROPOSAL	
	a) [9+10(b)+11(a)] AND 12 WHICHEVER IS APPLICABLE	849.58
	b) ANCILLARY AREA FSI UPTO 60% OR 80% WITH PAYMENT OF CHARGES 651.69 X 60% = 311.01	509.75
	c) TOTAL ENTITLEMENT (12+ B)	1359.33
14	MAXIMUM UTILIZATION LIMIT OF F.S.I (BUILDING POTENTIAL)(PERMISSIBLE AT PER ROAD WIDTH (AS PER REGULATION NO.5.1 OR 5.2 OR 2.5 OR 4.4 AS APPLICABLE) X 1.6 OR 1.8)	4.00
15	TOTAL BUILT UP AREA IN PROPOSAL (EXCLUDING AREA AT SR. NO.17 b)	
	a) EXISTING BUILT - UP AREA	
	b) PROPOSED BUILT - UP AREA	1356.79
	c) TOTAL AREA (9+b)	1356.79
16	F.S.I CONSUMED (15/13)(SHOULD NOT BE MORE THAN SERIAL NO.14 ABOVE)	0.99
17	AREA FOR INCLUSIVE HOUSING, IF ANY	
	a) REQUIRED (20% OF SR. NO.5)	
	b) PROPOSED	

NOTES

PLOT LINE SHOWN IN BLACK.
PROPOSED WORK SHOWN IN RED.
DRAINAGE AND SEWERAGE WORK SHOWN IN DOTTED RED.
EXISTING STRUCTURE TO BE DEMOLISHED SHOWN IN YELLOW HATCHED.

CERTIFICATE OF AREA

CERTIFIED THAT THE PLOT UNDER REFERENCE WAS SURVEYED BY ME ON 23/11/2021 AND DIMENSIONS OF SIDES ETC. OF PLOT STATED ON PLAN ARE AS MEASURED ON SITE AND THE AREA SO WORKED OUT TALLIES WITH THE AREA STATED IN DOCUMENT OF OWNERSHIP / T.P.SCHEME RECORDS/ LAND RECORDS DEPARTMENT/ CITY SURVEY RECORDS.

SIGNATURE OF ARCHITECT

DESCRIPTION OF PROPOSAL & PROPERTY

REDEVELOMENT OF RASHMIPRIYA CO-OP HSG.SOCIETY LTD ON PLOT NO.45 S.NO.84 H.NO.2/Fee BY SHREE RIDDHI SIDDHI INFRA PROJECT THROUGH P.O.A. HOLDER SHRI. SUDESH SHRIKANT CHUDNAIK AND OTHERS MOUJE-GAJABANDHAN PATHARLI, DOMBIVLI(EAST), TAL-KALYAN DIST-THANE.

OWNER'S DECLARATION

I/WE UNDERSIGNED HEREBY CONFIRM THAT I/WE WOULD ABIDE BY PLANS APPROVED BY AUTHORITY /COLLECTOR.I/WE WOULD EXECUTE THE STRUCTURE AS PER APPROVED PLANS.ALSO I/ WE WOULD EXECUTE THE WORK UNDER SUPERVISION OF PROPER TECHNICAL PERSON SO AS TO ENSURE THE QUALITY AND SAFETY AT THE WORK SITE.

SHREE RIDDHI SIDDHI INFRAPROJECT
PARTNER

P.O.A. HOLDER SHRI. SUDESH SHRIKANT CHUDNAIK AND OTHERS

JOB NO.	DATE	DWG NO.	SCALE	DRAWN BY	REGISTRATION NO. OF ARCHITECT
ARCH-6791	28/12/2021	ARCH1	AS GIVEN	AR.PRATIKSHA KHAIRMATE	CA/97/22150

NORTH LINE

ARCHITECT

AR. KESHAV CHIKODI
CA/97/22150
M. Arch (USA), A.I.I.A., F.I.V., M.C.A.
NCARB (USA)LAIA (USA), LEED AP (USA)

VASTUKALA
REG. OFFICE :-
ABOVE SHRISHRI MANGAL KARYALAYA, PANDURANG WADI, 1ST LANE, DOMBIVLI (EAST)421 201

PRODUCED BY AN AUTODESK EDUCATIONAL PRODUCT
PRODUCED BY AN AUTODESK EDUCATIONAL PRODUCT
PRODUCED BY AN AUTODESK EDUCATIONAL PRODUCT

PRODUCED BY AN AUTODESK EDUCATIONAL PRODUCT

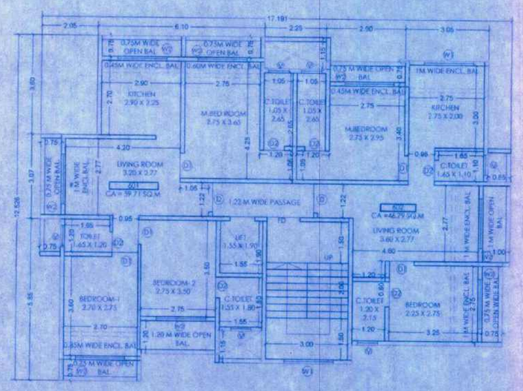

PROPOSED SIXTH FLOOR PLAN
(SCALE :- 1:100)

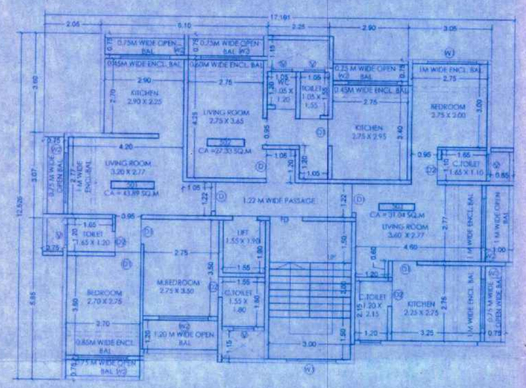

PROPOSED FIFTH FLOOR PLAN
(SCALE :- 1:100)

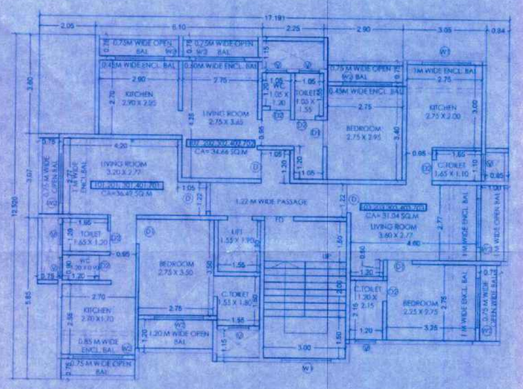

PROPOSED TYPICAL FLOOR PLAN
(1ST TO 4TH & 7TH) (SCALE :- 1:100)

NOTE :- CARPET AREA (CA) MENTIONED IN THE FLATS IS AS PER CURRENT RERA GUIDELINES.

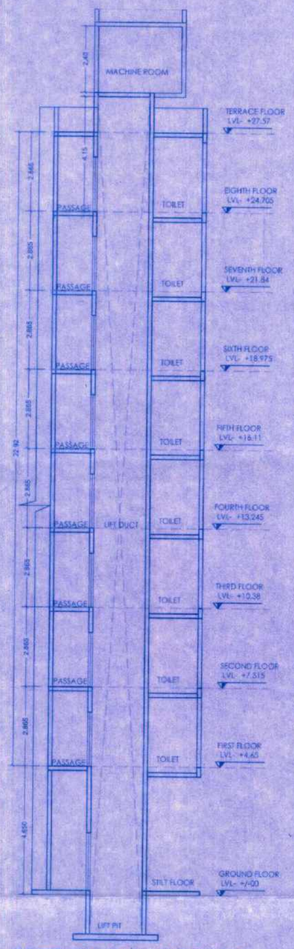

SECTION THROUGH LIFT
SCALE :- 1:100

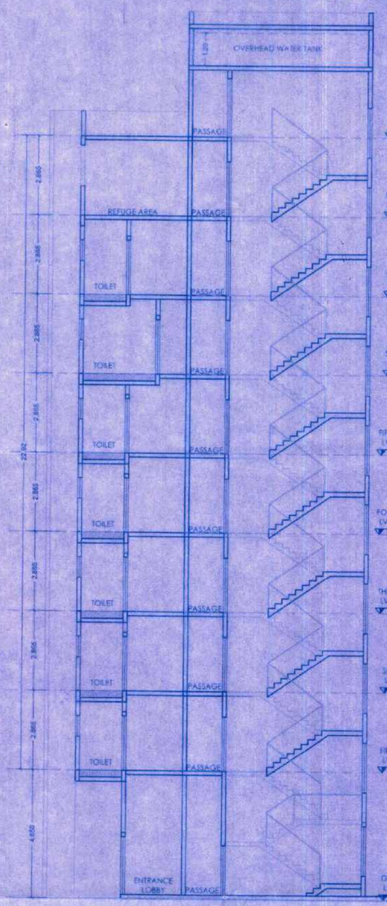

SECTION THROUGH STAIRCASE
SCALE :- 1:100



FRONT ELEVATION
SCALE :- 1:100

STAMP OF APPROVAL OF PLAN.

OFFICE OF THE KALYAN DOMBIVLI MUNICIPAL CORPORATION, KALYAN.
Building Permit No. :- KDMC/TPD/BP/DOM/2022-23/22.
Date :- 06/07/2022
SANCTIONED

ASSISTANT DIRECTOR OF TOWN PLANNING
for Kalyan-Dombivli Municipal Corporation



PLAN OF UG TANK

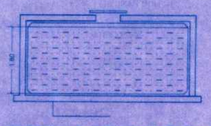

SECTION THROUGH UG TANK
DETAIL AT UNDER GROUND TANK

DOORS AND WINDOW SCHEDULES

TYPE	SIZE	DESCRIPTIONS
FD	1.20 X 2.10	HALF HOUR FIRE RESISTING DOOR
D	1.05 X 2.10	WOOD FRAMED FLUSH DOOR WITH LAMINATE FINISH
D1	0.90 X 2.10	WOOD FRAMED FLUSH DOOR WITH LAMINATE FINISH
D2	0.75 X 2.10	GRANITE FRAMED BAKELITE DOOR
W1	1.80 X 1.40	ALUM.FRAMED GLAZED WINDOW
W 2	1.80 X 2.00	ALUM. FRENCH GLAZED WINDOW
V	0.75 X 0.60	ALUM.FRAMED GLAZED LOUVERED VENTILATOR

PROPOSED P-LINE AREA FOR FIRST TO SEVENTH FLOOR

AREA OF BLOCK		
A	17.191 X 12.526 X 1 NO	215.33
	TOTAL ADDITION (A)	215.33
	DEDUCTION	
1	2.05 X 3.60 X 1 NO	7.38
2	2.25 X 1.15 X 1 NO	2.59
3	2.90 X 0.85 X 1 NO	2.47
4	3.05 X 0.8 X 1 NO	2.44
5	0.84 X 5.15 X 1 NO	4.33
6	0.25 X 2.90 X 1 NO	0.73
7	5.75 X 1.40 X 1 NO	8.05
8	3.30 X 0.70 X 1 NO	2.31
9	1.55 X1.85 X 1 NO	2.87
10	2.85 X 1.00 X 1 NO	2.85
11	0.75 X 5.85 X 1 NO	4.39
12	1.55 X 1.90 X 1 NO	2.95
	TOTAL DEDUCTION (B)	43.36
TOTAL P- LINE AREA (A-B)= C		171.97 SQ.M

PROPOSED BUILT UP AREA

SR.NO	FLOOR	P-LINE AREA IN SQ.M
1	STILT FLOOR - ENTRANCE AREA	11.57
2	STILT FLOOR - TOILET AREA	3.31
3	FIRST TO SEVENTH FLOOR (171.97 X 7)	1203.79
4	EIGHTH FLOOR	138.12
	TOTAL	1356.79
	TOTAL P- LINE AREA	1356.79 SQ.M

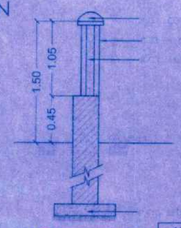

SECTION THROUGH
COMPOUND WALL

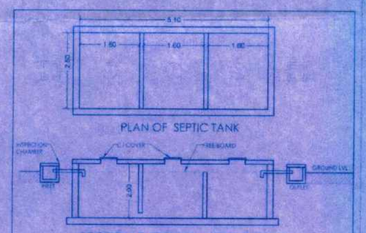

PLAN OF SEPTIC TANK

SECTION THROUGH SEPTIC TANK
DETAIL AT SEPTIC TANK

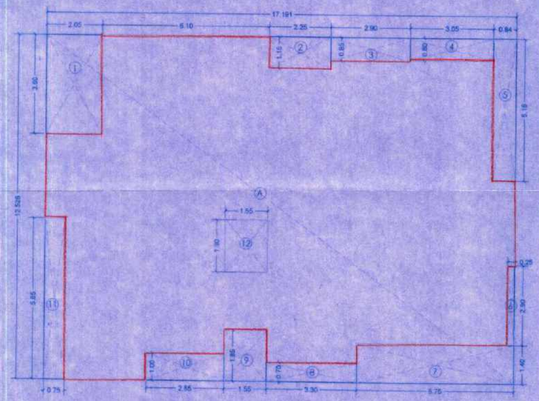

PROPOSED P-LINE AREA DIAGRAM (1ST TO 7TH FLOOR)
SCALE :- 1:100

PROPOSED P-LINE AREA FOR EIGHTH FLOOR

AREA OF BLOCK		
A	15.603 X 11.822 X 1 NO	184.46
	TOTAL ADDITION (A)	184.46
	DEDUCTION	
1	1.30 X 3.60 X 1 NO	4.68
2	1.55 X 1.90 X 1 NO	2.95
3	1.20 X 1.15 X 1 NO	1.38
4	3.95X 5.15 X 1 NO	20.34
5	3.05 X 0.80 X 1 NO	2.44
6	0.16 X 2.92 X 1 NO	0.47
7	4.0 X 0.70 X 1 NO	2.80
8	1.70 X 1.15 X 1 NO	1.96
9	2.75 X 0.70 X 1 NO	1.93
10	2.70 X 0.80 X 1 NO	2.16
11	3.00 X 0.65 X 1 NO	1.95
12	0.91 X 3.60 X 1 NO	3.28
	TOTAL DEDUCTION (B)	46.34
TOTAL P- LINE AREA (A-B)= C		138.12SQ.M

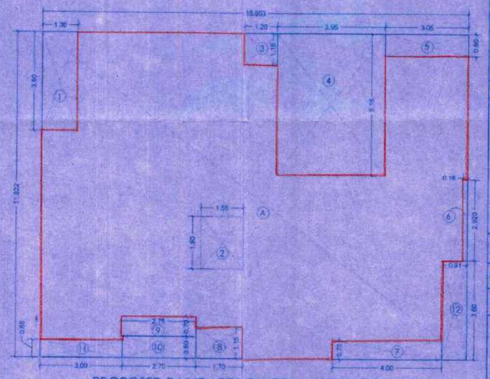

PROPOSED P-LINE AREA DIAGRAM (8TH FLOOR)
SCALE :- 1:100

NOTES
PLOT LINE SHOWN IN BLACK.
PROPOSED WORK SHOWN IN RED.
DRAINAGE AND SEWERAGE WORK SHOWN IN DOTTED RED.
EXISTING STRUCTURE TO BE DEMOLISHED SHOWN IN YELLOW HATCHED.

DESCRIPTION OF PROPOSAL & PROPERTY
REDEVELOMENT OF RASHMIPRIYA CO-OP HSG.SOCIETY LTD ON PLOT NO.45 S.NO.84 H.NO.2/Pee BY SHREE RIDDHI SIDDHI INFRA PROJECT THROUGH P.O.A., HOLDER SHRI. SUDESH SHRIKANT CHUDNAIK AND OTHERS MOUJE-CA JABANDHAN PATHARLI, DOMBIVLI(EAST), TAL-KALYAN,DIST-THANE.

OWNER'S DECLARATION
I/WE UNDERSIGNED HEREBY CONFIRM THAT I/WE WOULD ABIDE BY PLANS APPROVED BY AUTHORITY /COLLECTOR I/WE WOULD EXECUTE THE STRUCTURE AS PER APPROVED PLANS ALSO I/ WE WOULD EXECUTE THE WORK UNDER SUPERVISION OF PROPER TECHNICAL PERSON SO AS TO ENSURE THE QUALITY AND SAFETY AT THE WORK SITE.

SHREE RIDDHI SIDDHI INFRAPROJECT
PARTNER

P.O.A. HOLDER SHRI. SUDESH SHRIKANT CHUDNAIK AND OTHERS

JOB NO.	DATE	DWG NO.	SCALE	DRAWN BY	REGISTRATION NO. OF ARCHITECT
ARCH-6791	28/12/2021	ARCH/2	AS GIVEN	AR.PRATIKSHA KHARMATE	CA/67/22150.

NORTH LINE

ARCHITECT
AR. KESHAV CHIKODI.
CA/97/22150
M.Arch (USA), A.I.I.A., F.I.V., M.C.A.
NCARB (USA),AIA (USA), LEED AP (USA)
VASTUKALA
REG. OFFICE :-
ABOVE SHRIHARI MANGAL KARYALAYA, PANDURANG WADI, 1ST LANE, DOMBIVLI (EAST)421 201

PRODUCED BY AN AUTODESK EDUCATIONAL PRODUCT
PRODUCED BY AN AUTODESK EDUCATIONAL PRODUCT
PRODUCED BY AN AUTODESK EDUCATIONAL PRODUCT