SAGAR HEIGHTS														
BUILDING	FLOORS	FSI AREA						BALCONY	TERRACE	LIFT	LIFTWELL	DUCT	VENT SHAFT	OTHER EXCLUSION	TOTAL FSI AREA
		COMM	RESI	PUBL	EDU	HIS	MESZ	PROP							
SAGAR HEIGHTS	8TH TO9TH TO 12TH 14TH TO 21STFLOOR	0.000	5200.234	0.000	0.000	0.000	0.000	337.961	0.000	0.000	155.246	0.000	0.000	55.223	4691.765
SAGAR HEIGHTS	13TH 15TH 18TH 19TH 22ND FLOOR	0.000	1012.940	0.000	0.000	0.000	0.000	133.968	0.000	0.000	47.768	0.000	0.000	138.692	1456.480
SAGAR HEIGHTS	TERRACE FLOOR	0.000	49.820	0.000	0.000	0.000	0.000	0.000	0.000	0.000	0.000	0.000	0.000	0.000	49.820
SAGAR HEIGHTS	3RD TO 5TH FLOOR	0.000	617.400	0.000	0.000	0.000	0.000	43.212	0.000	0.000	35.826	0.000	0.000	21.513	880.004
SAGAR HEIGHTS	2ND FLOOR	0.000	286.185	0.000	0.000	0.000	0.000	8.704	0.000	0.000	11.942	0.000	0.000	7.171	286.072
SAGAR HEIGHTS	1ST FLOOR	0.000	302.234	0.000	0.000	0.000	0.000	0.000	0.000	0.000	11.942	0.000	0.000	7.171	283.141
SAGAR HEIGHTS	GROUND FLOOR	179.370	0.000	0.000	0.000	0.000	0.000	0.000	0.000	0.000	0.000	0.000	0.000	0.000	179.370
SAGAR HEIGHTS	TOTAL	179.370	8051.830	0.000	0.000	0.000	0.000	523.845	0.000	0.000	262.724	0.000	0.000	237.770	8006.712

Owner Details		
Owner Name	Postal Address	Contact Number
KUNY BUILDERS AND DEVELOPERS	A-1103, Adinath Palace,Vasant Valley road,Kalyan, Thane, Maharashtra 421301	9920363243
VILAS S JAIN	NIWAI	9920363243

Technical Details			
Building	Req. Type	Prop. Size	Status
SAGAR HEIGHTS	Telescoviffloum	0.60X0.450	OK

FSI DETAILS								
Sl Index	Basic FSI (on serial no 1)	Premium FSI (on serial no 2)	TDR/DR (on serial no 3)	Incentive FSI for green building if Applicable (Not Applicable for Residential)	Additional Balcony Area (33.15.1 Note 2)	Ancillary Area 40% of (2+3+4+5)	Ancillary Area 50% of (2+3+4+5)	Total
0.1 Permissible Index	1.100	0.000	1.100	0.000	0.000	0.000	0.000	2.750
0.2 Existing Consumed Index	0.000	0.000	0.000	0.000	0.000	0.000	0.000	0.000
0.3 Balance Index to be Consumed	1.100	0.000	1.100	0.000	0.000	0.000	0.000	0.000
0.4 Total Permissible Built Up Area	1750.000	1000.000	2000.000	0.000	0.000	3934.228	78.696	8186.124
0.5 Proposed P.Line Consumed Index 0.4 / Vested 0.4	1750.000	954.612	2000.000	0.000	0.000	2934.210	78.696	8067.712
0.6 Under Consumed	1.100	0.477	1.100	0.000	0.000	0.000	0.000	2.727

SCHEDULE OF OPENING				
SLD NAME	NAME	LENGTH	HEIGHT	Nos
SAGAR HEIGHTS	W	1.520	1.520	14
SAGAR HEIGHTS	W1	2.400	1.800	16
SAGAR HEIGHTS	W2	1.800	1.800	29
SAGAR HEIGHTS	W3	1.200	1.200	11
SAGAR HEIGHTS	V	0.600	1.200	30
SAGAR HEIGHTS	W4	1.800	1.800	4
SAGAR HEIGHTS	w2	1.800	1.800	8

SCHEDULE OF OPENING				
SLD NAME	NAME	LENGTH	HEIGHT	Nos
SAGAR HEIGHTS	FRD	1.200	2.100	21
SAGAR HEIGHTS	D1	1.000	2.100	4
SAGAR HEIGHTS	D3	0.750	2.100	30
SAGAR HEIGHTS	D2	0.900	2.100	5
SAGAR HEIGHTS	D	1.050	2.100	14

Area Statement					
Building Name	Commercial	Residential	Residential	Residential	Residential
Description of area utilization	Area utilization of Roads and Reservations				
	Reservation type	Reservation area	Quarter of ERI/TDR generation	Total Quarter of Vertical Generation	Area considered for FSI calculation
BUILDING	-	24.000 m DP Road Widening	370.000	740.000	740.000
	-	Total	370.000	740.000	740.000

Parking Check (Table 7.b)								
			Area			Required		
Building Name	USE	TENEMENT AREA	car	scooter	NO.OF Tenants/Vehicle	car	scooter	Transport Vehicle/Ambulance Mini Bus
SAGAR HEIGHTS	Commercial	For every 100 sqm of net area or part thereof	2	6	103.929	3.399	10.196	-
SAGAR HEIGHTS	Residential	For every two tenements with each tenement having carpet area equal to or above 60 sq.m. but less than 90 sq.m.	1	2	42	21.000	42.000	-
SAGAR HEIGHTS	Residential	For every two tenements with each tenement having carpet area more than 90 sq.m. but less than 200 sq.m.	1	2	36	19.000	36.000	-
SAGAR HEIGHTS	Residential	For every tenement having carpet area equal to or above 200 sq.m. but less than 300 sq.m.	1	1	17	17.000	17.000	-
Total	-	-	-	-	-	80.399	107.196	-
Visitors parking(5%)	-	-	-	-	-	2.890	4.905	-
Total	-	-	-	-	-	83.249	112.046	0.000

Parking Check As Per Multiplying Factor 0.8M(mide 1.5 M barrier equals to 1 car, proposed compactor parking for car 1 no)							
	Required			Proposed			
Building Name	Car	Scooter	Transport Vehicle/Ambulance Mini Bus	Car	Scooter	Transport Vehicle/Ambulance Mini Bus	Status
Total	53	88	-	53	88	-	OK

BUILT UP AREA CALCULATION FOR BUILDING NAME - SAGAR HEIGHTS			
AREA NAME	LENGTH	WIDTH	Area(SqM)
BLOCK	24.000	19.225	461.400
		BLOCK AREA TOTAL =461.400SqM	
void1	-	-	4.200
void2	-	-	2.688
LiftWell13	-	-	5.400
LiftWell14	-	-	3.38
LiftWell15	-	-	3.38
		TOTAL Deduction =19.048SqM	
		Net Builtup Area =442.352 SqM	

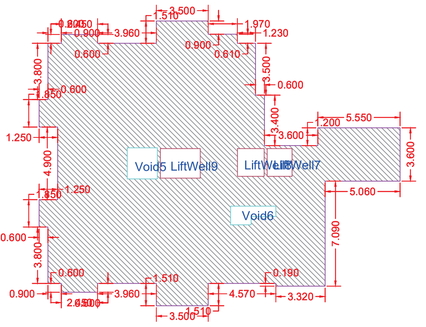

BUILT-UP AREA CALCULATION 3RD TO 5TH FLOOR SAGAR HEIGHTS

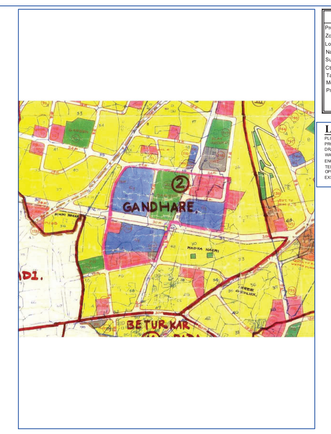

LEGENDS:
FLOOR DESIGNATION
FLOOR DESIGNATION WITH VOID
OPENING LIE BETWEEN TWO LIGHT WATER LINE BUSHES ALL SUTTER
TERRACE WATER LINE BUSHES
TERRACE WORK DARK YELLOW
EXISTING WATER LINE
EXISTING SHOWN BLUE WATCHED

Project Details
Proposal code -KDMCC-24-ENTRY-55490
Zone Type - Residential Zone
Project Type - Residential
Name of Project - Revised Building Permission
Sub service -
Ca No/Survey No. - 61
Taluka - Sector-3
Village - Gandhare
Project Value - 0.000

Signature valid
Digitally signed by Surendra Parshuram Patil Single
Date: 2025.01.29 15:37:24 IST
Reason: Approved Date of Plan
Designation : Assistant Director of Town Planning
Location: Kalyan Dombivli Municipal Corporation
Project Code : PRJ-0000-2024-0000-5490
Application Number : 0000-2024-0000-0000-00553
Certificate Number : 1479105
Certificate Number : KDMCC-HM-2025/APL/00118

EXECUTIVE ENGINEER/TOWN DEVELOPMENT OFFICER
Date: 13/01/2025

Town Planner
Date: 13/01/2025

Assistant Engineer
Date: 13/01/2025

BUILT UP AREA CALCULATION FOR BUILDING NAME - SAGAR HEIGHTS			
AREA NAME	LENGTH	WIDTH	Area(SqM)
BLOCK	24.000	19.225	461.400
		BLOCK AREA TOTAL =461.400SqM	
void1	-	-	4.200
void2	-	-	2.688
LiftWell1	-	-	5.400
LiftWell2	-	-	3.38
LiftWell3	-	-	3.38
		TOTAL Deduction =19.048SqM	
		Net Builtup Area =442.352 SqM	

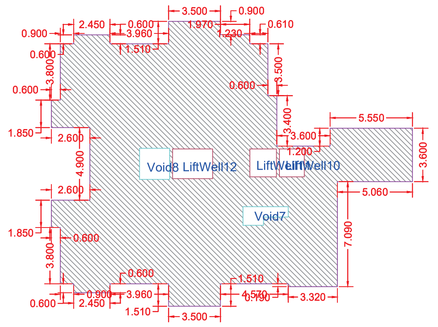

BUILT-UP AREA CALCULATION 2ND FLOOR SAGAR HEIGHTS

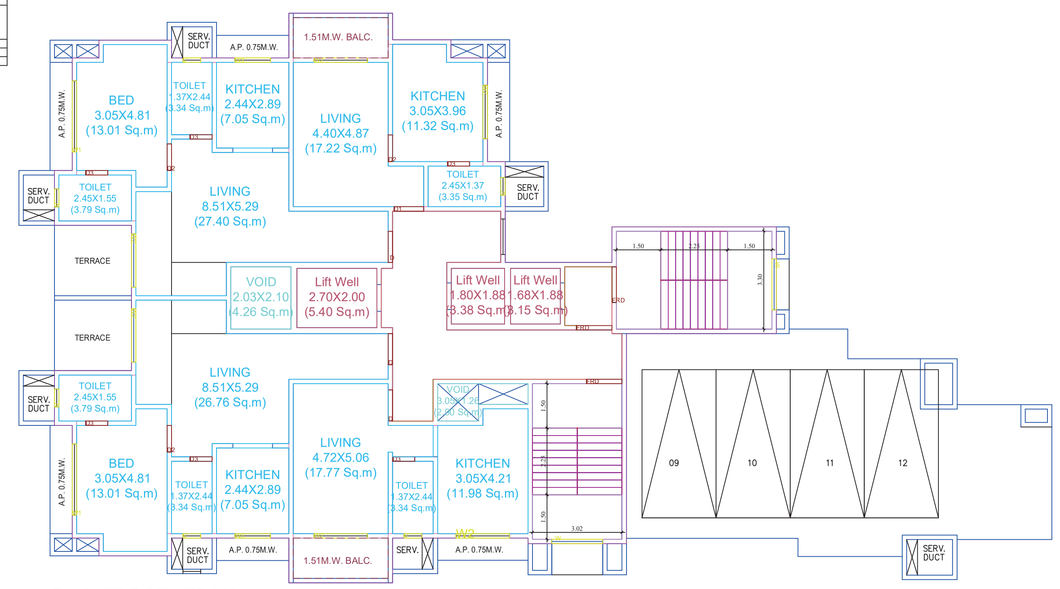

2nd FLOOR PLAN
SCALE 1:100

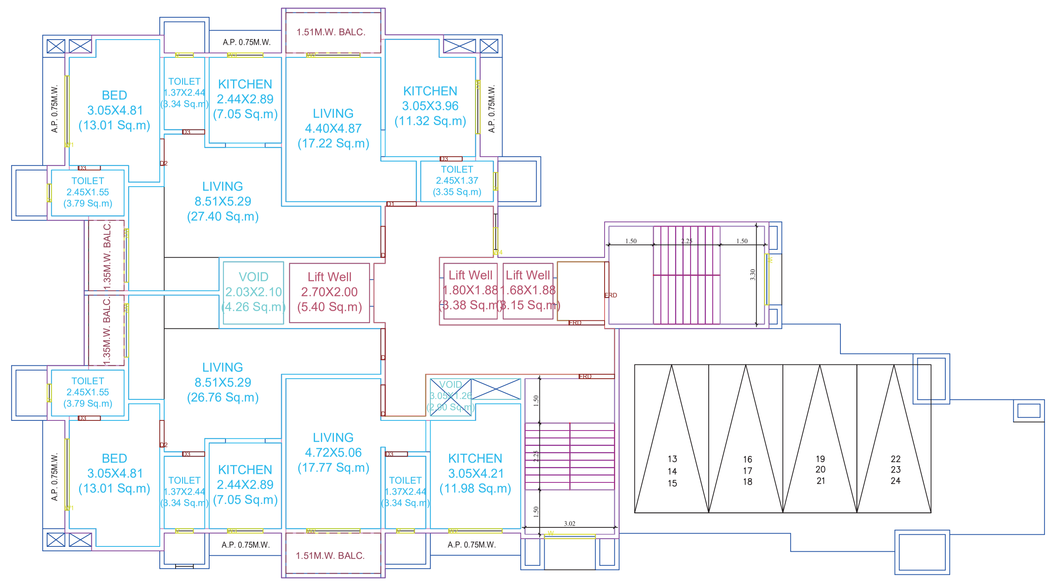

3rd to 5th FLOOR PLAN

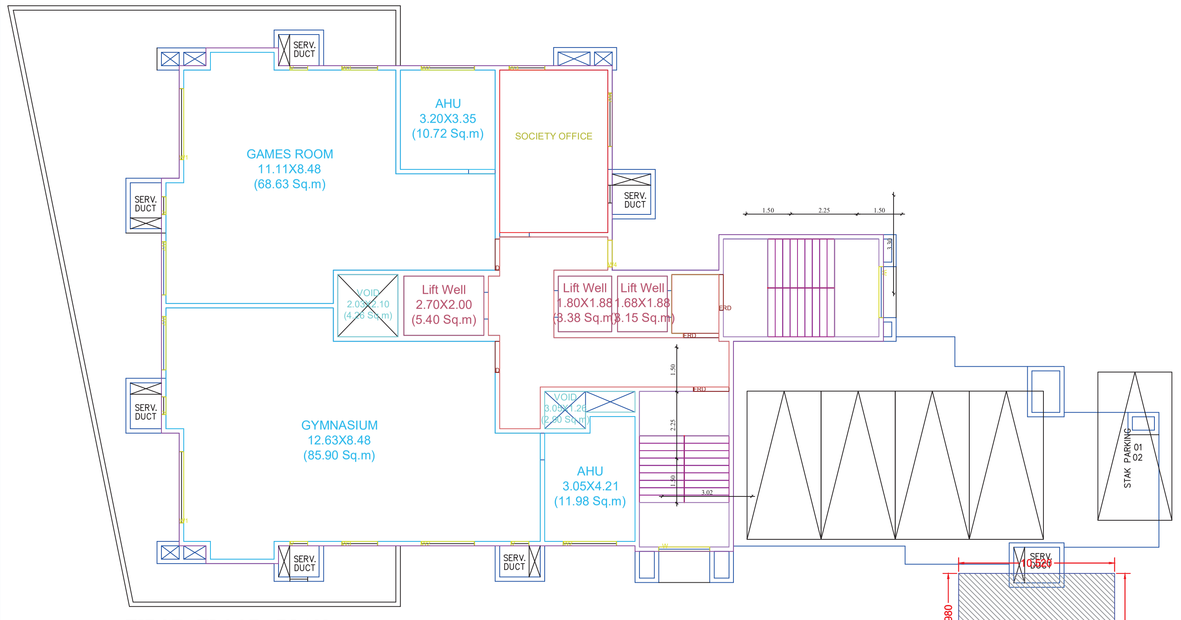

FIRST FLOOR PLAN
SCALE 1:100

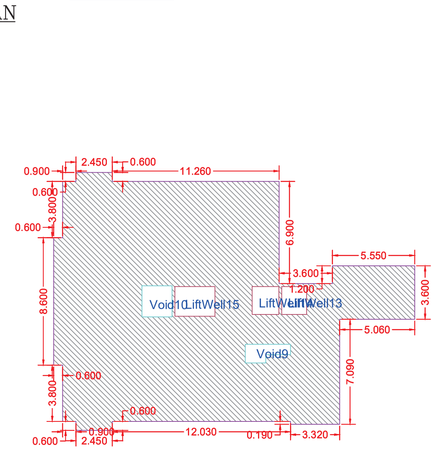

BUILT-UP AREA CALCULATION 1ST FLOOR SAGAR HEIGHTS

BUILT UP AREA CALCULATION FOR BUILDING NAME - SAGAR HEIGHTS			
AREA NAME	LENGTH	WIDTH	Area(SqM)
BLOCK	24.000	19.225	461.400
		BLOCK AREA TOTAL =461.400SqM	
void1	-	-	4.200
void2	-	-	2.688
LiftWell1	-	-	5.400
LiftWell2	-	-	3.38
LiftWell3	-	-	3.38
		TOTAL Deduction =19.048SqM	
		Net Builtup Area =442.352 SqM	

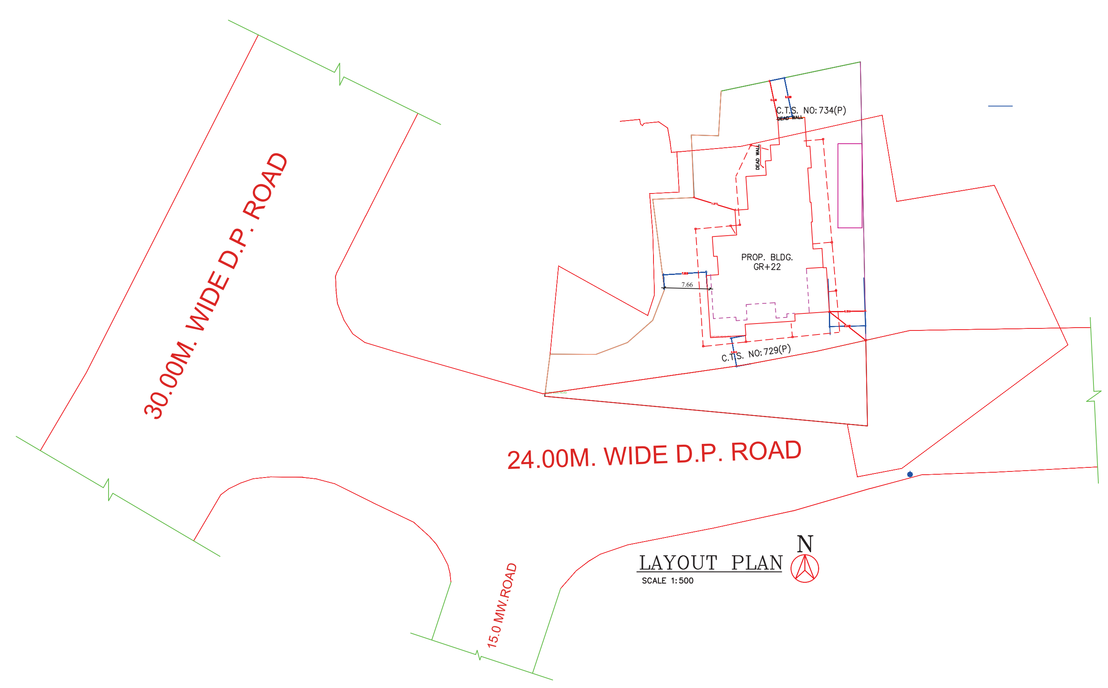

LAYOUT PLAN
SCALE 1:500

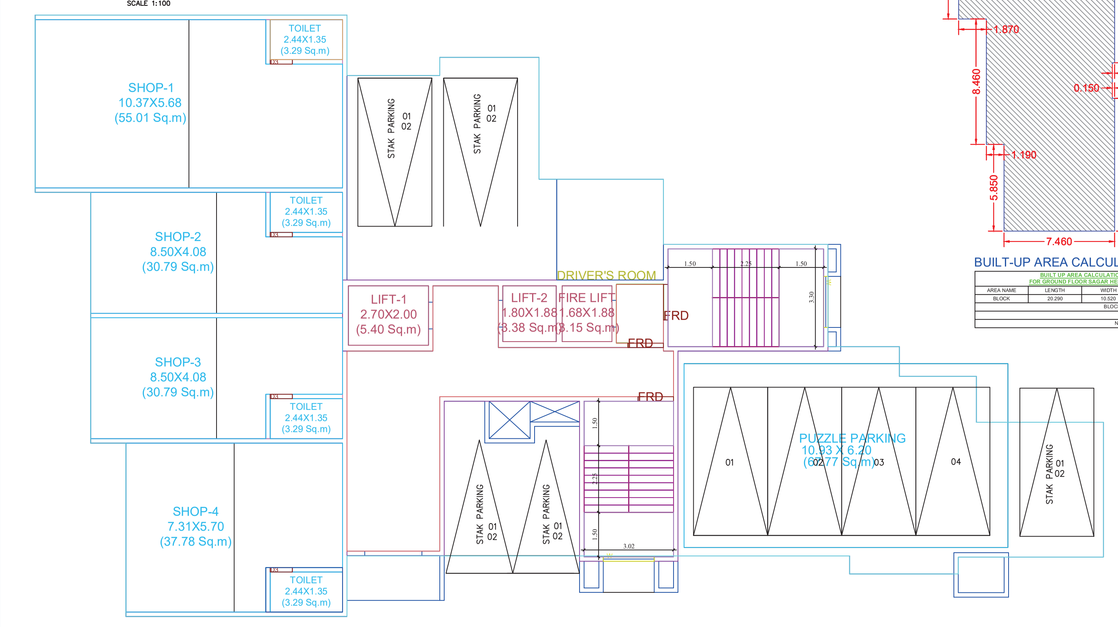

GROUND FLOOR PLAN
SCALE 1:100

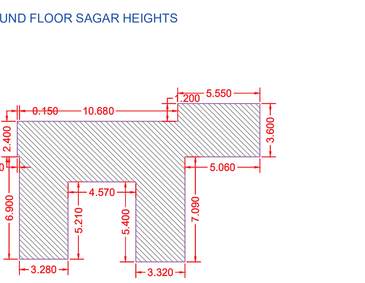

BUILT-UP AREA CALCULATION GROUND FLOOR SAGAR HEIGHTS

BUILT UP AREA CALCULATION FOR BUILDING NAME - SAGAR HEIGHTS			
AREA NAME	LENGTH	WIDTH	Area(SqM)
BLOCK	18.000	18.000	324.000
		BLOCK AREA TOTAL =324.000SqM	
		TOTAL Deduction =0.000SqM	
		Net Builtup Area =324.000 SqM	

BUILT-UP AREA CALCULATION GROUND FLOOR SAGAR HEIGHTS

BUILT UP AREA CALCULATION FOR BUILDING NAME - SAGAR HEIGHTS			
AREA NAME	LENGTH	WIDTH	Area(SqM)
BLOCK	18.000	18.000	324.000
		BLOCK AREA TOTAL =324.000SqM	
		TOTAL Deduction =0.000SqM	
		Net Builtup Area =324.000 SqM	

A. AREA STATEMENT		
1	A) AREA OF PLOT	
	a) As per ownership document (7/12,cts extract)	4530.00
	b) As per Agreement	2000.00
	c) As per measurement sheet	2000.00
	d) As per site	2000.00
2	DEDUCTIONS FOR	
	a) D.P. ROAD AREA	370.00
	b) H.S. RESERVATION AREA	
	TOTAL (a+b+c)	
3	BALANCE AREA OF PLOT (1 Minus 2)	1630.00
4	AMMENITY SPACE IF APPLICABLE	
	a) REQUIRED	
	b) ADJUSTMENT OF IF ANY	
	c) BALANCE PROPOSED	
5	NET PLOT AREA (3-4(C))	1630.00
6	RECREATIONAL OPEN SPACE (IF APPLICABLE)	
	a) REQUIRED	
	b) PROPOSED	
7	INTERNAL ROAD AREA	
8	PLOTABLE AREA	
9	BUILT UP AREA WITH REFERANCE TO BASIC FSI AS PER FRONT ROAD WIDTH (SR.NO. 5 X BASIC FSI) 1630.00 X 1.10 = 1793.00	1793.00
10	ADDITION OF FSI ON PAYMENT PREMIUM	
	a) MAXIMUM PERMISSIBLE PREMIUM FSI BASED ON ROAD WIDTH /TOD ZONE	
	b) PROPOSED FSI ON PAYMENT OF PREMIUM 2000.00 X 0.5 = 1000.00 OUT OF THIS	954.612
11	IN-SITU FSI/TDR LOADING	
	a) IN-SITU AREA AGAINST D.P. ROAD SR.NO.2 (a) 370.00 X 2.05 = 758.50	758.50
	b) IN-SITU AREA AGAINST AMENITY SPACE IF HANDED OVER (2.00 OR 1.85 X SR. NO.4 (b) AND / or (C)	
	c) TDR 2000.00 X 0.75 = 1500.00 - 758.50 = 1541.50 APPROVED TDR 1137.00 / PROPOSED TDR 404.50	
	d) TOTAL IN-SITU / TDR LOADING PROPOSED (11 (a)+(b)+(c)	2300.00
12	ADDITIONAL FSI AREA UNDER CHAPTER NO.7	
13	TOTAL ENTITLEMENT OF FSI IN THE PROPOSAL	5047.612
	a) [9+10(b)+11(d) or 12 WHICHEVER IS APPLICABLE	5047.612
	b) ANCILLARY AREA FSI UPTO 60% OR 80% WITH PAYMENT OF CHARGES COMMERCIAL AREA = 98.62 X 80% = 78.890 RESIDENTIAL AREA = 4948.992 X 60% = 2969.395 3048.28	3013.100
	c) TOTAL ENTITLEMENT (a+b)	8060.712
14	MAXIMUM UTILISATION LIMIT OF FSI (BUILDING POTENTIAL) PERMISSIBLE AS PER ROAD WIDTH as per Regulation no. 6.1 or 6.2 or 6.3 or 6.4 as applicable) x 1.6 or 1.8	
15	TOTAL BUILT UP AREA IN PROPOSAL (EXCLUDING AREA AT SR. NO.17)(k)	
	a) EXISTING BUILT UP AREA (PREVIOUS SANCTION)	7258.70
	e) PROPOSED BUILT UP AREA (AS PER P LINE)	802.01
	c) TOTAL (a+b)	8060.712
16	FSI CONSUMED (15/13)	
17	AREA FOR INCLUSIVE HOUSING IF ANY	
	(a) REQUIRED (20% OF SR. NO.5)	
	(b) PROPOSED (20% OF SR. NO.5)	

Proforma 1 : Area Statement	
1.Area of plot (Minimum area of a, b, c to be considered) or area of subplot with sanctioned layout No. and subplot No.	2000.000
(a) As per ownership document (7/12, CTS extract)	2000.000
(b) as per TILR or City Survey measurement sheet	2000.000
(c) as per Demarcated drawing area	2000.037
LESS	-
2.Area not in possession	0.000
3. Entire area (1-2)	2000.000
4.Deductions for	-
(a) Proposed D.P./ D.P. Road widening Area /Service Road / Highway widening	370.000
(b) Any D.P. Reservation area	0.000
(c) Green Belt	0.000
Total (a+b+c)	370.000
5.Balance area of plot (3-4)	1630.000
6. Amenity Space	0.000
(Applicable if (1) > 20000 sqmt	-
(Required -(a) Upto 20000 sqmt - Nil	-
(b) Above 20000 sqmt - (a) + 5 % of Total area	0.000
7. Net Plot Area (5-6)	1630.000
8. Recreational Open Space	-
(a) If area (6) is more than 4000 sqmt - 10 % of (6) is required.	0.000
Proposed	0.000
(b) If area is less than 4000 sqmt -Check -	-
i) If it is full number like 1,2,125,419,etc. As per 7.12 abstract or City Survey Number - No Recreational open space is required	-
ii) If it is subdivision like 1/2 ,2/5 , 125/1 419/1 etc.then recreational open space is required.	-
(A) 10 % Subject to minimum 200 sqmt	0.000
Proposed	0.000
(B) Exemption to leave open space subject to availing basic F.S.I of 75 %	-
(C) Exemption to leave open space subject to payment of 10 % land value of land at (7) as per annual statement of rate.	-

Certificate of Area:-
Certified that the plot under reference was surveyed by me on 2021-07-08 and the dimensions of sides etc. of plot stated onplan are as measured on site and the area so worked out tallies with the area stated in document of Ownership T.P. Scheme Records/Land Records Department/City Survey records.
Signature
(Name of Architect/ Licensed Engineer/ Supervisor.)

Owner's Declaration -
I/We undersigned hereby confirm that I/We would abide by plans approved by Authority / Collector. I/We would execute the structure as per approved plans. Also I/We would execute the work under supervision of proper technical person so as to ensure the quality and safety at the work site.

Owner (s) name and signature
Architect/ Licensed Engineer/ Supervisor name and signature
Job No.

Postal Address : A-1103, Adinath Palace,Vasant Valley road,Kalyan,Thane,Maharashtra-421301,kalyan

DESCRIPTION OF PROJECT :
Type of Proposal : Mixed
BUILDING ON CTS. NO./SURVEY NO.-61

SITE ADDRESS :
S.NO.61 H.NO.3/1, C.T.S NO. 734/A, 729/A AT VILLAGE GANDHARE, KALYAN

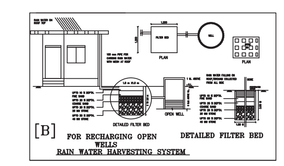

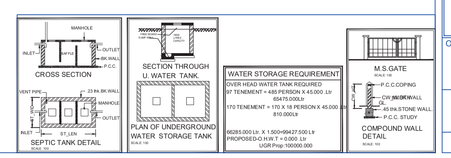

Name Of Architect : ANIL RAMCHANDRA NIRGUDE
LOGO
ADDRESS OF OFFICE
OFFICE - 5TH FLOOR, MIDTOWN EMBASSY, BEHIND VASANT VALLEY BUS DEPOT, OPP. NARAYANA SCHOOL, GANDHARE, KALYAN - 421301

OWNERS SIGN - Verified by applicant
TECHNICAL PERSON SIGN
Signature valid
Digitally signed by Anil Ramchandra Nirgude
Date: 2025.01.29 15:36:49 IST
Reason: Technical Person Signature
Location: Kalyan Dombivli Municipal Corporation
Certificate Number : 1479105

SCALE - 1:100
Date: 19/12/24
JOB NO - KDMCC-24-ENTRY-55490
CHECK BY - - -

SUBMISSION DRAWING

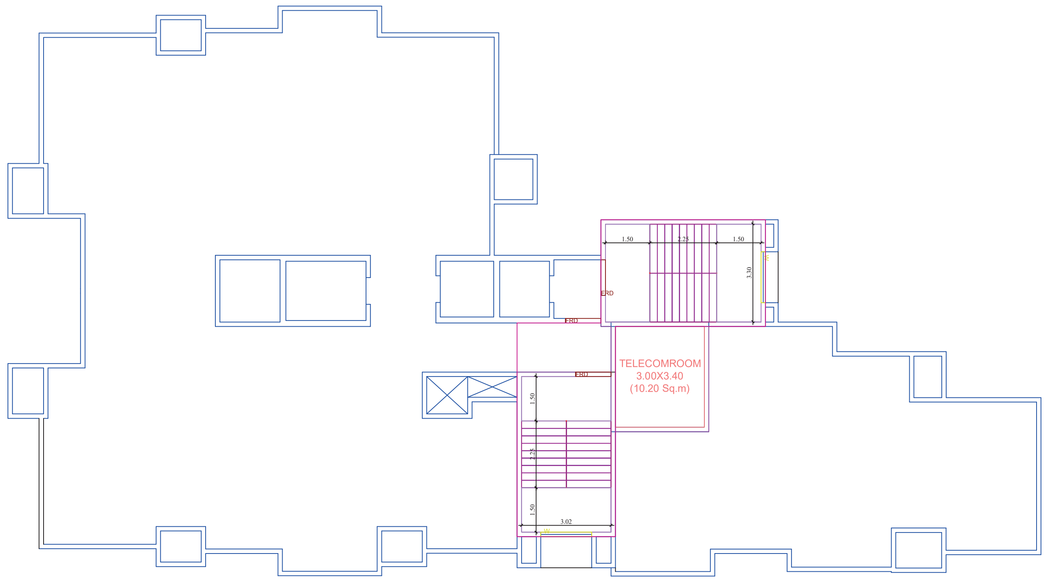

TERRACE FLOOR PLAN

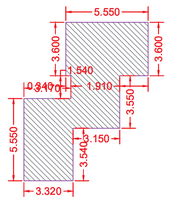

BUILT-UP AREA CALCULATION TERRACE FLOOR SAGAR HEIGHTS

BUILT UP AREA CALCULATION FOR TERRACE FLOOR SAGAR HEIGHTS			
AREA NAME	LENGTH	WIDTH	Area(Sq.M)
BLOCK	15.400	4.380	68.428
		BLOCK AREA TOTAL	68.428Sq.M
		TOTAL	Deduction 14.383Sq.M
		Net BuiltUp Area	149.823 Sq.M

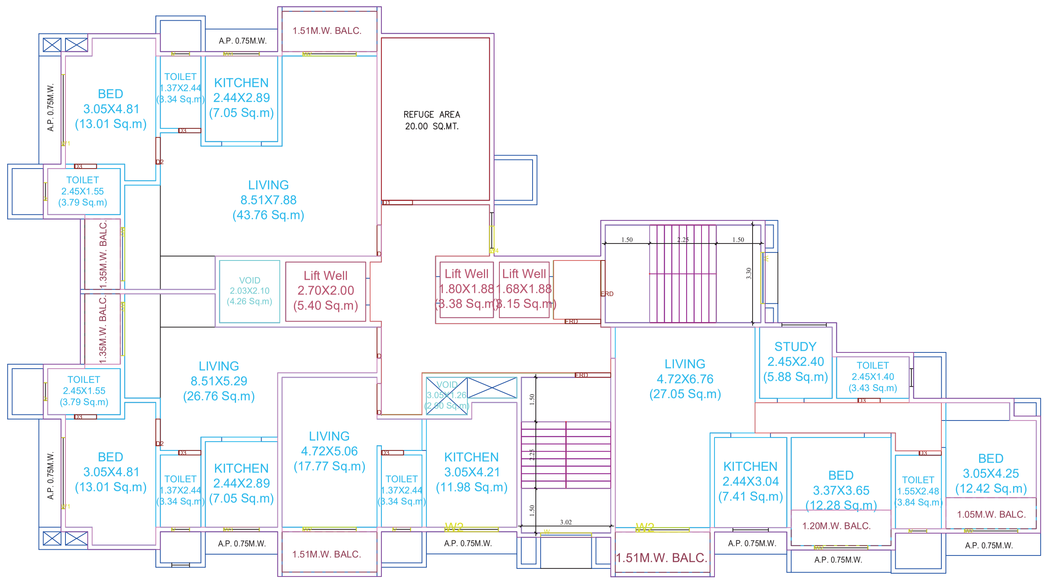

8TH,13TH & 18TH FLOOR PLAN

SCALE 1:100

BUILT UP AREA CALCULATION FOR 8TH,13TH 18TH FLOOR SAGAR HEIGHTS			
AREA NAME	LENGTH	WIDTH	Area(Sq.M)
BLOCK	33.600	19.235	653.220
		BLOCK AREA TOTAL	1653.220Sq.M
Refuge1	-	-	20.000
Void1	-	-	10.200
Void2	-	-	4.250
LiftWell1	-	-	5.400
LiftWell2	-	-	5.400
LiftWell3	-	-	5.184
		TOTAL	Deduction 109.174Sq.M
		Net BuiltUp Area	1544.046 Sq.M

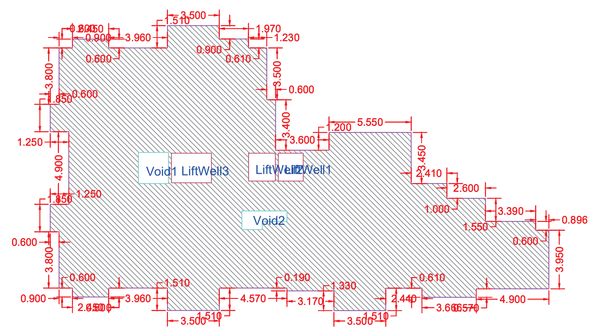

BUILT-UP AREA CALCULATION 6TH 7TH 9TH TO 12TH 14TH TO 17TH 19TH TO 21STFLOOR SAGAR HEIGHTS

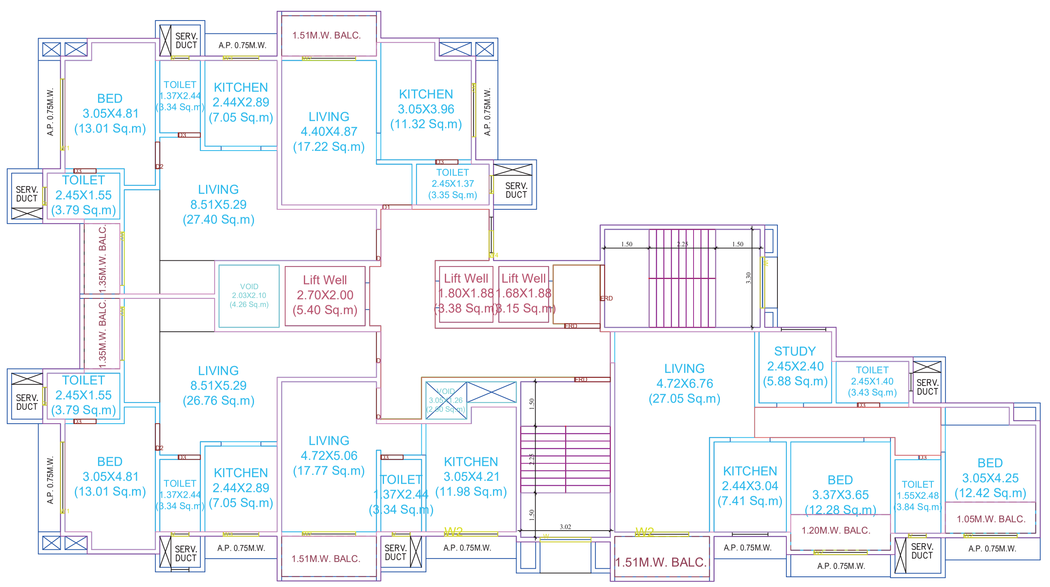

TYPICAL FLOOR PLAN

6TH,7TH, 9TH TO 12TH, 14TH TO 17TH & 19TH TO 22ND FLOOR
SCALE 1:100

BUILT UP AREA CALCULATION FOR 6TH,7TH 9TH TO 12TH 14TH TO 17TH 19TH TO 21STFLOOR SAGAR HEIGHTS			
AREA NAME	LENGTH	WIDTH	Area(Sq.M)
BLOCK	33.600	19.235	653.220
		BLOCK AREA TOTAL	1653.220Sq.M
Refuge1	-	-	20.000
Void1	-	-	10.200
Void2	-	-	4.250
LiftWell1	-	-	5.400
LiftWell2	-	-	5.400
LiftWell3	-	-	5.184
		TOTAL	Deduction 109.174Sq.M
		Net BuiltUp Area	1544.046 Sq.M

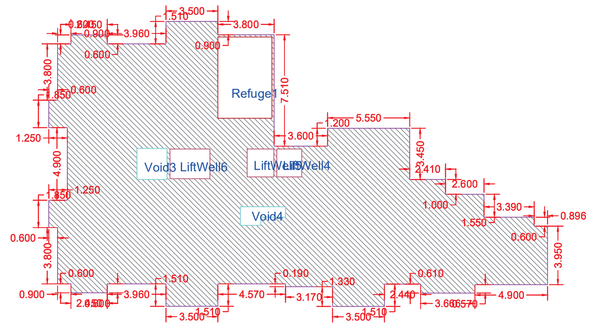

BUILT-UP AREA CALCULATION 8TH 13TH 18TH 22ND FLOOR SAGAR HEIGHTS

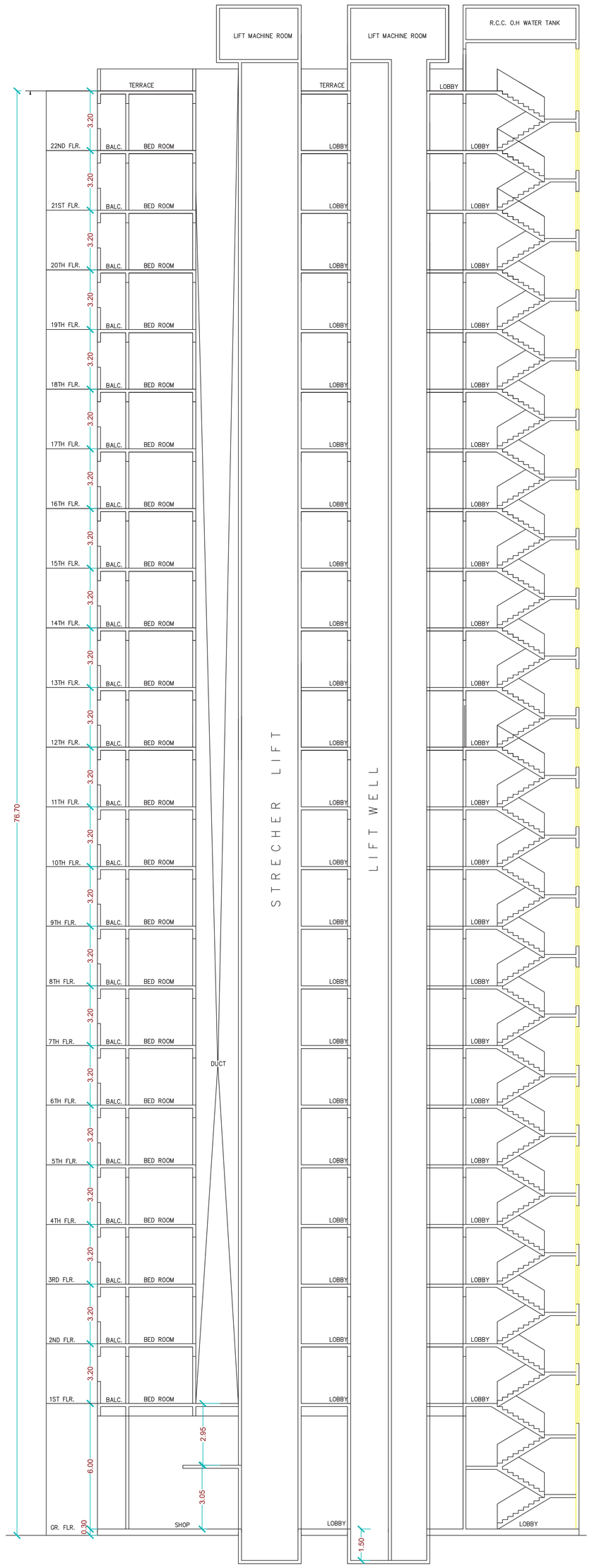

SECTION–AA

SCALE 1:200

Signature valid

Digitally signed by Surendra Panaji Kamble
Date: 2026.01.29 15:37:28 IST
Reason: Approved Document
Designation : Assistant Director of Town Planning
Location: Kalyan Dombivli Municipal Corporation
Project Code : KDMC-24-ENTRY-5549
Application Number : 6023/2024/BP/KDMC/00553
Proposal Number : 1479195
Certificate Number : KDMCC-HS0-2025/AP/L/00118

EXECUTIVE ENGINEER/TOWN DEVELOPMENT OFFICER
Date: 13/01/2025

Town Planner
Date: 13/01/2025

Assistant Engineer
Date: 13/01/2025

Postal Address : A-1103, Adinath Palace,Vasant Valley road,Kalyan,Thane.Maharashtra-421301.kalyan

DESCRIPTION OF PROJECT :

Type of Proposal : Mixed
BUILDING ON CTS NO./SURVEY NO.-61

SITE ADDRESS :
S.NO.61 H.NO.3/1, C.T.S NO. 734/A, 729/A AT VILLAGE GANDHARE, KALYAN

Name Of Architect : ANIL RAMCHANDRA NIRGUDE

LOGO

ADDRESS OF OFFICE :
OFFICE - 6TH FLOOR, MIDTOWN EMBASSY, BEHIND VASANT VALLEY BUS DEPOT, OPP. NARAYANA SCHOOL, GANDHARE, KALYAN - 421301

OWNERS SIGN - Verified by applicant

TECHNICAL PERSON SIGN
Signature valid
Digitally signed by Anil Ramchandra Nirgude
Date: 2026.01.29 15:37:28 IST
Reason: Self Attested
Location: Maharashtra, India
Designation : Architect
Organization : Anil Nirgude Associates
Serial Number : 4d0d0a0a0a0a0a0a

SCALE - 1:100

Date: 19/12/24

JOB NO - KDMCC-24-ENTRY-5549

CHECK BY - -

SUBMISSION DRAWING