CONTENTS :- BLOCK PLAN , FLOOR PLAN
BUILT UP AREA DIAGRAM & CALCULATION, CARPET AREA,
DOOR'S & WINDOW'S SCHEDULE, PARKING STATEMENT, SECTION.

SHEET NO 1

APPROVING AUTHORITY

BASIC FSI + PREMIUM

OFFICE OF THE KALYAN DOMBIVLI MUNICIPAL CORPORATION, KALYAN.
Building Permit No. :- KDMC/TPD/BP/KD/2020-21/0029/442.
Date :- 18/01/2022
SANCTIONED

ASSISTANT DIRECTOR OF TOWN PLANNING
for Kalyan-Dombivli Municipal Corporation

DOORS AND WINDOWS SCHEDULE

	SIZE	REMARKS
	2.40 X 2.40	ROLLING SHUTTER.
D	1.05 X 2.10	T.W. FRAMED PANELLED DOOR.
D1	0.90 X 2.10	T.W. FRAMED PANELLED DOOR.
D2	0.75 X 2.00	T.W. FRAMED PARTLY GLAZED SINTEX DOOR.
SD	1.80 X 2.10	T.W. FRAMED SLIDING DOOR.
W1	1.50 X 1.50	T.W. FRAMED GLAZED PANELLED WINDOW.
W2	1.20 X 1.05	T.W. FRAMED GLAZED PANELLED WINDOW.
V	0.60 X 0.90	LOUVERED VENTILATOR



SECTION OF SEPTIC TANK
SCALE:- 1:100

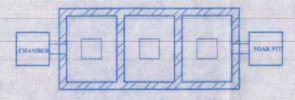

PLAN OF SEPTIC TANK
SCALE:- 1:100

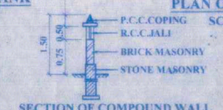

SECTION OF COMPOUND WALL
SCALE:- 1:100

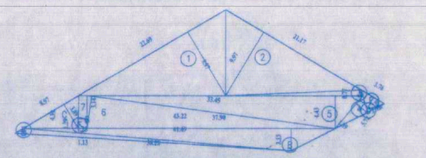

PLOT AREA DIAGRAM
SCALE - 1 : 500

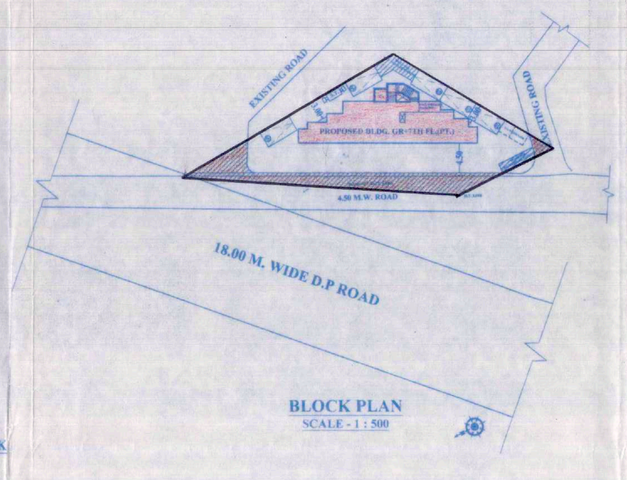

BLOCK PLAN
SCALE - 1 : 500

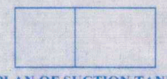

PLAN OF SUCTION TANK
SCALE:- 1:100



SECTION OF SUCTION TANK
SCALE:- 1:100

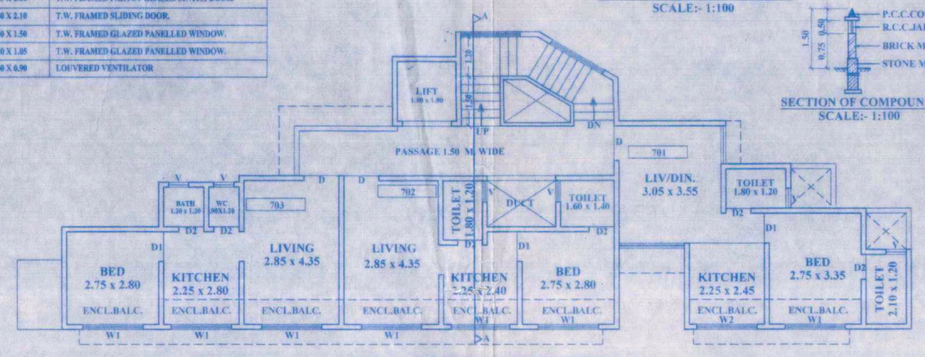

7TH FLOOR PLAN (PROPOSED)
(SCALE - 1:100)

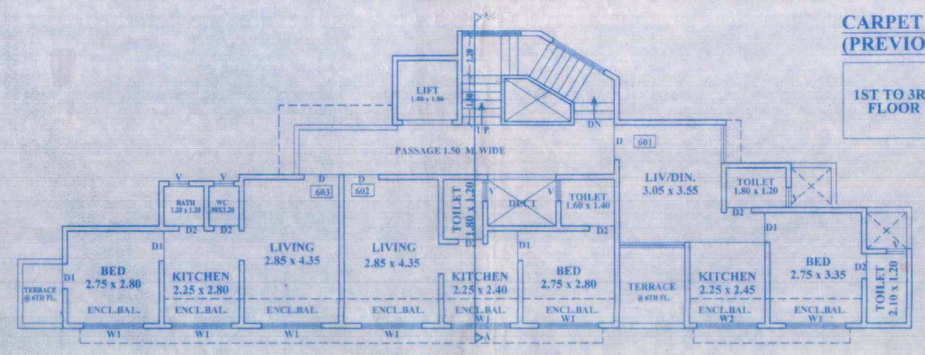

6TH FLOOR PLAN (PROPOSED)
(SCALE - 1:100)

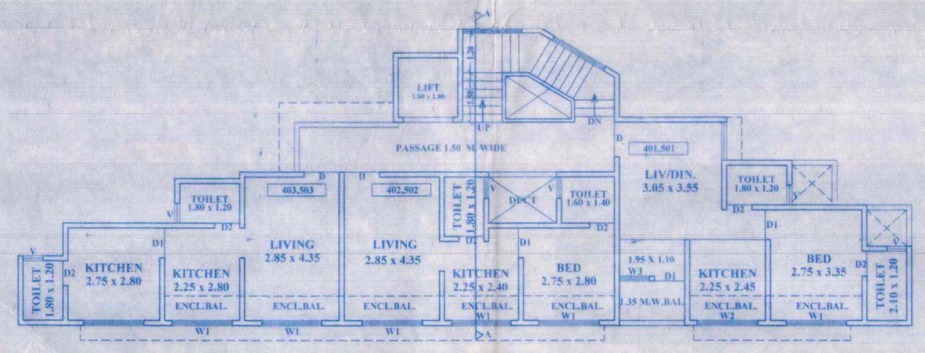

TYPICAL FLOOR PLAN (PROPOSED)
4TH & 5TH (SCALE - 1:100)

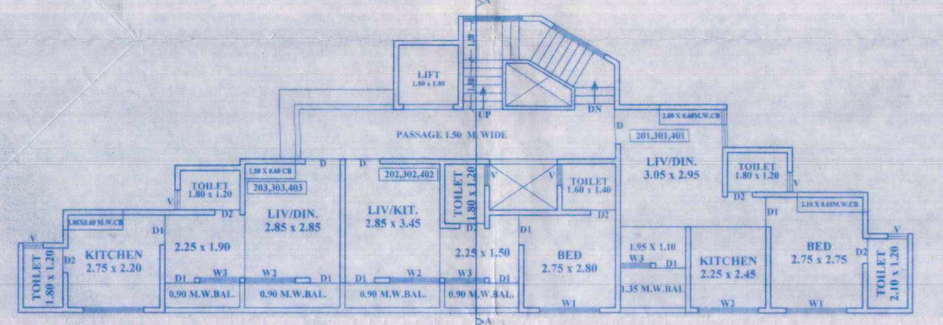

TYPICAL FLOOR PLAN (PREVIOUS SANCTION)
2ND & 3RD (SCALE - 1:100)

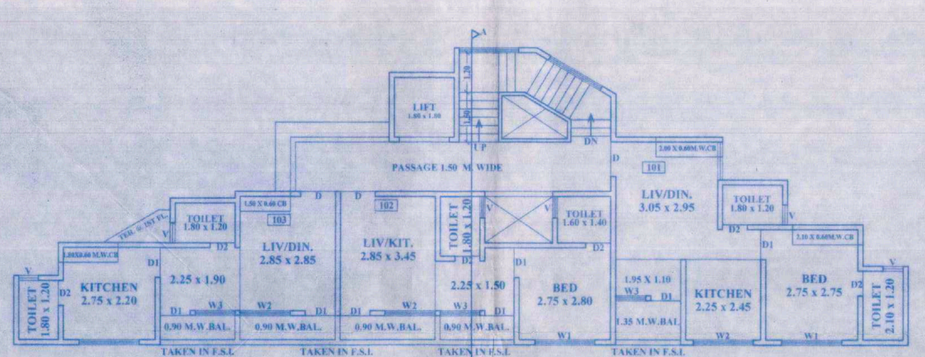

FIRST FLOOR PLAN (PREVIOUS SANCTION)
(SCALE - 1:100)

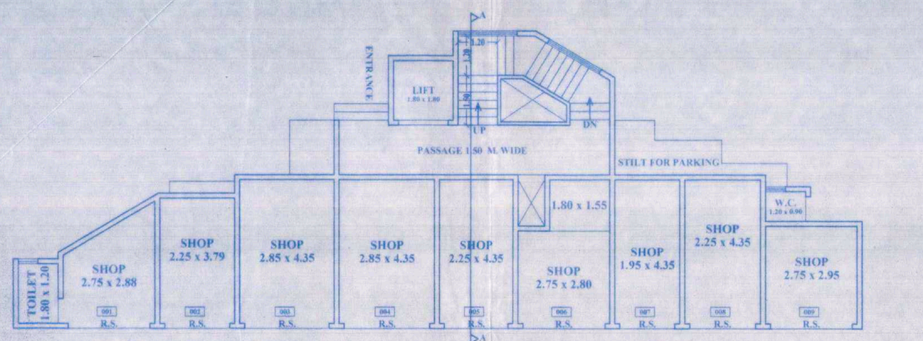

GROUND FLOOR PLAN (PREVIOUS SANCTION)
(SCALE - 1:100)

PARKING AREA STATEMENT (PREVIOUS SANCTION)

ONE PARKING AREA FOR EVERY TENEMENTS	Nos. OF FLATS	Nos. OF CAR
TENEMENTS HAVING CARPET AREA BETWEEN 20.00 SQ.MT TO 40.00 SQ.MT	9	03
TENEMENTS HAVING CARPET AREA AREA BETWEEN 41.05SM, TO 70.05SM	NIL	NIL
TENEMENTS HAVING CARPET AREA AREA BETWEEN 71.05M ABOVE	--	--
COMMIRICAL PARKING AREA AREA 131.47 SM /100		01
TOTAL REQUIRED PARKING CAR		04
TOTAL PROPOSED PARKING CAR		

CARPET AREA STATEMENT (PREVIOUS SANCTION)

	FLAT NO	AREA SQ.MT
1ST TO 3RD FLOOR	101,201,301	35.65 SQ.MT.
	102,202,302	28.02 SQ.MT.
	103,203,303	28.51 SQ.MT.

P-LINE AREA

FLOOR	P-LINE AREA SQ.MT.
4TH FLOOR	139.96
5TH FLOOR	139.96
6TH FLOOR	132.29
7TH FLOOR	132.29
TOTAL AREA	544.50

PROPOSED BUILDING

BUILDING NO.	FLOOR NO.	TOTAL BUILT-UP AREA OF FLOOR , AS PER OUTER CONSTRUCTION LINE.
1	4TH,5TH,6TH,7TH	544.50 SQ.M.
TOTAL		544.50 SQ.M.

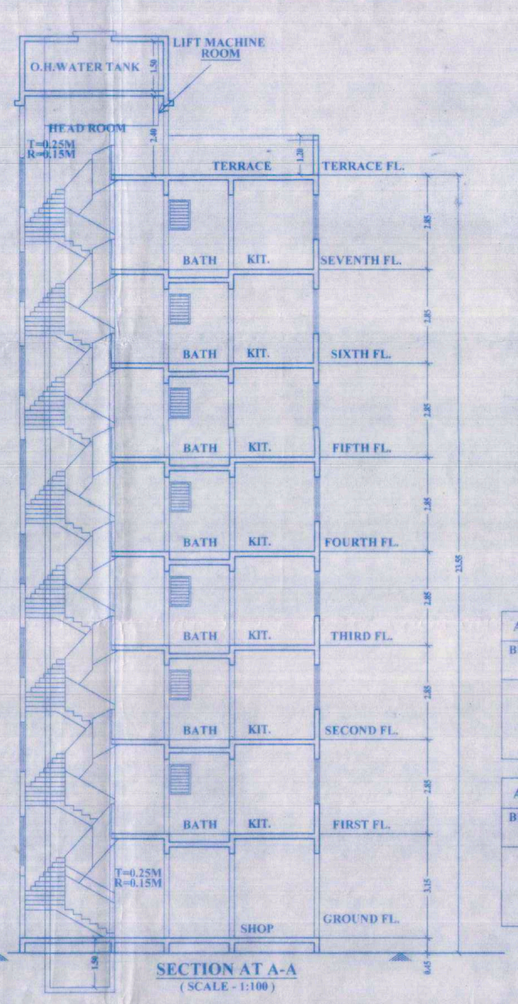

SECTION AT A-A
(SCALE - 1:100)

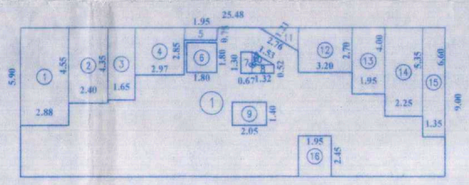

BUILTUP AREA DIAGRAM
6TH & 7TH FLOOR (SCALE - 1:200)

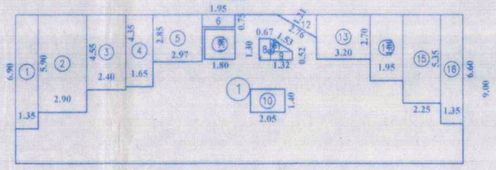

BUILTUP AREA DIAGRAM
4TH & 5TH FLOOR (SCALE - 1:200)

BUILT UP AREA STATEMENT (PREVIOUS SANCTION)

FLOOR	BUILT UP AREA SQ.MT.	LESS STAIR. AREA SQ.MT.	NET AREA SQ.MT.	PER. BALC AREA SQ.MT.	PROPO. BALC. AREA SQ.MT.	EXCESS BAL AREA SQ.MT.	TOTAL AREA SQ.MT.	
GROUND FLOOR	131.47	21.01	110.46	--	--	--	131.47	
FIRST FLOOR	135.31	23.03	112.28	12.53	--	--	135.31	
SECOND FLOOR	123.09	23.03	100.06	12.30	12.21	--	123.09	512.96
THIRD FLOOR	123.09	23.03	100.06	12.30	12.21	--	123.09	
FOURTH FLOOR	P-LINE AREA STATEMENT						139.96	
FIFTH FLOOR							139.96	
SIXTH FLOOR							132.29	544.50
SEVENTH FLOOR							132.29	
TOTAL	512.96 SQ.MT.	90.10 SQ.MT.	422.86 SQ.MT.	38.13 SQ.MT.	24.42 SQ.MT.	NIL	1057.46 SQ.MT.	

PARKING AREA STATEMENT (PROPOSED)

ONE PARKING AREA FOR EVERY TENEMENTS	Nos. OF FLATS	Nos. OF CAR	Nos. OF SCOOTER
1) FOR EVERY TENEMENT HAVING CARPET AREA OF 150 SQ.M. AND ABOVE	NIL	NIL	NIL
2) FOR EVERY TENEMENT HAVING CARPET AREA EQUAL TO OR ABOVE 80 SQ.M. BUT LESS THAN 150 SQ.M.	NIL	NIL	NIL
3) FOR EVERY TWO TENEMENT WITH EACH TENEMENT HAVING CARPET AREA EQUAL TO OR ABOVE 40 SQ.M. BUT LESS THAN 80 SQ.M.	NIL	NIL	NIL
4) FOR EVERY TWO TENEMENT WITH EACH TENEMENT HAVING CARPET AREA LESS THAN 40 SQ.M. BUT MORE THAN 30 SQ.M.	2 NOS	01 NO.	04 NOS.
5) FOR EVERY TWO TENEMENTS WITH EACH TENEMENT HAVING CARPET AREA LESS THAN 30 SQ.M.	10 NOS	NIL	20 NOS.
6) COMMERCIAL AREA PARKING AREA - SQ.M. / 100.00 SM	NIL	NIL	NIL
IN ADDITION 5% VISITOR PARKING			
TOTAL REQUIRED PARKING CAR		01 NO.	24 NOS.
CONSERVATION OF PARKING AS PER D.C RULE 80% TOTAL PROPOSED PARKING CAR			

EXISTING BUILDING TO BE RETAINED

EXISTING BUILDING NO.	FLOOR NO.	PLINTH AREA	TOTAL FLOOR AREA OF EXISTING BUILDING	USE/ OCCUPANCY OF FLOORS
1	GR. + 3RD FL.	131.47 SQ.MT.	512.96 SQ.MT.	RESIDENTIAL

AREA DETAIL OF APARTMENT

BUILDING NO.	FLOOR NO.	APARTMENT NO.	CARPET AREA OF APARTMENT		AREA OF BALCONY ATTACHED TO APARTMENT	AREA OF DOUBLE HEIGHT TERRACES ATTACHED TO FLAT
1	4TH & 5TH FL.	6 NOS	401, 501	30.45 SQ.MT.	NIL	NIL
			402, 502	25.02 SQ.MT.	NIL	NIL
			403, 503	27.54 SQ.MT.	NIL	NIL

AREA DETAIL OF APARTMENT

BUILDING NO.	FLOOR NO.	APARTMENT NO.	CARPET AREA OF APARTMENT		AREA OF BALCONY ATTACHED TO APARTMENT	AREA OF DOUBLE HEIGHT TERRACES ATTACHED TO FLAT
1	6TH & 7TH FL.	6 NOS	601, 701	28.17 SQ.MT.	NIL	NIL
			602, 702	25.02 SQ.MT.	NIL	NIL
			603, 703	25.74 SQ.MT.	NIL	NIL

BUILT UP AREA CALCULATION

4TH & 5TH FLOOR

1	26.85	X	9.00	X	1 NO	=	241.65 SQ.MT.
					TOTAL ADDITION	=	241.65 SQ.MT. X

DEDUCTIONS

1	1.35	X	6.90	X	1 NO	=	9.32 SQ.MT.
2	2.96	X	5.90	X	1 NO	=	17.11 SQ.MT.
3	2.40	X	4.85	X	1 NO	=	10.92 SQ.MT.
4	1.65	X	4.35	X	1 NO	=	7.18 SQ.MT.
5	2.97	X	2.85	X	1 NO	=	8.46 SQ.MT.
6	1.95	X	0.75	X	1 NO	=	1.46 SQ.MT.
7	1.80	X	1.80	X	1 NO	=	3.24 SQ.MT.
8	0.67	X	1.30	X	1 NO	=	0.87 SQ.MT.
9	1.32	X	0.52	X	1 NO	=	0.69 SQ.MT.
10	2.05	X	1.40	X	1 NO	=	2.87 SQ.MT.
11	1/2 X	1.55	X	0.67	X 1 NO	=	0.51 SQ.MT.
12	1/2 X	2.76	X	1.21	X 1 NO	=	1.67 SQ.MT.
13	3.20	X	2.70	X	1 NO	=	8.64 SQ.MT.
14	1.95	X	4.00	X	1 NO	=	7.80 SQ.MT.
15	2.25	X	5.35	X	1 NO	=	12.04 SQ.MT.
16	1.35	X	6.60	X	1 NO	=	8.91 SQ.MT.
					TOTAL DEDUCTION	=	101.69 SQ.MT. Y1
TOTAL BUILT UP AREA [X - Y1]						=	139.96 SQ.MT.

BUILT UP AREA CALCULATION

6TH & 7TH FLOOR

1	26.85	X	9.00	X	1 NO	=	229.32 SQ.MT.
					TOTAL ADDITION	=	229.32 SQ.MT. X

DEDUCTIONS

1	2.88	X	5.90	X	1 NO	=	16.99 SQ.MT.
2	2.40	X	4.55	X	1 NO	=	10.92 SQ.MT.
3	1.65	X	4.35	X	1 NO	=	7.18 SQ.MT.
4	2.97	X	2.85	X	1 NO	=	8.46 SQ.MT.
5	1.95	X	0.75	X	1 NO	=	1.46 SQ.MT.
6	1.80	X	1.80	X	1 NO	=	3.24 SQ.MT.
7	0.67	X	1.30	X	1 NO	=	0.87 SQ.MT.
8	1.32	X	0.52	X	1 NO	=	0.69 SQ.MT.
9	2.05	X	1.40	X	1 NO	=	2.87 SQ.MT.
10	1/2 X	1.55	X	0.67	X 1 NO	=	0.51 SQ.MT.
11	1/2 X	2.76	X	1.21	X 1 NO	=	1.67 SQ.MT.
12	3.20	X	2.70	X	1 NO	=	8.64 SQ.MT.
13	1.95	X	4.00	X	1 NO	=	7.80 SQ.MT.
14	2.25	X	5.35	X	1 NO	=	12.04 SQ.MT.
15	1.35	X	6.60	X	1 NO	=	8.91 SQ.MT.
16	1.95	X	2.45	X	1 NO	=	4.78 SQ.MT.
					TOTAL DEDUCTION	=	97.03 SQ.MT. Y1
TOTAL BUILT UP AREA [X - Y1]						=	132.29 SQ.MT.

AREA STATEMENT			SQ.M.
1.	Area of plot (Minimum area of a, b, c to be considered)		
(a)	As per ownership document (7/12, CTS extract)		540.00
(b)	as per measurement sheet		540.00
(c)	as per site		--
2.	Deductions for		
(a)	Proposed D.P. / D.P. Road widening Area / Service Road / Highway widening		107.00
(b)	Any D.P. Reservation area		--
	(Total a+b)		107.00
3.	BALANCE AREA OF PLOT (1-2)		433.00
4.	Amenity Space (if applicable)		--
(a)	Required -		--
(b)	Adjustment of 2(b), if any -		--
(c)	Balance Proposed -		--
5.	Net Plot Area [3-4(c)]		433.00
6.	Recreational Open space (if applicable)		--
(a)	Required -		--
(b)	Proposed -		--
7.	Internal Road area		--
8.	Plotable area (if applicable)		--
9.	Built up area with reference to Basic F.S.I. as per front road width (Sr. No. 5 x basic FSI) (433.00 X 1.10)		476.30
10.	Addition of FSI on payment of premium		--
(a)	Maximum permissible premium FSI - based on road width / TOD Zone		--
(b)	Proposed FSI on payment of premium (0.50 X 540.00 = 270.00)		270.00
11.	In-situ FSI / TDR loading		--
(a)	In-situ area against D.P. road [2.0 x Sr. No. 2 (a)], if any		107.00
(b)	In-situ area against Amenity Space if handed over [2.00 or 1.85 x Sr. No. 4 (b) and / or (c)]		--
(c)	TDR area		--
(d)	Total in-situ / TDR loading proposed [11 (a) + (b) + (c)]		107.00
12.	Additional FSI area under Chapter No. 7		--
13.	Total entitlement of FSI in the proposal		
(a)	[9 + 10(b) + 11(d)] or 12 whichever is applicable		853.30
(b)	Ancillary Area FSI upto 60% with payment of charges	853.30 - 512.96 = 340.30 Residential 60% of 340.30	204.18
(c)	Total entitlement (a + b)		1057.48
14.	Maximum utilization limit of F.S.I. (building potential) Permissible as per Road width [(as per Regulation No. 6.1 or 6.2 or 6.3 or 6.4 as applicable) x 1.6 or 1.8]		
15.	Total Built-up Area in proposal (excluding area at Sr. No. 17 b)		
(a)	Existing Built-up Area		NIL
(b)	Previous sanction area (Gr.+3rd fl.)		512.96
(c)	Proposed Built-up Area (as per 'P-Line')		544.40
(d)	Total (a + b + c)		1057.36
16.	F.S.I. Consumed (15/13) (should not be more than serial No. 14 above)		--
17.	Area for Inclusive Housing, if any		--
(a)	Required (20% of Sr. No. 5)		--
(b)	Proposed		--

APPENDIX - C

THE PLANS PREPARED BY ME ARE IN ACCORDANCE WITH THE NORMS AS SPECIFIED BY THE INDIAN STANDARD INSTITUTE & I WILL BE HELD RESPONSIBLE FOR ANY HARM CAUSED IN EARTHQUAKE STANDARDS.

A. N. AGASHE.
CONSULTING ENGINEER
KDMC Regd. No. STR/A/32
ENGINEER'S SIGNATURE

OWNER'S DECLARATION –

I/WE UNDERSIGNED HEREBY CONFIRM THAT I/WE WOULD ABIDE BY PLANS APPROVED BY AUTHORITY / COLLECTOR. I/WE WOULD EXECUTE THE STRUCTURE AS PER APPROVED PLANS. ALSO I/WE WOULD EXECUTE THE WORK UNDER SUPERVISION OF PROPER TECHNICAL PERSON SO AS TO ENSURE THE QUALITY AND SAFETY AT THE WORK SITE.

OWNER (S) NAME AND SIGNATURE

CERTIFICATE OF AREA

CERTIFIED THAT I HAVE SURVEYED THE PLOT UNDER REFERENCE ON 25/07/2018 AND THAT THE DIMENSIONS OF THE SIDES ETC. OF THE PLOT STATED ON THE PLAN ARE AS MEASURED ON SITE AND THE AREA SO WORKED OUT IS 540.00 SQ.MTS. AND TALLIES WITH THE AREA STATED IN THE DOCUMENT OF OWNERSHIP/TOWN PLANNING SCHEME RECORDS.

SIGNATURE OF ARCHITECT.

DESCRIPTION OF PROPOSAL & PROPERTY

PROPOSED BLDG. ON PLOT BEARING S.NO. 2 H. NO. 23B AT VILL. - MANDA TAL. KALYAN, DIST. THANE.

NAME & SIGNATURE OF OWNER	SIGNATURE OF ARCHITECT
FOR :- SHRI - MANOJ PRABHAKAR PATIL OWNER'S SIGNATURE	(VARGHESE T. THEESE) LICENSE NO:- CA/91/5118

DRG.NO.	JOB.NO.	SCALE	DATE	DRAWN BY.
1	V - 42 - 18	AS SHOWN	08 - 10 - 2021	J.M

NORTH

ARCHITECTS & CONSULTANTS

De-con Consultants
ARCHITECTS, INTERIOR DESIGNERS,
REGD. VALUERS & PROJECT CONSULTANTS
S-1, RAJASHREE TOWER, RAMBAUG, LANE No. 6,
KALYAN(WEST) - 421 304.