RERA CARPET AREA STATEMENT- COMMERCIAL			
FLOOR	SHOP/ OFFICE NO.	TYPE	CARPET AREA AS PER RERA
STIL(PT.)+ GROUND (PT.) FLOOR PLAN	1	SHOP	29.128 sqmt.
	2	SHOP	40.155 sqmt.
	3	SHOP	48.634 sqmt.
FIRST FLOOR	1	OFFICE	31.497 sqmt.
	2	OFFICE	47.564 sqmt.
	3	OFFICE	67.312 sqmt.
	4	OFFICE	39.252 sqmt.
SECOND FLOOR	1	OFFICE	34.071 sqmt.
	2	OFFICE	47.564 sqmt.
	3	OFFICE	67.312 sqmt.
	4	OFFICE	39.252 sqmt.

RERA CARPET AREA STATEMENT- RESIDENTIAL							
FLOOR	FLAT NO.	TYPE	CARPET AREA AS PER RERA		BALCONY CARPET AREA	ENCLOSED BALC. CARPET AREA	OPEN TERR. CARPET AREA
THIRD FLOOR	1	1 - BHK	34.663 sqmt.		2.329 sqmt.	5.617 sqmt.	----
	2	2 - BHK	56.649 sqmt.		2.983 sqmt.	----	----
	3	2 - BHK	57.548 sqmt.		2.983 sqmt.	----	----
	4	1 - BHK	34.465 sqmt.		2.329 sqmt.	5.617 sqmt.	----
TYPICAL FLOOR 4TH,5TH,6TH FLOOR PLAN	1	1 - BHK	34.663 sqmt.		2.329 sqmt.	5.617 sqmt.	----
	2	2 - BHK	60.809 sqmt.		2.983 sqmt.	----	----
	3	2 - BHK	57.548 sqmt.		2.983 sqmt.	----	----
	4	1 - BHK	34.465 sqmt.		2.329 sqmt.	5.617 sqmt.	----
SEVENTH FLOOR	1	1 - BHK	34.663 sqmt.		2.329 sqmt.	5.617 sqmt.	----
	2	2 - BHK	60.809 sqmt.		2.983 sqmt.	----	----
	3	3 - BHK	76.741 sqmt.		2.983 sqmt.	----	23.155 sqmt.

SCHEDULE OF ROLLING SHUTTER , DOOR & WINDOWS			
TYPE	SIZE (LxH)	AREA	DESCRIPTION
R.S	2.40 X 3.20	6.96	ROLLING SHUTTER
FRD	1.20 X 2.40	2.88	FIRE DOOR
D	1.20 X 2.40	2.92	T. W. FRAME FLUSHED DOOR
D1	1.00X 2.15	2.15	T. W. FRAME PANELLED DOOR
D2	0.90 X 2.15	1.93	T. W. FRAME PANELLED DOOR
D3	0.75 X 2.15	1.61	T. W. FRAME PANELLED DOOR
W	1.80 X 1.65	3.01	ALMN. GLAZING WINDOW
W1	1.80 X 2.15/1.25	3.84/2.23	ALMN. GLAZING WINDOW
W2	1.20 X 1.25/2.10	1.44/2.52	ALMN. GLAZING WINDOW
V	0.60 X 0.90	0.54	ALMN. LOUVERED WINDOW
V1	0.45 X 0.90	0.40	ALMN. LOUVERED WINDOW
W0	1.80 X 1.25	3.22	ALMN. GLAZING WINDOW

SITE PLAN
SCALE 1:500

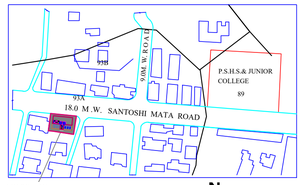

LOCATION PLAN
SCALE 1:5000

BUILT UP AREA STATEMENT		
FLOORS	AREA IN SQ. MT. (COMMERCIAL)	AREA IN SQ. MT. (RESIDENTIAL)
GROUND FLOOR	146.780	21.038 sq.mt.
1ST FLOOR	239.113	13.479 sq.mt.
2ND FLOOR	235.198	13.479 sq.mt.
3RD FLOOR	-------	246.555 sq.mt.
4TH FLOOR	-------	249.795 sq.mt.
5TH FLOOR	-------	249.795 sq.mt.
6TH FLOOR	-------	249.795 sq.mt.
7TH FLOOR	-------	224.224 sq.mt.
TOTAL	621.091 sq.mt.	1,268.160 sq.mt.

NET BUILT UP AREA PROPOSED = 621.091 +1,268.160 =1,889.251

STAMP OF APPROVAL OF PLANS | SHEET NO - 01/02

Shobhana Jayant Deshpande
Digitally signed by Shobhana Jayant Deshpande
Date: 2026.02.04 16:59:12 +05'30'

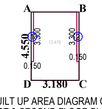

BUILT UP AREA DIAGRAM OF FIRST & SECOND FLOOR PLAN (RESIDENTIAL)
SCALE 1:200

BUILT-UP AREA STATEMENT : 1ST & 2ND FL -(RESIDENTIAL)

AREA OF BLOCK [ABCD] = 3.18 X 4.55 = 14.469 SQ.M

STANDARD DEDUCTIONS :-	
1. 0.150 X 3.300 =	0.495 SQ.M
2. 0.150 X 3.300 =	0.495 SQ.M
TOTAL STANDARD DEDUCTIONS =	0.990 SQ.M
GROSS AREA :(14.469 + 0.000) - 0.990 =	13.479 SQ.M

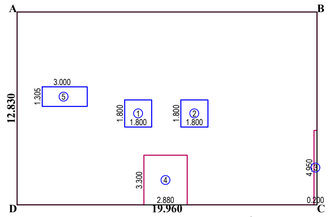

BUILT UP AREA DIAGRAM OF SECOND FLOOR PLAN-(COMMERCIAL)
SCALE 1:200

BUILT-UP AREA STATEMENT : SECOND FL COMMERCIAL

AREA OF BLOCK [ABCD] = 19.96 X 12.83 = 256.087 SQ.M

STANDARD DEDUCTIONS :-	
1. 1.800 X 1.800 =	3.240 SQ.M
2. 1.800 X 1.800 =	3.240 SQ.M
3. 0.200 X 4.950 =	0.990 SQ.M
4. 2.880 X 3.300 =	9.504 SQ.M
5. 1.305 X 3.000 =	3.915 SQ.M
TOTAL STANDARD DEDUCTIONS =	20.889 SQ.M
GROSS AREA :(256.087 + 0.000) - 20.889 =	235.198 SQ.M

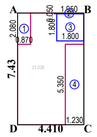

BUILT UP AREA DIAGRAM OF GROUND FLOOR PLAN (RESIDENTIAL)
SCALE 1:200

BUILT-UP AREA STATEMENT : GROUND FLOOR (RESIDENTIAL)

AREA OF BLOCK [ABCD] = 4.41 X 7.43 = 32.766 SQ.M

STANDARD DEDUCTIONS :-	
1. 0.870 X 2.080 =	1.810 SQ.M
2. 1.950 X 0.050 =	0.098 SQ.M
3. 1.800 X 1.800 =	3.240 SQ.M
4. 1.230 X 5.350 =	6.580 SQ.M
TOTAL STANDARD DEDUCTIONS =	11.728 SQ.M
GROSS AREA :(32.766 + 0.000) - 11.728 =	21.038 SQ.M

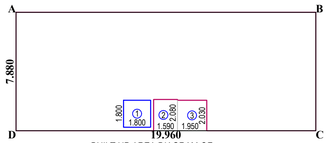

BUILT UP AREA DIAGRAM OF GROUND FLOOR PLAN-(COMMERCIAL)
SCALE 1:200

BUILT-UP AREA STATEMENT : GROUND FLOOR (COMMERCIAL)

AREA OF BLOCK [ABCD] = 19.96 X 7.88 = 157.285 SQ.M

STANDARD DEDUCTIONS :-	
1. 1.800 X 1.800 =	3.240 SQ.M
2. 1.590 X 2.080 =	3.307 SQ.M
3. 1.950 X 2.030 =	3.958 SQ.M
TOTAL STANDARD DEDUCTIONS =	10.505 SQ.M
GROSS AREA :(157.285 + 0.000) - 10.505 =	146.780 SQ.M

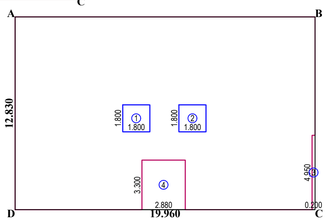

BUILT UP AREA DIAGRAM OF FIRST FLOOR PLAN-(COMMERCIAL)
SCALE 1:200

BUILT-UP AREA STATEMENT : FIRST FL COMMERCIAL

AREA OF BLOCK [ABCD] = 19.96 X 12.83 = 256.087 SQ.M

STANDARD DEDUCTIONS :-	
1. 1.800 X 1.800 =	3.240 SQ.M
2. 1.800 X 1.800 =	3.240 SQ.M
3. 0.200 X 4.950 =	0.990 SQ.M
4. 2.880 X 3.300 =	9.504 SQ.M
TOTAL STANDARD DEDUCTIONS =	16.974 SQ.M
GROSS AREA :(256.087 + 0.000) - 16.974 =	239.113 SQ.M

TENEMENT,OFFICES & SHOPS STATEMENT						
TENEMENT	1 B/H/K RM.	2 B/H/K RM.	3 B/H/K RM.	TOTAL	SHOP	OFFICE
NOS.	09 NOS.	09 NOS.	01 NOS.	19 NOS	03 NOS	08 NOS

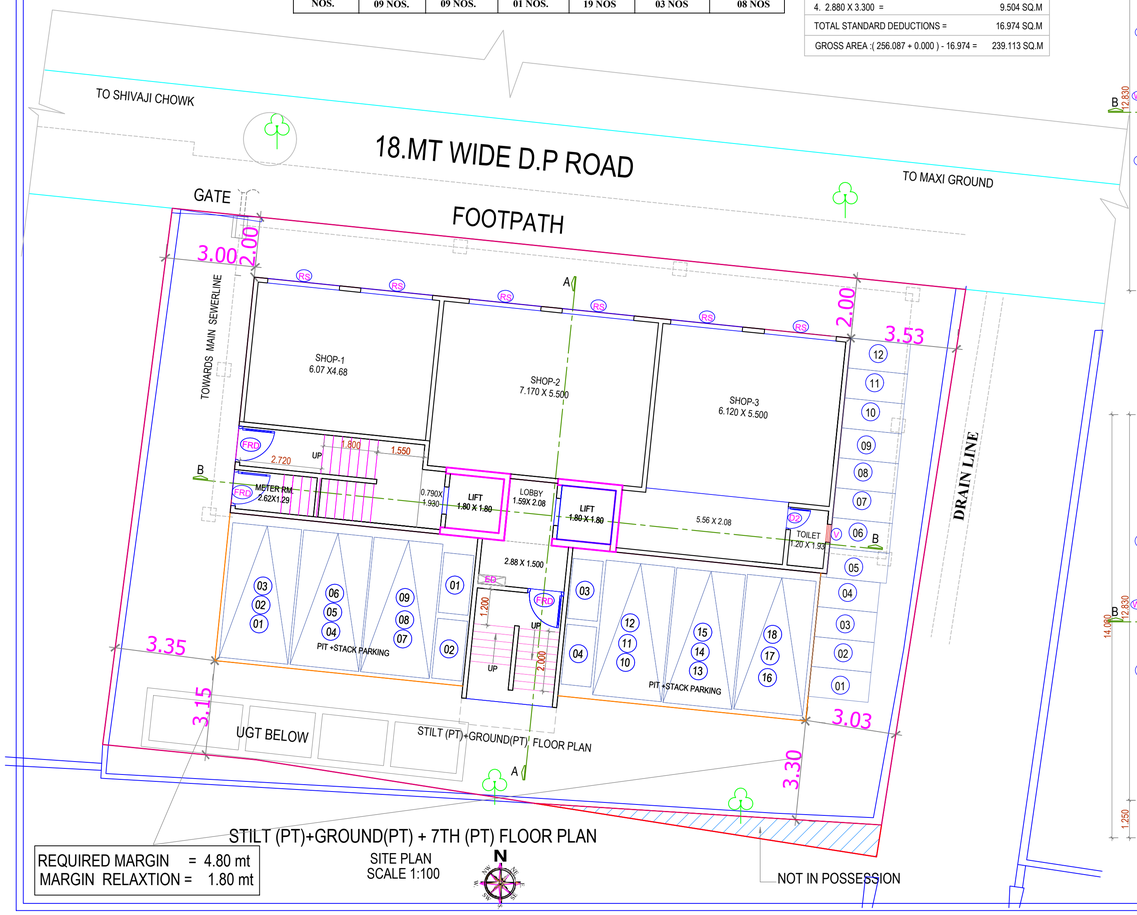

STILT (PT)+GROUND(PT) + 7TH (PT) FLOOR PLAN

REQUIRED MARGIN = 4.80 mt
MARGIN RELAXTION = 1.80 mt

SITE PLAN
SCALE 1:100

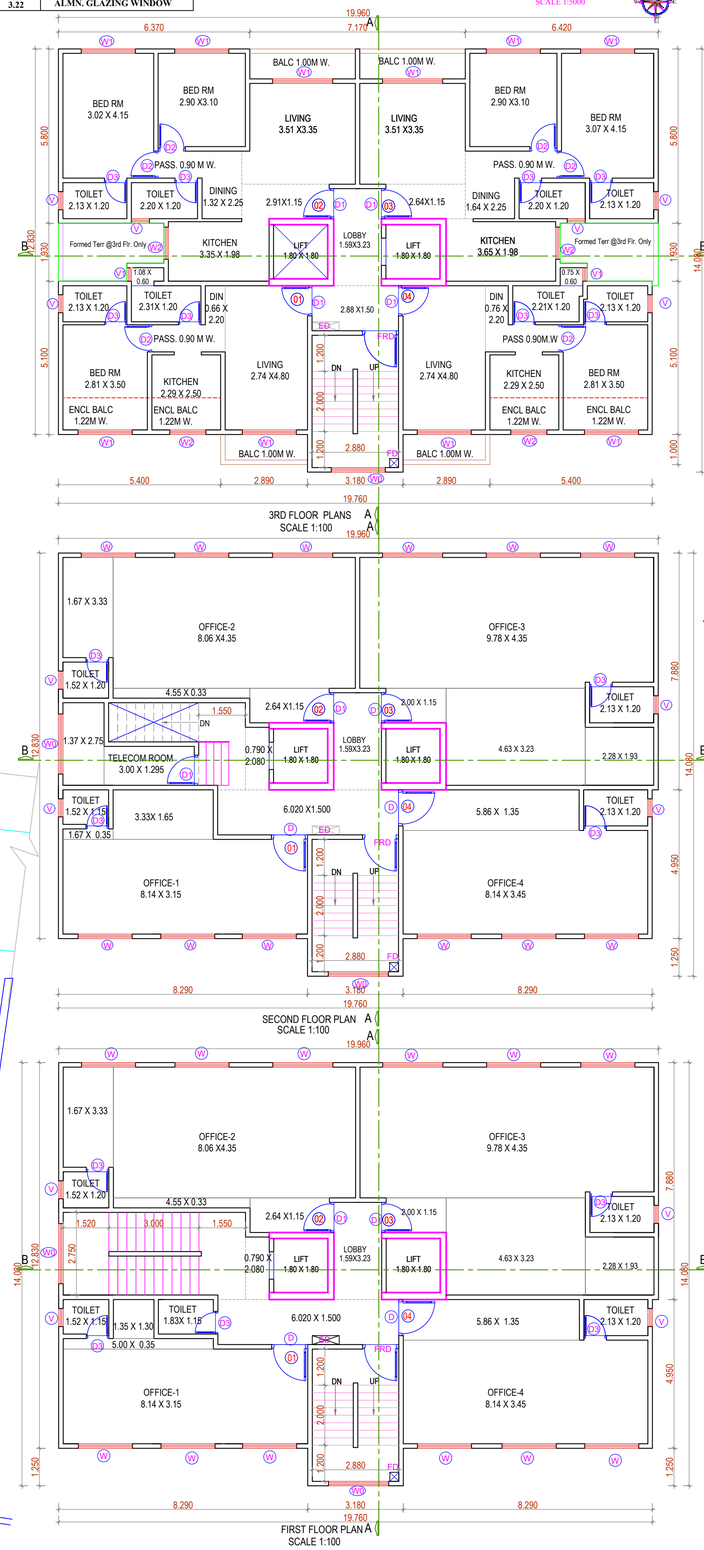

3RD FLOOR PLANS
SCALE 1:100

SECOND FLOOR PLAN
SCALE 1:100

FIRST FLOOR PLAN
SCALE 1:100

PROFORMA - I

A. AREA STATEMENT		IN SQ.M
1.	AREA OF PLOT (Minimum area of a,b,c to be considered)	-------
	(a) As per ownership document (AS PER 7/12)	470.000
	(c) As per measurement sheet.	478.192
	(d) As per site(Deducting 6.200 sq.mt. not in possession).	463.800
2.	DEDUCTIONS FOR	
	(a) Proposed D.P./D.P.Road widening area/Service Road/Highway widening.	-------
	(b) Any D. P. Reservation area	-------
	TOTAL (a + b)	-------
3.	BALANCE AREA OF PLOT (1 MINUS 2)	463.800
4.	Amenity space (if applicable)	
	(a) Required.	-------
	(b) Adjustment of 2(b), if any.	-------
	(c) Balanced Proposed	-------
5.	Net plot Area (3 - 4 (c))	463.800
6.	Recreational Open Space (if applicable)	
	(a) Required.	-------
	(b) Proposed.	-------
7.	Internal Road area	-------
8.	Plotable area (if applicable)	
9.	Built up area with reference to Basic F.S.I as per front road width. (Sr.No.5 x basic FSI) (463.800 X 1.1)	510.180
10.	Addition of FSI on payment of premium.	
	(a) Maximum Permissible premium FSI-based on road width/TOD zone.	231.900
	(b) Proposed FSI on payment of premium.	231.900
11.	In-situ FSI/ TDR loading	
	(a) In-situ area against D.P.road(2.0 x sr.no.2(a)),if any	-------
	(b) In-situ area against Amenity Space if handed over (2.0 or 1.85 x Sr.no.4(b) and /or(c)	-------
	(c) T.D.R. @90% 463.800 X 90% = 417.42 - 234.087 = 183.333	183.333
	(d) Total In-situ FSI/ TDR loading proposed (11(a)+(b))	183.333
12.	Additional FSI area under Chapter no. 7 (FOR REDEVELOPMENT PROPOSAL)	------- 234.087
13.	Total entitlement of FSI in the proposal.	
	(a) 9 +10(b)+11(d) or 12 whichever is applicable.	1,159.500
	(b) Ancillary area F.S.I. upto 60% or 80% with payment of charges. 346.000 X 80% = 276.800 813.500 X 60% = 488.100	764.900
	(c) Total entitlement (a+b)	1,924.40
14.	Maximum utilisation of limitof FSI(building poential)Permissble as per Road width(as per Regulation no.6.1or 6.2 or 6.3 or 6.4 as applicable)x(1.6 or1.8)	4.00
15.	Total Built-up Area in proposal (excluding area at Sr.no.17b)	
	(a) Existing Built -up Area	-------
	(b) Proposed Built -up Area (as per 'P-line')	1,889.251
	(c) Total (a+b)	1,889.251
16.	F.S.I. Consumed (15/ 13) (should not be more than sr.no.14 above)	0.98
17.	Area for Inclusive Housing, if any (a) Required (20% of Sr.no.5) (b) Proposed	-------

NOTES:

BOUNDARY OF PLOT BOUNDED RED.
PROPOSED WORK SHOWN IN PINK.
AREA UNDER SET BACK SHOWN IN HATCH
STRUCTURES TO BE DEMOLISEHD SHOWN IN YELLOW HATCH.
RECREATION SHOWN IN GREEN
DRAINAGE LINE SHOWEN IN YELLOW

CERTIFICATE OF AREA

CERTIFIED THAT THE PLOT UNDER REFERENCE WAS SURVEYED BY ME ON 15 / 05 / 2025 AND THE DIMENSION OF SIDES ETC. OF PLOT STATED ON PLAN ARE AS MEASURED ON SITE AND THE AREA SO WORKED OUT TALLIES WITH THE AREA STATED IN DOCUMENT OF OWNERSHIP / T.P. SCHEME RECORD S/ LAND RECORDS DEPT/CITY SURVEY RECORDS.

ARCHITECT SIGNATURE.

OWNER'S DECLARATION

I/WE UNDERSIGNED HEREBY CONFIRM THAT I/WE WOULD ABIDE BY PLANS APPROVED BY AUTHORITY / COLLECTOR. I/WE WOULD EXECUTE THE STRUCTURE AS PER APPROVED PLANS. ALSO I/WE WOULD EXECUTE THE WORK UNDER SUPERVISION OF PROPER TECHNICAL PERSON SO AS TO ENSURE THE QUALITY AND SAFETY AT THE WORK SITE.

OWNER (S) NAME AND SIGNATURE

M/S AHER INFRA LLP.

ENGINEER'S CERTIFICATE

I HEREBY CERTIFY THAT THE WORK OF STRUCTURAL DRAWINGS FOR THE ABOVE MENTIONED WORK ARE PREPARE BY US AND THE WORK, AS PER AS STRUCTURAL DRAWINGS ARE CONCERNED, SHALL BE CARRIED OUT AS SPECIFIED IN APPENDIX 'C'. I SHALL BE RESPONSIBLE FOR THE ADEQUACY OF THE STRUCTURAL DESIGN AS PER AS STRUCTURAL DRAWINGS ARE CONCERNED.

ENGINEER'S SIGNATURE.

Name of Owner :

DESCRIPTION OF PROJECT :
Type of Proposal :COMMERCIAL AND RESIDENTIAL

SITE ADDRESS :
PROPOSED COMMERCIAL & RESIDENTIAL BUILDING ON PLOT BEARING S.NO.93/A,H.NO. 1/4/2 AT RAMBAUG,TAL-KALYAN DIST-THANE

Name Of Architect : Shobhana Jayant Deshpande

LOGO: CREATIONS ARCHITECT & INTERIOR DESIGNER
ADDRESS OF OFFICE
OFFICE - A- 104/105 EVEREST TOWER, SANTOSHI MATA ROAD, KALYAN(W) 421301
PHONE NO 0251-2313140

OWNERS SIGN -	TECHNICAL PERSON SIGN
M/S AHER INFRA LLP.	SHOBHANA DESHPANDE Architect
SCALE - 1:100	Date:13/11/2025
JOB NO -	CHECK BY - -S.D

SUBMISSION DRAWING

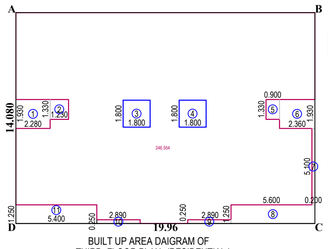

BUILT UP AREA DAIGRAM OF
THIRD FLOOR PLAN -(RESIDENTIAL)
SCALE 1:200

BUILT-UP AREA STATEMENT : THIRD FLOOR -(RESIDENTIAL)	
AREA OF BLOCK [ABCD] = 19.96 X 14.08 = 281.037 SQ.M	
STANDARD DEDUCTIONS :-	
1. 2.280 X 1.930 =	4.400 SQ.M
2. 1.230 X 1.330 =	1.636 SQ.M
3. 1.800 X 1.800 =	3.240 SQ.M
4. 1.800 X 1.800 =	3.240 SQ.M
5. 0.900 X 1.330 =	1.197 SQ.M
6. 2.360 X 1.930 =	4.555 SQ.M
7. 0.200 X 5.100 =	1.020 SQ.M
8. 5.600 X 1.250 =	7.000 SQ.M
9. 2.890 X 0.250 =	0.722 SQ.M
10. 2.890 X 0.250 =	0.722 SQ.M
11. 5.400 X 1.250 =	6.750 SQ.M
TOTAL STANDARD DEDUCTIONS =	34.482 SQ.M
GROSS AREA :(281.037 + 0.000) - 34.482 =	246.555 SQ.M

PARKING AREA STATEMENT

RESIDENTIAL/ COMMERCIAL	PROPOSED CARPET AREA IN SQ.MT.	REQUIRED PARKING CAR	REQUIRED PARKING SCOOTER		VISITORS PARKING CAR	VISITORS PARKING SCOOTER	MULTIPLICATION FACTOR AS PER TABLE 8C total parking X 0.80	REQUIRED PARKING CAR	REQUIRED PARKING SCOOTER	TOTAL REQUIRED PARKING CAR	TOTAL REQUIRED PARKING SCOOTER
FOR EVERY 100.00 SQ.MT. AREA OR FRACTION 2 CAR & 6 SCOOTERS	117.917 sq.mt.	02	07		--	--	08 X 0.80 = 06 28 X 0.80 = 22	06	22	06	22
FOR EVERY 200.00 SQ.MT. AREA OR FRACTION 3 CAR & 11 SCOOTERS	373.824 sq.mt.	06	21		--	--					
FOR EVERY 2 TENAMENT BETWEEN 40 TO 80 SQ.MT. 1 CAR & 2 SCOOTERS	10 NOS	05	10	5%	00	01	9 X 0.80 = 07	07	20	07	20
FOR EVERY 2 TENAMENT BETWEEN 30 TO 40 SQ.MT. 1 CAR & 2 SCOOTERS	09 NOS	04	09								
TOTAL NO. OF PARKING		09	19							13	42

PARKING AREA REQUIRED FOR CAR = 13 X 13.75 = 178.75 SQ.MT.

PARKING AREA REQUIRED FOR SCOOTER = 42X 2.00 = 84.000 SQ.MT.

NO OF PARKING PROPOSED			
CAR PARKING	SCOOTER PARKING		
PIT + STACK PARKING (STILT LEVEL)	SCOOTER PARKING (COMPOSITE PARKING)	SCOOTER PARKING (OPEN)	SCOOTER PARKING (STILT LEVEL)
6 X 3 = 18 (PIT +STACK PARKING)	5 cars= 5 cars X 6= 30 scooters	12 NOS	04NOS
18 NOS.	30 NOS	12 NOS	04 NOS
TOTAL NO. OF CAR PARKING PROPOSED = 18 NOS	TOTAL NO. OF SCOOTER PARKING PROPOSED = 46 NOS.		

REQUIRED PARKING		TOTAL PARKING PROPOSED	
CAR	SCOOTER	CAR+COMPOSITE	SCOOTER
13	42	13 + 5 = 18	30 + 16 (COMPOSITE PARKING) = 46 NOS

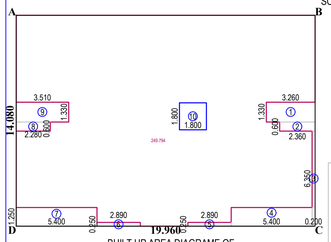

BUILT UP AREA DIAGRAME OF
4TH,5TH,6TH FLOOR PLAN -(RESIDENTIAL)
SCALE 1:200

BUILT-UP AREA STATEMENT : 4TH,5TH,6TH FLOOR -(RESIDENTIAL)	
AREA OF BLOCK [ABCD] = 19.96 X 14.08 = 281.037 SQ.M	
STANDARD DEDUCTIONS :-	
1. 3.260 X 1.330 =	4.336 SQ.M
2. 2.360 X 0.600 =	1.416 SQ.M
3. 0.200 X 6.350 =	1.270 SQ.M
4. 5.400 X 1.250 =	6.750 SQ.M
5. 2.890 X 0.250 =	0.722 SQ.M
6. 2.890 X 0.250 =	0.722 SQ.M
7. 5.400 X 1.250 =	6.750 SQ.M
8. 2.280 X 0.600 =	1.368 SQ.M
9. 3.510 X 1.330 =	4.668 SQ.M
10. 1.800 X 1.800 =	3.240 SQ.M
TOTAL STANDARD DEDUCTIONS =	31.242 SQ.M
GROSS AREA :(281.037 + 0.000) - 31.242 =	249.795 SQ.M

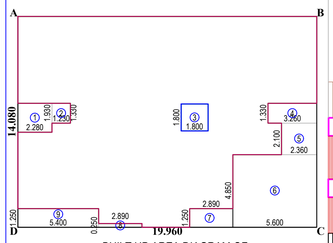

BUILT UP AREA DIAGRAM OF
SEVENTH FLOOR PLAN - (RESIDENTIAL)
SCALE 1:200

BUILT-UP AREA STATEMENT : SEVENTH FLOOR - (RESIDENTIAL)	
AREA OF BLOCK [ABCD] = 19.96 X 14.08 = 281.037 SQ.M	
STANDARD DEDUCTIONS :-	
1. 2.280 X 1.930 =	4.400 SQ.M
2. 1.230 X 1.330 =	1.636 SQ.M
3. 1.800 X 1.800 =	3.240 SQ.M
4. 3.260 X 1.330 =	4.337 SQ.M
5. 2.360 X 2.100 =	4.956 SQ.M
6. 5.600 X 4.850 =	27.160 SQ.M
7. 2.890 X 1.250 =	3.612 SQ.M
8. 2.890 X 0.250 =	0.722 SQ.M
9. 5.400 X 1.250 =	6.750 SQ.M
TOTAL STANDARD DEDUCTIONS =	56.813 SQ.M
GROSS AREA :(281.037 + 0.000) - 53.923 =	224.224 SQ.M

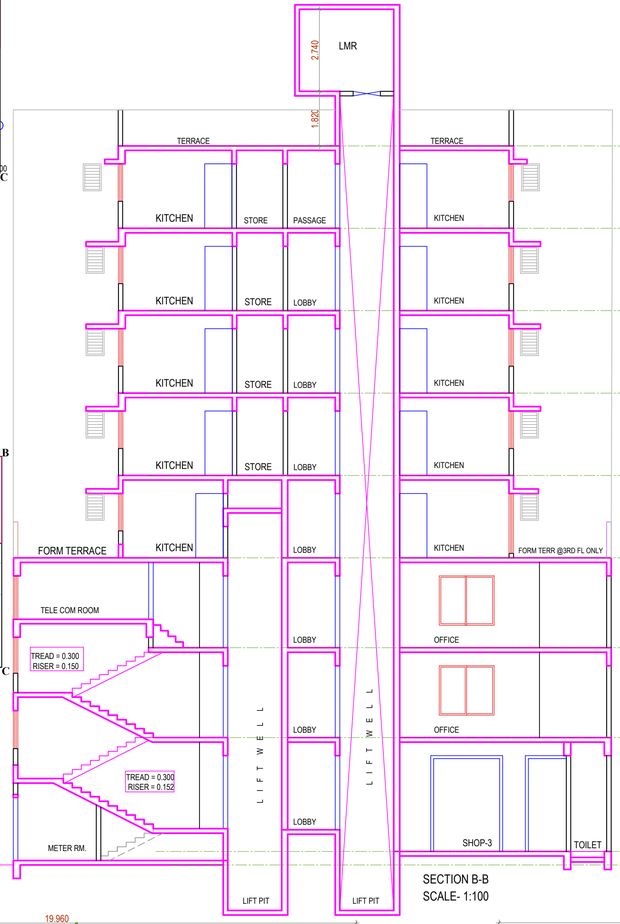

SECTION B-B
SCALE- 1:100

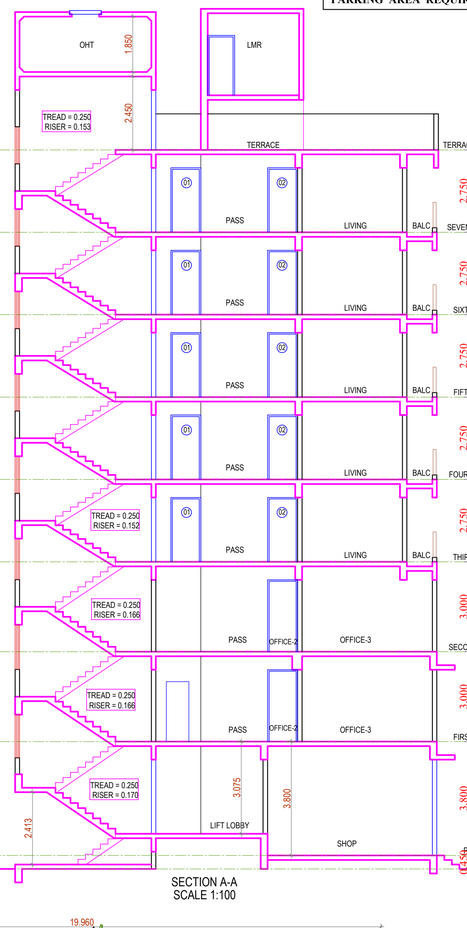

SECTION A-A
SCALE 1:100

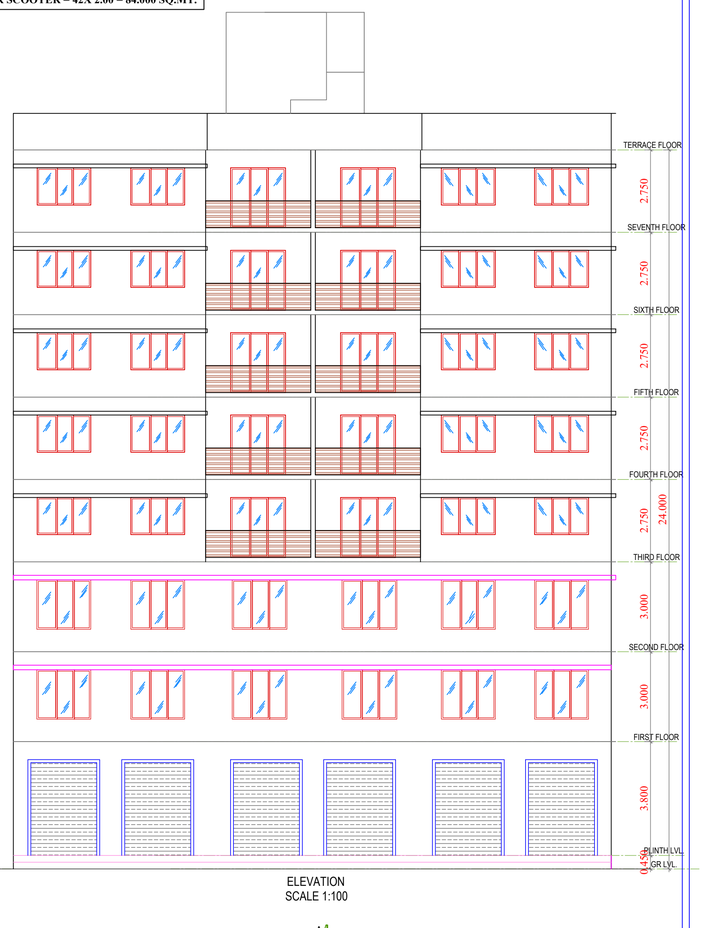

ELEVATION
SCALE 1:100

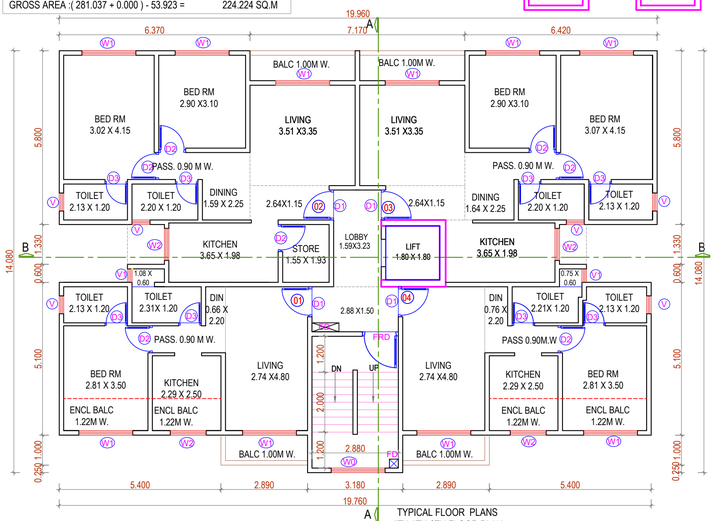

TYPICAL FLOOR PLANS
4TH,5TH,6TH FLOOR PLAN
SCALE 1:100

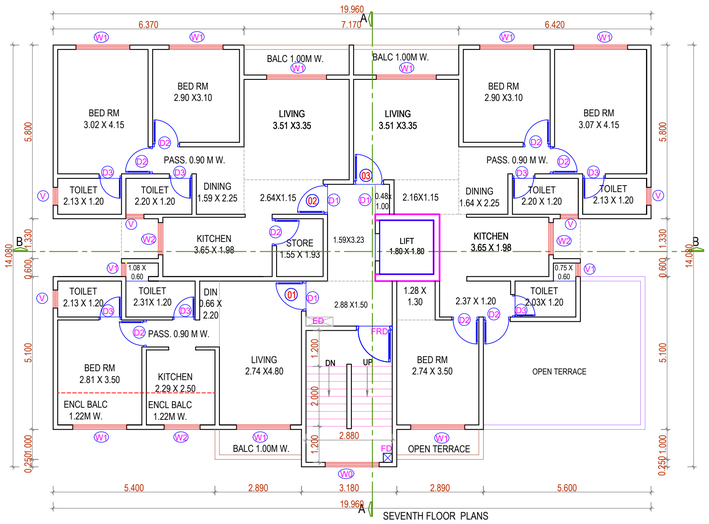

SEVENTH FLOOR PLANS
SCALE 1:100

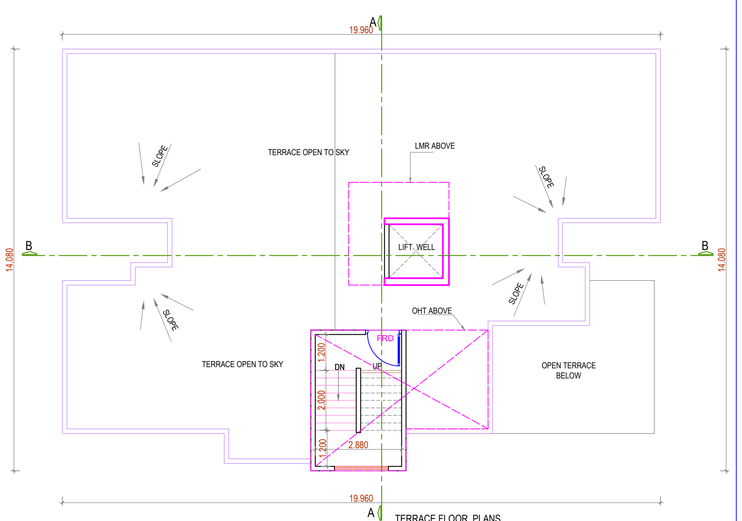

TERRACE FLOOR PLANS
SCALE 1:100

STAMP OF APPROVAL OF PLANS	SHEET NO - 02/02

Shobhana Jayant Deshpande

Digitally signed by Shobhana Jayant Deshpande
Date: 2026.02.04 17:02:52 +05'30'

Name of Owner :

DESCRIPTION OF PROJECT :

Type of Proposal :COMMERCIAL AND RESIDENTIAL

SITE ADDRESS :
PROPOSED COMMERCIAL & RESIDENTIAL BUILDING ON
PLOT BEARING S.NO.93/A,H.NO. 14/2
AT RAMBAUG,TAL.-KALYAN DIST-THANE

Name Of Architect : Shobhana Jayant Deshpande

LOGO	ADDRESS OF OFFICE
CREATIONS ARCHITECTS & INTERIOR DESIGNER	OFFICE - A- 104/105 EVEREST TOWER, SANTOSHI MATA ROAD, KALYAN(W) 421301 PHONE NO 0251-2313140

OWNERS SIGN -	TECHNICAL PERSON SIGN
M/S AHER INFRA LLP.	SHOBHANA DESHPANDE Architect
SCALE - 1:100	Date:13/11/2025
JOB NO -	CHECK BY - -S.D

SUBMISSION DRAWING